BUILDING NAME	USE	TENEMENT AREA	RATIO CAR	RATIO SCOOTER	NO. OF TENA/ AREA/ UNITS	TRANSPORT CAR	TRANSPORT SCOOTER	TRANSPORT VEHICLE/ AMBULANCE / MINI BUS
PROPOSED BUILDING	RESIDENTIAL	FOR EVERY TWO TENE - - MENT HAVING CARPET AREA EQUAL OR ABOVE 40 SQ.MT. BUT LESS THAN 80 SQ.MT.	1	1	1	0.50	1.00	-------
PROPOSED BUILDING	RESIDENTIAL	FOR EVERY TENEMENT HAVING CARPET AREA EQUAL OR ABOVE 80 SQ.MT. BUT LESS THAN 150 SQ.MT.	1	1	2	2.00	2.00	-------
PROPOSED BUILDING	COMMERCIAL	FOR EVERY 100 SQ.MT. CARPET AREA OR FRACTION THEREOF	2	6	53.29	1.06	3.19	-------
TOTAL	-------	-------	-------	-------	-------	3.56	6.19	-------
VISITORS PARKING (5%)	-------	-------	-------	-------	-------	0.12	0.15	-------
TOTAL	-------	-------	-------	-------	-------	3.68	6.34	0.000

NOTE :- 1) 6 SCOOTER EQUALS TO 1 CAR, PROPOSED COMPOSITE PARKING FOR CAR = 1

PARKING CHECK AS PER MULTIPLYING FACTOR 0.80

BUILDING NAME	REQUIRED CAR	REQUIRED SCOOTER	REQUIRED TRANSPORT = VEHICLE/ AMBULANCE / MINI BUS	PROPOSED CAR	PROPOSED SCOOTER	PROPOSED TRANSPORT = VEHICLE/ AMBULANCE / MINI BUS
TOTAL	3	5	-------	3	10	-------

TOTAL FLAT STATEMENT

BUILDING WING	CARPET AREA EQUAL OR ABOVE 80 SQ. MT. BUT LESS THAN 150 SQ.MT.	CARPET AREA EQUAL OR ABOVE 40 SQ. MT. BUT LESS THAN 80 SQ.MT.	TOTAL FLATS
(1)	02	01	03

BUILT UP AREA CALCULATION GROUND FLOOR					SQ.MT.
A) BLOCK AREA					
A	1	4.21 X	4.83	=	20.33 SQ.MT.
B) DEDUCTION AREA					
	1	0 X	0	=	0.00 SQ.MT.
TOTAL					0.00 SQ.MT.
B) BALANCE AREA (A-B)				=	20.33 SQ.MT.

BUILT UP AREA CALCULATION TYPIACL FLOOR (1ST TO 6TH)					SQ.MT.
A) BLOCK AREA					
A	1	6.56 X	13.70	=	89.87 SQ.MT.
B) DEDUCTION AREA					
	1	0.45 X	1.43	=	0.64 SQ.MT.
	2	0.63 X	3.15	=	1.98 SQ.MT.
	3	0.45 X	1.43	=	0.64 SQ.MT.
	4	1.55 X	1.2	=	1.86 SQ.MT.
	5	1.5 X	1.2	=	1.80 SQ.MT.
TOTAL				=	6.93 SQ.MT.
B) BALANCE AREA (A-B)				=	82.94 SQ.MT.

BUILT UP AREA CALCULATION TYPIACL FLOOR (7TH)					SQ.MT.
A) BLOCK AREA					
A	1	6.56 X	13.70	=	89.87 SQ.MT.
B) DEDUCTION AREA					
	1	0.63 X	1.43	=	0.64 SQ.MT.
	2	0.45 X	1.43	=	0.64 SQ.MT.
	3	0.63 X	3.15	=	1.98 SQ.MT.
	4	3.18 X	4.05	=	12.88 SQ.MT.
	5	1.5 X	1.2	=	1.80 SQ.MT.
	5	1.7 X	1.2	=	2.04 SQ.MT.
TOTAL				=	19.99 SQ.MT.
B) BALANCE AREA (A-B)				=	69.88 SQ.MT.

DOORS & WINDOWS SCHEDULE			
TYPE	SIZE IN MTS	AREA	DESCRIPTION OF PARTICULERS
D	1.05 X 2.10	2.20 SQMT	T.W.FRAMED FULLY FLUSHED SINGLE LEAF
D1	0.90 X 2.10	1.89 SQMT	T.W.FRAMED FULLY FLUSHED SINGLE LEAF
D2	0.75 X 2.00	1.50 SQMT	T.W.FRAMED 0.25 M/HIGH GLASS AT TOP,SINGLE LEAF
W	1.50 X 2.10	3.15 SQMT	T.W.FRAMED FULLY GLAZED
W1	1.20 X 1.20	1.44 SQMT	T.W.FRAMED FULLY GLAZED
W2	1.50 X 1.20	1.80 SQMT	T.W.FRAMED FULLY GLAZED
V	0.60 X 0.90	0.54 SQMT	T.W.FRAME GLASS LOUVERS
RS1	2.40 X 2.40	5.76 SQMT	ROLLING SHUTTER
RS2	1.80 X 2.40	4.32 SQMT	ROLLING SHUTTER

BUILTUP AREA CALCULATIO		SQ.MT.	ANCILLARY AREA CALCULAT		80%/60%	SQ.MT.	SQ.MT.
1	GROUND FLOOR	18.90	1	GROUND FLOOR	8.40	10.50	18.90
2	1ST FLOOR	82.94	2	1ST FLOOR	36.86	46.08	82.94
3	2ND FLOOR	82.94	3	2ND FLOOR	31.10	51.84	82.94
4	3rd FLOOR	82.94	4	3rd FLOOR	31.10	51.84	82.94
5	4th FLOOR	82.94	5	4th FLOOR	31.10	51.84	82.94
6	5th FLOOR	82.94	6	5th FLOOR	31.10	51.84	82.94
7	6th FLOOR	82.94	7	6th FLOOR	31.10	51.84	82.94
8	7th FLOOR	69.88	8	7th FLOOR	26.21	43.68	69.88
	TOTAL	586.42		TOTAL	226.98	359.44	586.42

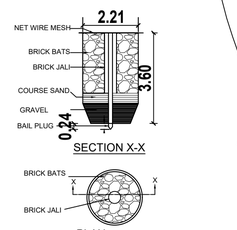

PLAN
RAIN WATER HARVESTING
SCALE 1: 100

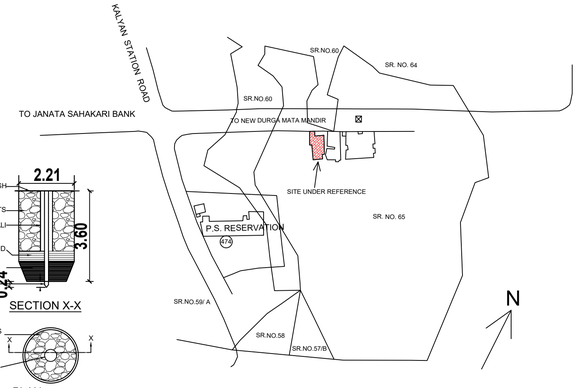

LOCATION PLAN
SCALE : 1: 2000

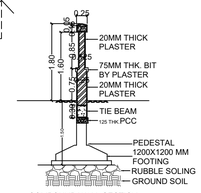

COMPOUND WALL SECTION

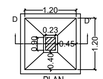

PLAN
(SCALE - N.T.S)

DETAIL AT 'D'

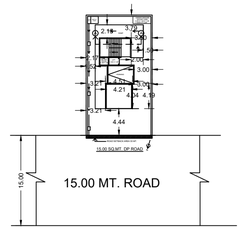

BLOCK PLAN
SCALE 1: 500

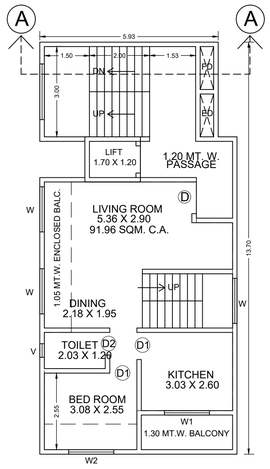

2ND ,4TH FLOOR PLAN
SCALE 1 : 100

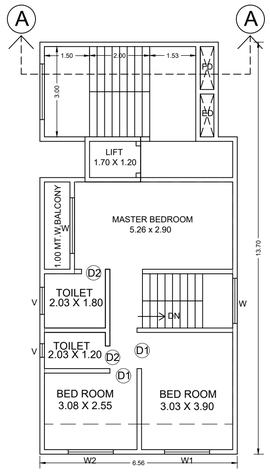

3RD ,5TH FLOOR PLAN
SCALE 1 : 100

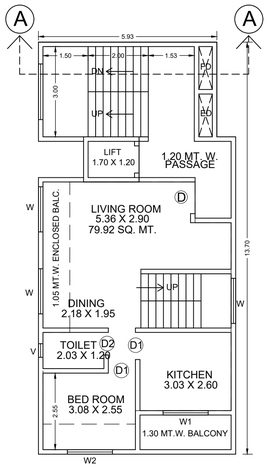

6TH FLOOR PLAN
SCALE 1 : 100

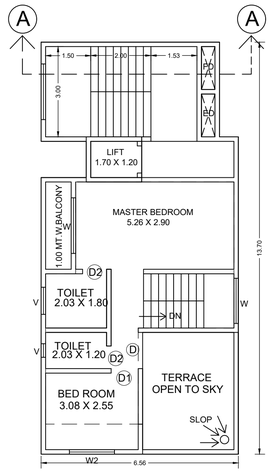

7TH FLOOR PLAN
SCALE 1 : 100

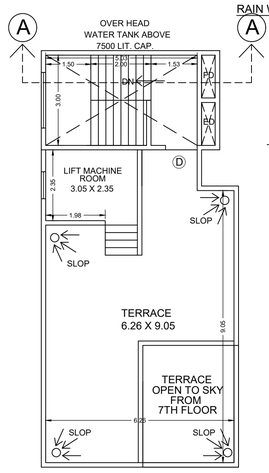

TERRACE FLOOR PLAN
SCALE 1 : 100

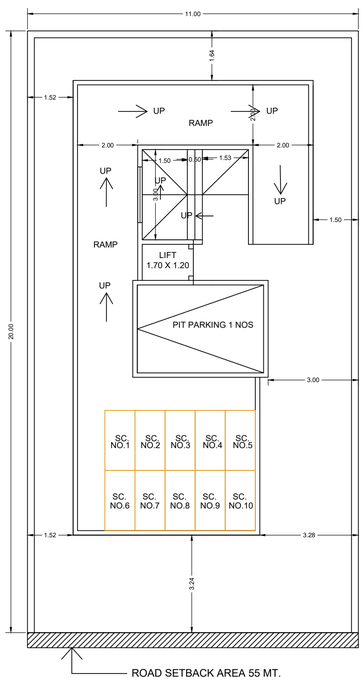

15.00 SQ.MT. DP ROAD
BASEMENT FLOOR AREA
SCALE 1 : 100

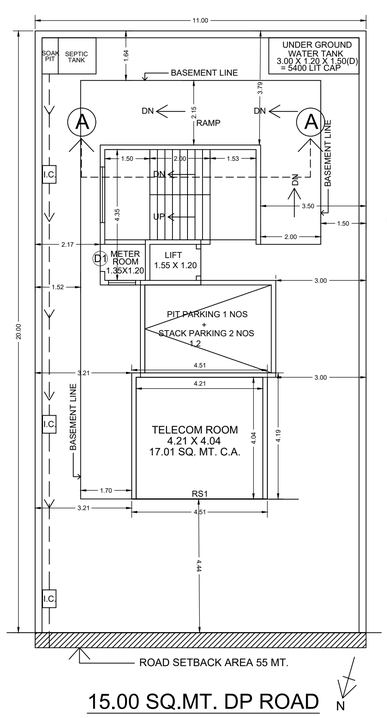

15.00 SQ.MT. DP ROAD
GROUND FLOOR AREA
SCALE 1 : 100

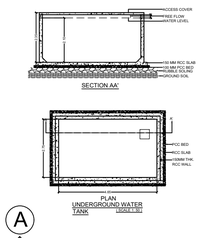

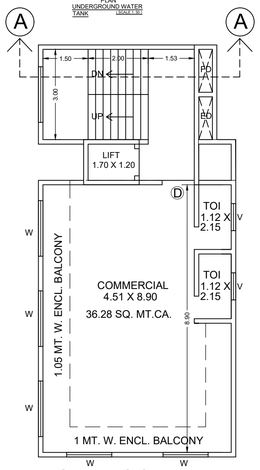

1ST FLOOR PLAN
SCALE 1: 100

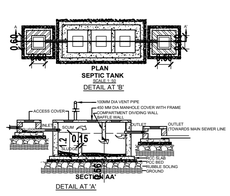



PLOT AREA CALCULATION
1) 11 X 20 = 220 SQ.MT.
AREA UNDER ROAD
2) 11 X 0.50 =5.50 SQ.MT.
SCALE 1:200

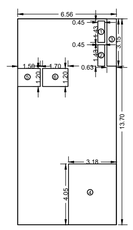

BUILTUP AREA DIAGRAM
7TH FLOOR
SCALE 1:200

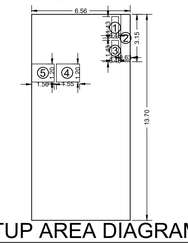

BUILTUP AREA DIAGRAM
(1ST TO 6TH)
SCALE 1:200

BUILTUP AREA
DIAGRAM
GROUND FLOOR
SCALE 1: 200

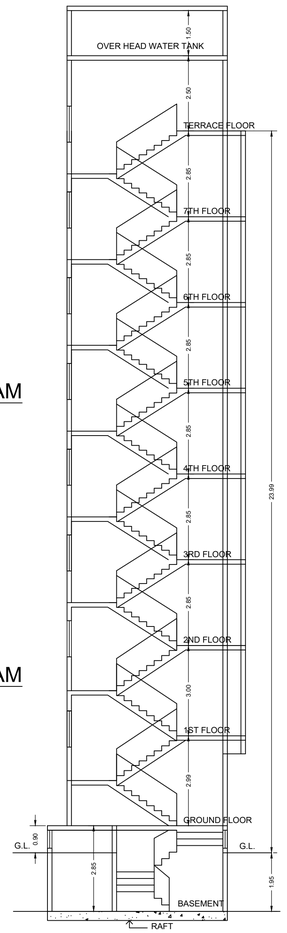

SECTION A-A
SCALE 1: 100

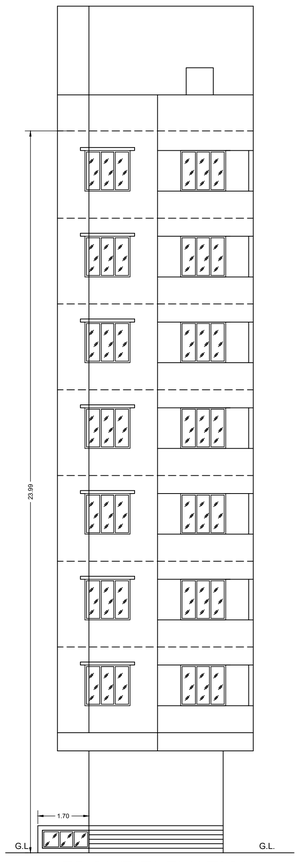

FRONT ELEVATION
SCALE 1: 100

PROFORMA -1 : AREA STATEMENT

PROPOSED BUILDING ON PLOT BEARING
C.T.S. NO.2802,2803 AT VILLAGE- KATEMANIWALI
TAL:-KALYAN, DISTRICT: THANE

STAMPS OF APPROVAL OF PLANS:

AREA STATEMENT		
1.	AREA OF PLOT (MINIMUM AREA OF a,b,c TO BE CONSIDERED)	
(a)	AS PER OWNERSHIP DOCUMENT 2802,2803	221.60
(b)	AS PER MEASUREMENT SHEET	225.50
(c)	AS PER SITE NOT IN POSSESSION	----
2.	DEDUCTIONS FOR	
(a)	PROPOSED D.P./ D.P. ROAD WIDENING AREA/ SERVICE ROAD HIGHWAY WIDENING	5.50
(b)	ANY D.P. RESERVATION AREA	------
	(TOTAL A+B)	5.50
3.	BALANCE AREA OF PLOT (1-2)	216.10
4.	AMENITY SPACE (IF APPLICABLE)	
(a)	REQUIRED -	N.A.
(b)	ADJUSTMENT OF 2(B), IF ANY -	-
(c)	PROPOSED -	0.00
5.	NET PLOT AREA (3- 4 (C))	216.10
6.	RECREATIONAL OPEN SPACE (IF APPLICABLE)	
(a)	REQUIRED	--
(b)	PROPOSED	--
7.	INTERNAL ROAD AREA	--
8.	PLOTABLE AREA (IF APPLICABLE)	216.10
9.	BUILT UP AREA WITH REFERENCE TO BASIC F.S.I. AS PER FRONT ROAD WIDTH (216.10x 1.10) OR FSI CONSUMED IN EXISTING WHICHEVER IS MORE	237.71
10.	ADDITION OF FSI ON PAYMENT OF PREMIUM	
a)	MAXIMUM PERMISSIBLE PREMIUM FSI - BASED ON ROAD WIDTH / TOD ZONE (221.60 x 0.50 = 110.80)	110.80
(b)	PROPOSED FSI ON PAYMENT OF PREMIUM.	---
11.	IN-SITU FSI / TDR LOADING	---
(a)	IN-SITU AREA AGAINST 15.00 M. W. D.P. ROAD -	---
(b)	IN-SITU AREA AGAINST AMENITY SPACE IF HANDED OVER [2.00 OR1.85 X SR. NO. 4 (B)AND /OR(C)], D.P. (5.50 X 2)	11.00
(c)	TDR AREA	--------
(d)	TOTAL IN-SITU / TDR LOADING PROPOSED (11 (A)+(B)+(C))	
12.	ADDITIONAL FSI AREA UNDER CHAPTER NO. 7	
13.	TOTAL ENTITLEMENT OF FSI IN THE PROPOSAL	359.51
(a)	[9 + 10(B)+11(D)] OR 12 WHICHEVER IS APPLICABLE.	359.51
(b)	ANCILLARY AREA FSI UPTO 60% OR 80% WITH PAYMENT OF CHARGES. (13A X1.60) OR (13A X 1.80)	226.98
(C)	TOTAL ENTITLEMENT (A+C)	586.49
14.	MAXIMUM UTILIZATION LIMIT OF F.S.I. (BUILDING POTENTIAL) PERMISSIBLE AS PER ROAD WIDTH AS PER REGULATION NO.6.1 OR 6.2 OR 6.3 OR 6.4 AS APPLICABLE	
15.	ANCILLARY AREA F.S.I. UP TO 60 % WITH PAYMENT OF CHARGES 269.15 SQ.MT. COMMERCIAL ANCILLARY 80 % = 119.62 SQ.MT. 331.76 RESIDENTIAL ANCILLARY 60 % = 124.41 SQ.MT.	
16.	TOTAL BUILT-UP AREA IN PROPOSAL.(EXCLUDING AREA AT SR.NO.17 B)	
(a)	PROPOSED BUILT-UP AREA (AS PER 'P-LINE')	359.44
(b)	PROPOSED ANCILLARY BUILT-UP AREA (AS PER 'P-LINE')	226.98
(c)	TOTAL (a+b)	586.42
17.	F.S.I. CONSUMED (15/13) (SHOULD NOT BE MORE THAN SERIAL NO.14 ABOVE.)	100
18.	AREA FOR INCLUSIVE HOUSING, IF ANY	
(a)	REQUIRED (20% OF SR.NO.5)	N.A.
(b)	PROPOSED	

CONTENT OF SHEET

BLOCK PLAN, PLOT AREA DIAGRAM, SECTION, ELEVATION, PARKING STATEMENT
AREA DIAGRAM , GROUND FLOOR ,TYPICAL FLOOR PLAN (1ST TO 3RD), FLOOR PLAN (4THTO 7TH),
ROAD SET BACK AREA DIAGRAM, B.U.A PROFORMA AND THEIR CALCULATIONS
LIGHT AND VENTILATION STATEMENT, LOCATION PLAN,TERRACE FLOOR PLAN

CERTIFICATE :

I HEREBY CERTIFY THAT THE STRUCTURAL DRAWINGS FOR THE ABOVE MENTIONED WORK ARE PREPARED BY ME / US AND WORK, AS FAR AS STRUCTURAL DRAWINGS ARE CONCERNED, SHALL BE CARRIED UNDER MY SUPERVISION. I SHALL BE RESPONSIBLE FOR THE EXECUTION OF THE WORK AS FAR AS STRUCTURAL DRAWINGS ARE CONCERNED.

SIGNATURE OF STRUCTURAL ENGINEER

CERTIFICATE OF AREA:

CERTIFIED THAT THE PLOT UNDER REFERENCE WAS SURVEYED BY ME ON 08-11-2025 AND THE DIMENSIONS OF SIDES ETC. OF PLOT STATED ON PLAN ARE AS MEASURED ON SITE AND THE AREA SO WORKED OUT WITH THE AREA 225.50 SQ.MT STATED IN DOCUMENT OF OWNERSHIP/ T.P. SCHEME RECORDS/ LAND RECORDS DEPARTMENT/CITY SURVEY RECORDS.

SIGNATURE OF ARCHITECT

OWNER'S DECLARATION

I/WE UNDERSIGNED HEREBY CONFIRM THAT I/WE WOULD ABIDE BY PLANS APPROVED BY AUTHORITY / COLLECTOR. I/WE WOULD EXECUTE THE STRUCTURE AS PER APPROVED PLANS. ALSO I/WE WOULD EXECUTE THE WORK UNDER SUPERVISION OF PROPER TECHNICAL PERSON SO AS TO ENSURE THE QUALITY AND SAFETY AT THE WORK SITE.

NAME & SIGNATURE OF OWNER	SIGNATURE OF ARCHITECT
MR. LALAN K. RAMCHANDANI MRS. KAVITA LALAN RAMCHANDANI	M/S. SIGNATURE DESIGN MR. S.V. PALKAR 204,SMURTI BUILDING, AHIYABAI HOLKAR CHOWK, KALYAN (W.)