CONTENCE :- RESIDENTIAL / COMMERCIAL BLDG GROUNG FLOOR,BLOCK PLAN, LOCATION PLAN, PLOT AREA DIAGRAM & CAL. , BUILT UP AREA DIAGRAM & CALCULATION, PARKING, SECTION

SHEET NO. 2/2

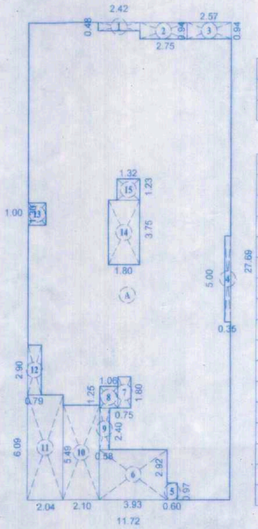

P.LINE AREA CALCULATION

4TH TO 7TH & 9TH TYPICAL FLOOR									
A	11.72	X	27.69	X	1 NO	=	324.53	SQ.MT.	
					TOTAL ADDITION	=	324.53	SQ.MT.	X

DEDUCTIONS

1	2.42	X	0.48	X	1 NO	=	1.16	SQ.MT.	
2	2.75	X	0.94	X	1 NO	=	2.58	SQ.MT.	
3	2.57	X	0.94	X	1 NO	=	2.42	SQ.MT.	
4	0.35	X	5.00	X	1 NO	=	1.75	SQ.MT.	
5	0.60	X	0.97	X	1 NO	=	0.58	SQ.MT.	
6	3.93	X	2.92	X	1 NO	=	11.48	SQ.MT.	
7	0.75	X	1.80	X	1 NO	=	1.35	SQ.MT.	
8	1.06	X	1.25	X	1 NO	=	1.33	SQ.MT.	
9	0.58	X	2.40	X	1 NO	=	1.39	SQ.MT.	
10	2.10	X	5.49	X	1 NO	=	11.53	SQ.MT.	
11	2.04	X	6.09	X	1 NO	=	12.42	SQ.MT.	
12	0.79	X	2.90	X	1 NO	=	2.29	SQ.MT.	
13	1.00	X	1.30	X	1 NO	=	1.30	SQ.MT.	
14	1.80	X	3.75	X	1 NO	=	6.75	SQ.MT.	
15	1.32	X	1.23	X	1 NO	=	1.62	SQ.MT.	
					TOTAL DEDUCTION	=	59.95	SQ.MT.	Y1
TOTAL BUILT UP AREA [X - Y1]						=	264.58	SQ.MT.	X1

P LINE AREA DIAGRAM
4TH TO 7TH & 9TH FLOOR PLAN
SCALE 1:200

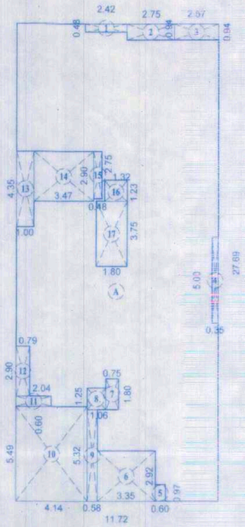

P.LINE AREA CALCULATION

8TH FLOOR									
A	11.72	X	27.69	X	1 NO	=	324.53	SQ.MT.	
					TOTAL ADDITION	=	324.53	SQ.MT.	X

DEDUCTIONS

1	2.42	X	0.48	X	1 NO	=	1.16	SQ.MT.	
2	2.75	X	0.94	X	1 NO	=	2.58	SQ.MT.	
3	2.57	X	0.94	X	1 NO	=	2.42	SQ.MT.	
4	0.35	X	5.00	X	1 NO	=	1.75	SQ.MT.	
5	0.60	X	0.97	X	1 NO	=	0.58	SQ.MT.	
6	3.93	X	2.92	X	1 NO	=	11.48	SQ.MT.	
7	0.75	X	1.80	X	1 NO	=	1.35	SQ.MT.	
8	1.06	X	1.25	X	1 NO	=	1.33	SQ.MT.	
9	0.58	X	5.32	X	1 NO	=	3.09	SQ.MT.	
10	4.14	X	5.49	X	1 NO	=	22.73	SQ.MT.	
11	2.04	X	0.60	X	1 NO	=	1.22	SQ.MT.	
12	0.79	X	2.90	X	1 NO	=	2.29	SQ.MT.	
13	1.00	X	4.35	X	1 NO	=	4.35	SQ.MT.	
14	3.47	X	2.90	X	1 NO	=	10.06	SQ.MT.	
15	0.48	X	2.75	X	1 NO	=	1.31	SQ.MT.	
16	1.32	X	1.23	X	1 NO	=	1.62	SQ.MT.	
17	1.32	X	1.75	X	1 NO	=	2.31	SQ.MT.	
					TOTAL DEDUCTION	=	74.35	SQ.MT.	Y1
TOTAL BUILT UP AREA [X - Y1]						=	250.15	SQ.MT.	X1

P LINE AREA DIAGRAM
8TH FLOOR PLAN
SCALE 1:200

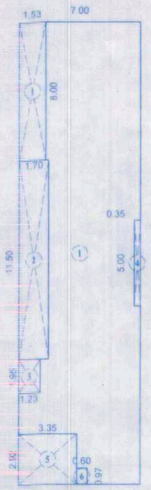

P-LINE AREA CALCULATION

TENTH FLOOR (PT)									
1	7.00	X	26.77	X	1 NO	=	187.39	SQ.MT.	
					TOTAL ADDITION	=	187.39	SQ.MT.	X

DEDUCTIONS

1	1.53	X	8.00	X	1 NO	=	12.24	SQ.MT.	
2	1.70	X	11.50	X	1 NO	=	19.55	SQ.MT.	
3	1.23	X	1.95	X	1 NO	=	2.40	SQ.MT.	
4	0.35	X	5.00	X	1 NO	=	1.75	SQ.MT.	
5	3.35	X	2.92	X	1 NO	=	9.78	SQ.MT.	
6	0.60	X	0.97	X	1 NO	=	0.58	SQ.MT.	
					TOTAL DEDUCTION	=	46.30	SQ.MT.	Y1
TOTAL BUILT UP AREA [X - Y1]						=	141.48	SQ.MT.	X1

P LINE AREA DIAGRAM
10TH FLOOR PLAN
SCALE 1:200

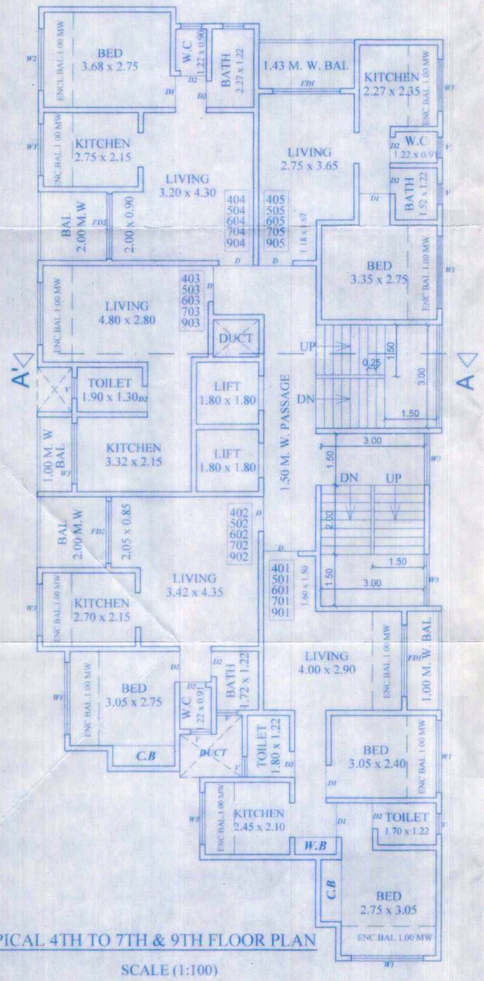

TYPICAL 4TH TO 7TH & 9TH FLOOR PLAN
SCALE (1:100)

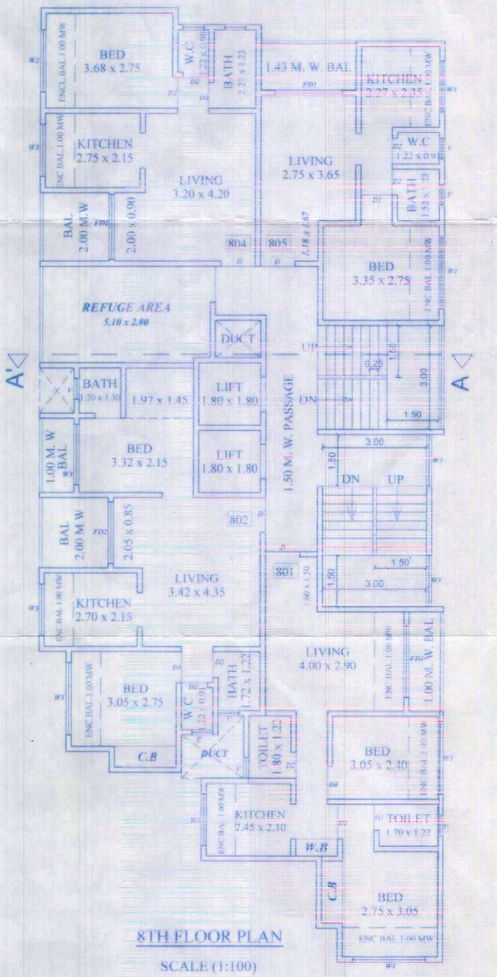

8TH FLOOR PLAN
SCALE (1:100)

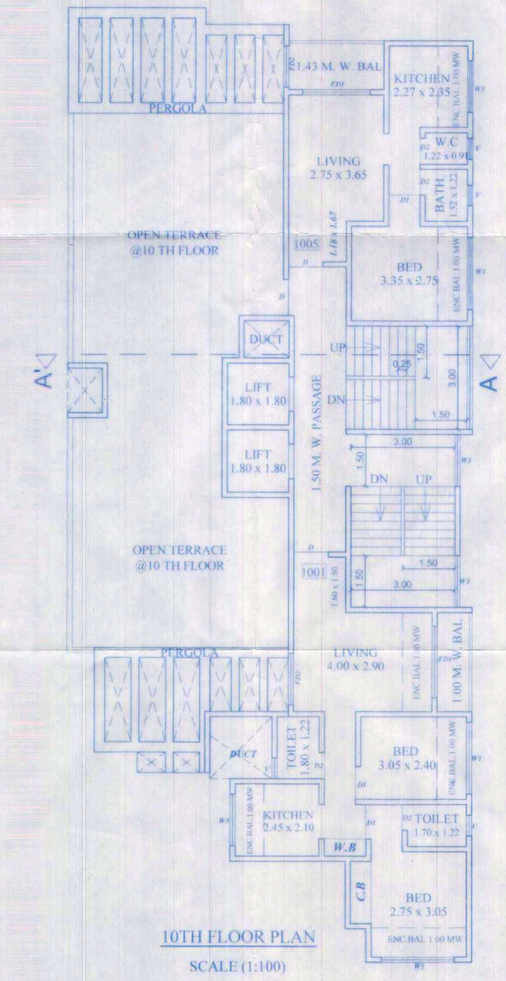

10TH FLOOR PLAN
SCALE (1:100)

STAMP FOR APPROVEL

OFFICE OF THE KALYAN DOMBIVLI MUNICIPAL CORPORATION, KALYAN.
Building Permit No. :- KDMC/TPD/BP/KD/2018-19/0050/478.
Date :- 29/03/2023.
SANCTIONED

KALYAN DOMBIVLI MUNICIPAL CORPORATION कल्याण डोंबिवली महानगरपालिका जि. ठाणे DIST. THANE

for ASSISTANT DIRECTOR OF TOWN PLANNING
Kalyan-Dombivli Municipal Corporation

DESCRIPTION OF PROPOSAL & PROPERTY

REDEVELOPMENT PROPOSAL ON PLOT BEARING S. NO. 132, H.NO. 1 AT VILL- KATEMANIVALI, TAL. KALYAN, DIST. THANE.

NAME & SIGNATURE OF OWNER	SIGNATURE OF ARCHITECT
SMT. ALKA PRAKASH MHATRE	
SIGNATURE.	(VARGHESE PATIL)

DRG.NO.	JOB.NO.	SCALE	DATE	DRAWN BY.
1	S - 39 - 17	AS SHOWN	16 / 01 / 2023	MAMATA PATIL

NORTH

ARCHITECTS & CONSULTANTS

De-con Consultants
ARCHITECTS, INTERIOR DESIGNERS, REGD. VALUERS & PROJECT CONSULTANTS
S-1, RAJASHREE TOWER, RAMBAUG, LANE No. 6,

A. N. AGASHE.
CONSULTING ENGINEER
BMC Regd. No. STR/A/32

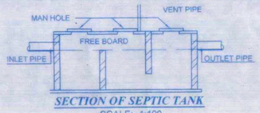

SECTION OF SEPTIC TANK
SCALE:- 1:100

PLAN OF SEPTIC TANK
SCALE:- 1:100

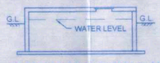

SECTION OF SUCTION TANK
SCALE:- 1:100

PLAN OF SUCTION TANK
SCALE:- 1:100

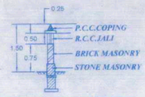

SECTION OF COMPOUND WALL

P.LINE AREA CALCULATION

GROUND FLOOR								
A	10.72	X	17.65	X	1 NO	=	189.21	SQ.MT.
					TOTAL ADDITION	=	189.21	SQ.MT. X

DEDUCTIONS								
1	3.62	X	1.08	X	1 NO	=	3.91	SQ.MT.
2	1.80	X	4.98	X	1 NO	=	8.96	SQ.MT.
3	0.35	X	5.15	X	1 NO	=	1.80	SQ.MT.
4	3.50	X	2.90	X	1 NO	=	10.15	SQ.MT.
5	3.10	X	1.95	X	1 NO	=	6.05	SQ.MT.
6	4.57	X	3.45	X	1 NO	=	15.77	SQ.MT.
7	3.20	X	1.67	X	1 NO	=	5.34	SQ.MT.
8	0.79	X	2.90	X	1 NO	=	2.29	SQ.MT.
					TOTAL DEDUCTION	=	54.27	SQ.MT. Y1
TOTAL BUILT UP AREA [X - Y1]						=	134.94	SQ.MT. X1

P-LINE AREA CALCULATION

UPPER GROUND FLOOR								
1	11.72	X	18.62	X	1 NO	=	218.23	SQ.MT.
					TOTAL ADDITION	=	218.23	SQ.MT. X

DEDUCTIONS								
1	1.00	X	2.58	X	1 NO	=	2.58	SQ.MT.
2	3.62	X	1.23	X	1 NO	=	4.45	SQ.MT.
3	1.80	X	4.98	X	1 NO	=	8.96	SQ.MT.
4	0.35	X	5.00	X	1 NO	=	1.75	SQ.MT.
5	0.60	X	0.97	X	1 NO	=	0.58	SQ.MT.
6	3.35	X	2.92	X	1 NO	=	9.78	SQ.MT.
7	0.58	X	5.32	X	1 NO	=	3.09	SQ.MT.
8	1.06	X	1.25	X	1 NO	=	1.33	SQ.MT.
9	0.75	X	1.80	X	1 NO	=	1.35	SQ.MT.
10	2.10	X	5.49	X	1 NO	=	11.53	SQ.MT.
11	2.04	X	6.09	X	1 NO	=	12.42	SQ.MT.
12	0.79	X	2.90	X	1 NO	=	2.29	SQ.MT.
					TOTAL DEDUCTION	=	60.11	SQ.MT. Y1
TOTAL BUILT UP AREA [X - Y1]						=	158.12	SQ.MT. X1

P.LINE AREA CALCULATION

ROAD AREA DIAGRAM									
1	1/2	X	18.29	X	6.13	X 1 NO	=	56.06	SQ.MT.
2	1/2	X	21.31	X	6.23	X 1 NO	=	66.43	SQ.MT.
3	1/2	X	16.74	X	6.05	X 1 NO	=	50.64	SQ.MT.
4	1/2	X	13.98	X	1.44	X 1 NO	=	10.07	SQ.MT.
5	1/2	X	11.96	X	1.24	X 1 NO	=	7.42	SQ.MT.
6	1/2	X	11.32	X	1.36	X 1 NO	=	7.70	SQ.MT.
7	1/2	X	11.01	X	1.38	X 1 NO	=	7.60	SQ.MT.
8	1/2	X	11.26	X	1.30	X 1 NO	=	7.32	SQ.MT.
9	1/2	X	11.86	X	1.29	X 1 NO	=	7.65	SQ.MT.
10	1/2	X	13.00	X	1.56	X 1 NO	=	10.14	SQ.MT.
11	1/2	X	14.34	X	1.34	X 1 NO	=	9.61	SQ.MT.
12	1/2	X	15.65	X	0.99	X 1 NO	=	7.75	SQ.MT.
13	1/2	X	16.91	X	0.82	X 1 NO	=	6.93	SQ.MT.
14	1/2	X	18.91	X	0.91	X 1 NO	=	8.60	SQ.MT.
15	1/2	X	19.28	X	0.16	X 1 NO	=	1.54	SQ.MT.
						TOTAL ADDITION	=	265.41	SQ.MT.

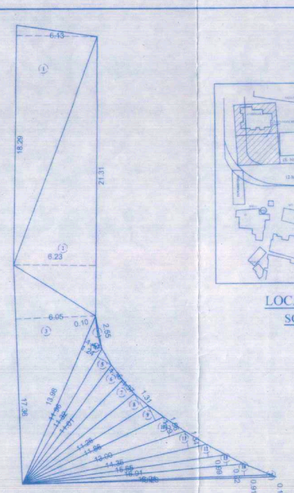

ROAD DEDUCTION DIAGRAM
SCALE 1:200

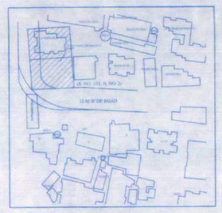

LOCATION PLAN
SCALE (NTS)

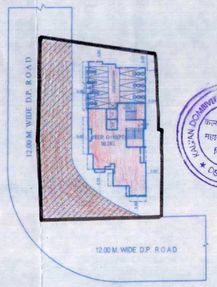

BLOCK PLAN
SCALE 1:500

CONTENCE :- RESIDENTIAL / COMMERCIAL BLDG GROUNG FLOOR,BLOCK PLAN, LOCATION PLAN, PLOT AREA DIAGRAM & CAL. , BUILT UP AREA DIAGRAM & CALCULATION, PARKING, SECTION

SHEET NO.1/2

STAMP FOR APPROVEL

OFFICE OF THE KALYAN DOMBIVLI MUNICIPAL CORPORATION, KALYAN.
Building Permit No. :- KDMC/TDP/BP/KD/2018-19/0050/478
Date :- 29/03/2023.
SANCTIONED
for ASSISTANT DIRECTOR OF TOWN PLANNING
Kalyan-Dombivli Municipal Corporation

कल्याण डोंबिवली महानगरपालिका
KALYAN DOMBIVLI MUNICIPAL CORPORATION
सिटी इंजिनीयर

AREA STATEMENT			
1.	Area of plot		820.00
	(Minimum area of a, b, c to be considered)		
(a)	As per ownership document		820.00
(b)	as per measurement sheet		
(c)	as per site		
2.	Deductions for		
(a)	Proposed D.P. / D.P. Road widening Area / Service Road / Highway widening		265.41
(b)	Any D.P. Reservation area		
	(Total a+b)		265.41
3.	BALANCE AREA OF PLOT (1-2)		554.59
4.	Amenity Space (if applicable)		
(a)	Required -		
(b)	Adjustment of 2(b), if any -		
(c)	Balance Proposed -		
5.	Net Plot Area [3-4(c)]		554.59
6.	Recreational Open space (If applicable)		
(a)	Required -		
(b)	Proposed -		
7.	Internal Road area		
8.	Plotable area (if applicable)		
9.	Built up area with reference to Basic F.S.I. as per front road width (Sr. No. 5 x basic FSI) (554.59 X 1.1)		610.04
10.	Addition of FSI on payment of premium		
(a)	Maximum permissible premium FSI - based on road width / TOD Zone		
(b)	Proposed FSI on payment of premium (0.50 OF 1b)(0.50 X 820.00)		410.00
11.	In-situ FSI / TDR loading		
(a)	In-situ area against D.P. road [2.10 x Sr. No. 3 (a)]	(168.41 X 2.1) (previous sanc.)	356.86
		(105.00 X 2.05 =215.25)	196.14
		215.25-196.14=19.11 (BAL. FOR DRC)	
(b)	In-situ area against Amenity Space if handed over [2.00 or 1.85 x Sr. No. 4 (b) and / or (c)]		
(c)	TDR area		
(d)	Total in-situ / TDR loading proposed [11 (a) + (b) + (c)]		553.00
12.	Additional FSI area under Chapter No. 7 (15 X 12) = 180		180.00
13.	Total entitlement of FSI in the proposal		
(a)	[9 + 10(b) + 11(d)] or 12 whichever is applicable (134.94 + 1598.10)		1733.04
	Ancillary Area FSI upto 60% or 80% with payment of charges	Commercial 80% OF 134.94	107.95
		Residential 60% OF 1598.10	958.86
(c)	Total entitlement (a + b)		2799.85
14.	Maximum utilization limit of F.S.I. (building potential) Permissible as per Road width (as per Regulation No. 6.1 or 6.2 or 6.3 or 6.4 as applicable) x 1.6 or 1.8)		
15.	Total Built-up Area in proposal (excluding area at Sr. No. 17 b)		
(a)	Existing Built-up Area		
(b)	Proposed Built-up Area (as per 'P-Line')		2797.82
(c)	Total (a + b)		2797.82
16.	F.S.I. Consumed (15/13) (should not be more than serial No. 14 above)		0.99
17.	Area for Inclusive Housing, if any		
(a)	Required (20% of Sr. No. 5)		
(b)	Proposed		

APPENDIX - C

THE PLANS PREPARED BY ME ARE IN ACCORDANCE WITH THE NORMS AS SPECIFIED BY INDIAN STANDARD INSTITUTE & I WILL BE HELD RESPONSIBLE FOR ANY HARM CAUSED IN EARTHQUAKE DUE TO NEGLIENCE OF THE STANDARDS.

A. N. AGASHE.
CONSULTING ENGINEER
BMC Regd. No. STR/A/32

OWNER'S DECLARATION -

I/WE UNDERSIGNED HEREBY CONFIRM THAT I/WE WOULD ABIDE BY PLANS APPROVED BY AUTHORITY / COLLECTOR. I/WE WOULD EXECUTE THE STRUCTURE AS PER APPROVED PLANS. ALSO I/WE WOULD EXECUTE THE WORK UNDER SUPERVISION OF PROPER TECHNICAL PERSON SO AS TO ENSURE THE QUALITY AND SAFETY AT THE WORK SITE.

OWNER (S) NAME AND SIGNATURE

CERTIFICATE OF AREA

CERTIFIED THAT I HAVE SURVEYED THE PLOT UNDER REFERENCE ON 25 /01/2018 AND THAT THE DIMENSIONS OF THE SIDES ETC. OF THE PLOT STATED ON THE PLAN ARE AS MEASURED ON SITE AND THE AREA SO WORKED OUT IS 820.00 SQ.MTS. AND TALLIES WITH THE AREA STATED IN THE DOCUMENT OF OWNERSHIP/TOWN PLANNING SCHEME RECORDS.

SIGNATURE OF ARCHITECT

DESCRIPTION OF PROPOSAL & PROPERTY

REDEVELOPMENT PROPOSAL ON PLOT BEARING S. NO. 132, H.NO. 1 AT VILL- KATEMANIVALI, TAL. KALYAN, DIST. THANE.

NAME & SIGNATURE OF OWNER	SIGNATURE OF ARCHITECT
SMT. ALKA PRAKASH MHATRE	
SIGNATURE	(VARGHESE)

DRG.NO.	JOB.NO.	SCALE	DATE	DRAWN BY.
1	S - 39 - 17	AS SHOWN	16 / 01 / 2023	MAMATA PATIL

NORTH

ARCHITECTS & CONSULTANTS

De-con Consultants
ARCHITECTS, INTERIOR DESIGNERS,
REGD. VALUERS & PROJECT CONSULTANTS
S-1, RAJASHREE TOWER, RAMBAUG, LANE No. 6.

DOORS AND WINDOWS SCHEDULE

TYPE	SIZE	REMARKS
D	1.00 X 2.10	T.W. FRAMED PANELLED DOOR.
D1	0.90 X 2.10	T.W. FRAMED PANELLED DOOR.
D2	0.75 X 2.00	T.W. FRAMED PARTLY GLAZED SINTEX DOOR.
W1	2.10 X 1.50	T.W. FRAMED GLAZED PANELLED WINDOW.
W2	1.80 X 1.05	T.W. FRAMED GLAZED PANELLED WINDOW.
W3	1.50 X 1.05	T.W. FRAMED GLAZED PANELLED WINDOW.
V	0.60 X 1.55	T.W. FRAMED GLAZED PANELLED WINDOW.
FD1	2.10 X 2.00	T.W. FRAMED GLAZED PANELLED WINDOW.
FD2	1.80 X 2.00	T.W. FRAMED GLAZED PANELLED WINDOW.

PROPOSED BUILDING

BUILDING NO.	FLOOR NO.	TOTAL BUILT-UP AREA OF FLOOR (AS PER OUTER P.LINE)
1	GR.+ 10TH FLR. (PT)	2797.82 SQ.MT

PARKING AREA STATEMENT

ONE PARKING AREA FOR EVERY TENEMENTS -	Nos. OF FLATS	Nos. OF CAR	Nos. OF SCOOTER
1) FOR EVERY TENEMENT HAVING CARPET AREA OF 150 SQ.M. AND ABOVE	NIL	NIL	NIL
2) FOR EVERY TENEMENT HAVING CARPET AREA EQUAL TO OR ABOVE 80 SQ.M. BUT LESS THAN 150 SQ.M.	NIL	NIL	NIL
3) FOR EVERY TWO TENEMENT WITH EACH TENEMENT HAVING CARPET AREA EQUAL TO OR ABOVE 40 SQ.M. BUT LESS THAN 80 SQ.M.	2 NOS.	1 NOS.	2 NOS.
4) FOR EVERY TWO TENEMENT WITH EACH TENEMENT HAVING CARPET AREA LESS THAN 40 SQ.M. BUT MORE THAN 30 SQ.M.	28 NOS.	14 NOS.	28 NOS.
5) FOR EVERY TWO TENEMENTS WITH EACH TENEMENT HAVING CARPET AREA LESS THAN 30 SQ.M.	18 NOS.	NIL	09 NOS.
6) COMMERCIAL AREA PARKING AREA 87.23 SQ.M. / 100.00 SM		2 NOS.	5 NOS.
7) IN ADDITION 5% VISITOR PARKING	NIL	1 NOS.	2 NOS.
TOTAL REQUIRED PARKING CAR	48 NOS.	18 NOS.	46 NOS.
CONSIDERATION OF PARKING AS PER D.C.RULE 80%		14 NOS.	46 NOS.
TOTAL PROPOSED PARKING CAR		21 NOS.	46 NOS.

TOTAL PROPOSED CAR PARKING = 6 NOS (ACC. TO PAGE NO. 156 OF U.D.P.C.R. CLAUSE NO. 81 (SERIAL NO. v) SEN SCOOTER PARKING MAY BE ALLOWED TO BE CONVERTED INTO 1 CAR PARKING.)

TOTAL REQUIRED CAR PARKING = 14 CAR
PROPOSED CAR 21 + 2)=14 = 7

TOTAL REQUIRED SCOOTER PARKING = 46 AS PER RULE , 7 CAR X 6 (SCOOTER) =42
SO, 46-42 = 4 SCOOTER REQUIRED

AREA DETAIL OF APARTMENT

NO. OF FLATS	FLOOR NO.	APARTMENT NO.	CARPET AREA OF APARTMENT (SQ.MT.)	AREA OF BALCONY ATTACHED TO APARTMENT (SQ.M.)	AREA OF DOUBLE HEIGHT TERRACES ATTACHED TO FLAT
48 NOS.	UPPER GROUND THIRD	001	39.93	11.53	
		002	33.90	8.26	
	FIRST TO THIRD	101 TO 301	39.93	11.53	
		102 TO 302	33.90	8.26	
		103 TO 303	23.60	4.53	
		104 TO 304	34.49	8.16	
		105 TO 305	29.79	7.08	
	FOURTH TO SEVENTH AND NINTH	401 TO 701 & 901	39.93	11.53	
		402 TO 702 & 902	33.90	8.26	
		403 TO 703 & 903	23.60	4.53	
		404 TO 704 & 904	34.49	8.16	
		405 TO 705 & 905	29.79	8.27	
	EIGHTH	801	39.93	11.53	
		802	46.20	10.41	
		804	34.49	8.16	
		805	29.79	8.27	
	TENTH	1004	48.74	13.54	3.84
		1005	29.79	8.33	3.71

P.LINE AREA CALCULATION

1ST TO 3RD TYPICAL FLOOR								
A	11.72	X	27.69	X	1 NO	=	324.53	SQ.MT.
					TOTAL ADDITION	=	324.53	SQ.MT. X

DEDUCTIONS								
1	2.42	X	0.48	X	1 NO	=	1.16	SQ.MT.
2	2.75	X	1.37	X	1 NO	=	3.77	SQ.MT.
3	2.57	X	0.94	X	1 NO	=	2.42	SQ.MT.
4	0.35	X	5.00	X	1 NO	=	1.75	SQ.MT.
5	0.60	X	0.97	X	1 NO	=	0.58	SQ.MT.
6	3.93	X	2.92	X	1 NO	=	11.48	SQ.MT.
7	0.75	X	1.80	X	1 NO	=	1.35	SQ.MT.
8	1.06	X	1.25	X	1 NO	=	1.33	SQ.MT.
9	0.58	X	2.40	X	1 NO	=	1.39	SQ.MT.
10	2.10	X	5.49	X	1 NO	=	11.53	SQ.MT.
11	2.04	X	6.09	X	1 NO	=	12.42	SQ.MT.
12	0.79	X	2.90	X	1 NO	=	2.29	SQ.MT.
13	1.00	X	1.30	X	1 NO	=	1.30	SQ.MT.
14	1.80	X	3.75	X	1 NO	=	6.75	SQ.MT.
15	1.32	X	1.23	X	1 NO	=	1.62	SQ.MT.
					TOTAL DEDUCTION	=	61.14	SQ.MT. Y1
TOTAL BUILT UP AREA [X - Y1]						=	263.39	SQ.MT. X1

P-LINE AREA STATEMENT

FLOOR	FLOOR AREA
STILT + GR. FLOOR	134.94 SQ.MT.
UPPER GROUND	158.12 SQ.MT.
1ST FLOOR	263.39 SQ.MT.
2ND FLOOR	263.39 SQ.MT.
3RD FLOOR	263.39 SQ.MT.
4TH FLOOR	264.58 SQ.MT.
5TH FLOOR	264.58 SQ.MT.
6TH FLOOR	264.58 SQ.MT.
7TH FLOOR	264.58 SQ.MT.
8TH FLOOR	250.21 SQ.MT.
9TH FLOOR	264.58 SQ.MT.
10TH FLOOR (PT)	141.48 SQ.MT.
TOTAL	2797.82 SQ.MT.

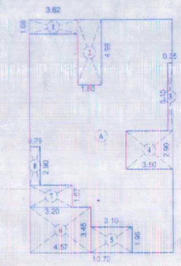

P.LINE AREA DIAGRAM
GROUND FLOOR PLAN
SCALE 1:200

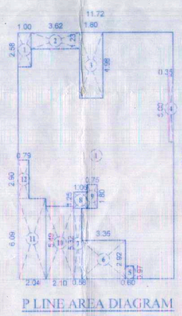

P.LINE AREA DIAGRAM
UPPER GROUND FLOOR PLAN
SCALE 1:200

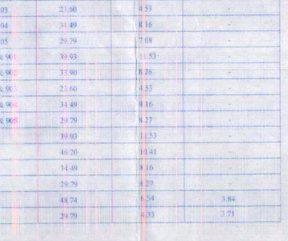

P.LINE AREA DIAGRAM
1ST TO 3RD FLOOR PLAN
SCALE 1:200

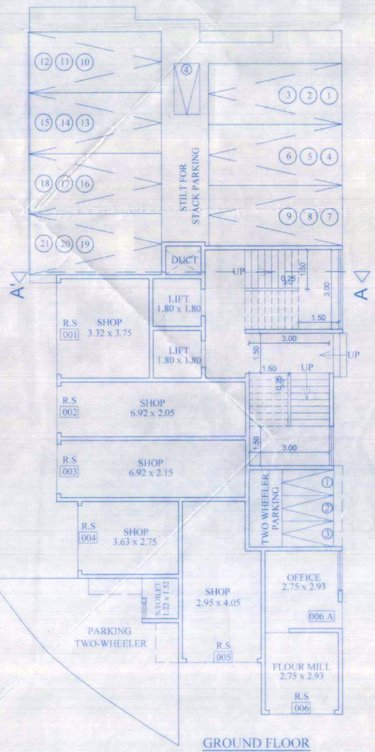

GROUND FLOOR
SCALE (1:100)

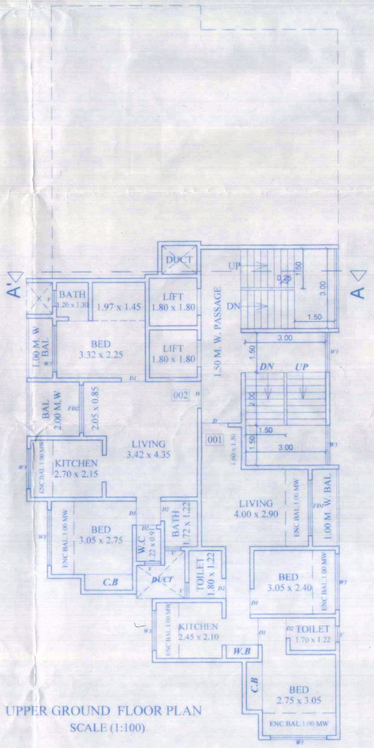

UPPER GROUND FLOOR PLAN
SCALE (1:100)

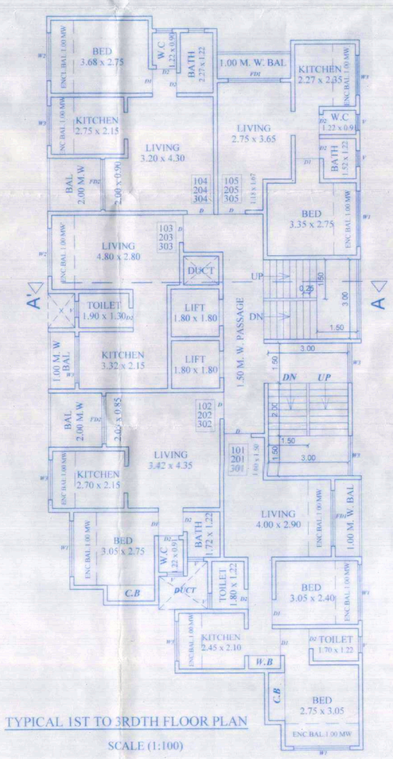

TYPICAL 1ST TO 3RDTH FLOOR PLAN
SCALE (1:100)

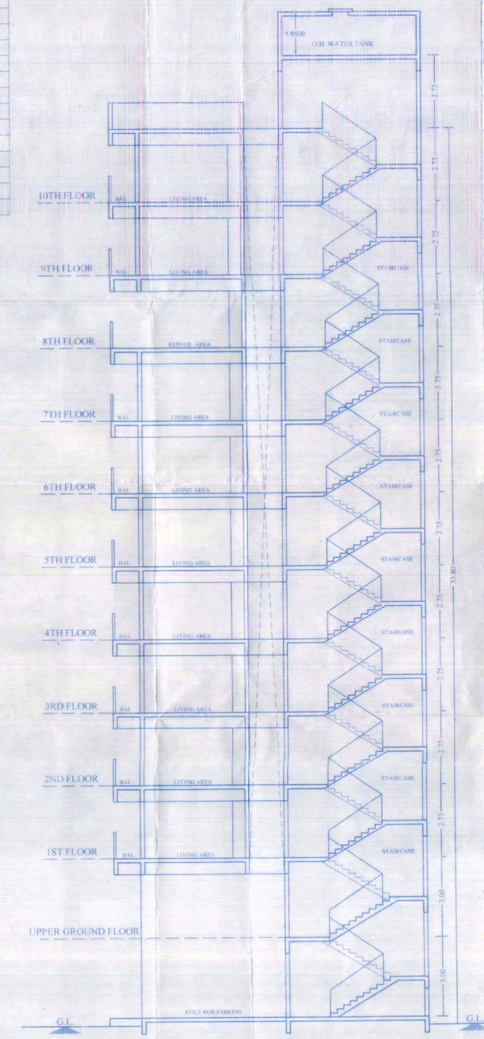

SECTION A-A'
SCALE (1:100)