VEDANG PLAZA															
BUILDING	FLOORS	FSI AREA						BALCONY	TERRACE	LIFT	LIFTWELL	DUCT	VENT	OTHER	TOTAL
		COMM.	RESI.	IND.	EDU.	INS.	MEZZ.	PROP.					SHAFT	DEDUCTION	FSI AREA
VEDANG PLAZA	FIRST TO SEVEN FLOOR	0.000	1801.464	0.000	0.000	0.000	0.000	0.000	0.000	0.000	18.900	63.840	0.000	0.000	1718.724
VEDANG PLAZA	GROUND FLOOR	0.000	84.970	0.000	0.000	0.000	0.000	0.000	0.000	2.700	0.000	0.000	0.000	0.000	84.970
VEDANG PLAZA	TOTAL	0.000	1886.434	0.000	0.000	0.000	0.000	0.000	0.000	2.700	18.900	63.840	0.000	0.000	1803.694

FSI DETAILS											
9 Index	Basic FSI (on serial no 7)	Premium FSI (on serial no 3)	TDR/DR (on serial no 3)	Incentive FSI for green building If Applicable (on basic FSI)	Additional FSI (10.10.1 Note:3)	Ancillary Area 60% of (2+3+4+5)	Ancillary Area 80% of (2+3+4+5)	Total	Inclusive Housing (20%) If Applicable	Drawing Value
9.1 Permissible Index	1.100	0.500	0.900	0.000	0.000	0.000	0.000	2.500	0.000	0.000
9.2 Existing Consumned Index	0.000	0.000	0.000	0.000	0.000	0.000	0.000	0.000	0.000	0.000
9.3 Balance Index to be Consumed	1.100	0.500	0.900	0.000	0.000	0.000	0.000	0.000	0.000	0.000
9.4 Total Permissible PLine Area	638.000	900.000	1620.000	0.000	0.000	1082.216	0.000	4240.216	0.000	0.000
9.5 Proposed P Line Area (Should not exceed 9.4)	638.000	0.000	1165.694	0.000	0.000	0.000	0.000	1803.694	0.000	1803.694
9.6 Index Consumed	1.100	0.000	0.648	0.000	0.000	0.000	0.000	1.748	0.000	0.000

Parking Check As Per Multiplying Factor 0.800							
	Required			Proposed			
Building Name	Car	Scooter	Transport Vehicle/Ambulance /Mini bus	Car	Scooter	Transport Vehicle/Ambulance /Mini bus	Status
Total	0	0	0	0	0	0	OK

Telecom Room			
Building	Req. Size	Prop. Size	Status
VEDANG PLAZA	3.000X3.400	3.000X3.400	OK

SCHEDULE OF OPENING				
BLD NAME	NAME	LENGTH	HEIGHT	Nos.
VEDANG PLAZA	v	0.600	1.200	2
VEDANG PLAZA	w	1.800	1.200	11

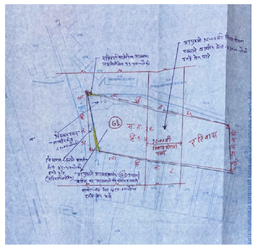

DP REMARK PLAN
SCALE:NTS

SCHEDULE OF DOORS & WINDOWS		
NO.	SIZE	REMARK
D	1.050 X 2.100	T. W. FRAMED MAIN DOOR
D1	0.900 X 2.100	T.W. FRAMED PANELED DOOR
D2	0.750 X 2.100	T.W. FRAMED GLAZED DOOR
FD	1.800 X 2.100	T.W. FRAMED GLAZED WINDOW
W	1.800 X 1.350	T.W. FRAMED GLAZED WINDOW
V	0.600 X 0.900	LOUVERED WINDOW
RS	————	ROLLING SHUTTER

FORM OF STATEMENT 1 EXISTING BUILDING TO BE RETAINED				
EXISTING BUILDING NO	FLOOR NO	PLINTH AREA	TOTAL FLOOR AREA OF EXISTING BUILDING	USE/ OCCUPANCY OF FLOORS
NIL	NIL	NIL	NIL	NIL

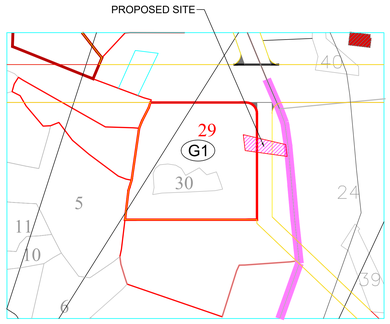

LOCATION PLAN
SCALE:NTS

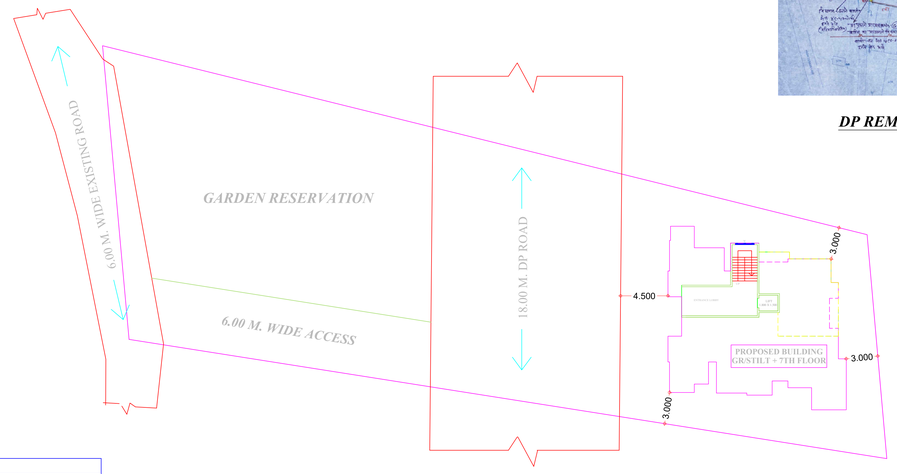

BLOCK PLAN
SCALE 1:200

N

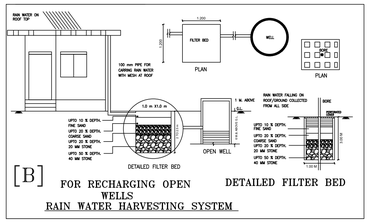



Project Details
Proposal code: KDMCC-25-138842
Zone Type: Residential Zone with Shop line. (R-2)
Location: Non-Congested
Name of service: Building Development
Sub service:
Cts No./Survey No.: 27
Tahsil: 27 Village
Mouza: Nandivali From Ambernath
Prorata Value: 0.000
Separation/CRZ Zone Area: -

PARKING STATEMENT				
S.NO	CARPET AREA	NO. OF FLATS	PARK. REQUIRED (car)	PARK. REQUIRED (scooter)
01	TENEMENT HAVING CARPET AREA UP TO 30.00 SQ.MT.	21 NO'S.	0 NO'S.	21 NO'S.
02	TENEMENT HAVING CARPET AREA BETWEEN 30.00 SQ.MT. TO 80.00 SQ.MT.	14 NO'S.	7 NO'S.	14 NO'S.
04	TENEMENT HAVING CARPET AREA BETWEEN 80.00 SQ.MT. TO 150.00 SQ.MT.	———	———	———
05	TENEMENT HAVING CARPET AREA MORE THAN 150.00 SQ.MT	———	———	———
06	TOTAL (01 +02 + 03 + 04)	35 NO'S.	7 NO'S.	35 NO'S.
07	ADDED 5% VISITER PARKING (5% OF 04)	———	1 NO'S.	2 NO'S.
08	TOTAL RESIDENCE PARKING (06 + 07)	———	8 NO'S.	37 NO'S.
09	SHOP AREA PARKING FOR EVERY 100.00 SQ.MT NO OF CARS - 2 NO OF SCOOTER - 6 (SHOP C.A.= ———— SQ.MT.)	———	0 NO'S.	0 NO'S.
10	OFFICE AREA PARKING FOR EVERY 200.00 SQ.MT NO OF CARS - 3 NO OF SCOOTER - 11 (OFFICE C.A.= ———— SQ.MT.)	———	00 NO'S.	00 NO'S.
11	TOTAL PARKING (08 + 09+10)	———	8 NO'S.	37 NO'S.
12	TOTAL REQUIRED PARKING MULTIPLE FACTOR IS 0.80	———	6 NO'S.	———
13	COMPOSITE PARKING FOR 6 BIKE PROPOSED 1 CAR 30 NO'S BIKE = 5 NO'S.CAR	———	5 NO'S.	———
14	TOTAL PARKING (11 + 12)	———	11 NO'S.	———
15	TOTAL PROPOSED PARKING	———	11 NO'S.	7 NO'S.

SECTION OF SEPTIC TANK

SECTION OF SUCTION TANK

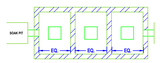

PLAN OF SEPTIC TANK

PLAN OF SUCTION TANK

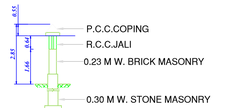

SECTION OF COMPOUND WALL

LEGENDS:
PLOT BOUNDRY SHOWN WHITE
PROPOSED WORK SHOWN RED
DRAINAGE LINE SHOWN YELLOW LIGHT
WATER LINE SHOWN BLUE DOTTED
ENCLOSED BAL SHOWN BROWN
TERRACE SHOWN DARK YELLOW
OPEN BAL SHOWN BRAWN
EXSTING SHOWN BLUE HATCHED

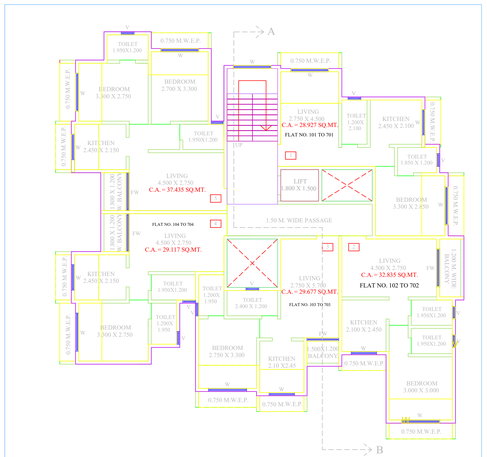

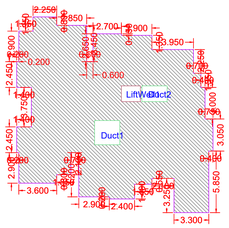

BUILT-UP AREA CALCULATION FIRST TO SEVEN FLOOR VEDANG PLAZA

BUILT UP AREA CALCULATION FOR FIRST TO SEVEN FLOOR VEDANG PLAZA			
AREA NAME	LENGTH	WIDTH	Area(Sq.M)
BLOCK	18.650	18.600	257.352
BLOCK AREA TOTAL =257.352Sq.M			
LiftWell1	-	-	2.700
Duct2	-	-	3.600
Duct1	-	-	5.520
TOTAL Deduction =11.820Sq.M			
Net BuiltUp Area =245.532 Sq.M			

FORM OF STATEMENT 2 PROPOSED BUILDING		
BUILDING	FLOOR NO	TOTAL BUILT UP AREA OF FLOOR AS PER P LINE
G/STILT + 7TH FLOOR	GR. FLOOR	84.970 SQ.MT
	1ST FLOOR	245.532 SQ.MT
	2ND FLOOR	245.532 SQ.MT
	3RD FLOOR	245.532 SQ.MT
	4TH FLOOR	245.532 SQ.MT
	5TH FLOOR	245.532 SQ.MT
	6TH FLOOR	245.532 SQ.MT
	7TH FLOOR	245.532 SQ.MT
	TOTAL	1803.694 SQ.MT

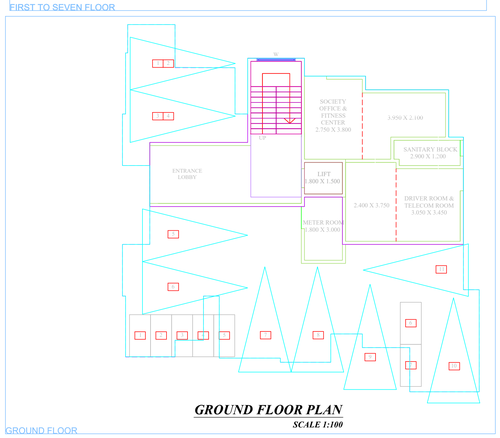

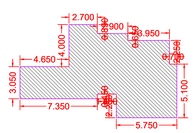

BUILT-UP AREA CALCULATION GROUND FLOOR VEDANG PLAZA

BUILT UP AREA CALCULATION FOR GROUND FLOOR VEDANG PLAZA			
AREA NAME	LENGTH	WIDTH	Area(Sq.M)
BLOCK	14.900	8.850	84.970
BLOCK AREA TOTAL =84.970Sq.M			
TOTAL Deduction =0.000Sq.M			
Net BuiltUp Area =84.970 Sq.M			

FORM OF STATEMENT 3 AREA DETAILS OF APARTMENT				
BUILDING NO	FLOOR NO	APARTMENT NO	CARPET AREA OF APARTMENT, SHOPS	AREA OF BALCONY ATTACHED TO APARTMENT
	1ST TO 7TH	01	28.927 SQ.MT	7.260 SQ.MT
		02	32.835 SQ.MT	6.162 SQ.MT
		03	29.677 SQ.MT	7.135 SQ.MT
		04	29.117 SQ.MT	7.657 SQ.MT
		05	37.435 SQ.MT	10.627 SQ.MT

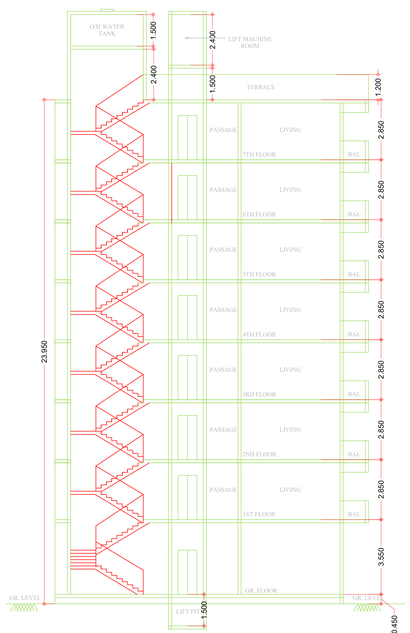

SECTION AT A-B
SCALE 1:100

AREA STATEMENT			
1	AREA OF PLOT (MINIMUM AREA OF a, b,& c TO BE CONSIDER)		
	a AS PER OWNERSHIP DOCUMENT AS PER 7/12	1800.000	
	b AS PER MEASUREMENT SHEET	1800.000	
	c AS PER SITE	1800.000	
2	DEDUCTION FOR		
	a D.P. ROAD WIDENING AREA/ SERVICE ROAD (18.00 M. D.P. ROAD)	430.000	
	b EXISTING ROAD	N.A.	
	C ANY D.P. RESERVATION AREA (GARDEN RESERVATION)	790.000	
	TOTAL (a+ b+c)	1220.00	
3	BALANCE AREA OF PLOT	580.000	
4	AMENITY SPACE	N.A.	
	a REQURIED	--------	
	b ADJUSTMENT OF 2b	--------	
	c BALANCE PROPOSED	--------	
5	NET PLOT AREA (3 - (4c))	580.000	
6	RECREATIONAL OPEN SPACE	N.A.	
	a REQURIED	N.A.	
	b PROPOSED	N.A.	
7	INTERNAL ROAD AREA	--------	
8	PLOTABLE AREA	--------	
9	BUILT UP AREA WITH THE REFERENCE TO BASIC FSI AS PER FRONT ROAD WITH (580.00 X 1.10)	638.000	
10	ADDITION OF F.S.I. ON PAYMENT OF PREMIUM		
	a MAXIMUM PERMISSIBLE PREMIUM FSI- BASED ON ROAD WITH / TOD ZONE		
	b PROPOSED FSI ON PAYMENT OF PREMIUM (1800 X 50%) = 900.000	----------	
11	IN SITU FSI /TDR LOADING		
	a IN SITU AREA AGAINST RESERVATION (1220.000 X 2) = 2440)	1166.000	
	b AREA AGAINST AMENITY SPACE IF HANDOVER	--------	
	c TDR AREA (1800 X .90) = 1620.000	-------	
	d TOTAL IN SITU/ TDR LOADING PROPOSED (11 (a) + (b) +(c))	1166.000	
12	ADDITIONAL FSI UNDER CHAPTER 7	N.A.	
13	TOTAL ENTITLEMENT OF FSI IN PROPOSAL		
	a (9 + 10(b)+11(d)) OR 12 SANCTION AREA PROPOSED AS PER UDCPR	1804.000	
	b ANCILLARY AREA UP TO 60% OR 60% WITH PAYMENT OF CHARGE FOR RESIDENTIAL FOR COMMERCIAL	----------	
	c TOTAL PERMISSIBLE BUILT UP AREA (a + b)	1804.000	
14	MAXIMUM UTILIZATION LIMIT OF FSI (BUILDING POTENTIAL) PERMISSIBLE AS PER ROAD WIDTH ((AS PER REGULATION NO 6.1 OR 6.2 OR 6.3 OR 6.4 AS APPLICABLE) X 1.6 OR 1.8	————	
15	TOTAL BUILT UP AREA IN PROPOSAL (EXCLUDING SR N0 17 b)		
	a EXISTING BUILT UP AREA IN PROPOSAL	----------	
	b PROPOSED BUILT UP AREA (AS PER P LINE)	1803.694	
	c TOTAL (a + b)	1803.694	
16	FSI CONSUMED (15/13)	0.99	
17	AREA FOR INCLUSIVE HOUSING, IF ANY		
	a REQUIRED		
	b PROPOSED		

Proforma 1 : Area Statement	
1. Area of plot (Minimum area of a, b, c to be considered)	1800.000
(a) As per ownership document (7/12, CTS extract)	1800.000
(b) as per TILR or City Survey measurement sheet	1800.000
(c) as per Demarcated drawing area	1800.000
LESS	
2.Area not in possession	0.000
3. Area Proposed for development (out of 1-2)	1800.000
4.Deductions for	-
(a) Proposed D.P./ D.P. Road widening Area / Service Road / Highway widening	430.000
(b) Any D.P. Reservation area	0.000
(c) Green Belt	790.000
Total (a+b+c)	1220.000
5.Balance area of plot (3-4)	580.000
6. Amenity Space	0.000
(Applicable if (1) > 20000 sqmt	-
(Required -(a) Upto 20000 sqmt - Nil	-
(b) Above 20000 sqmt - (a) + 5% of Total area	0.000
7. Net Plot Area (5-6)	580.000
8. Recreational Open Space	-
(a) If area (5) is more than 4000 sqmt - 10 % of (5) is required.	0.000
Proposed	0.000
(b) If area is less than 4000 sqmt -Check -	-
b) If it is full number like 1,2,125,419 etc. As per 7.12 abstract or City Survey Number - No Recreational open space is required	-
b) If it is subdivision like 1/2 ,2/5 , 125/1 419/1 etc.then recreational open space is required.	-
(A) 10 % Subject to minimum 200 sqmt	0.000
Proposed	0.000
(B) Exemption to leave open space subject to availing basic F.S.I of 75 %	-
(C) Exemption to leave open space subject to payment of 10 % land value of land at (7) as per annual statement of rate.	-

Architect/ Licensed Engineer/ Supervisor name and signature
Registration No. of Architect/ License no. of Licensed Engineer/ Supervisor: CA/2018/97248

Certificate of Area:
Certified that the plot under reference was surveyed by me on_____ and the dimensions of sides etc. of plot stated on plan are as measured on site and the area so worked out tallies with the area stated in document of Ownership/ T.P. Scheme Records/Land Records Department/City Survey records.

Signature
(Name of Architect/ Licensed Engineer/ Supervisor.)

Owner's Declaration -
I/We undersigned hereby confirm that I/We would abide by plans approved by Authority / Collector. I/We would execute the structure as per approved plans. Also I/We would execute the work under supervision of proper technical person so as to ensure the quality and safety at the work site.

Owner (s) name and signature

Name Of : Owner Ritesh Singh

Postal Address : C-401,Mangeshdream City Bh Bhagirathi ngr Kolivali
Kalyan,Khadivali,Thane,Maharashtra-421301
Phone No. 9181517990

DESCRIPTION OF PROJECT :
Type of Proposal : Residential
BUILDING ON CTS. NO./SURVEY NO.:-27

SITE ADDRESS :
S . NO 27 H7 AT VILLAGE NANDIVALI TARFE AMBERNATH

Name Of Architect.: Nikhil Ashok Borade

LOGO	ADDRESS OF OFFICE OFFICE - 1404 orcade b building no 4 nisarg green ambernath (e)
OWNERS SIGN -	TECHNICAL PERSON SIGN
SCALE -	DATE: Date: 13/12/25
JOB NO - KDMCC-25-138842	CHECK BY - zoom

SUBMISSION DRAWING