Yash Palace																
BUILDING	FLOORS	FSI AREA						BALCONY	TERRACE	LIFT	LIFTWELL	DUCT	VENT	OTHER	TOTAL
		COMM.	RESI.	IND.	EDU.	INS.	MEZZ.	PROP.					SHAFT	DEDUCTION	FSI AREA
Yash Palace	TYPICAL 1ST TO 4TH FLOOR	683.040	0.000	0.000	0.000	0.000	0.000	0.000	0.000	15.680	15.680	0.000	0.000	0.000	667.360
Yash Palace	GROUND FLOOR	96.497	0.000	0.000	0.000	0.000	0.000	0.000	0.000	0.000	3.920	0.000	0.000	0.000	92.577
Yash Palace	TOTAL	779.537	0.000	0.000	0.000	0.000	0.000	0.000	0.000	15.680	19.600	0.000	0.000	0.000	759.937

FSI DETAILS											
9 Index	Basic FSI (on serial no 7)	Premium FSI (on serial no 3)	TDR/DR (on serial no 3)	Incentive FSI for green building, if Applicable (on basic FSI)	Additional FSI (10.10.1 Note:-))	Ancillary Area 60% of (2+3+4+5)	Ancillary Area 80% of (2+3+4+5)	Total	Inclusive Housing (20%) if Applicable	Drawing Value
9.1 Permissible Index	1.100	0.500	1.150	0.000	0.000	0.000	0.000	2.750	0.000	0.000
9.2 Existing Consumed Index	0.000	0.000	0.000	0.000	0.000	0.000	0.000	0.000	0.000	0.000
9.3 Balance Index to be Consumed	1.100	0.500	1.150	0.000	0.000	0.000	0.000	2.750	0.000	0.000
9.4 Total Permissible PLine Area	452.100	210.000	483.000	0.000	0.000	0.000	343.200	1488.300	0.000	0.000
9.5 Proposed P Line Area (Should not exceed 9.4)	411.000	0.000	18.000	0.000	0.000	0.000	330.937	759.937	0.000	759.937
9.6 Index Consumed	1.000	0.000	0.044	0.000	0.000	0.000	0.000	1.043	0.000	0.000

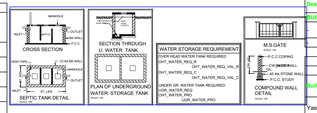

Carpet Area Table									
Building Name	Floor Name	Carpet name	Tenement No	Carpet Area	Enclosed Balcony Area	Normal Balcony Area	Mezzanine Area	Total Carpet Area
Yash Palace	GROUND FLOOR	SHOP1	1	53.510	0.000	0.000	0.000	53.510
Yash Palace	TYPICAL 1ST TO 4TH FLOOR	1,2,3,4	4	120.735	0.000	0.000	0.000	120.735

Area utilisation of Roads and Reservations						
Description of area utilisation			surrendered Area in(Sq.M)	Quatam of DR/TDR generation	Total Quatam of DR/TDR generation	Area considered for DR utilisation	Remaining area for DRC generation
BUILDING	Reservation type	reservation no	Name				
	-	24.00 m. DP Road Widening	9.000	18.000	18.000	0.000	0.000
	-	Total	9.000	18.000	18.000	18.000	0.000

Parking Check (Table 8B)								
			RATIO			Required		
Building Name	USE	TENAMENT AREA	car	scooter	NO.OF Tena/Area/Units	car	scooter	Transport Vehicle/Ambulance /Mini Bus
Yash Palace	Commercial	For every 100 sq.m. carpet area or fraction thereof	2	6	536.451	10.729	32.187	-
Total	-	-	-	-	-	10.729	32.187	-

Parking Check As Per Multiplying Factor 0.800							
	Required			Proposed			
Building Name	Car	Scooter	Transport Vehicle/Ambulance /Mini bus	Car	Scooter	Transport Vehicle/Ambulance /Mini bus	Status
Total	9	26	0	10	31	0	OK

Telecom Room			
Building	Req. Size	Prop. Size	Status
Yash Palace	3.000X3.400	3.000X3.400	OK

Project Details	
Proposed code: KDMCC-26-16098	
Zone Type: Residential Zone with Shop line. (R-Z)	
Location: Non-Congested	
Name of service: Building Development	
Owner: Raju Patil	
Gat No./Survey No.: 54	
Village: Balyani	
Mouzi: Balyani	
Prorata Value: 0.000	
Residential/Not Zone Area: -	

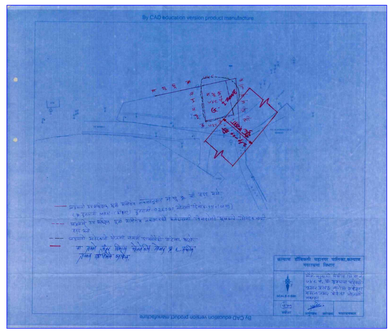

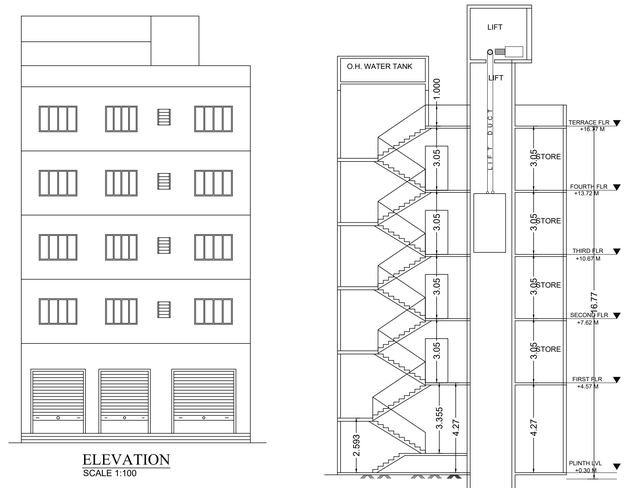

AREA STATEMENT	
FLOOR	P-LINE AREA IN S.Q.MT.
GROUND	92.57
FIRST	166.84
SECOND	166.84
THIRD	166.84
FOURTH	166.84
TOTAL	759.93

AREA DETAIL OF APARTMENT		
FLOOR NO.	SHOP NO.	RERA CARPET
GROUND	1	54.70 SQ.MT
	TOTAL	54.70 SQ.MT

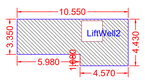

BUILT-UP AREA CALCULATION GROUND FLOOR Yash Palace

BUILT UP AREA CALCULATION FOR GROUND FLOOR Yash Palace			
AREA NAME	LENGTH	WIDTH	Area(Sq.M)
BLOCK	10.550	4.430	46.731
		BLOCK AREA TOTAL =46.731Sq.M	
LIFWell2	-	-	1.430
		TOTAL Deduction =1.430Sq.M	
		Net BuiltUp Area =45.300 Sq.M	

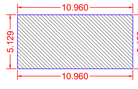

BUILT UP AREA CALCULATION FOR SHOP1 Yash Palace			
AREA NAME	LENGTH	WIDTH	Area(Sq.M)
BLOCK	10.960	5.129	56.218
		BLOCK AREA TOTAL =56.218Sq.M	
		TOTAL Deduction =0.000Sq.M	
		Net BuiltUp Area =56.218 Sq.M	

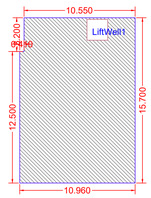

BUILT-UP AREA CALCULATION TYPICAL 1ST TO 4TH FLOOR Yash Palace

BUILT UP AREA CALCULATION FOR TYPICAL 1ST TO 4TH FLOOR Yash Palace			
AREA NAME	LENGTH	WIDTH	Area(Sq.M)
BLOCK	15.700	10.960	172.072
		BLOCK AREA TOTAL =172.072Sq.M	
LIFWell1	-	3.920	3.920
		TOTAL Deduction =3.920Sq.M	
		Net BuiltUp Area =168.040 Sq.M	

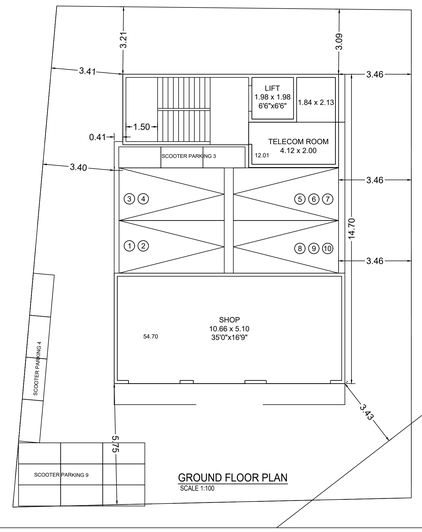

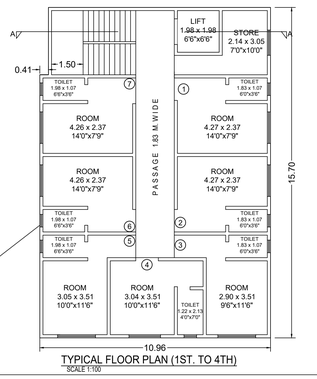

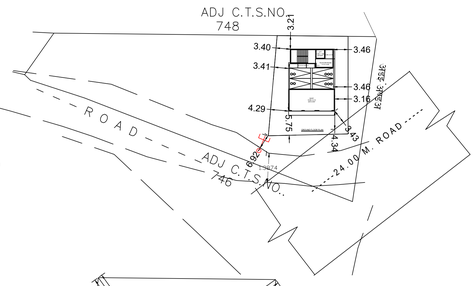

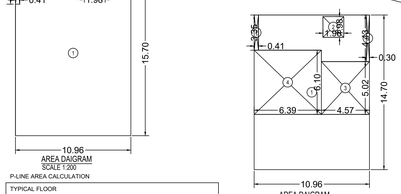

P-LINE AREA CALCULATION

TYPICAL FLOOR									
1	10.96	X	15.70	X	1 NO	+	172.07	SQ.MT.	
					TOTAL ADDITION	+	172.07	SQ.MT.	X

DEDUCTIONS									
1	0.41	X	3.20	X	1 NO	+	1.31	SQ.MT.	
2	1.98	X	1.98	X	1 NO	+	3.92	SQ.MT.	
					TOTAL DEDUCTION	+	5.23	SQ.MT.	Y1
TOTAL BUILT UP AREA [X - Y1]						+	166.84	SQ.MT.	X1

BUILT UP AREA CALCULATION

TYPICAL FLOOR									
1	10.96	X	14.70	X	1 NO	+	161.11	SQ.MT.	
					TOTAL ADDITION	+	161.11	SQ.MT.	X

DEDUCTIONS									
1	0.41	X	3.35	X	1 NO	+	1.37	SQ.MT.	
2	1.98	X	1.98	X	1 NO	+	3.92	SQ.MT.	
3	4.57	X	5.02	X	1 NO	+	22.94	SQ.MT.	
4	0.30	X	4.43	X	1 NO	+	1.33	SQ.MT.	
4	6.39	X	6.10	X	1 NO	+	38.98	SQ.MT.	
					TOTAL DEDUCTION	+	68.54	SQ.MT.	Y1
TOTAL BUILT UP AREA [X - Y1]						+	92.57	SQ.MT.	X1

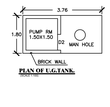

PLAN OF U.G.TANK.

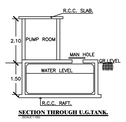

SECTION THROUGH U.G.TANK.

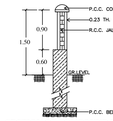

SECTION OF COMPOUND WALL.
SCALE 1:50

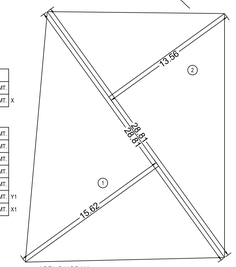

PLOT AREA CALCULATION

PLOT									
1	1/2	X	28.81	X	15.62	X 1 NO	+	225.01	SQ.MT.
2	1/2	X	28.81	X	13.56	X 1 NO	+	195.33	SQ.MT.
						TOTAL ADDITION	+	420.34	SQ.MT. X

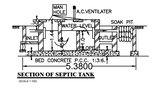

SECTION OF SEPTIC TANK.



PLAN
SCALE = 1:100

RAIN WATER HARVESTING
SCALE = 1:100

PARKING AREA STATEMENT

ONE PARKING AREA FOR EVERY TENEMENTS	Nos. OF FLATS	Nos. OF CAR	Nos. OF SCOOTER
1) FOR EVERY TENEMENT HAVING CARPET AREA OF 150 SQ.M. AND ABOVE 2 CAR & 2 SCOOTER	NIL	NIL	NIL
2) FOR EVERY TENEMENT HAVING CARPET AREA EQUAL TO OR ABOVE 80 SQ.M. BUT LESS THAN 150 SQ.M. 1 CAR & 2 SCOOTER	NIL	NIL	NIL
3) FOR EVERY TWO TENEMENT WITH EACH TENEMENT HAVING CARPET AREA EQUAL TO OR ABOVE 40 SQ.M. BUT LESS THAN 80 SQ.M. 1 CAR & 2 SCOOTER	NIL	NIL	NIL
4) FOR EVERY TWO TENEMENT WITH EACH TENEMENT HAVING CARPET AREA LESS THAN 40 SQ.M. BUT MORE THAN 30 SQ.M. 1 CAR & 2 SCOOTER	NIL	NIL	NIL
5) FOR EVERY TWO TENIMENTS WITH EACH TENEMENT HAVING CARPET AREA LESS THAN 30 SQ.M. 2 SCOOTER	NIL	NIL	NIL
6) SHOPS AND OTHER COMMERCIALS USERS AREA FOR EVERY 100 SQ.M. CARPET AREA OR FRACTION THEREOF (FOR 100 SQ.MT. 1 CAR & 6 SCOOTER PARKING)	54.70 SQ.MT.	0.54 NOS	3.28 NOS
7) OFFICE AREA FOR EVERY 200 SQ.M. CARPET AREA OR FRACTION THEREOF (FOR 200 SQ.MT. 3 CAR & 11 SCOOTER PARKING)	NIL	NIL	NIL
8) LODGING ESTABISHIMENT'S TOURIST HOMES HOTELS WITH LODGING ACCOMMODATION, STAR CATEGORY HOTELS FOR EVERY FIVE GUEST ROOMS (1 CAR & 6 SCOOTER PARKING)	28 NOS	5.60 NOS	33.60 NOS
9) STORAGE (ANY TYPE) AREA SQ.MT. FOR EVERY 300 SQ.M. CARPET AREA OR FRACTION THEREOF (FOR 300 SQ.MT. 0 CAR & 4 SCOOTER PARKING)	NIL	NIL	NIL
10) ADDITION 5% RESI. VISITOR PARKING (5% of 1 TO 5)	NIL	0.30 NOS	1.84 NOS
11) TOTAL PARKING CAR	NIL	6.44 NOS	38.72 NOS
TOTAL SINK PARKING CAR & SCOOTER (80% of 11) AS PER UDCPR REGULATION NO. 8.2.2 TABLE NO.8C	NIL	6 NOS	30.97 NOS
TOTAL PROPOSED PARKING CAR	NIL	6 NOS	31 NOS

DESCRIPTION OF PROPOSAL AND PROPERTY

PROPOSED COMMERCIAL BUILDING ON LAND BEARING S. NO. 54 /3/E , & S. NO. 54 /3/G, C.T.S. NO.749 (P) ,VILLAGE BALYANI, TAL- KALYAN, DIST THANE.

DRAWING SHEET NO. - 1

AREA STATEMENT		SQ.M.
1.	Area of plot (Minimum area of a, b, c to be considered)	--
(a)	As per ownership document (7/12, CTS extract)	420.00
(b)	as per measurement sheet (533.43 - 24.43)	420.00
(c)	as per site	
2.	Deductions for	--
(a)	Proposed D.P. / D.P. Road widening Area (18MT. D.P. ROAD)	9.00
(b)	Any D.P. Reservation area	--
	(Total a+b)	--
3.	BALANCE AREA OF PLOT (1-2)	411.00
4.	Amenity Space (if applicable)	
(a)	Required -	--
(b)	Adjustment of 2(b), if any -	--
(c)	Balance Proposed -	--
5.	Net Plot Area [3-4(c)]	411.00
6.	Recreational Open space (if applicable)	--
(a)	Required -	--
(b)	Proposed -	--
7.	Internal Road area	--
8.	Plotable area (if applicable)	--
9.	Built up area with reference to Basic F.S.I. as per front road width (Sr. No. 5 x basic FSI) (411.00 X 1.00)	411.00
10.	Addition of FSI on payment of premium	
(a)	Maximum permissible premium FSI - based on road width / TOD Zone	--
(b)	Proposed FSI on payment of premium (0.50 X 450.96)	
11.	In-situ FSI / TDR loading	
(a)	In-situ area against D.P. road	
(b)	In-situ area against Amenity Space if handed over	
	[2.00 or 1.85 x Sr. No. 4 (b) and / or (c)] 9.00 X 2 = 18.00	18.00
(c)	TDR area	
(d)	Total in-situ / TDR loading proposed [11 (a) + (b) = (c)]	--
12.	Additional INCENTIVE FSI area under Chapter No. 7	
13.	Total entitlement of FSI in the proposal	429.000
(a)	[9 + 10(b) + 11(d)] or 12 whichever is applicable COM = RESI 429.00	
(b)	Ancillary Area FSI upto with payment of charges 429.00 X 80% =	343.20
(c)	Total entitlement (a + b)	762.00
14.	Maximum utilization limit of F.S.I. (building potential) Permissible as per Road width (as per Regulation No. 6.1 or 6.2 or 6.3 or 6.4 as applicable) x 1.6 or 1.8	
15.	Total Built-up Area in proposal (excluding area at Sr. No. 17 b)	--
(a)	Existing Built-up Area	--
(b)	Proposed Built-up Area (as per 'P-Line')	759.93
(c)	Total (a + b)	759.93
16.	F.S.I. Consumed (15/13) (should not be more than serial No. 14 above)	0.99
17.	Area for Inclusive Housing, if any	--
(a)	Required (20% of Sr. No. 5)	--
(b)	Proposed	--

CERTIFICATE OF AREA

CERTIFICATE OF AREA: CERTIFIED THAT THE PLOT UNDER REFERENCE WAS SURVEYED BY ME ON 07 / 11 / 2023 AND THE DIMENSIONS OF SIDES ETC. OF PLOT STATED ON PLAN ARE AS MEASURED ON SITE AND THE AREA SO WORKED OUT 420.00 SQ.MT. TALLIES WITH THE AREA STATED IN DOCUMENT OF OWNERSHIP/ T.P. SCHEME RECORDS/ LAND RECORDS DEPARTMENT/CITY SURVEY RECORDS. SIGNATURE

Priya Mukesh Dinodiya
Digitally signed by Priya Mukesh Dinodiya
Date: 2026.02.12 11:56:03 +05'30'

Ms. Priya M. Dinodiya.
Lic. No. CA/2024/170374
SIGNATURE OF ARCHITECT

Owner's Declaration -

I/We undersigned hereby confirm that I/We would abide by plans approved by Authority / Collector. I/We would execute the structure as per approved plans. Also I/We would execute the work under supervision of proper technical person so as to ensure the quality and safety at the work site.

Owner (s) name and signature

PLANS PREPARED BY HIM ARE IN ACCORDANCE WITH THE NORMS AS SPECIFIED BY INDIAN STANDARDS INSTITUTE AND I WILL BE HELD RESPONSIBLE FOR ANY HARM CAUSED IN EARTHQUAKE DUE TO NEGLIGENCE OF THE STANDARDS.

CHANDRA DEV A DEV
Digitally signed by CHANDRA DEV A DEV
Date: 2026.02.12 11:44:26 +05'30'

Chandra dev
SIGNATURE OF ENGINEER

OWNER'S DECLARATION

I/WE UNDERSIGNED HEREBY CONFIRM THAT I/WE WOULD ABIDE BY PLANS APPROVED BY AUTHORITY / COLLECTOR. I/WE WOULD EXECUTE THE STRUCTURE AS PER APPROVED PLANS. ALSO I/WE WOULD EXECUTE THE WORK UNDER SUPERVISION OF PROPER TECHNICAL PERSON SO AS TO ENSURE THE QUALITY AND SAFETY AT THE WORK SITE. OWNER (S) NAME AND SIGNATURE

SIGNATURE OF ARCHITECT / ENGINEER

Priya Mukesh Dinodiya
Digitally signed by Priya Mukesh Dinodiya
Date: 2026.02.12 11:28:53 +05'30'

Ms. Priya M. Dinodiya.
Lic. No. CA/2024/170374

POWER OF ATTORNEY HOLDER

Raju Baban Patil
Digitally signed by Raju Baban Patil
Date: 2026.02.12 12:19:27 +05'30'

Mr. RAJU BABAN PATIL

M/s. SAINI AND ASSOCIATES
"SHREE PUSPHI BUILDING GROUND FLOOR NEAR TRIVIKRAM MANDIR"
PARNAKA , KALYAN (W) 421301 .
CONTACT : 9773888816

Proforma I : Area Statement	
1. Area of plot (Minimum area of a, b, c to be considered)	420.000
(a) As per ownership document (7/12, CTS extract)	420.000
(b) as per TILR or City Survey measurement sheet	420.000
(c) as per Demarcated drawing area	420.197
LESS	-
2.Area not in possession	0.000
3. Area Proposed for development (out of 1-2)	420.000
4.Deductions for	-
(a) Proposed D.P./ D.P. Road widening Area / Service Road / Highway widening	9.000
(b) Any D.P. Reservation area	0.000
(c) Green Belt	0.000
Total (a+b+c)	9.000
5.Balance area of plot (3-4)	411.000
6. Amenity Space	0.000
(Applicable if (1) > 20000 sqmt	-
(Required -(a) Upto 20000 sqmt - Nil	-
(b) Above 20000 sqmt - (a) + 5% of Total area	0.000
7. Net Plot Area (5-6)	411.000
8. Recreational Open Space	-
(a) If area (5) is more than 4000 sqmt - 10 % of (5) is required.	0.000
Proposed	0.000
(b) If area is less than 4000 sqmt -Check -	-
i) If it is full number like 1,2,125,419,etc. As per 7.12 abstract or City Survey Number - No Recreational open space is required	-
ii) If it is subdivision like 1/2 ,2/5 , 125/1 419/1 etc.then recreational open space is required.	-
(A) 10 % Subject to minimum 200 sqmt	0.000
Proposed	0.000
(B) Exemption to leave open space subject to availing basic F.S.I of 75 %	-
(C) Exemption to leave open space subject to payment of 10 % land value of land at (7) as per annual statement of rate	-
Architect/ Licensed Engineer/ Supervisor name and signature	
Registration No. of Architect/ License no. of Licensed Engineer/ Supervisor: CA/2024/170374	
Certificate of Area: Certified that the plot under reference was surveyed by me on_____ and the dimensions of sides etc. of plot stated on plan are as measured on site and the area so worked out tallies with the area stated in document of Ownership/ T.P. Scheme Records/Land Records Department/City Survey records.	
Signature (Name of Architect/ Licensed Engineer/ Supervisor.)	
Owner's Declaration - I/We undersigned hereby confirm that I/We would abide by plans approved by Authority / Collector. I/We would execute the structure as per approved plans. Also I/We would execute the work under supervision of proper technical person so as to ensure the quality and safety at the work site.	
Owner (s) name and signature	

Name Of : Owner Raju Baban Patil

Postal Address : HOUSE
NO.4,AT.BALYANI,POST.MOHANE,.BALYANI TIYWALA ROAD,Kalyan,Thane,Maharashtra-421650
Phone No.-9892737872

DESCRIPTION OF PROJECT :

Type of Proposal : Commercial
BUILDING ON CTS. NO./SURVEY NO.-54

SITE ADDRESS :
Yash palacePROPOSED COMMERCIAL BUILDING ON LAND BEARING S. NO. 54 /3/E , & S. NO. 54 /3/G, C.T.S. NO.749 (P) ,VILLAGE BALYANI, TAL- KALYAN,

Name Of Architect : Priya Mukesh Dinodiya

LOGO	ADDRESS OF OFFICE OFFICE - 303, Durvankur apt ,Gandhi chowk, Above paneri collection, Kalyan(w)- 421 301

OWNERS SIGN -	TECHNICAL PERSON SIGN
Mr. RAJU BABAN PATIL	Ms. Priya M. Dinodiya. Lic. No. CA/2024/170374

	SCALE -	DATE: Date: 09/02/26
	JOB NO - KDMCC-26-16098	CHECK BY - zoom

SUBMISSION DRAWING