PREVIOUS APPROVED

APPROVAL NO- KDMC/NRV/BP/KV/2012-13/215/194.
DT.16/02/2018. WING-B (STILT+5FL)

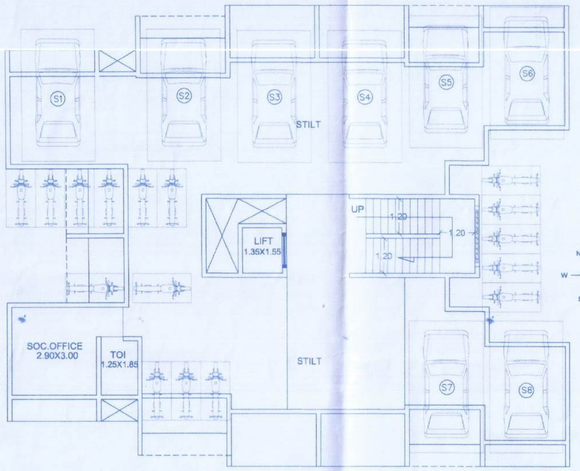

WING"B"
GROUND FLOOR
SC.1:100

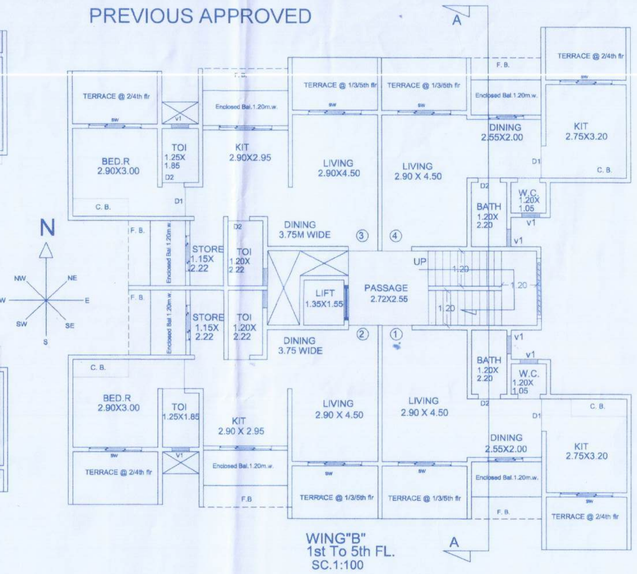

WING"B"
1st To 5th FL.
SC.1:100

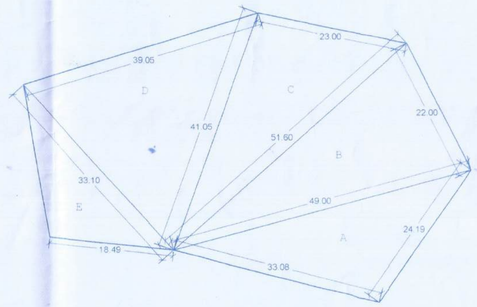

B-WING TYPICAL FLOOR 1st To 5th FLOOR			
AREA OF BLOCK =19.20X14.25=273.6 SQ.M			
STANDARD DEDUCTION=	1	7.50X1.53 =	11.47
	2	6.10X1.05 =	6.40
	3	2.55 X 1.20=	3.06
	4	1.85X0.75 =	1.38
	5	2.75X1.20=	3.3
	6	4.10X1.15=	4.71
	7	3.08X2.55=	7.85
	8	4.10X1.15=	4.71
	9	2.75X1.20=	3.3
	10	2.05X0.75=	1.53
	11	2.55X1.20=	3.06
	12	6.10X1.05=	6.40
	13	3.05X1.58=	4.81
	14	4.45X1.58=	7.03
	15	2.05X6.09=	12.48
	16	1.95X4.59=	8.95
	17	2.75X2.55=	7.01
STAIRCASE:	18	6.57X2.55=	16.75
		TOTAL DEDUCTION :	114.2
AREA: 273.6 - 114.2 =159.40SQ.M			

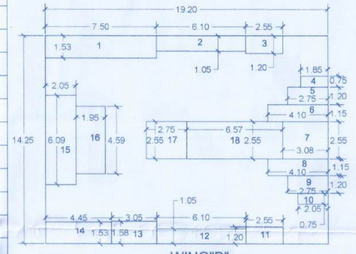

WING"B"
AREA DIAGRAM
1st To 5th FL.
SC.1:200

SUMMARY

PROPOSED BUILT-UP AREA STATEMENT (B-WING)

FLOOR	FLOOR AREA (SQ.M.)	PERMISSI. BALCONY 10%(SQ.M.)	PROVIDED BALCONY (SQ.M.)	EXCESS BALCONY (SQ.M.)	TOTAL	STAIR AREA (S.M)
GROUND	NIL	NIL	NIL	NIL	NIL	NIL
01	159.40	15.94	17.89	1.95	161.35	16.75
02	159.40	15.94	17.89	1.95	161.35	16.75
03	159.40	15.94	17.89	1.95	161.35	16.75
04	159.40	15.94	17.89	1.95	161.35	16.75
05	159.40	15.94	17.89	1.95	161.35	16.75
TOTAL	797.00			9.75	806.75	83.75

STANDARD ADDITION :-PLOT AREA

A 0.50 X 33.08 X 24.19 = 400.10SM
B 0.50 X 22.00 X 49.00 = 539.00SM
C 0.50 X 23.00 X 51.60 = 593.40SM
D 0.50 X 39.05 X 41.05 = 801.50SM
E 0.50 X 18.49 X 33.10 = 306.00SM

TOTAL AREA = 2640.00SM

B-WING

CARPET AREAS /FLOOR EXCLUDING Enc.BALCONY & ALT.TERRACES

FLOOR	FLAT No 1	FLAT No 2	FLAT No 3	FLAT No 4
GROUND	NIL	NIL	NIL	NIL
01	32.44SM	43.21SM	43.21SM	32.44SM
02	32.44SM	43.21SM	43.21SM	32.44SM
03	32.44SM	43.21SM	43.21SM	32.44SM
04	32.44SM	43.21SM	43.21SM	32.44SM
05	32.44SM	43.21SM	43.21SM	32.44SM

B-WING

PARKING AREA STATEMENT			
FLAT SIZE	NOS	REQD.	PROVIDED
LESS>35	10	NIL	NIL
35-45SM	10	03	03
45-70SM	NIL	NIL	NIL
ABOVE 70SM	NIL	NIL	NIL
TOTAL PARKING REQ.= 03/PROV. 03Nos.			

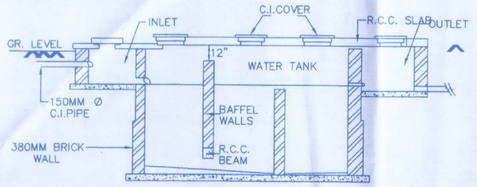

SEPTIC TANK & SOAK PIT DETAIL

SCALE 1:50

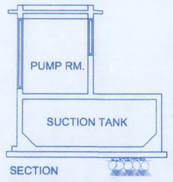

SECTION
UNDER GROUND WATER TANK
& PUMP ROOM

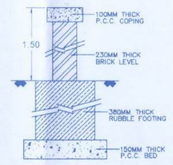

COMPOUND WALL DETAIL

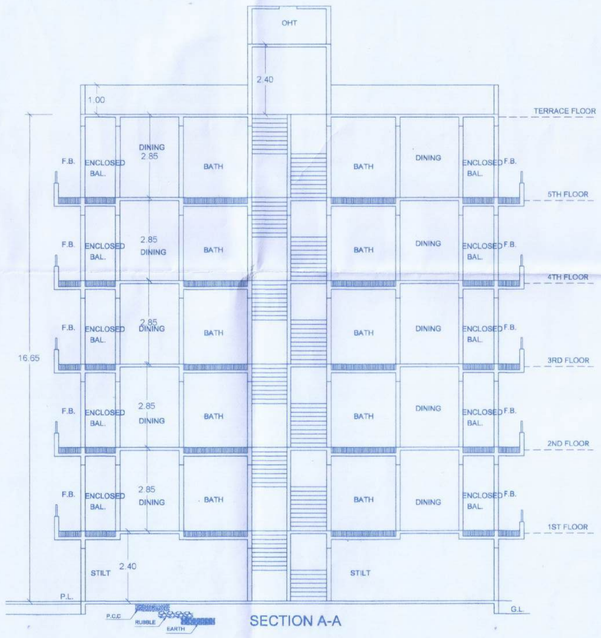

SECTION A-A

Proforma-2.

PROPOSED BUILDING ON S. No 9, H No 2D/2,
VILLAGE :- KOLIVALI, TALUKA:-KALYAN, DIS THANE.

Drawing Sheet No.: 2/3
DT.18/06/2021

Stamps of Approval/RE-Approval/Completion of Plans:

OFFICE OF THE KALYAN DOMBIVLI MUNICIPAL CORPORATION, KALYAN.
Building Permit No. :- KDMC/TPD/BP/KD/2012-13/215/371
Date :- 30/11/2021
SANCTIONED

ASSISTANT DIRECTOR OF TOWN PLANNING
Kalyan-Dombivli Municipal Corporation

Certificate :
CERTIFIED THAT THE PLANS PREPARED BY ME ARE IN ACCORDANCE WITH THE NORMS AS SPECIFIED BY INDIAN STANDARDS INSTITUTE
SIGN. OF R.C.C. ENGINEER

Owner's Declaration -
I/We undersigned hereby confirm that I/We would abide by plans approved by Authority / Collector. I/We would execute the structure as per approved plans. Also I/We would execute the work under supervision of proper technical person so as to ensure the quality and safety at the work site.

P.O.A. SHRI. J.S.SHISODIA

Ar. Vijay Pandey.

ARCHITECT
M/S VIJAY PANDEY & ASSOCIATES
303-RAJKAMAL TOWER
ABOVE KOTAK MAHINDRA BANK
SANTOSHI MATA RD. KALYAN (W)
TEL. 0251 2204441/ 9370480016

Drawing No.	Scale	Drawn by	Rev.	Checked by	Registration No. Of
03	N.S.	VIKAS	R-3	V.P.	Architect:- Vijay Pandey CA/96/20081

AS PER UDCPR

NOTE:- HATCH FLOORS PROPOSED IN T.D.R.

WING-B

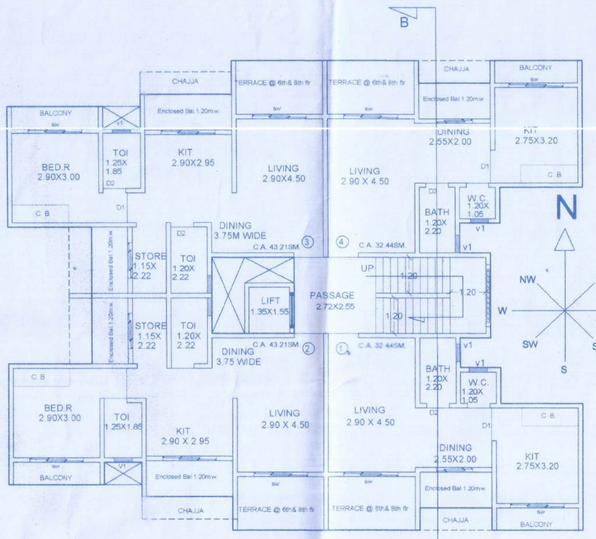

WING"B"
6th & 8th FL.
SC.1:100

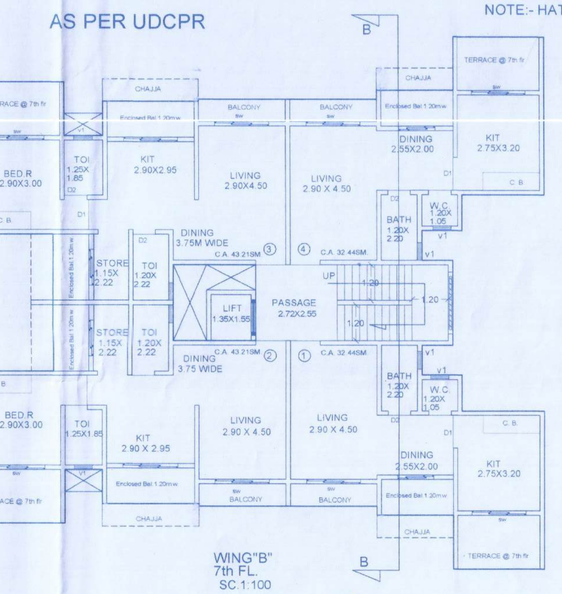

WING"B"
7th FL.
SC.1:100

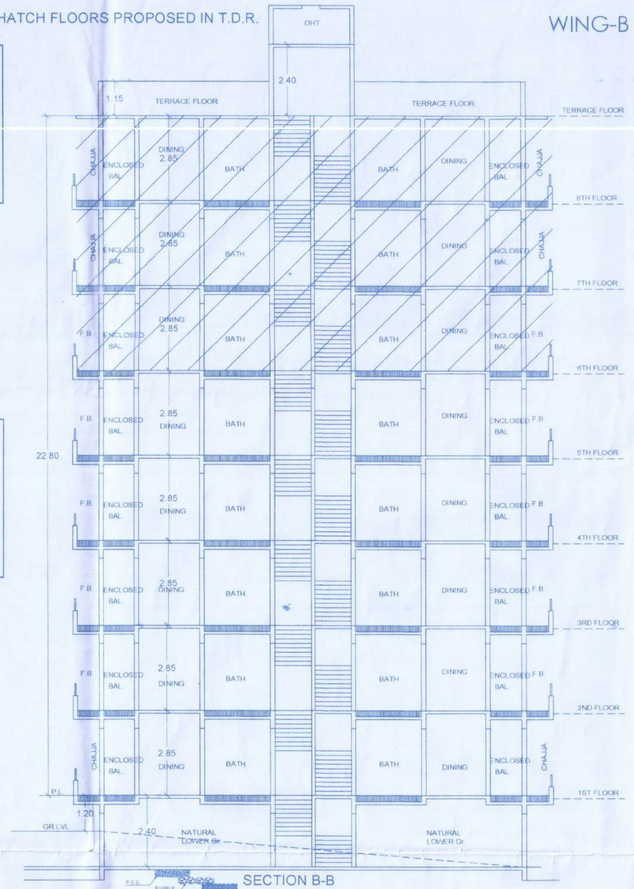

SECTION B-B
SC.1:100

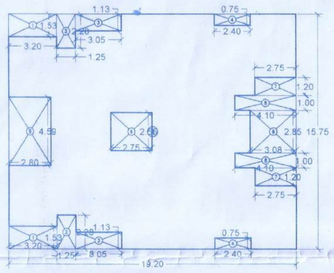

WING"B"
6th & 8th FL. AREA DIAGRAM
SC.1:200

BUILT UP AREA CALCULATION

TYP.6th & 8th FLOOR (WING-B)								
A	19.20	X	15.75	X	1NO	=	302.40	SQ.M.T.
					TOTAL ADDITION	=	302.40	SQ.M.T. X

DEDUCTIONS

1	3.20	X	1.53	X	2NOS	=	9.79	SQ.M.T.
2	1.25	X	2.28	X	2NOS	=	5.70	SQ.M.T.
3	3.05	X	1.13	X	2NOS	=	6.89	SQ.M.T.
4	2.40	X	0.75	X	2NOS	=	3.60	SQ.M.T.
5	2.80	X	4.59	X	1NO	=	12.85	SQ.M.T.
6	2.75	X	2.55	X	1NO	=	7.01	SQ.M.T.
7	2.75	X	1.20	X	2NOS	=	6.60	SQ.M.T.
8	4.10	X	1.00	X	2NOS	=	8.20	SQ.M.T.
9	3.08	X	2.85	X	1NO	=	8.78	SQ.M.T.
					TOTAL DEDUCTION	=	69.42	SQ.M.T. Y1
TOTAL BUILT UP AREA [X – Y1]						=	232.98	SQ.M.T. X1

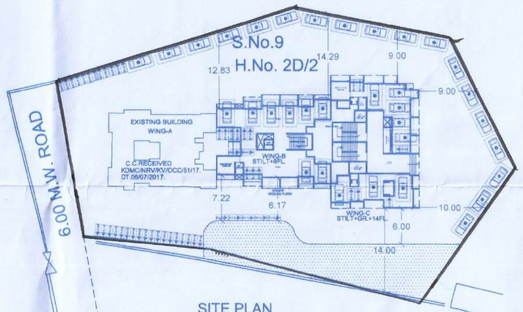

SITE PLAN
SC.1:500

Form of Statement 3
[Sr. No.9 (g)]
Area details of Apartment

Building No.	Floor No.	Apartment No.	Carpet area of apartment	Area of Balcony attached to Apartment	Area of Double height terraces attached to flat
	(2)	(3)	(4)	(5)	(6)
WING-B	03	12	453.90sm.	12	12
WING-C	Stilt+G+14	60	2163.90sm.	195	---

Form of Statement 2
[Sr. No.9 (a)]
Proposed Building

Building No.	Floor No.	Total Built-up Area of floor,as per outer construction line.
(1)	(2)	(3)
WING-B	03	699.00sm.
WING-C	Stilt+G+14	4137.87sm.

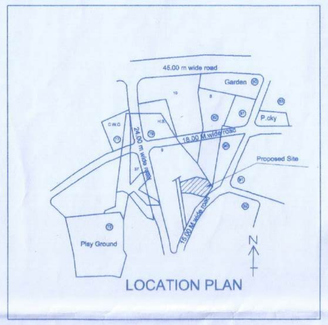

LOCATION PLAN

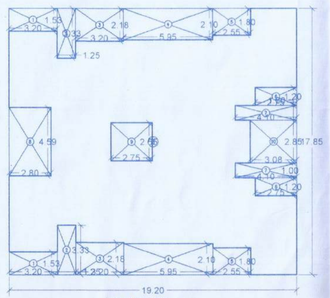

WING"B"
7th FL. AREA DIAGRAM
SC.1:200

BUILT UP AREA CALCULATION

7th FLOOR (WING-B)								
B	19.20	X	17.85	X	1NO	=	342.72	SQ.M.T.
					TOTAL ADDITION	=	342.72	SQ.M.T. X

DEDUCTIONS

1	3.20	X	1.53	X	2NOS	=	9.79	SQ.M.T.
2	1.25	X	3.33	X	2NOS	=	8.33	SQ.M.T.
3	3.20	X	2.18	X	2NOS	=	13.95	SQ.M.T.
4	5.95	X	2.10	X	2NOS	=	24.99	SQ.M.T.
5	2.55	X	1.80	X	2NOS	=	9.18	SQ.M.T.
6	2.75	X	1.20	X	2NOS	=	6.60	SQ.M.T.
7	4.10	X	1.00	X	2NOS	=	8.20	SQ.M.T.
8	2.80	X	4.59	X	1NO	=	12.85	SQ.M.T.
9	2.75	X	2.55	X	1NO	=	7.01	SQ.M.T.
10	3.08	X	2.85	X	1NO	=	8.78	SQ.M.T.
					TOTAL DEDUCTION	=	109.68	SQ.M.T. Y1
TOTAL BUILT UP AREA [X – Y1]						=	233.04	SQ.M.T. X1

B-Wing Table No. 8B - Parking Requirements

Sr. No.	Occupany	Size of tenement	Total No. Flat	Parking Space Required			
				Required		Proposed	
				Car	Scooter	Car	Scooter
1	Residential i) Multi - Family residential	For every tenement having carpet area of 150sq.m. and above.	Nil.	2x0=0	3x0=0	Nil.	Nil.
		For every tenement having carpet area equal to or above 80sq.m. but less then 150sq.m.	Nil.	1x0=0	3x0=0	Nil.	Nil.
		For every two tenements with each tenement having carpet area equal to or above 40sq.m. but less then 80sq.m.	06	1x3=3no.	5x3=15no.	3no.	15no.
		For every two tenements with each tenement having carpet area less than 40sq.m. but more then 30sq.m.	06	1x3 =3no.	2x3 =6no.	3no.	6no.
		For every two tenements with each tenement having carpet area less than 30sq.m.	Nil	0x0 =0 no.	4x0 =0no.	Nil.	Nil.
		Additional 5% Visitor Parking		5%(6) =0.3 no.	5%(21) =1.05no.	0.3no.	1.05no.
		Total Parking Required (x 0.8) As per Table No. 8c,Page No.145.		0.8x6.3 =5.04 no.	0.8x22.05 =17.64no.	5no.	18no.

SUMMARY (Wing-B)
(PROPOSED P-LINE AREA STATEMENT)

FLOOR	Proposed P-Line Area (SQ.M.)
06	232.98
07	233.04
08	232.98
TOTAL	699.00

Proforma-1 Area Statement.
PROPOSED BUILDING ON S. No.9,H.No.2D/2,
VILLAGE :- KOLIVALI, TALUKA:-KALYAN,DIS.THANE.

Drawing Sheet No.: 1/3
Dt.22/07/2021.

Stamps of Approval/RE-Approval/Completion of Plans:

OFFICE OF THE KALYAN DOMBIVLI MUNICIPAL CORPORATION, KALYAN.
Building Permit No. :- KDMC/TPD/BP/KD/2012-13/215/371
Date :- 30/11/2021.
SANCTIONED

KALYAN DOMBIVLI MUNICIPAL CORPORATION कल्याण डोंबिवली महानगरपालिका कि. डो. वि. * DIST. THANE *

ASSISTANT DIRECTOR OF TOWN PLANNING
for Kalyan-Dombivli Municipal Corporation

AREA STATEMENT		Sq.Mt.
1.	Area of plot *(Minimum area of a, b, c to be considered)*	
	(a) As per ownership document (7/12, CTS extract)	2640.00
	(b) as per measurement sheet	-------
	(c) as per site	------
2.	Deductions for	
	(a) Proposed D.P./ D.P. Road widening Area.(12.00 M.W.)	NIL.
	(b) D.P. Reservation of Any area	NIL.
	(c) D.P. Reservation of Any area	NIL.
	(Total a+b+c)	NIL.
3.	Balance area of plot (1-2)	2640.00
4.	Amenity Space (if applicable)	
	(a) Required -	N.A.
	(b) Adjustment of 2(b), if any -	N.A
	(c) Balance Proposed -	N.A.
5.	Net Plot Area (3-4 (c))	2640.00
6.	Recreational Open space (if applicable)	
	(a) Required - 10% physical	N.A
	(b) Proposed	280.00
7.	Internal Road area	N.A
8.	Plotable area (if applicable)	N.A
9.	Built up area with reference to Basic F.S.I. as per front road width 1.10% (Sr.No.5xbasic FSI) (2640.00 X 1.10)	2904.00
10.	Addition of FSI on payment of premium	
(a)	Maximum permissible premium FSI - based on road width /TOD Zone (2640.00 X 0.50)	1320.00
(b)	Proposed FSI on payment of premium.	1248.00
11.	In-situ FSI / TDR loading	
(a)	In-situ area against D.P. road *[2.0 x Sr. No. 2 (a)], if any*	NIL
	(i) Used T.D.R. Area (As per Old Approval)	NIL.
	(ii) Proposed T.D.R. Area.	NIL.
(b)	In-situ area against Amenity Space if handed over [2.00 or1.85 x Sr. No. 4 (b)and or(c)].	N.A.
	(c) TDR area	1056.00
	(d) Total in-situ / TDR loading proposed (11 (a)+(b)+(c))	1056.00
12.	Additional FSI area under Chapter No. 7	N.A
13.	Total entitlement of FSI in the proposal	
	(a) [9 + 10(b)+11(d)] or 12 whichever is applicable.	5208.00
	(b) Permissible Ancillary Area FSI upto 60% (Maximum)with payment of charges. (3023.59 X 0.60)	1814.15
	(c) Total entitlement (a+b)	7022.15
14	Maximum utilization limit of F.S.I. (building potential) Permissible as per Road width *(as per Regulation No. 6.1 or 6.2 or 6.3 or 6.4 as applicable) x 1.6 or 1.8*	3.60
15.	Total Built-up Area in proposal *(excluding area at Sr.No.17 b)*	
	(a) Existing Built-up Area. (Wing-A&B) (1377.66+806.75)	2184.41
	(b) Proposed Built-up Area (as per 'P-line') (Wing-B+C)	4836.87
	(c) Total (a+b)	7021.28
16.	F.S.I. Consumed [15 / 13] *(should not be more than serial No.14 above.)*	0.99
17.	Area for Inclusive Housing, if any	
	(a) Required *(20% of Sr.No.5)*	N.A.
	(b) Proposed	N.A.

Certificate : CERTIFIED THAT THE PLANS PREPARED BY ME ARE IN ACCORDANCE WITH THE NORMS AS SPECIFIED BY INDIAN STANDARDS INSTITUTE.
ARCH. P.R.C.C. CONSULTANT

MASSUS & ASSOCIATES CONSULTING ENGINEERS MUMBAI

Owner's Declaration -
I/We undersigned hereby confirm that I/We would abide by plans approved by Authority. Collector. I/We would execute the structure as per approved plans. Also I/We would execute the work under supervision of proper technical person so as to ensure the quality and safety at the work site.

P.O.A. SHRI. J.S.SHISODIA

Ar. Vijay Pandey.

ARCHITECT
M/S VIJAY PANDEY & ASSOCIATES
303-RAJKAMAL TOWER
ABOVE KOTAK MAHINDRA BANK
SANTOSHI MATA RD. KALYAN (W)
TEL. 0251-2204441/ 9370480016

Job No.	Drawing No.	Scale	Drawn by	Rev.	Checked by	Registration No. Of
16	01	N.S.	Ar.AISHWARI	04	V.P.	Architect:- Vijay Pandey CA/96/20081

AS PER UDCPR

WING-C

C-Wing Table No. 8B - Parking Requirements							
Sr. No.	Occupancy	Size of tenement	Total No. F.SI	Parking Space Required			
				Required		Proposed	
				Car	Scooter	Car	Scooter
1	Residential (Multi - Family residential)	For every tenement having carpet area of 150sq.m. and above	Nil	2x0=0	3x0=0	Nil	Nil
		For every tenement having carpet area equal to or above 90sq.m. but less than 150sq.m.	Nil	1x0=0	3x0=0	Nil	Nil
		For every two tenements with each tenement having carpet area equal to or above 40sq.m. but less than 60sq.m.	13	1x6.5=6.5	5x6.5=32.5	6.5no	32.5no
		For every two tenements with each tenement having carpet area less than 40sq.m. but more than 30sq.m	47	1x23.5 =23.5no	2x23.5 =47no	23.5no	47no
		For every two tenements with each tenement having carpet area less than 30sq.m.	Nil	0x0 =0 no	4x0 =0no	Nil	Nil
		Additional 5% Visitor Parking		5%(30) =1.5 no	5%(76.5) =3.97no	1.5no	3.97no
		Total Parking Required (v.0.8) As per Table No. 8c Page No.145		0.8x31.5 =25.2 no	0.8x83.47 =66.77no	25no	67no

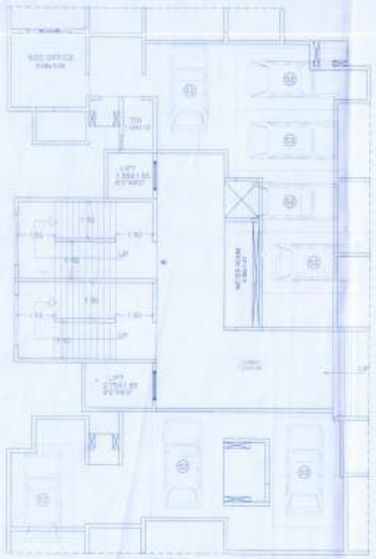

WING"C"
NATURAL STILT FLOOR PLAN
SC 1:100

WING"C"
TYP. GR./1/2/3/4/5/6/8/9/10/11/13/14th FL.
SC 1:100

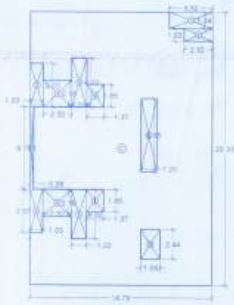

WING-C
TYP. GR./1/2/3/4/5/6/8/9/10/11/13/14th FL.
AREA DIAGRAM
SC 1:100

BUILT UP AREA CALCULATION

TYP.Gr./1/2/3/4/5/6/8/9/10/11/13/14th FL.(WING-C)						
C	14.79	X	22.33	X	1NO	= 330.26 SQ.MT.
					TOTAL ADDITION	= 330.26 SQ.MT.

DEDUCTIONS

1	2.52	X	1.24	X	1NO	=	4.12 SQ.MT.
2	2.52	X	1.03	X	1NO	=	2.59 SQ.MT.
3	1.03	X	3.55	X	1NO	=	3.66 SQ.MT.
4	2.52	X	2.18	X	2NOS	=	10.12 SQ.MT.
5	1.02	X	4.02	X	2NOS	=	8.81 SQ.MT.
6	1.37	X	1.85	X	2NOS	=	5.07 SQ.MT.
7	0.79	X	6.73	X	1NO	=	5.35 SQ.MT.
8	1.24	X	5.95	X	1NO	=	7.38 SQ.MT.
9	1.03	X	3.55	X	1NO	=	3.66 SQ.MT.
10	1.55	X	2.44	X	1NO	=	3.78 SQ.MT.
					TOTAL DEDUCTION	=	52.66 SQ.MT. (-)
TOTAL BUILT UP AREA [A + B]						=	277.61 SQ.MT.

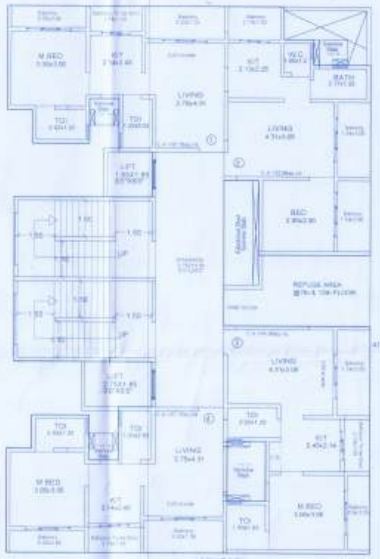

WING"C"
TYP.7th & 12th FLOOR PLAN(REFUGE)
SC 1:100

SUMMARY (Wing-C)	
(PROPOSED P-LINE AREA STATEMENT)	
FLOOR	Proposed P-Line Area (SQ.M.)
Gr.	277.61
01	277.61
02	277.61
03	277.61
04	277.61
05	277.61
06	277.61
07	264.47
08	277.61
09	277.61
10	277.61
11	277.61
12	264.47
13	277.61
14	277.61
TOTAL	4137.87



SECTION 'C-C'
SC 1:100

Proforma-2.

PROPOSED BUILDING ON S. No.K.H.No.30/2, VILLAGE :- KOLIVALI, TALUKA : KALYAN, DIS. THANE.

Drawing Sheet No.: 3/3

Stamps of Approval/RE-Approval/Completion of Plans:

OFFICE OF THE KALYAN DOMBIVLI MUNICIPAL CORPORATION, KALYAN.
Building Permit No. :- KDMC/TPD/BP/kd/2012-13/215/371.
Date :- 30/11/2021
SANCTIONED

ASSISTANT DIRECTOR OF TOWN PLANNING
Kalyan-Dombivli Municipal Corporation

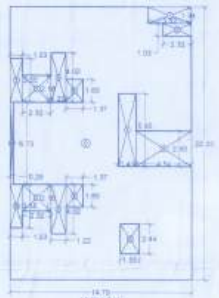

WING-C
TYP.7th & 12th FLOOR PLAN(REFUGE)
AREA DIAGRAM
SC 1:100

BUILT UP AREA CALCULATION

TYPICAL 7th & 12th FLOOR (REFUGE)						
B	14.79	X	22.33	X	1NO	= 330.26 SQ.MT.
					TOTAL ADDITION	= 330.26 SQ.MT.

DEDUCTIONS

1	2.52	X	1.24	X	1NO	=	4.12 SQ.MT.
2	2.52	X	1.03	X	1NO	=	2.59 SQ.MT.
3	1.03	X	3.55	X	1NO	=	3.66 SQ.MT.
4	2.52	X	2.18	X	2NOS	=	10.12 SQ.MT.
5	1.02	X	4.02	X	2NOS	=	8.81 SQ.MT.
6	1.37	X	1.85	X	2NOS	=	5.07 SQ.MT.
7	1.49	X	5.95	X	1NO	=	8.86 SQ.MT.
8	4.34	X	2.90	X	1NO	=	12.57 SQ.MT.
9	0.79	X	6.73	X	1NO	=	5.35 SQ.MT.
10	1.03	X	3.55	X	1NO	=	3.66 SQ.MT.
11	1.55	X	2.44	X	1NO	=	3.78 SQ.MT.
					TOTAL DEDUCTION	=	68.72 SQ.MT. (-)
TOTAL BUILT UP AREA [A + B]						=	261.54 SQ.MT.

Certificate :-

Owner's Declaration :-

P.O.A. SHRI. J.S.SHSODIA

Ar. Vijay Pandey.

Job No.	Drawing No.	Scale	Drawn by	Rev.	Checked by	Registration No. Of
10	02	N.S.	VIKAS	R-4	V.P.	Ar. Vijay Pandey (CA/96/28002)