D.P. Reservation of Garden (Res.No.5)(PLOT-2) = 2094.00SM.
Land handedover to the KDMC 70%(2094.0) = 1465.80sq.mt.

RELAXATION MARGIN STATEMENT				
MARGIN	REQUIRED	PROVIDED	REQUIRED Relaxation	DEFICIT IN mt
EAST	12.00m.	9.60m.	2.40m.	18.07m.
WEST	12.00m.	9.36m.	2.64m.	89.78m.
NORTH	4.50m.	4.50m.	Nil.	Nil.
SOUTH	12.00m.	8.00m.	4.00m.	157.60m.
			TOTAL	= 265.45M.

Form of Statement 2
[Sr. No.9 (a)]
Proposed Building

Building No.	Floor No.	Total Built-up Area of floor,as per outer construction line.
(1)	(2)	(3)
PLOT-2	20	15,043.26sm.

Form of Statement 3
[Sr. No.9 (g)]
Area details of Apartment

Building No.	Floor No.	Apartment No.	Carpet area of apartment	Area of Balcony attached to Apartment	Area of Double height terraces attached to flat
PLOT-2	(2)	(3)	(4)	(5)	(6)
	20	260	11,702.00sm.	220no.	NIL

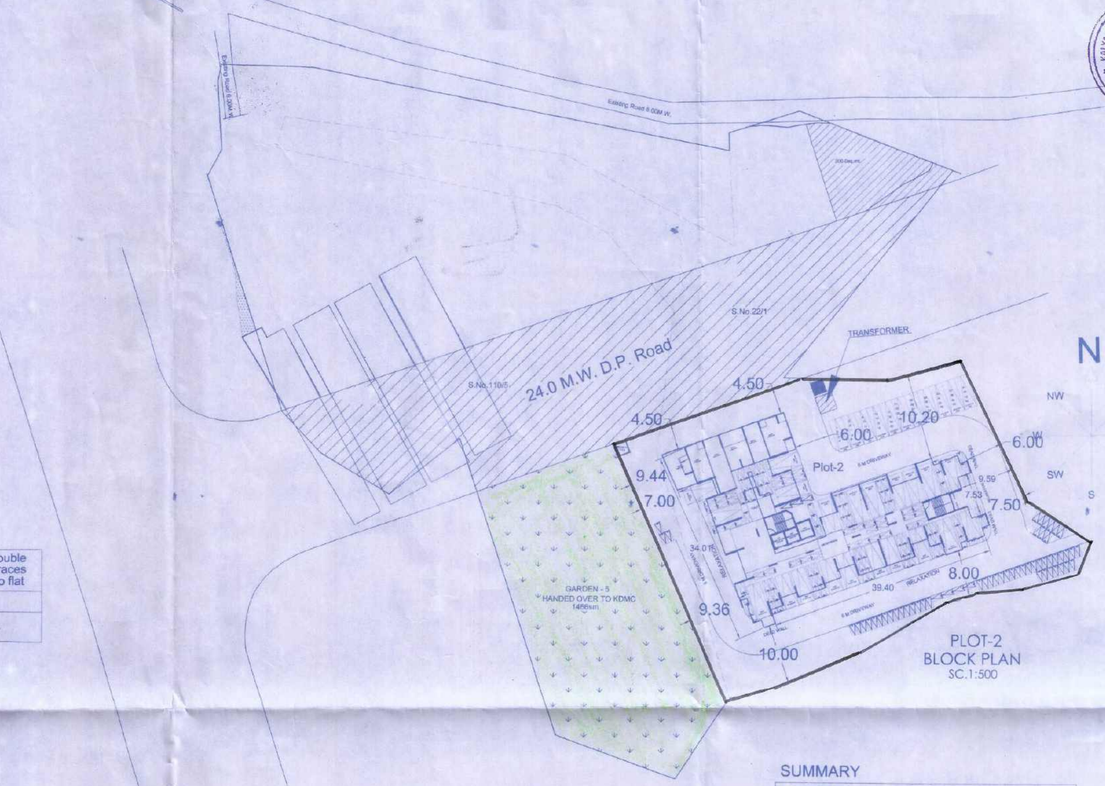

PLOT-2
BLOCK PLAN
SC.1:500

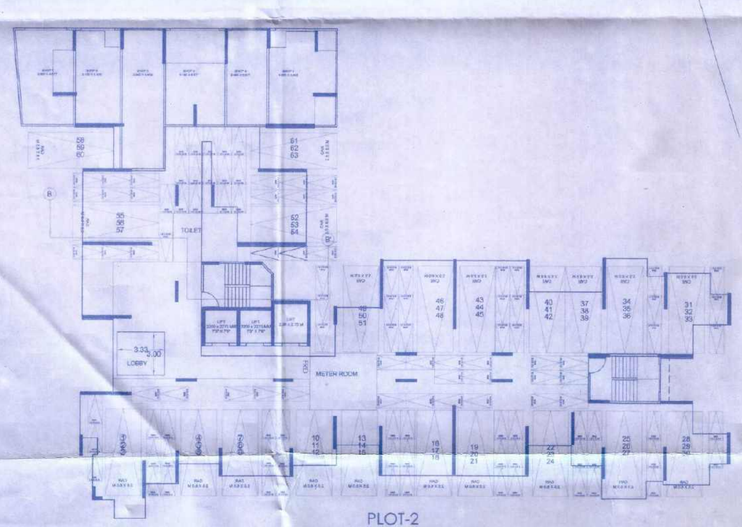

PLOT-2
GROUND FLOOR PLAN
SC.1:200

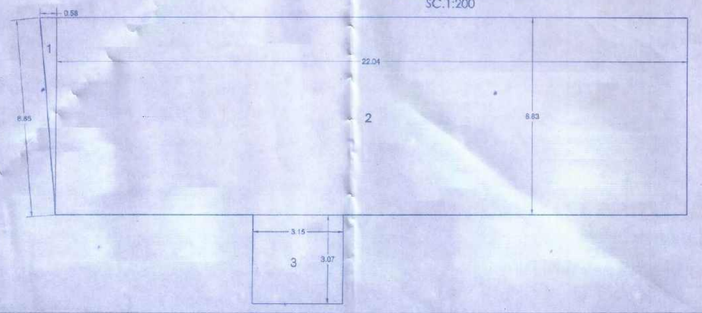

PLOT-2
GROUND FLOOR (SHOP)
STANDARD ADDITION :-
1) 0.50 X 0.58 X 6.85 = 1.98Sq.Mt.
2) 22.04 X 6.83 = 150.53Sq.Mt.
3) 3.15 X 3.07 = 9.67Sq.Mt.
TOTAL = 162.18Sq.Mt.

PLOT-2 Table No. 8B - Parking Requirements

Sr. No.	Occupany	Size of tenement	Total No. Flat	Parking Space Required: Required Car	Required Scooter	Proposed Car	Proposed Scooter
1	Residential i) Multi - Family residential	For every tenement having carpet area of 150sq.m. and above.	Nil.	2x0=0	1x0=0	Nil.	Nil.
		For every tenement having carpet area equal to or above 80sq.m. but less than 150sq.m.	Nil.	1x0=0	1x0=0	Nil.	Nil.
		For every two tenements with each tenement having carpet area equal to or above 40sq.m. but less than 80sq.m.	125	1x62.5 =62.5	2x62.50 125no.	62.5no.	125no.
		For every two tenements with each tenement having carpet area less than 40sq.m. but more than 30sq.m.	132	1x66 =66no.	2x66 =132no.	66no.	132no.
		For every two tenements with each tenement having carpet area less than 30sq.m.	3	0x1.5 =0 no.	2x1.5 =3no.	Nil.	3no.
		Additional 5% Visitor Parking		5%(128.5) =6.42no.	5%(260) =13.0no.	6.42no.	13.0no.
		Total Parking Required (a+b) As per Table No. 8c,Page No.145.		0.8x134.52 =107.93 no.	0.8x273.0 =218.40no.	108no.	219no.

SUMMARY
(PLOT-2)

PROPOSED P-LINE AREA STATEMENT	
FLOOR	Proposed P-Line Area (SQ.M.)
GROUND	162.18(SHOP)+10.0sm.(LOBBY)
01	745.06
02	745.06
03	745.06
04	745.06
05	745.06
06	745.06
07	745.06
08	735.02
09	745.06
10	745.06
11	745.06
12	745.06
13	735.02
14	745.06
15	745.06
16	745.06
17	745.06
18	735.02
19	745.06
20	745.06
TOTAL	=15,043.26SM.

Proforma-1 Area Statement.

Plot S.No.22/1 & S.No.110/5, PLOT-2
Village:-Usarghar(27 Village),Taluka-Kalyan,Dis.Thane

Drawing Sheet No.: 1/3
DT.04/10/2023.

Stamps of Approval/RE-Approval/Completion of Plans:

OFFICE OF THE KALYAN DOMBIVLI MUNICIPAL CORPORATION, KALYAN.
Building Permit No.:- KDMC/TPD/BP/27Village/2023-24/01/372.
Date :- 22/02/2024.
SANCTIONED

for ASSISTANT DIRECTOR OF TOWN PLANNING
Kalyan-Dombivli Municipal Corporation

AREA STATEMENT		Sq.Mt.
1.	Area of plot *(Minimum area of a, b, c to be considered)*	
	(a) As per ownership document (7/12, CTS extract) S.No.22/1 Plot Area =5080.0sm. S.No.110/5 Plot Area =5600.0sm.	10,680.00
	(b) as per measurement sheet	------
	(c) as per site S.No.22/1 Plot Area = 4744.23sm. S.No.110/5 Plot Area =5549.77sm.	10,294.00
	(d) NATURAL SUB DIVISION PLOT	PLOT-1 / PLOT-2
	(d)(i) NATURAL SUB DIVISION PLOT AREA	6071.00 / 4223.00
2.	Deductions for	
	(a) Proposed D.P./ D.P. Road widening Area.(24.0 M.W.) S.No.22/1 Plot Area =821.0sm. S.No.110/5 Plot Area =1341.0sm.	2162.00 / ----
	(b) D.P. Reservation of Garden (Res.No.5) S.No.22/1 Plot Area =498.00sm. S.No.110/5 Plot Area =1596.00sm.	------ / 2094.00
	(c) D.P. Reservation of Any	------ / ------
	(d) D.P. Zone of Any	------ / ------
	(Total a+b+c)	2162.00 / 2094.00
3.	Balance area of plot (1-2)	3909.00 / 2129.00
4.	Amenity Space (if applicable)	
	(a) Required - 5% (more than 20,000)	N.A
	(b) Adjustment of 2(b), if any -	N.A
	(c) Balance Proposed -	N.A
5.	Net Plot Area (3 - 4 (c))	2129.00
5.a)	Add for FSI as per Accomodation Reservation policy (2b)	2094.00
b)	Consider Area For Basic FSI (5+5a)	4223.00
6.	Recreational Open space (if applicable)	
	(a) Required - 10% (5)(Physical)	----
	(b) Proposed	----
7.	Internal Road area	N.A
8.	Plotable area (if applicable)	N.A
9.	Built up area with reference to Basic F.S.I. as per front road width 1.10% (Sr.No.5b xbasic FSI) (5bx 1.10)	4645.30
10.	Addition of FSI on payment of premium	
	(a) Maximum permissible premium FSI - based on road width /TOD Zone. 1d(i) x 0.50)	2111.50
	(b) Proposed FSI on payment of premium.	2111.50
11.	In-situ FSI / TDR loading	
	(a)In-situ area against D.P. road *[2.00 x Sr. No. 2 (a)], if any*	----
	(i) Used T.D.R. Area.(As per Old Approval)	2156.60
	(ii) Proposed T.D.R. Area.	470.00
	(b)In-situ area against Amenity Space if handed over [2.00 or1.85 x Sr. No. 4 (b)and /or(c)].	
	(c) TDR area	--
	(d) *Total in-situ / TDR loading proposed (11 (a)+(b)+(c))*	2626.60
12.	Additional FSI area under Chapter No. 7	
13.	Total entitlement of FSI in the proposal	
	(a) [9 + 10(b)+ 11(d)] or 12 whichever is applicable.	9383.40
	(b) Permissible Ancillary Area FSI upto 60%Or 80% (Maximum)with payment of charges. 9383.40 - (42.18*60) =7221.22SM. RESIDENTIAL = 9221.22x 80% =6332.73SM COMMERCIAL=162.18sm x 80%=129.74SM.	5662.47
	(c) Total entitlement (a+b)	15,045.87
14	Maximum utilization limit of F.S.I. (building potential) Permissible as per Road width *(as per Regulation No. 6.1 or 6.2 or 9.3 or 6.4 as applicable) x 1.6 or 1.8*	4.80
15.	Total Built-up Area in proposal. *(excluding area at Sr.No.17 b)*	
	(a) Previous Approved Area.	14,288.53
	(b) Proposed Built-up Area (as per 'P-line')	754.73
	(c) Total (a+b)	15,043.26
16.	F.S.I. Consumed [15 / 13]*(should not be more than serial No.14 above.)*	0.99
17.	Area for Inclusive Housing, if any	
	(a) Required *(20% of Sr.No.5)*	----
	(b) Proposed	----

Certificate : CERTIFIED THAT THE PLANS PREPARED BY MS. ARE IN ACCORDANCE WITH THE NORMS AS SPECIFIED BY INDIAN STANDARDS INSTITUTION.

A. BHI. ARE CONSULTANTS PVT. LTD. ESTD 1998 PUNE

SIGN. OF R.C.C. CONSULTANT

Owner's Declaration -
I/We undersigned hereby confirm that I/We would abide by plans approved by the Collector. I/We would execute the structure as per approved plans. Also I/We would execute the work under supervision of proper technical person so as to ensure the quality and safety at the work site.

K.G.I. REALTY PVT. LTD. Ulhasnagar

OWNER - K.G.I. REALTY Pvt.Ltd.
FOR. AMIT HOTCHANDANI

Certificate : Certified that the plot under reference was surveyed by us on _____ and the dimension of sides etc. of plot stated on plan are as measured on site and the area is as worked out below with the area stated in document of Ownership / P.R. Card / Revenue Records / Land Records Department / City Survey records.

Ar. Vijay Pandey.

ARCHITECT
M/S VIJAY PANDEY & ASSOCIATES.
303-RAJKAMAL TOWER
ABOVE KOTAK MAHINDRA BANK
SANTOSHI MATA RD. KALYAN (W)
TEL. 0251-2204441/ 9370480016.

Job No.	Drawing No.	Scale	Drawn by	Rev.	Checked by	Registration No. Of
40	01	N.S.	VIKAS	R-6	V.P.	Architect:- Vijay Pandey. CA/96/20081

Proforma-2.
Plot S.No.22/1 & S.No.110/5, PLOT-2
Village:-Usarghar(27 Village).Taluka-Kalyan.Dis.Thane

Drawing Sheet No.: 2/3
DT.04/10/2023

Stamps of Approval/RE-Approval/Completion of Plans:

OFFICE OF THE KALYAN DOMBIVLI MUNICIPAL CORPORATION, KALYAN.
Building Permit No.:- KDMC/TPD/BP/27Village/2023-24/01/372.
Date:- 22/02/2024.

SANCTIONED

KALYAN DOMBIVLI MUNICIPAL CORPORATION कल्याण डोंबिवली महानगरपालिका स्व. दा.ग.

for ASSISTANT DIRECTOR OF TOWN PLANNING
Kalyan-Dombivli Municipal Corporation

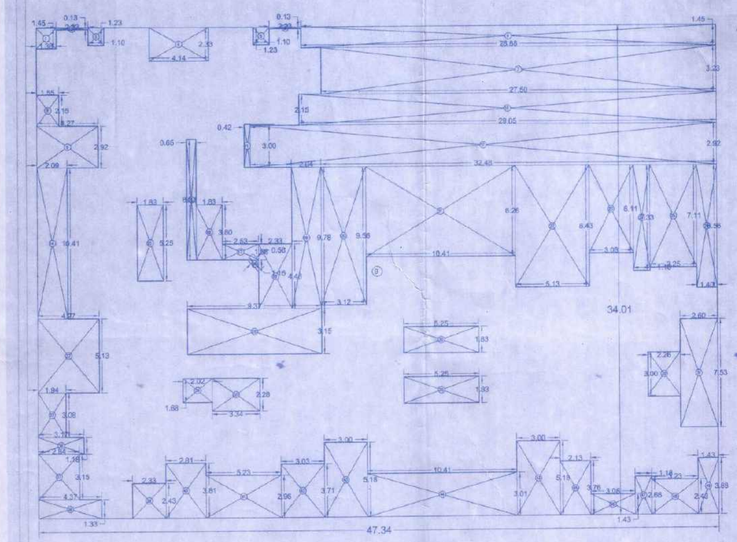

PLOT-2
P-LINE AREA DIAGRAM
1/2/3/4/5/6/7/9/10/11/12/14/15/16/17/19/20th FLOOR
SC.1:100

BUILT UP AREA CALCULATION

TYPICAL FLOOR(1/2/3/4/5/6/7/9/10/11/12/14/15/16/17/19/20th) Plot -2								
B	47.34	X	34.01	X	1 NO	=	1610.03	SQ.MT.
				TOTAL ADDITION		=	1610.03	SQ.MT.

DEDUCTIONS

1	1.58	X	1.45	X	1 NO	=	2.00	SQ.MT.	
2	2.23	X	0.13	X	2 NOS	=	0.58	SQ.MT.	
3	1.10	X	1.23	X	1 NO	=	1.35	SQ.MT.	
4	4.14	X	2.33	X	1 NO	=	9.65	SQ.MT.	
5	1.23	X	1.10	X	1 NO	=	1.35	SQ.MT.	
6	28.88	X	1.45	X	1 NO	=	41.88	SQ.MT.	
7	27.50	X	3.23	X	1 NO	=	88.83	SQ.MT.	
8	1.55	X	2.15	X	1 NO	=	3.33	SQ.MT.	
9	4.27	X	2.92	X	1 NO	=	12.47	SQ.MT.	
10	2.15	X	29.05	X	1 NO	=	62.46	SQ.MT.	
11	0.42	X	3.00	X	1 NO	=	1.26	SQ.MT.	
12	32.48	X	2.92	X	1 NO	=	94.84	SQ.MT.	
13	0.65	X	8.33	X	1 NO	=	5.41	SQ.MT.	
14	2.09	X	10.41	X	1 NO	=	21.76	SQ.MT.	
15	1.83	X	5.25	X	1 NO	=	9.61	SQ.MT.	
16	1.83	X	3.80	X	1 NO	=	6.95	SQ.MT.	
17	2.53	X	1.08	X	1 NO	=	2.73	SQ.MT.	
18	2.33	X	4.48	X	1 NO	=	10.44	SQ.MT.	
19	2.04	X	9.78	X	1 NO	=	19.95	SQ.MT.	
20	3.12	X	9.56	X	1 NO	=	29.83	SQ.MT.	
21	10.41	X	6.26	X	1 NO	=	65.17	SQ.MT.	
22	5.13	X	8.43	X	1 NO	=	43.25	SQ.MT.	
23	3.08	X	6.11	X	1 NO	=	18.82	SQ.MT.	
24	1.18	X	7.33	X	1 NO	=	8.65	SQ.MT.	
25	3.25	X	7.11	X	1 NO	=	23.11	SQ.MT.	
26	1.40	X	8.56	X	1 NO	=	11.98	SQ.MT.	
27	4.27	X	5.13	X	1 NO	=	21.91	SQ.MT.	
28	5.37	X	3.15	X	1 NO	=	29.52	SQ.MT.	
29	1/2 X	1.16	X	0.58	X 1 NO	=	0.34	SQ.MT.	
30	5.25	X	1.83	X	2 NOS	=	19.22	SQ.MT.	
31	2.60	X	7.53	X	1 NO	=	19.58	SQ.MT.	
32	2.26	X	3.00	X	1 NO	=	6.78	SQ.MT.	
33	1.94	X	3.08	X	1 NO	=	5.98	SQ.MT.	
34	2.03	X	1.68	X	1 NO	=	3.41	SQ.MT.	
35	2.28	X	3.34	X	1 NO	=	7.62	SQ.MT.	
36	3.17	X	1.18	X	1 NO	=	3.74	SQ.MT.	
37	2.84	X	3.15	X	1 NO	=	8.95	SQ.MT.	
38	4.37	X	1.33	X	1 NO	=	5.81	SQ.MT.	
39	2.33	X	2.43	X	1 NO	=	5.66	SQ.MT.	
40	2.81	X	3.81	X	1 NO	=	10.71	SQ.MT.	
41	5.25	X	2.95	X	1 NO	=	15.48	SQ.MT.	
42	3.03	X	3.71	X	1 NO	=	11.24	SQ.MT.	
43	3.00	X	5.18	X	2 NOS	=	31.08	SQ.MT.	
44	10.41	X	3.01	X	1 NO	=	31.33	SQ.MT.	
45	2.13	X	3.76	X	1 NO	=	8.01	SQ.MT.	
46	3.08	X	1.43	X	1 NO	=	4.40	SQ.MT.	
47	1.18	X	2.66	X	1 NO	=	3.14	SQ.MT.	
48	3.23	X	2.43	X	1 NO	=	7.85	SQ.MT.	
49	1.43	X	3.88	X	1 NO	=	5.55	SQ.MT.	
				TOTAL DEDUCTION		=	864.97	SQ.MT.	Y1
TOTAL BUILT UP AREA (X - Y1)						=	745.06	SQ.MT.	X1

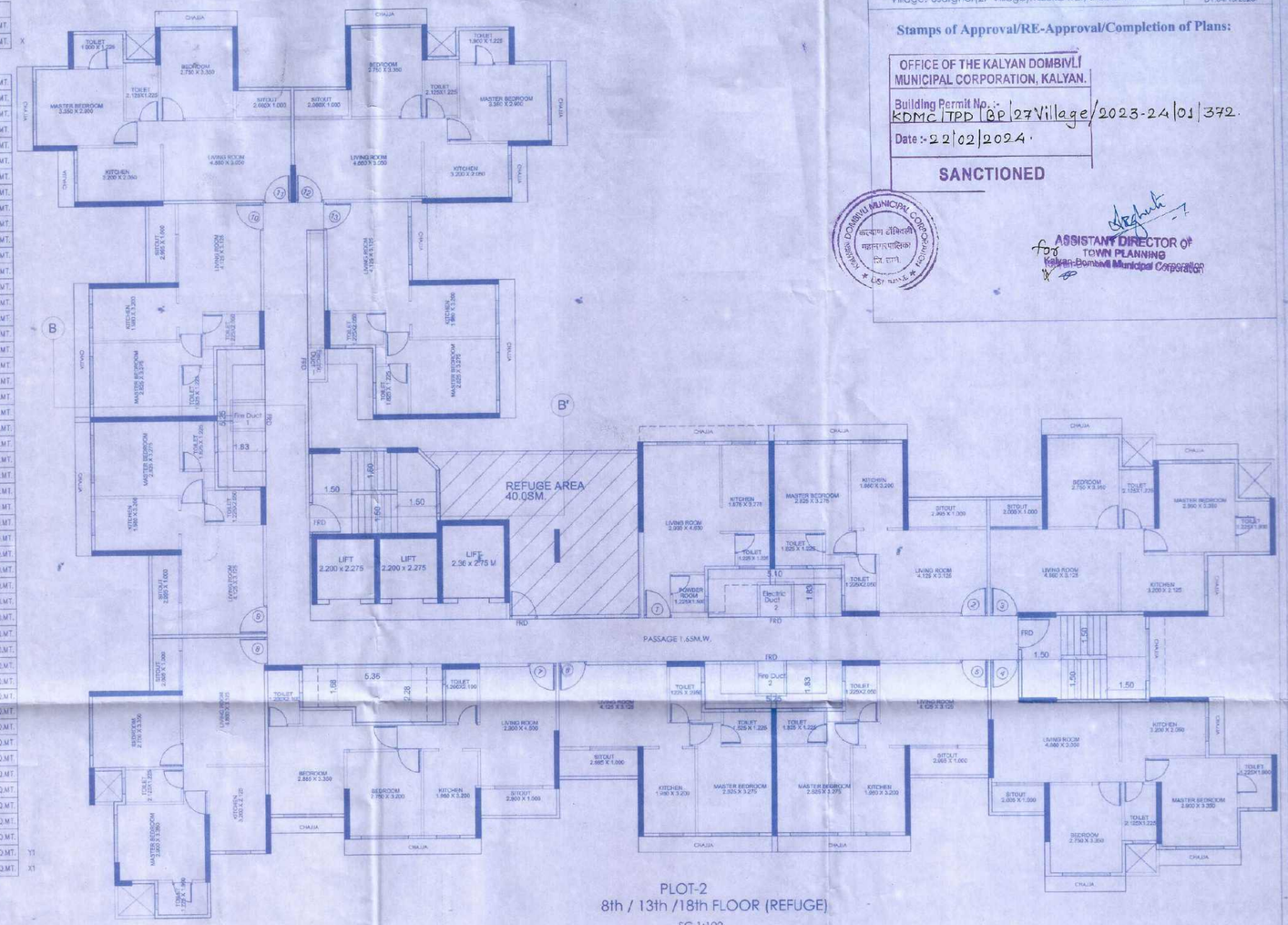

PLOT-2
8th / 13th /18th FLOOR (REFUGE)
SC.1:100

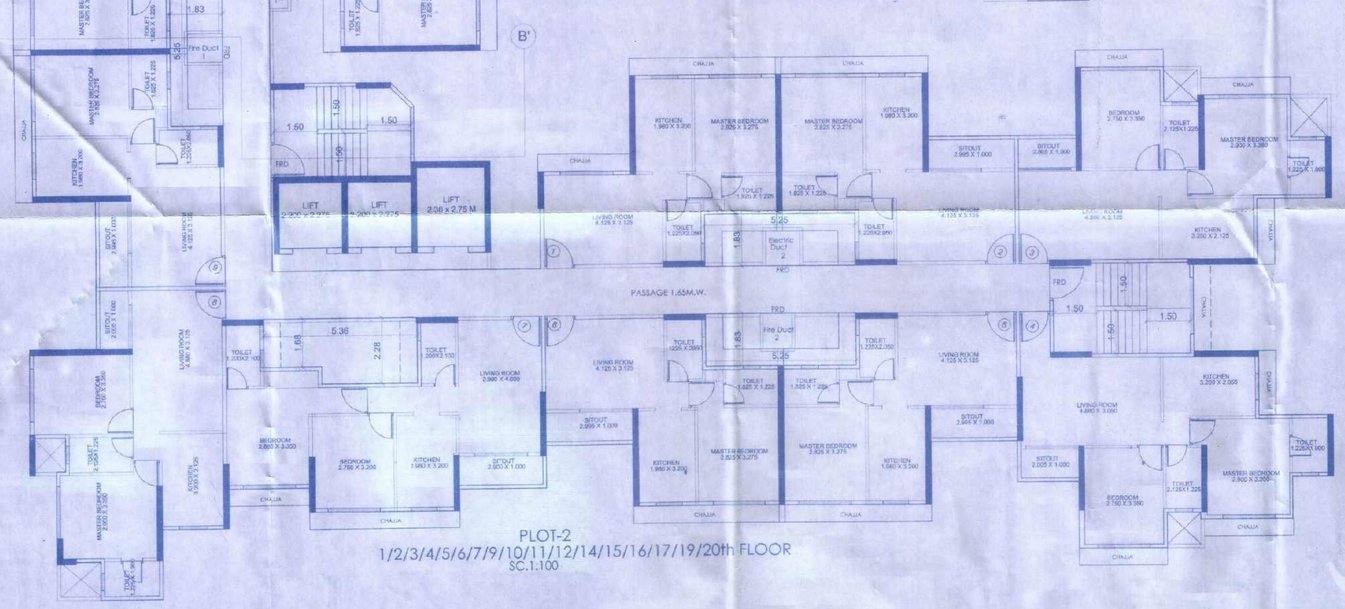

PLOT-2
1/2/3/4/5/6/7/9/10/11/12/14/15/16/17/19/20th FLOOR
SC.1:100

NOTE:- ALL CHAJJA 0.75M.W.

Certificate :
CERTIFIED THAT THE PLANS PREPARED BY ME ARE IN ACCORDANCE WITH THE NORMS AS SPECIFIED BY INDIAN STANDARDS INSTITUTE

SIGN. OF R.C.C. CONSULTANT

Owner's Declaration -
I/We undersigned hereby confirm that I/We would abide by plans approved by Authority / Collector. I/We would execute the structure as per approved plans. Also I/We would execute the work under supervision of proper technical person so as to ensure the quality and safety at the work site.

OWNER - K.G.I. REALTY Pvt.Ltd.
FOR. AMIT HOTCHANDANI

K.G.I. REALTY PVT. LTD. Ulhasnagar

Ar. Vijay Pandey.

ARCHITECT.
M/S VIJAY PANDEY & ASSOCIATES
303-RAJKAMAL TOWER
ABOVE KOTAK MAHINDRA BANK
SANTOSHI MATA RD. KALYAN (W)
TEL. 0251-2204441/ 9372480016.

Job No.	Drawing No.	Scale	Drawn by	Rev.	Checked by	Registration No. Of
40	02	N.S.	VIKAS	R-6	V.P.	Architect:- Vijay Pandey. CA/96/20081

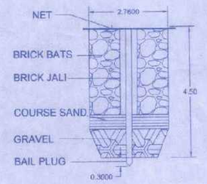

SECTION X.X

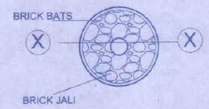

PLAN

RAIN WATER HARVESTING

SCALE 1 :100

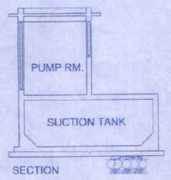

SECTION
UNDER GROUND WATER TANK
& PUMP ROOM

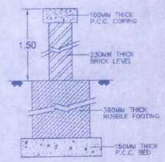

COMPOUND WALL DETAIL

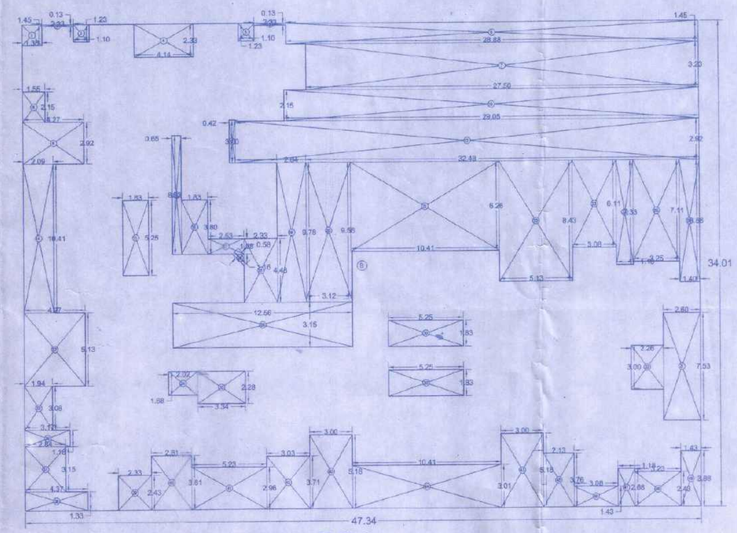

PLOT-2
P-LINE AREA DIAGRAM
8th/13th/18th FLOOR
SC.1:200

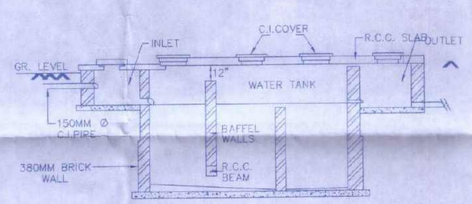

SEPTIC TANK & SOAK PIT DETAIL

SCALE 1:50

BUILT UP AREA CALCULATION

TYPICAL FLOOR(8th/13th/18th) REFUGE PLOT-2

B	47.34	X	34.01	X	1 NO	=	1610.03	SQ.MT.
					TOTAL ADDITION	=	1610.03	SQ.MT.

DEDUCTIONS

1	1.38	X	1.45	X	1 NO	=	2.00	SQ.MT.
2	2.23	X	0.13	X	2 NOS	=	0.58	SQ.MT.
3	1.10	X	1.23	X	1 NO	=	1.35	SQ.MT.
4	4.14	X	2.33	X	1 NO	=	9.65	SQ.MT.
5	1.23	X	1.10	X	1 NO	=	1.35	SQ.MT.
6	28.88	X	1.45	X	1 NO	=	41.88	SQ.MT.
7	27.50	X	3.23	X	1 NO	=	88.83	SQ.MT.
8	1.55	X	2.15	X	1 NO	=	3.33	SQ.MT.
9	4.27	X	2.92	X	1 NO	=	12.47	SQ.MT.
10	2.15	X	29.05	X	1 NO	=	62.46	SQ.MT.
11	0.42	X	3.00	X	1 NO	=	1.26	SQ.MT.
12	32.48	X	2.92	X	1 NO	=	94.84	SQ.MT.
13	0.65	X	8.33	X	1 NO	=	5.41	SQ.MT.
14	2.09	X	10.41	X	1 NO	=	21.76	SQ.MT.
15	1.83	X	5.25	X	1 NO	=	9.61	SQ.MT.
16	1.83	X	3.80	X	1 NO	=	6.95	SQ.MT.
17	2.53	X	1.08	X	1 NO	=	2.73	SQ.MT.
18	2.33	X	4.48	X	1 NO	=	10.44	SQ.MT.
19	2.04	X	9.78	X	1 NO	=	19.95	SQ.MT.
20	3.12	X	9.56	X	1 NO	=	29.83	SQ.MT.
21	10.41	X	6.26	X	1 NO	=	65.17	SQ.MT.
22	5.13	X	8.43	X	1 NO	=	43.25	SQ.MT.
23	3.08	X	6.11	X	1 NO	=	18.82	SQ.MT.
24	1.18	X	7.33	X	1 NO	=	8.65	SQ.MT.
25	3.25	X	7.11	X	1 NO	=	23.11	SQ.MT.
26	1.40	X	8.56	X	1 NO	=	11.98	SQ.MT.
27	4.27	X	5.13	X	1 NO	=	21.91	SQ.MT.
28	12.56	X	3.15	X	1 NO	=	39.56	SQ.MT.
29	1/2	X	1.16	X	0.58 X 1 NO	=	0.34	SQ.MT.
30	5.25	X	1.83	X	2 NOS	=	19.22	SQ.MT.
31	2.60	X	7.53	X	1 NO	=	19.58	SQ.MT.
32	2.26	X	3.00	X	1 NO	=	6.78	SQ.MT.
33	1.94	X	3.08	X	1 NO	=	5.98	SQ.MT.
34	2.03	X	1.68	X	1 NO	=	3.41	SQ.MT.
35	2.28	X	3.34	X	1 NO	=	7.62	SQ.MT.
36	3.17	X	1.18	X	1 NO	=	3.74	SQ.MT.
37	2.84	X	3.15	X	1 NO	=	8.95	SQ.MT.
38	4.37	X	1.33	X	1 NO	=	5.81	SQ.MT.
39	2.33	X	2.43	X	1 NO	=	5.66	SQ.MT.
40	2.81	X	3.81	X	1 NO	=	10.71	SQ.MT.
41	5.23	X	2.96	X	1 NO	=	15.48	SQ.MT.
42	3.03	X	3.71	X	1 NO	=	11.24	SQ.MT.
43	3.00	X	5.18	X	2 NOS	=	31.08	SQ.MT.
44	10.41	X	3.01	X	1 NO	=	31.33	SQ.MT.
45	2.13	X	3.76	X	1 NO	=	8.01	SQ.MT.
46	3.08	X	1.43	X	1 NO	=	4.40	SQ.MT.
47	1.18	X	2.66	X	1 NO	=	3.14	SQ.MT.
48	3.23	X	2.43	X	1 NO	=	7.85	SQ.MT.
49	1.43	X	3.88	X	1 NO	=	5.55	SQ.MT.
					TOTAL DEDUCTION	=	875.01	SQ.MT.
					TOTAL BUILT UP AREA [X – Y1]	=	735.02	SQ.MT.

Proforma-2.

Plot S.No.22/1 & S.No.110/5. PLOT-2
Village:-Usarghar(27 Village),Taluka-Kalyan,Dis.Thane

Drawing Sheet No.: 3/3

DT.04/10/2023.

Stamps of Approval/RE-Approval/Completion of Plans:

OFFICE OF THE KALYAN DOMBIVLI MUNICIPAL CORPORATION, KALYAN.

Building Permit No. :- KDMC/TPD/BP/27 Village/2023-24/01/372

Date :- 22/02/2024.

SANCTIONED

KALYAN DOMBIVLI MUNICIPAL CORPORATION कल्याण-डोंबिवली महानगरपालिका जि. ठाणे DIST. THANE

ASSISTANT DIRECTOR OF TOWN PLANNING
Kalyan-Dombivli Municipal Corporation.

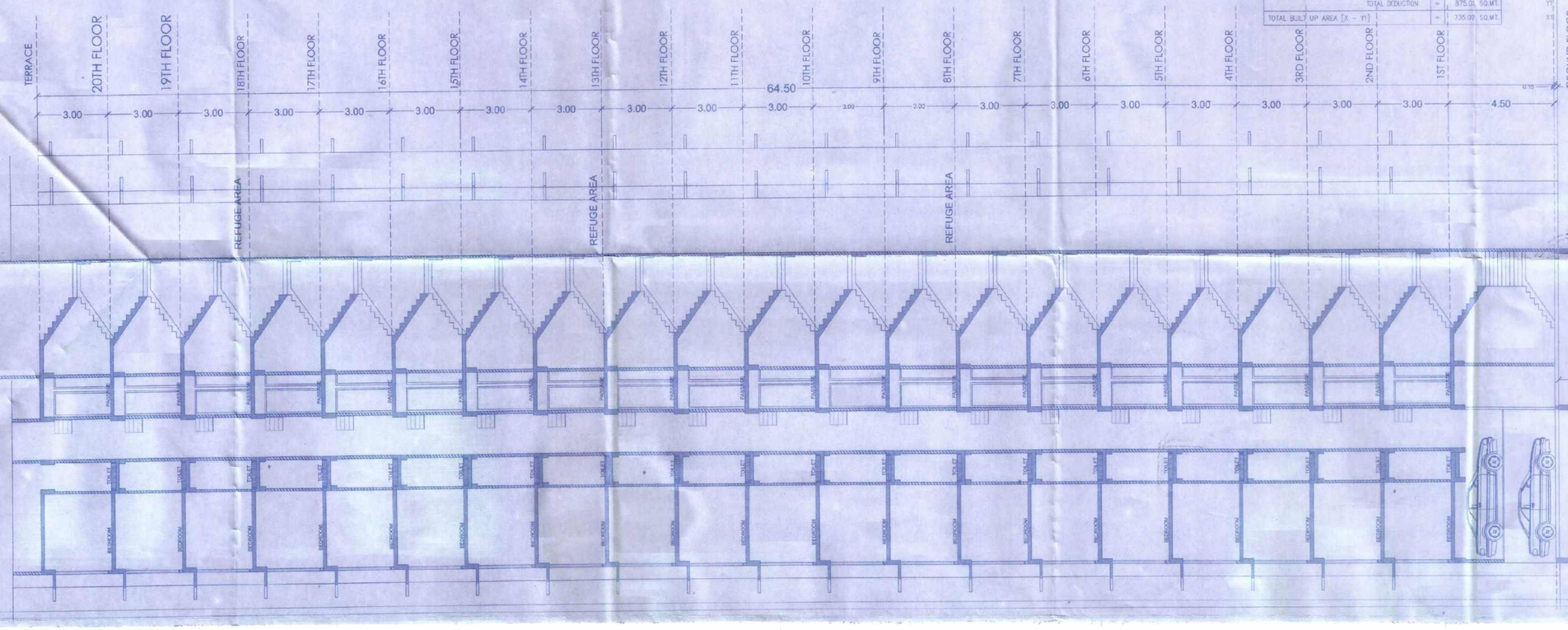

Certificate :

CERTIFIED THAT THE PLANS PREPARED BY ME ARE IN ACCORDANCE WITH THE NORMS AS SPECIFIED BY INDIAN STANDARDS INSTITUTE

A. BHILARE CONSULTANTS PVT. LTD. ESTD 1989 PUNE

SIGN. OF R.C.C. CONSULTANT

Owner's Declaration -

I/We undersigned hereby confirm that I/We would abide by plans approved by Authority / Collector. I/We would execute the structure as per approved plans. Also I/We would execute the work under supervision of proper technical person so as to ensure the quality and safety at the work site.

OWNER :- K.G.L.REALTY Pvt.Ltd.
FOR, AMIT HOTCHANDANI

K.G. REALTY PVT. LTD. Ulhasnagar

Ar. Vijay Pandey.

VIJAY PANDEY AND ASSOCIATES

303-RAJKAMAL TOWER ABOVE KOTAK MAHINDRA BANK DAVITCBHI MATA RD. KALYAN (W) TEL: 0251-2204441/ 9370480015

Job No.	Drawing No.	Scale	Drawn by	Rev.	Checked by	Registration No. Of
40	03	N.S.	VIKAS	R-6	V.P.	Architect:- Vijay Pandey CA/96/20881