FULL POTENTIAL - FINAL DRAWING

PROFORMA - 1: AREA STATEMENT 1/1

DESCRIPTION OF PROPOSAL AND PROPERTY

PROPOSED BUILDING ON PLOT BEARING S. NO. 264, H. NO. 7 AT VILLAGE - CHOLE, PLOT NO. 2, RAILWAY MEN'S WEALFAIR C.H.S. DOMBIVLI (E). TAL. - KALYAN, DIST. - THANE. FOR ;- M/s. SARTHI DEVELOPERS.(P.O.A.)

APPROVAL PLANS

OFFICE OF THE KALYAN DOMBIVLI MUNICIPAL CORPORATION, KALYAN.
Building Permit No. :- KDMC/TPD/BP/DOM/2022-23/68/48
Date :- 19/06/2024
SANCTIONED
For ASSISTANT DIRECTOR OF TOWN PLANNING
Kalyan-Dombivli Municipal Corporation



FRONT SIDE ELEVATION
SCALE = 1:100

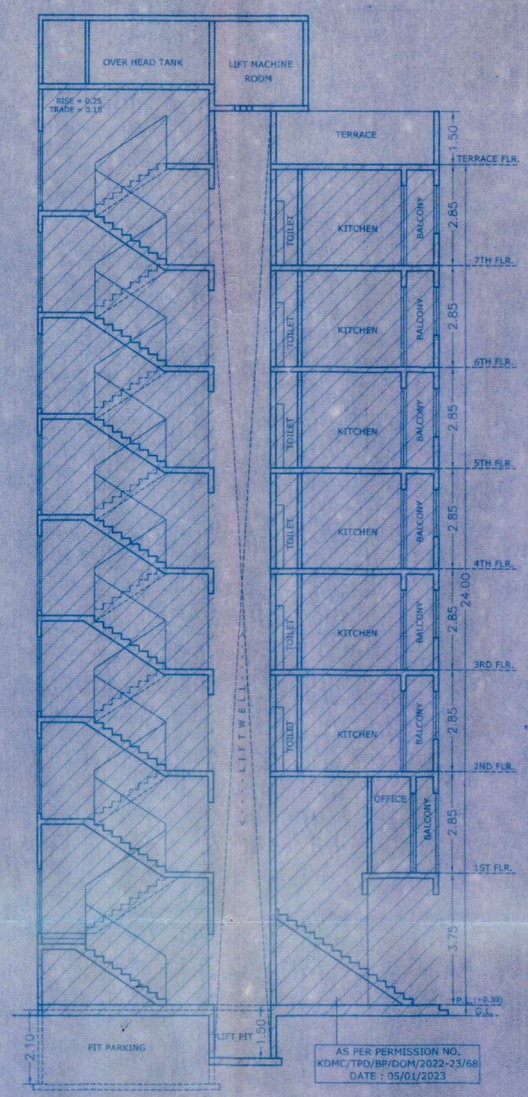

SECTION A-A'
SCALE = 1:100

AS PER PERMISSION NO. KDMC/TPD/BP/DOM/2022-23/68 DATE : 05/01/2023

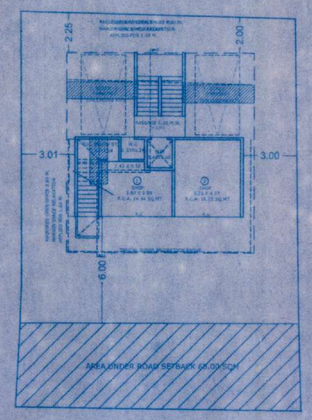

BLOCK PLAN
SCALE = 1:200

LOCATION PLAN
SCALE = N.T.S.

P LINE AREA STATEMENT			
SR. NO.	FLOOR	FLOOR AREA IN SQ.MT.	
1	GROUND	54.24	169.05 COMMERCIAL 93.92 FSI 75.13 ANCILLARY FSI (80%) 697.92 RESIDENTIAL 436.20 FSI 261.72 ANCILLARY FSI (60%) TOTAL ANCILLARY FSI - 336.85 SQ.M
2	FIRST	114.81	
3	SECOND	116.32	
4	THIRD	116.32	
5	FOURTH	116.32	
6	FIFTH	116.32	
7	SIXTH	116.32	
8	SEVENTH	116.32	
TOTAL AREA		866.97	

PARKING STATEMENT (AS PER RERA CARPET AREA)							
SR NO	OCCUPANCY	SIZE OF TENAMENT	NO OF UNITS	PARKING REQUIRED			
		SQM CARPET		4 -W	VISITORS	2 - W	VISITORS
1	RESIDENTIAL	150 AND ABOVE	0	0	0	0	0
		80 TO < 150	0	0	0	0	0
		40 TO < 80	0	0	0	0	0
		30 TO < 40	0	0	0	0	0
		LESS THAN 30	12	0	0	12	0.6
				0	0	12	0.6
					0.0		12.6
PARKING REQUIRED		0.8 FOR KDMC			0.0		12.6
2	COMMERCIAL	87.57	0		1.8		5.3
PARKING REQUIRED		0.8 FOR KDMC			1.4		4.2
TOTAL PARKING					1.4		16.8
		CONVERTING 17 NO. OF TWO-WHLR.INTO 2 NO. OF FOUR WHLR			4.0		0.0
		PROVIDED			6.0		-

DOORS AND WINDOW SCHEDULE		
TYPE	SIZE	DESCRIPTIONS
D	1.05 X 2.10	T.W.FLUSH DOOR WITH LAMINATE FINISH
D1	0.90 X 2.10	T.W.FLUSH DOOR WITH SUNT FINISH
D2	0.75 X 2.00	BAKELITE DOOR (PREFINISHED)
W	2.50 X 2.25	ALUM. GLAZED FRENCH WINDOWS
W1	1.80 X 2.25	ALUM. GLAZED WINDOWS
W2	1.10 X 1.20	ALUM. GLAZED WINDOWS
V	0.60X0.90	T.W.GLAZED LOUVERED
RS	2.10X2.40	T.W.GLAZED LOUVERED

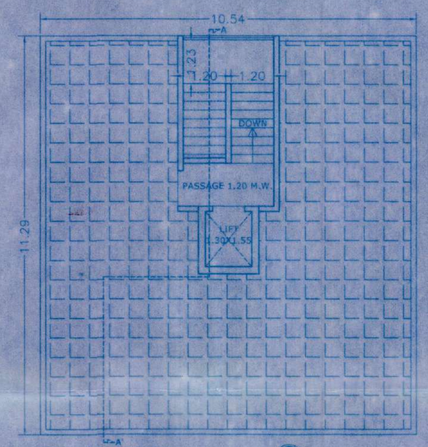

TERRACE FLOOR PLAN
SCALE = 1:100

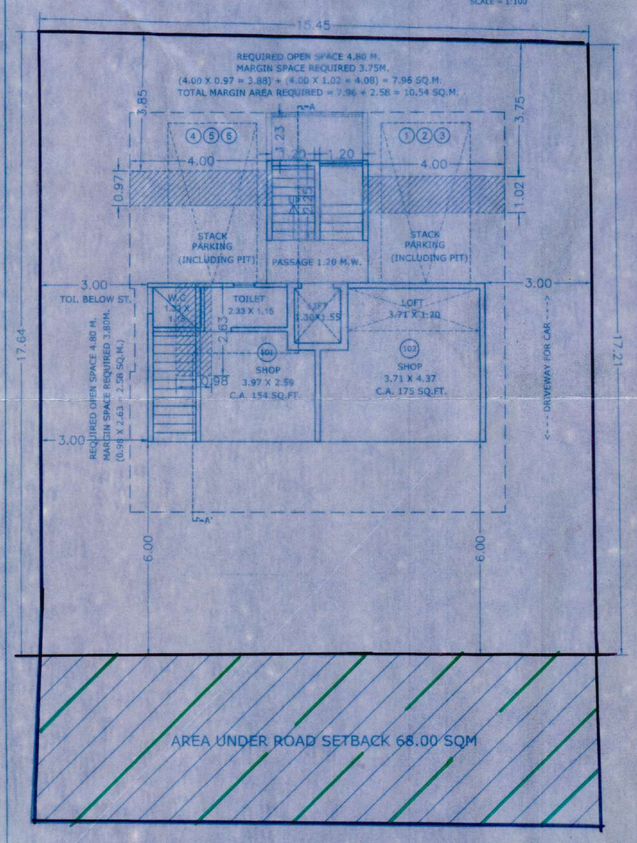

GROUND FLOOR PLAN
SCALE = 1:100

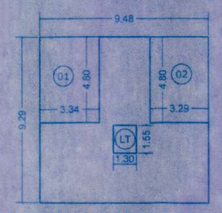

P LINE AREA DIAGRAM FOR GROUND FLOOR
SCALE = 1:200

P LINE AREA DIAGRAM FOR GROUND FLOOR							
A	09.48	X	9.29	X	1NO	=	88.07 SQ.MT.
DEDUCTIONS							
01	3.34	X	4.80	X	1NO	=	16.03 SQ.MT.
02	3.29	X	4.80	X	1NO	=	15.79 SQ.MT.
						=	31.82 SQ.MT.
LIFT							
LT	1.30	X	1.55	X	1NO	=	2.01 SQ.MT.
TOTAL DEDUCTION						=	33.83 SQ.MT.
					88.07 - 33.83	=	54.24 SQ.MT.
TOTAL B.U.A ON GROUND FLOOR						=	54.24 SQ.MT.

AS PER PERMISSION NO. KDMC/TPD/BP/DOM/2022-23/68 DATE : 05/01/2023

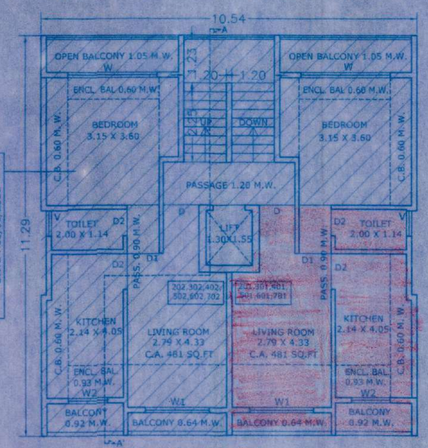

TYPICAL FLOOR PLAN (2ND TO 7TH)
SCALE = 1:100

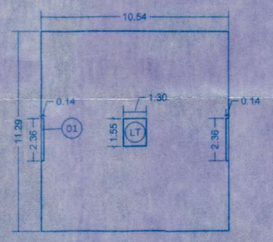

P LINE AREA DIAGRAM FOR 2ND TO 7TH FLOOR
SCALE = 1:200

P LINE AREA DIAGRAM FOR 2ND TO 7TH FLOOR							
A	10.54	X	11.29	X	1NO	=	118.99 SQ.MT.
DEDUCTIONS							
01	0.14	X	2.36	X	2NO	=	0.66 SQ.MT.
DEDUCTIONS						=	0.66 SQ.MT.
LIFT							
LT	1.30	X	1.55	X	1NO	=	2.01 SQ.MT.
TOTAL LIFT AREA						=	2.01 SQ.MT.
TOTAL DEDUCTION						=	2.67 SQ.MT.
					118.99 - 2.67	=	116.32 SQ.MT.
TOTAL B.U.A ON 2ND TO 7TH FLOOR						=	116.32 SQ.MT.

AS PER PERMISSION NO. KDMC/TPD/BP/DOM/2022-23/68 DATE : 05/01/2023

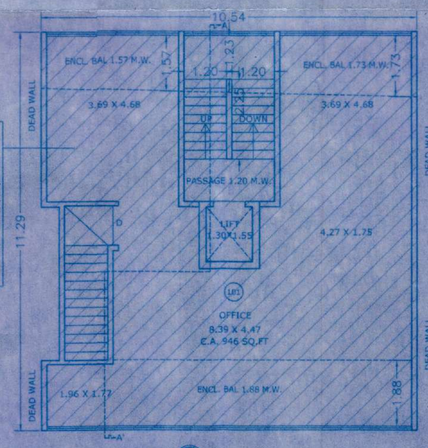

FIRST FLOOR PLAN
SCALE = 1:100

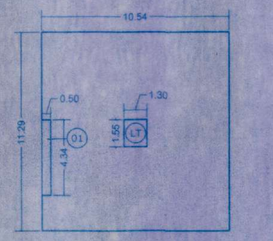

P LINE AREA DIAGRAM FOR 1ST FLOOR
SCALE = 1:200

P LINE AREA DIAGRAM FOR 1ST FLOOR							
A	10.54	X	11.29	X	1NO	=	118.99 SQ.MT.
DEDUCTIONS							
01	0.5	X	4.34	X	1NO	=	2.17 SQ.MT.
DEDUCTIONS						=	2.17 SQ.MT.
LIFT							
LT	1.30	X	1.55	X	1NO	=	2.01 SQ.MT.
TOTAL LIFT AREA						=	2.01 SQ.MT.
TOTAL DEDUCTION						=	4.18 SQ.MT.
					118.99 - 4.18	=	114.81 SQ.MT.
TOTAL B.U.A ON 1ST FLOOR						=	114.81 SQ.MT.

AREA STATEMENT

			SQ.MT.
1.		AREA OF PLOT (MINIMUM AREA OF a,b,c TO BE CONSIDERED)	324.41
	(a)	AS PER OWNERSHIP DOCUMENT (7/12, C.T.S EXTRACT)	-------
	(b)	AS PER MEASUREMENT SHEET	-------
	(c)	AS PER SITE	-------
2.		DEDUCTIONS FOR	-------
	(a)	PROPOSED D.P/ D.P ROAD WIDENING AREA/ SERVICE ROAD/ HIGHWAY WIDENING	68.00
	(b)	ANY D.P RESERVATION AREA	-------
		TOTAL a + b	-------
3.		BALANCE AREA OF PLOT (1-2)	256.41
4.		AMENITY SPACE (IF APPLICABLE)	-------
	(a)	REQUIRED	-------
	(b)	ADJUSTMENT OF 2(b) IF ANY -	-------
	(c)	BALANCE PROPOSED	-------
5.		NET PLOT AREA [3-4 (c)]	256.41
6.		RECREATIONAL OPEN SPACE (IF APPLICABLE)	-------
	(a)	REQUIRED -	-------
	(b)	PROPOSED -	-------
7.		INTERNAL ROAD AREA	-------
8.		PLOTABLE AREA (IF APPLICABLE)	-------
9.		BUILT UP AREA WITH REFERENCE TO BASIC F.S.I AS PER FRONT ROAD WIDTH (SR. NO. 5xbasic FSI)	282.05
10.		ADDITION OF FSI ON PAYMENT OF PREMIUM	
	(a)	MAXIMUM PERMISSIBLE PREMIUM FSI- BASED ON ROAD WIDTH / TOD ZONE.(324.41/50%)	162.20
	(b)	PROPOSED FSI ON PAYMENT OF PREMIUM	113.00
11.		IN-SITU FSI / TDR LOADING	
	(a)	IN-SITU AREA AGAINST D.P ROAD [2.0xSR. NO.2 (a)], IF ANY	136.00
	(b)	IN-SITU AREA AGAINST AMENITY SPACE IF HANDED OVER [2.00 OR 1.85x SR. NO.4 (b) AND OR (c)]	-------
	(c)	TDR AREA	-------
	(d)	TOTAL IN-SITU / TDR LOADING PROPOSED (11 (a)+(b)+(c))	136.00
12.		ADDITIONAL FSI AREA UNDER CHAPTER NO.7 (TENANT F.S.I.)	-------
13.		TOTAL ENTITLEMENT OF FSI IN THE PROPOSAL	-------
	(a)	[9+10(b)+11(d)] OR 12 WHICHEVER IS APPLICABLE	531.05
	(b)	ANCILLARY AREA FSI UPTO 60% OR 80% WITH PAYMENT OF CHARGES	336.85
	(c)	TOTAL ENTITLEMENT (a+b)	867.90
14.		MAXIMUM UTILIZATION LIMIT OF FSI (BUIDING POTENTIAL) PERMISSIBLE AS PER ROAD WIDTH {(AS PER REGULATION NO.6.1 OR 6.2 OR 6.3 OR 6.4 AS APPLICABLE) x 1.6 OR 1.8}	1557.17
15.		TOTAL BUILT-UP AREA IN PROPOSAL (EXCLUDING AREA AT SR. NO.17 b)	
	(a)	EXISTING BUILT-UP AREA	669.33
	(b)	PROPOSED BUILT-UP AREA (AS PER P-LINE) (197.64 SQ.M)	866.97
	(c)	TOTAL (a+b) (669.33 + 197.64 = 866.97 SQ.M)	866.97
16.		FSI CONSUMED (15/13) (SHOULD NOT BE MORE THAN SERIAL NO.14 ABOVE)	0.99
17.		AREA FOR INCLUSIVE HOUSING IF ANY	
	(a)	REQUIRED (20% OF SR. NO.5)	-------
	(b)	PROPOSED	-------
C		TENEMENT STATEMENT	
	(i)	PROPOSED FLOOR AREA (ITEM A- 15 ABOVE)	866.97
	(ii)	LESS DEDUCTION OF NON RESI. AREA	169.05
	(iii)	AREA AVAILABLE FOR TENEMENTS (i - ii)	697.92
	(iv)	TENEMENT PERMISSIBLE	-------
	(v)	TENEMENTS EXISTING	-------
	(vi)	TENEMENTS PROPOSED (02 SHOP, 01 OFFICE)	12 FLATS
	(vii)	TOTAL TENEMENTS OF THE PLOT (02 SHOP, 01 OFFICE)	12 FLATS

CERTIFICATE OF AREA:

THE PLANS PREPAIRED BY ME ARE IN ACCORDANCE WITH THE NORMS AS SPECIFIED BY INDIAN STANDARD INSTITUTE AND I WILL BE HELD RESPONSIBLE FOR ANY HARM CAUSED IN EARTHQUAKE DUE TO NEGLIGENCE OF STRUCTURE. I HAVE CONFIRMED THE PROPOSED CONSTRUCTION IS AS PER THE NORMS AS SPECIFIED BY INDIAN STANDARD INSTITUTE FOR RESISTANCE OF EARTHQUAKE.

M/S. BHIRUD & ASSOCIATES Er. Sagar S. Bhirud B.Tech.(Civil) A.M.I.E Chartered Engineer (I) Lic No. KDMC-569 TMC-1231 STRUCTURAL CONSULTANT

SIGN. OF STRUCTURAL CONSULTANT.

CERTIFICATE OF AREA:

CERTIFIED THAT THE PLOT UNDER REFERENCE WAS SURVEYED BY ME ON 09/05/2022 & THE DIMENSIONS OF SIDES ETC. OF PLOT ARE AS MEASURED ON SITE AND THE AREA SO WORKED OUT TALLIES WITH THE AREA STATED IN DOCUMENT OF OWNERSHIP/ T.P. SCHEME RECORDS /LAND RECORDS DEPARTMENT / CITY SURVEY RECORDS.

ARCH. UDAY R. SATAVALEKAR

OWNER'S DECLARATION:

I/WE UNDERSIGNED HEREBY CONFIRM THAT I/WE WOULD ABIDE BY PLANS APPROVED BY AUTHORITY / COLLECTOR. I/W WOULD EXECUTE THE STRUCTURE AS PER APPROVED PLANS. ALSO, I/WE WOULD EXECUTE THE WORK UNDER SUPERVISION OF PROPER TECHNICAL PERSON SO AS TO ENSURE THE QUALITY AND SAFETY AT THE WORK SITE.

For SARTHI DEVELOPERS — Shri. Devendra C. Ghule, Partner
For SARTHI DEVELOPERS — Shri. Bhasker A. Nimbalkar, Partner
For SARTHI DEVELOPERS — Shri. Abhijeet T. Bholi, Partner

JOB NO.	DWG NO.	DATE	SCALE	DRAWN BY	CHECKED BY	REG. NO. OF ARCHITECT
		14/12/2023	1:100	SWARDA	UDAY	CA/98/22645

u. r. satavalekar
REGISTERED ARCHITECT
REG. No: CA/98/22645
SHANTI SAGAR, SAVARKAR MARG, DOMBIVLI (E) 421 201.
uday r. satavalekar
23b , shantisagar , savarkar marg , dombivli e 421201
contact - 9325547792
Registration No:- CA/98/22645