VASANT SELEZIONS															
BUILDING	FLOORS	FSI AREA						BALCONY	TERRACE	LIFT	LIFTWELL	DUCT	VENT SHAFT	OTHER DEDUCTION	TOTAL FSI AREA
		COMM.	RESI.	IND.	EDU.	INS.	MUZZ.	PROP.							
VASANT SELEZIONS	8TH FLOOR PLAN	0.000	502.462	0.000	0.000	0.000	0.000	28.532	0.000	0.000	21.001	0.000	0.000	17.210	564.281
VASANT SELEZIONS	2ND 3RD 5TH 6TH 9TH 11TH 14TH 15TH 17TH	0.000	6450.290	0.000	0.000	0.000	0.000	285.320	0.000	0.000	210.010	0.000	0.000	172.100	6066.180
VASANT SELEZIONS	GROUND FLOOR PLAN	497.750	316.016	0.000	0.000	0.000	0.000	0.000	0.000	21.001	0.000	0.000	0.000	6.410	807.356
VASANT SELEZIONS	20TH	0.000	491.686	0.000	0.000	0.000	0.000	28.462	0.000	0.000	21.001	0.000	0.000	17.210	463.485
VASANT SELEZIONS	7TH FLOOR PLAN	0.000	617.728	0.000	0.000	0.000	0.000	22.411	0.000	0.000	21.001	0.000	0.000	46.897	545.830
VASANT SELEZIONS	1ST 4TH 10TH 12TH 16TH 18	0.000	5833.142	0.000	0.000	0.000	0.000	134.016	0.000	0.000	126.006	0.000	0.000	277.818	3429.318
VASANT SELEZIONS	MEZZANINE FLOOR PLAN	248.960	194.960	0.000	0.000	0.000	0.000	0.000	0.000	0.000	21.001	0.000	0.000	20.070	386.849
VASANT SELEZIONS	TOTAL	744.310	13506.324	0.000	0.000	0.000	0.000	498.741	0.000	21.001	420.020	0.000	0.000	558.315	12272.299

FSI DETAILS											
9 Index	Basic FSI (on serial no 7)	Premium FSI (on serial no 8)	TDR/DR (on serial no 9)	Incentive FSI for green building And (on basis FSI)	Additional FSI (10.10.1 Note 2)	Ancillary Area FSI (2.2(viii-a))	Ancillary Area FSI (2.2(viii-b))	Total	Inclusive Housing (IHP)(on Application)	Drawing Value
9.1 Permissible Index	1.100	0.500	0.900	0.000	0.000	0.000	0.000	2.500	0.000	0.000
9.2 Existing Consumed Index	0.000	0.000	0.000	0.000	0.000	0.000	0.000	0.000	0.000	0.000
9.3 Balance Index Left To be Consumed	1.100	0.500	0.900	0.000	0.000	0.000	0.000	0.000	0.000	0.000
9.4 Total Permissible FLIne Area	3668.400	1622.000	2919.600	0.000	0.000	4329.323	324.848	12764.172	0.000	0.000
9.5 Proposed F Line Area (Index 9.4 x Plot area) 9.4)	3080.000	1622.000	2919.600	0.000	0.000	4325.851	324.848	12272.299	0.000	12272.299
9.6 Index Consumed	0.949	0.500	0.900	0.000	0.000	0.000	0.000	2.349	0.000	0.000

Carpet Area Table								
Building Name	Floor Name	Carpet name	Tenement No.	Carpet Area	Enclosed Balcony Area	Normal Balcony Area	Wetawole Area	Total Carpet Area
VASANT SELEZIONS	1ST 4TH 10TH 12TH 16TH 18	1	6	50.230	0.000	8.155	0.000	50.230
VASANT SELEZIONS	1ST 4TH 10TH 12TH 16TH 18	2	6	52.190	0.000	0.000	0.000	52.190
VASANT SELEZIONS	1ST 4TH 10TH 12TH 16TH 18	3	6	69.357	0.000	0.000	0.000	69.357
VASANT SELEZIONS	1ST 4TH 10TH 12TH 16TH 18	4	6	83.122	0.000	14.231	0.000	83.122
VASANT SELEZIONS	1ST 4TH 10TH 12TH 16TH 18	5	6	59.897	0.000	0.000	0.000	59.897
VASANT SELEZIONS	1ST 4TH 10TH 12TH 16TH 18	6	6	69.339	0.000	0.000	0.000	69.339
VASANT SELEZIONS	7TH FLOOR PLAN	1	1	50.237	0.000	8.145	0.000	50.237
VASANT SELEZIONS	7TH FLOOR PLAN	2	1	49.198	0.000	0.000	0.000	49.198
VASANT SELEZIONS	7TH FLOOR PLAN	3	1	69.357	0.000	0.000	0.000	69.357
VASANT SELEZIONS	7TH FLOOR PLAN	4	1	60.973	0.000	14.266	0.000	60.973
VASANT SELEZIONS	7TH FLOOR PLAN	5	1	59.897	0.000	0.000	0.000	59.897
VASANT SELEZIONS	7TH FLOOR PLAN	6	1	69.339	0.000	0.000	0.000	69.339
VASANT SELEZIONS	20TH	1	1	65.474	0.000	0.000	0.000	65.474
VASANT SELEZIONS	20TH	2	1	80.177	0.000	0.000	0.000	80.177
VASANT SELEZIONS	20TH	3	1	65.474	0.000	14.231	0.000	65.474
VASANT SELEZIONS	20TH	4	1	78.097	0.000	0.000	0.000	78.097
VASANT SELEZIONS	GROUND FLOOR PLAN	1	1	469.625	0.000	0.000	0.000	469.625
VASANT SELEZIONS	2ND 3RD 5TH 6TH 9TH 11TH 14TH 15TH 17TH 19	1	10	65.474	0.000	14.266	0.000	65.474
VASANT SELEZIONS	2ND 3RD 5TH 6TH 9TH 11TH 14TH 15TH 17TH 19	2	10	78.097	0.000	0.000	0.000	78.097
VASANT SELEZIONS	2ND 3RD 5TH 6TH 9TH 11TH 14TH 15TH 17TH 19	3	10	69.357	0.000	0.000	0.000	69.357
VASANT SELEZIONS	2ND 3RD 5TH 6TH 9TH 11TH 14TH 15TH 17TH 19	4	10	65.452	0.000	14.266	0.000	65.452
VASANT SELEZIONS	2ND 3RD 5TH 6TH 9TH 11TH 14TH 15TH 17TH 19	5	10	78.097	0.000	0.000	0.000	78.097
VASANT SELEZIONS	2ND 3RD 5TH 6TH 9TH 11TH 14TH 15TH 17TH 19	6	10	69.339	0.000	0.000	0.000	69.339
VASANT SELEZIONS	8TH FLOOR PLAN	1	1	53.383	0.000	0.000	0.000	53.383
VASANT SELEZIONS	8TH FLOOR PLAN	2	1	59.889	0.000	0.000	0.000	59.889
VASANT SELEZIONS	8TH FLOOR PLAN	3	1	69.357	0.000	0.000	0.000	69.357
VASANT SELEZIONS	8TH FLOOR PLAN	4	1	60.975	0.000	14.266	0.000	60.975
VASANT SELEZIONS	8TH FLOOR PLAN	5	1	59.898	0.000	0.000	0.000	59.898
VASANT SELEZIONS	8TH FLOOR PLAN	6	1	69.339	0.000	0.000	0.000	69.339

Accomodation Reservation Detail

Reservation Details				Reservation Area Details			
Type	Name	Number	Total Area	Area Already acquired/under AR	Balance area to be acquired	Area of reservation under this proposal	Remarks

Type of Accomodation Reservation (Composite Type but individual Building/wing)

Reservation Details									
Reservation Type	Name	Number	Area of Reservation under this proposal	Required Area already accomodated	Required Area of Plot	Proposed Area to be acquired under	Required BUA of commercial/ amenity	Proposed BUA of commercial/ amenity	Status

Parking Check (Table 8B)									
			RATIO			Required			
Building Name	USE	TENEMENT AREA	car	scooter	NO.OF Tenc/Area/Units	car	scooter	Transport Vehicle/Ambulc ncs/Min Bus	
VASANT SELEZIONS	Commercial	For every 100 sq.m. of floor area or fraction thereof	2	6	469.625	9.393	28.178	-	
VASANT SELEZIONS	Residential	For every ten tenements with carpet area more than 60 sq.m.	1	2	106	53.000	106.000	-	
VASANT SELEZIONS	Residential	For every tenement having carpet area more than 60 sq.m. but less than 90 sq.m.	1	1	6	6.000	6.000	-	
Total	-	-	-	-	-	68.393	140.178	-	
Visitors parking(5%)	-	-	-	-	-	2.950	5.600		
Total	-	-	-	-	-	71.343	145.778	0.000	

Parking Check As Per Multiplying Factor 0.800 (note: 1) if scooter equals to 1 car, proposed composite parking for car+ 32)							
	Required			Proposed			
Building Name	Car	Scooter	Transport Vehicle/Ambulc ncs/Min bus	Car	Scooter	Transport Vehicle/Ambulc ncs/Min bus	Status
Total	89	0	0	90	0	0	OK

Tot/Ent Room			
Building	Req. Size	Prop. Size	Status
VASANT SELEZIONS	3.000X3.400	3.000X3.400	OK

SCHEDULE OF OPENING					
BLD NAME	NAME	LENGTH	HEIGHT	Nos.	
VASANT SELEZIONS	V	0.750	0.750	36	
VASANT SELEZIONS	V	0.566	0.750	6	

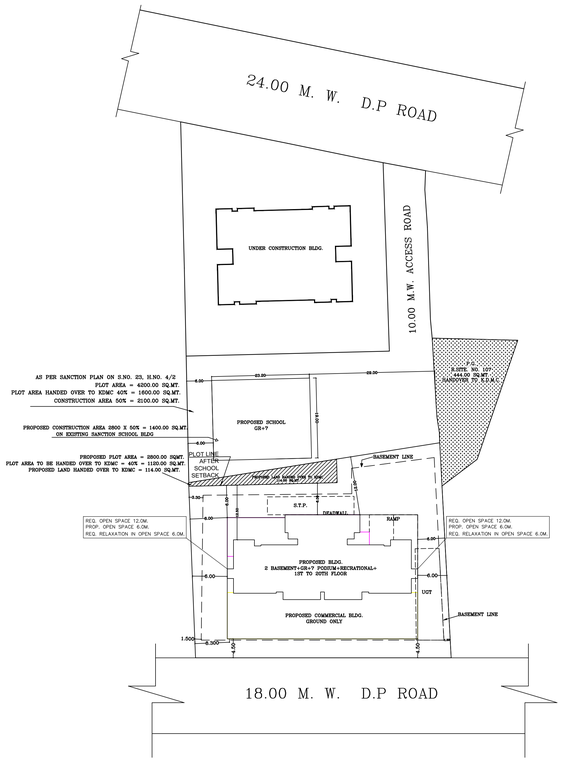

BLOCK PLAN
(SCALE 1 : 500)

LAYOUT PLAN
SCALE 1:500

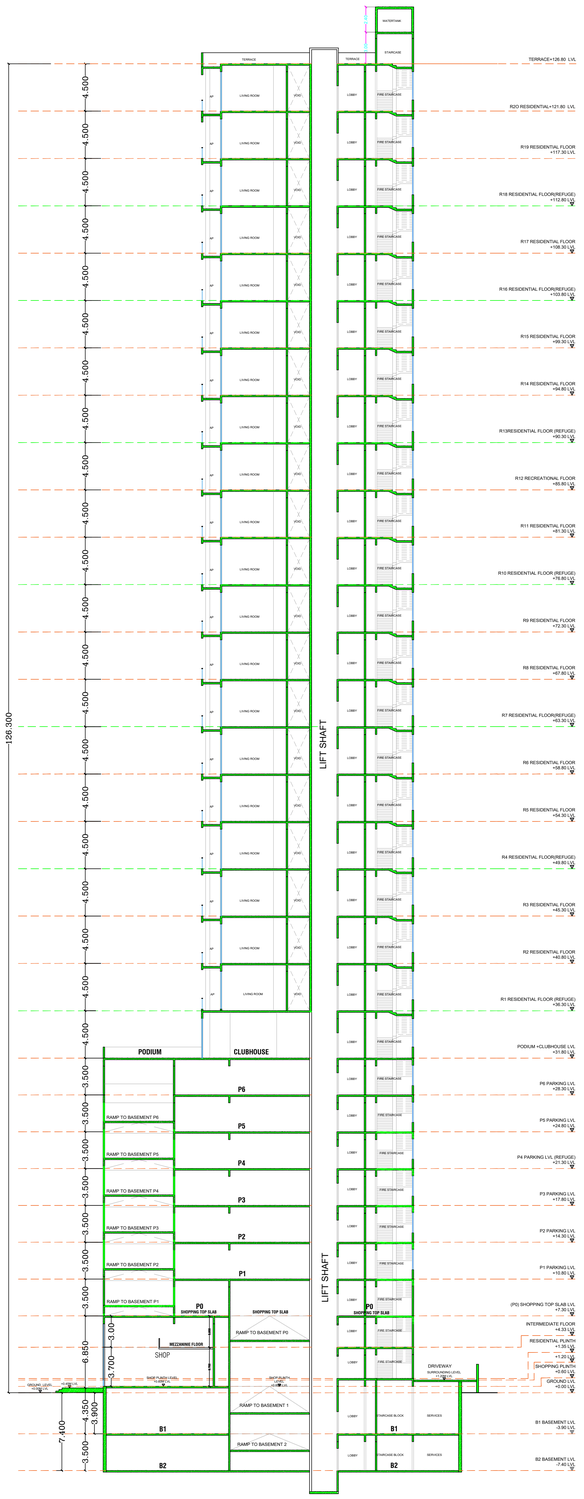

SECTION PLAN B–B
SCALE 1:200

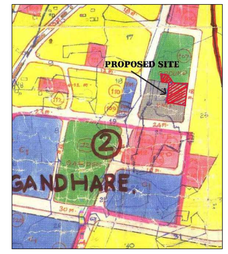

LOCATION PLAN

Project Details
Project Location KDMC(UP TOWN)
Zone Type: Residential Zone
Location: Non-Congested
Name of service: Accommodation reservations
Sub service:
City No./Survey No.: 23
Taluka: Section 3
Mouza: Gandhare
Provisk Value: 0.000
Separation/CRZ Zone Area: 0.000

LEGENDS:
AMENITY SPACE
PROPOSED BUILDING
PROPOSED BUILDING OUTLINE
DRAINAGE LINE SHOWN YELLOW LIGHT
SEWER LINE SHOWN RED LIGHT
ENCLOSED SAL SHOWN BROWN
TERRACE SHOWN DARK YELLOW
OVERHEAD TANK SHADED
EXISTING SHOWN BLUE DOTTED

Reserved for "Record of Rights" plan

LAYOUT PLAN | SHEET NO. 1/6

	A.	AREA STATEMENT	
1	A)	AREA OF PLOT	
	a)	As per ownership document (7/12,cts extract) (2800.00 + 444.00)	3244.00
	b)	As per measurement sheet	
	c)	As per site	
2		DEDUCTIONS FOR	
	a)	D.P. ROAD AREA	
	b)	GARDEN RESERVATION AREA	444.00
	c)	P.S. RESERVATION	2800.00
		TOTAL (a+b+c)	
3		BALANCE AREA OF PLOT (1 Minus 2) P.S. RESERVATION	2800.00
4		AMMENITY SPACE IF APPLICABLE	
	a) REQUIRED		
	b) ADJUSTMENT OF IF ANY		
	c) BALANCE PROPOSED		
5		NET PLOT AREA (3-4(c))	2800.00
6		RECREATIONAL OPEN SPACE (IF APPLICABLE)	
	a) REQUERED 10%		
	b) PROVISED		
7		INTERNAL ROAD AREA	
8		PLOTABLE AREA	
9		BUILT UP AREA WITH REFERANCE TO BASIC FSI AS PER FRONT ROAD WIDTH 2800.00 X 1.10 = 3080.00	3080.00
10		ADDITION OF FSI ON PAYMENT PREMIUM 3244 X 0.5	1622.00
	a) MAXIMUM PERMISSIBLE PREMIUM FSI BASED ON ROAD WIDTH /TOD ZONE		
	b) PROPOSED FSI ON PAYMENT OF PREMIUM		
11		IN-SITU FSI/TDR LOADING	
	a) IN-SITU AREA AGAINST D.P. ROAD SR.NO.2 (a) AS PER SANCTION P.S.RESERVATION 444.00 X 2.00 = 888.00	888.00
	b) IN-SITU AREA AGAINST AMENITY SPACE IF HANDED OVER 42.00 OR 1.85 X SR. NO.4 (b) AND / or (c)	
	c) TOR AREA 3244.00 X 0.90 = 2918.60 - 888.00 = 2031.60	2031.60
	d) TOTAL IN-SITU / TDR LOADING PROPOSED (11 (a)+(b)+(c)	2919.60
12		ADDITIONAL FSI AREA UNDER CHAPTER NO.7	
13		TOTAL ENTITLEMENT OF FSI IN THE PROPOSAL	
	a) (7+10)+11(d) or 12 WHICHEVER IS APPLICABLE		7621.60
	b) ANCILLARY AREA FSI UPTO 60% OR 80% WITH PAYMENT OF CHARGES COMMERCIAL 498.061 X 0.8 = 324.848 RESIDENTIAL 7621.60 - 406.061 = 7215.539 X 0.6 = 4329.323 TOTAL = 4654.171 OUT OF THIS = 4650.699	4650.699
	c) TOTAL ENTITLEMENT (a+b)	12272.299
14		MAXIMUM UTILISATION LIMIT OF FSI (BUILDING POTENTIAL) PERMISSIBLE AS PER ROAD WIDTH As per Regulation no. 6.1 or 6.2 or 6.3 or 6.4 as applicable) x 1.6 or 1.8	
15		TOTAL BUILT UP AREA IN PROPOSAL (EXCLUDING AREA AT SR. NO.13(b)	
	a) EXISTING BUILT UP AREA		12272.299
	a) PROPOSED BUILT UP AREA (AS PER P LINE)		
	c) TOTAL (a+b)		
16		FSI CONSUMED (15/13)	
17		AREA FOR INCLUSIVE HOUSING IF ANY	

Certificate of Area:
Certified that the plot under reference was surveyed by me on_____ and the dimensions of sides etc. of plot stated on plan are as measured on site and the area so worked out tallies with the area stated in document of Ownership/ T.P. Scheme Records/Land Records Department/City Survey records.

Signature
(Name of Architect/ Licensed Engineer/ Supervisor.)

Owner's Declaration -
I/We undersigned hereby confirm that I/We would abide by plans approved by Authority / Collector. I/We would execute the structure as per approved plans. Also I/We would execute the work under supervision of proper technical person so as to ensure the quality and safety at the work site.

Owner (s) name and signature

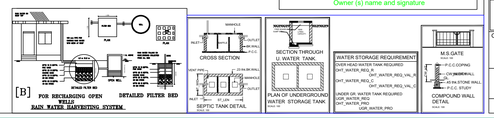

Proforma I : Area Statement

1. Area of plot (Minimum area of a, b, c to be considered)	3244.000
(a) As per ownership document (7/12, CTS extract)	3244.000
(b) as per TILR or City Survey measurement sheet	3244.000
(c) as per Demarcated drawing area	3244.000
LESS	
2.Area not in possession	0.000
3. Area Proposed for development (out of 1-2)	3244.000
4.Deductions for(out of 3)	
(a) Proposed D.P./ D.P. Road widening Area/Proposed DP road, Road under MMC act	0.000
(b) Any D.P. Reservation area	3244.000
(c) Green Belt	0.000
(Total a+b+c)	3244.000
5. Plot Under accommodation Reservation	3244.000
6.Recreational Open Space (Not applicable if plots are from sanctioned layout)	-
(a). If area is more than (5) 4000 sqmt - 10 % of (5) is required.	0.000
Proposed _____	0.000
(b). If area is less than 4000 sqmt	-
(A)10 % Subject to minimum 200 sqmt(Not applicable if plots are from sanctioned layout or each plot admeasuring less than 4000sq.m regularised under gunthewari act)	0.000
Proposed _____	0.000
(B)Exemption to leave open space subject to availing basic F.S.I of 75 %	-
(C)Exemption to leave open space subject to payment of 10 % land value of land at (7) as per annual statement of rate.	-
Architect/ Licensed Engineer/ Supervisor name and signature	
Registration No. of Architect/ License no. of Licensed Engineer/ Supervisor: CA/2019/106930	

Name Of : Owner VASANT BUILDCON
THROUGH PARTNER: RITESH KIMTANI

Postal Address : 1902/1 Rosemary Vasant Valley,Khadakpada Village Gandhare,Kalyan,Thane,Maharashtra-421301
Phone No. 9980792297

DESCRIPTION OF PROJECT :
Type of Proposal : Mixed
BUILDING ON CTS. NO./SURVEY NO.-23, H.NO.4/2,S.NO.21/2

SITE ADDRESS :
S.NO. 23/4/2,S.NO.21/2; VILLAGE GANDHARE,TAL.KALYAN WEST,THANE

Name Of Architect : Tejas Anil Nirgude

LOGO	ADDRESS OF OFFICE
	OFFICE - 5TH FLOOR, MIDTOWN EMBASSY, BEHIND VASANT VALLEY BUS DEPOT, OPP. NARAYANA SCHOOL, GANDHARE, KALYAN - 421301
OWNERS SIGN -	TECHNICAL PERSON SIGN TEJAS ANIL NIRGUDE Digitally signed by TEJAS ANIL NIRGUDE Date: 2026.01.05 14:13:45 +05'30'
SCALE -	DATE: Date: 05/01/26
JOB NO.- KDMCC-25-135403	CHECK BY - ANIL

SUBMISSION DRAWING

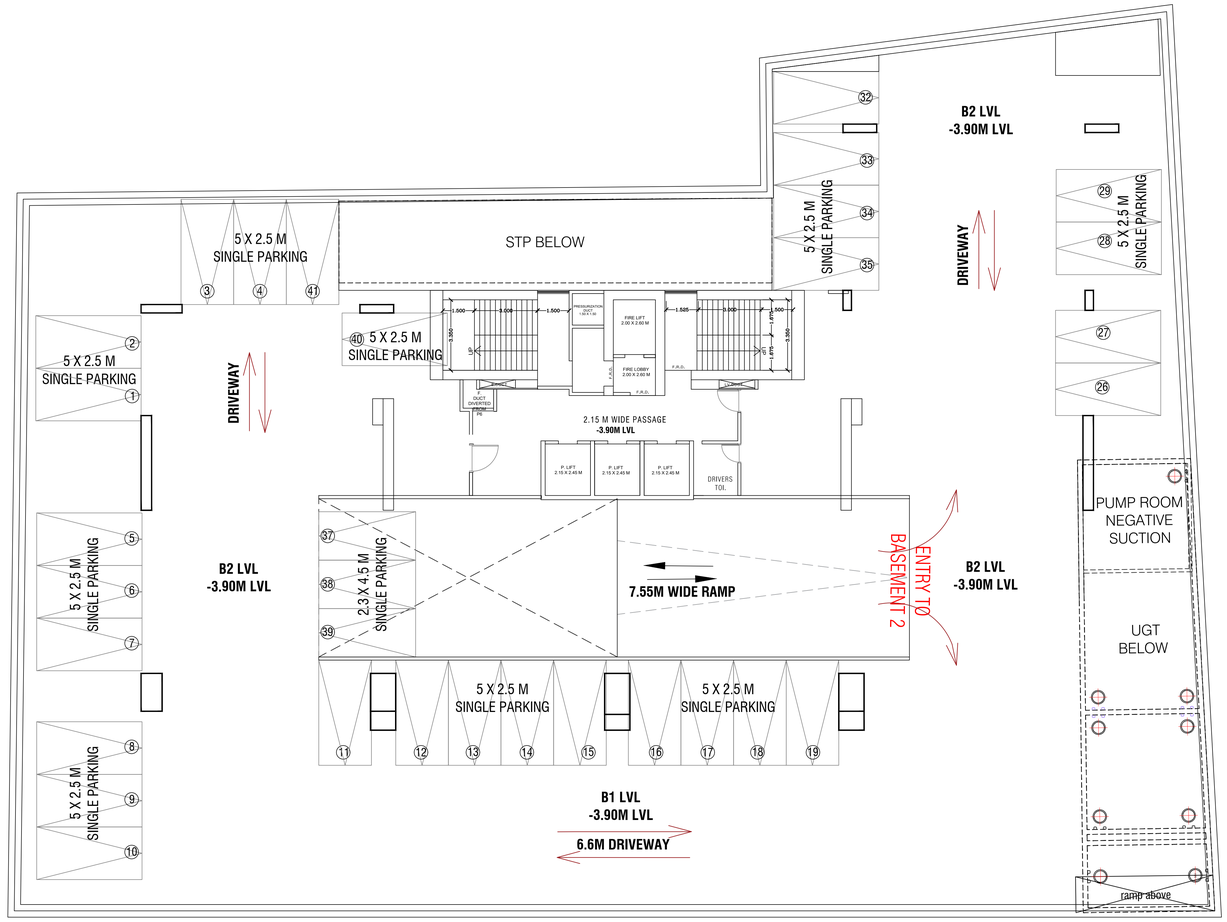

BASEMENT (B2) FLOOR PLAN
SCALE 1:100

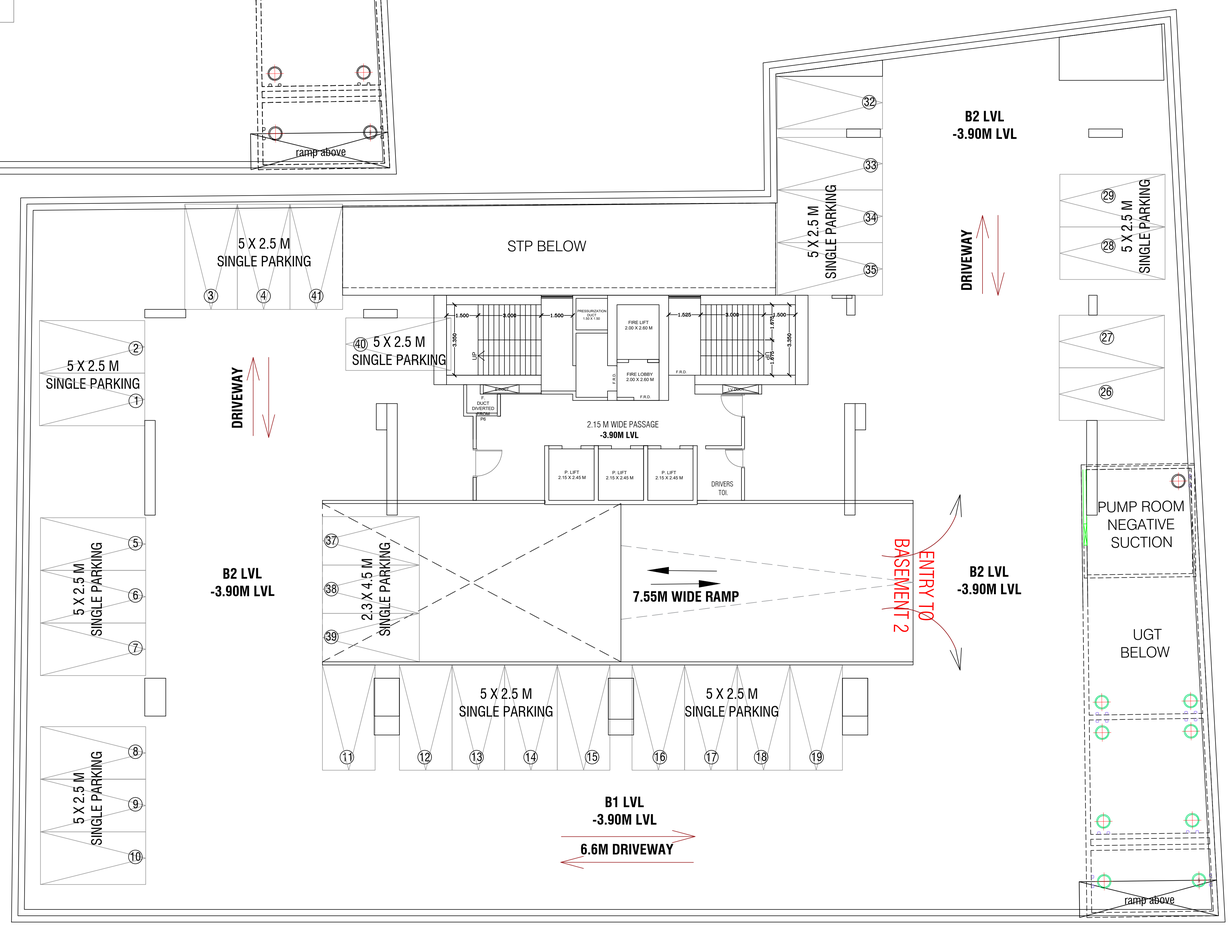

BASEMENT (B1) FLOOR PLAN
SCALE 1:100

Reserved for "Round of Approval" plan

LAYOUT PLAN | SHEET NO. 2/6

Proforma I : Area Statement

1. Area of plot (Minimum area of a, b, c to be considered)	3244.000
(a) As per ownership document (7/12, CTS extract)	3244.000
(b) as per TILR or City Survey measurement sheet	3244.000
(c) as per Demarcated drawing area	3244.000
LESS	
2.Area not in possession	0.000
3. Area Proposed for development (out of 1-2)	3244.000
4.Deductions for(out of 3)	
(a) Proposed D.P./ D.P. Road widening Area/Proposed DP road, Road under MMC act	0.000
(b) Any D.P. Reservation area	3244.000
(c) Green Belt	0.000
(Total a+b+c)	3244.000
5. Plot Under accommodation Reservation	3244.000
6.Recreational Open Space (Not applicable if plots are from sanctioned layout)	-
(a). If area is more than (5) 4000 sqmt - 10 % of (5) is required.	0.000
Proposed___	0.000
(b). If area is less than 4000 sqmt	-
(A)10 % Subject to minimum 200 sqmt(Not applicable if plots are from sanctioned layout or each plot admesuring less than 4000sq.m regularised under gunthewari act)	0.000
Proposed ___	0.000
(B)Exemption to leave open space subject to availing basic F.S.I. of 75 %	-
(C)Exemption to leave open space subject to payment of 10 % land value of land at (7) as per ready reckoner rate of the	-

Name Of Owner:VASANT BUILDCON
Signature of Owner:
Name of Developer: Primary Vasant
Signature of Developer:
Name of Supervisor: Supervisor name and signature
Gandhare,Kalyan,Thane,Maharashtra-421301.
Registration No. of Architect/ License no. of Licensed Structural Engineer: CA/98-40230

DESCRIPTION OF PROJECT :-

Type of Proposal : Mixed
BUILDING ON CTS. NO./SURVEY NO.-23, H.NO.4/2,S.NO.21/2

SITE ADDRESS :-
S.NO. 23/4/2,S.NO.21/2, VILLAGE GANDHARE,TAL.KALYAN
WEST,THANE

Name Of Architect : Tejas Anil Nirgude

LOGO	ADDRESS OF OFFICE
	OFFICE :- 5TH FLOOR, MIDTOWN EMBASSY, BEHIND VASANT VALLEY BUS DEPOT, OPP. NARAYANA SCHOOL, GANDHARE, KALYAN - 421301

OWNERS SIGN -	TECHNICAL PERSON SIGN
	TEJAS ANIL NIRGUDE Digitally signed by TEJAS ANIL NIRGUDE Date: 2026.01.05 12:14:24 +05'30'

SCALE -	DATE: Date: 05/01/26
JOB NO - KDMCC-25-135403	CHECK BY - ANIL

SUBMISSION DRAWING

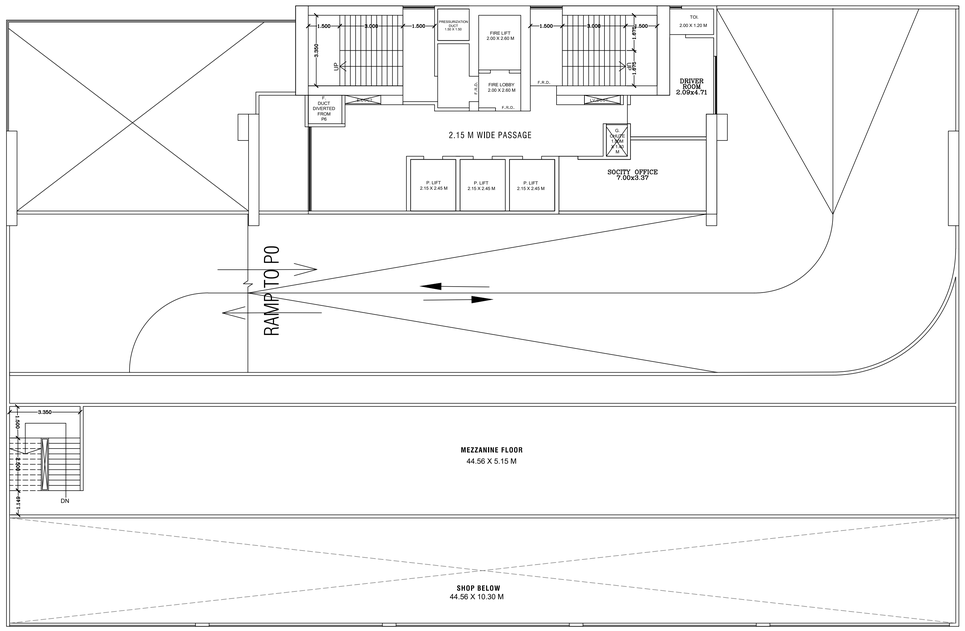

MEZZANINE FLOOR PLAN
SCALE 1:100

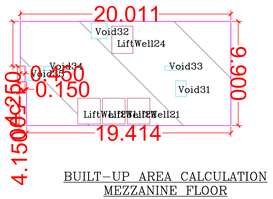

BUILT-UP AREA CALCULATION
MEZZANINE FLOOR
SCALE 1:200

BUILT UP AREA CALCULATION
FOR MEZZANINE FLOOR PLAN (VASANT SELECTIONS)

AREA NAME	LENGTH	WIDTH	Area(Sq.M)
BLOCK	20.014	9.900	194.485
BLOCK AREA TOTAL =194.485Sq.M			
Void35	-	-	2.160
Void36	-	-	0.880
Void33	-	-	0.880
Void32	-	-	2.250
Void31	-	-	1.500
LiftWell24	-	-	5.250
LiftWell23	-	-	5.267
LiftWell22	-	-	5.267
LiftWell21	-	-	5.267
TOTAL Deduction =28.271Sq.M			
Net BuiltUp Area =166.689 Sq.M			

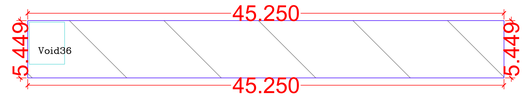

BUILT-UP AREA CALCULATION
MEZZANINE FLOOR
SCALE 1:200

BUILT UP AREA CALCULATION
FOR MEZZANINE FLOOR PLAN (VASANT SELECTIONS)

AREA NAME	LENGTH	WIDTH	Area(Sq.M)
BLOCK	45.250	5.449	246.560
BLOCK AREA TOTAL =246.560Sq.M			
VoidW	-	-	13.400
TOTAL Deduction =13.400Sq.M			
Net BuiltUp Area =233.160 Sq.M			

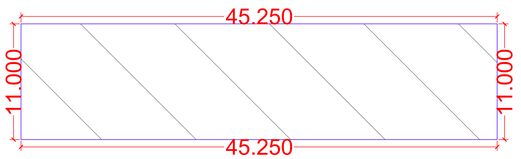

BUILT-UP AREA CALCULATION
GROUND FLOOR
SCALE 1:200

BUILT UP AREA CALCULATION
FOR GROUND FLOOR PLAN (VASANT SELECTIONS)

AREA NAME	LENGTH	WIDTH	Area(Sq.M)
BLOCK	45.250	11.000	497.750
BLOCK AREA TOTAL =497.750Sq.M			
TOTAL Deduction =0.000Sq.M			
Net BuiltUp Area =497.750 Sq.M			

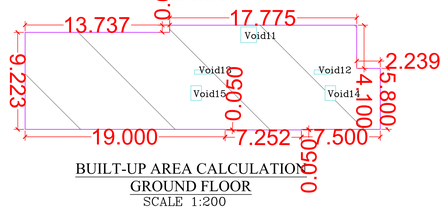

BUILT-UP AREA CALCULATION
GROUND FLOOR
SCALE 1:200

BUILT UP AREA CALCULATION
FOR GROUND FLOOR PLAN (VASANT SELECTIONS)

AREA NAME	LENGTH	WIDTH	Area(Sq.M)
BLOCK	19.750	9.900	195.618
BLOCK AREA TOTAL =195.618Sq.M			
Void15	-	-	1.400
Void10	-	-	1.400
Void13	-	-	0.880
Void12	-	-	0.880
Void11	-	-	2.250
TOTAL Deduction =6.810Sq.M			
Net BuiltUp Area =189.808 Sq.M			

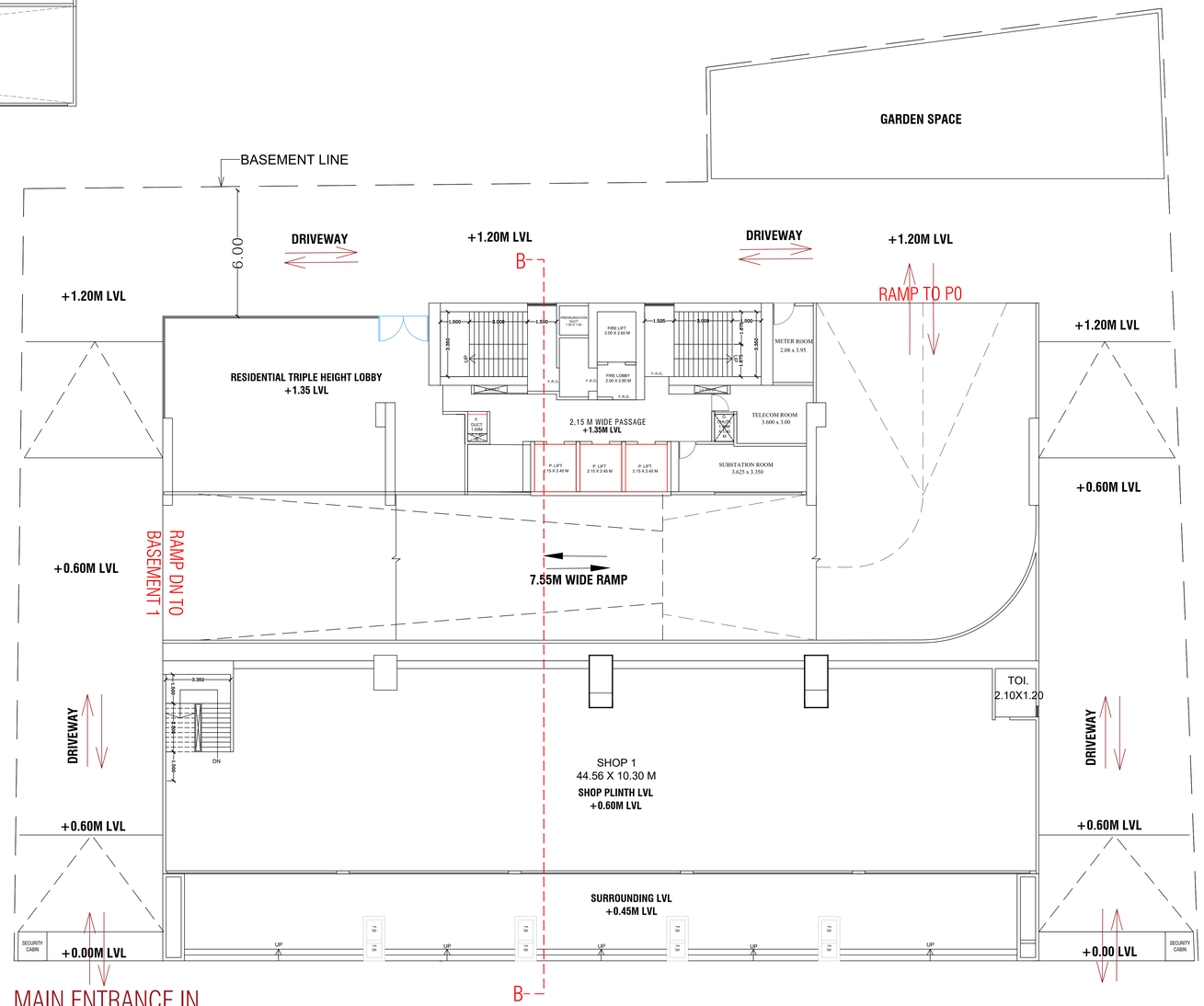

GROUND FLOOR PLAN
SCALE 1:100

Reserved for "Form 0" of "Approval" plan

LAYOUT PLAN | SHEET NO. 3/6

Proforma I : Area Statement

1. Area of plot (Minimum area of a, b, c to be considered)	3244.000
(a) As per ownership document (7/12, CTS extract)	3244.000
(b) as per TILR or City Survey measurement sheet	3244.000
(c) as per Demarcated drawing area	3244.000
LESS	
2.Area not in possession	0.000
3. Area Proposed for development (out of 1-2)	3244.000
4.Deductions for(out of 3)	
(a) Proposed D.P./ D.P. Road widening Area/Proposed DP road, Road under MMC act	0.000
(b) Any D.P. Reservation area	3244.000
(c) Green Belt	0.000
(Total a+b+c)	3244.000
5. Plot Under accommodation Reservation	3244.000
6.Recreational Open Space (Not applicable if plots are from sanctioned layout)	-
(a). If area is more than (5) 4000 sqmt - 10 % of (5) is required.	0.000
Proposed___	0.000
(b). If area is less than 4000 sqmt	-
(A)10 % Subject to minimum 200 sqmt(Not applicable if plots are from sanctioned layout or each plot admesuring less than 4000sq.m regularised under gunthewari act)	0.000
Proposed _____	0.000
(B)Exemption to leave open space subject to availing basic F.S.I of 75 %	-
(C)Exemption to leave open space subject to payment of 10 % land value of land at (?) as per annual statement of rate.	-
Architect/ Licensed Engineer/ Supervisor name and signature	
Registration No. of Architect/ License no. of Licensed Engineer/ Supervisor: CA/2019/106930	

Name Of : Owner VASANT BUILDCON
THROUGH PARTNER: RITESH KIMTANI

Postal Address : 1902/1 Rosemary Vasant Valley,Khadakpada Village Gandhare,Kalyan,Thane,Maharashtra-421301
Phone No.:9860792297

DESCRIPTION OF PROJECT :

Type of Proposal : Mixed
BUILDING ON CTS. NO./SURVEY NO.-23, H.NO.4/2,S.NO.21/2

SITE ADDRESS :
S.NO. 23/4/2,S.NO.21/2, VILLAGE GANDHARE,TAL.KALYAN WEST,THANE

Name Of Architect : Tejas Anil Nirgude

LOGO	ADDRESS OF OFFICE
	OFFICE - 5TH FLOOR, MIDTOWN EMBASSY, BEHIND VASANT VALLEY BUS DEPOT, OPP. NARAYANA SCHOOL, GANDHARE, KALYAN - 421301

OWNERS SIGN -	TECHNICAL PERSON SIGN
	TEJAS ANIL NIRGUDE Digitally signed by TEJAS ANIL NIRGUDE Date: 2026.01.05 15:11:00 +05'30'

	SCALE -	DATE:	Date: 05/01/26
	JOB NO - KDMCC-25-135403	CHECK BY -	ANIL

SUBMISSION DRAWING

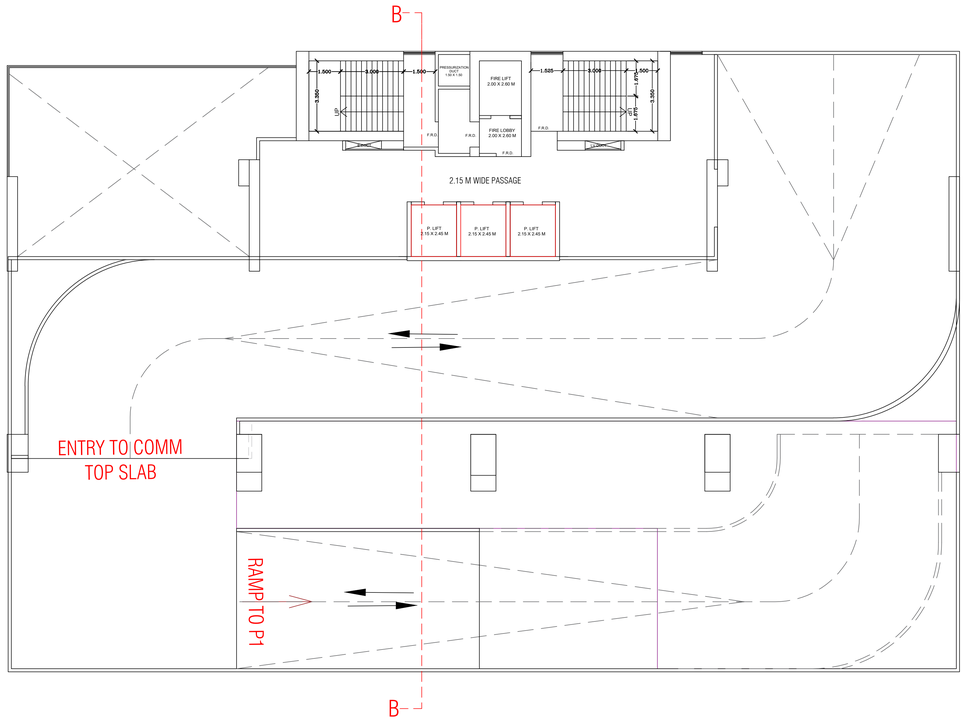

P0 LVL FLOOR PLAN
SCALE 1:100

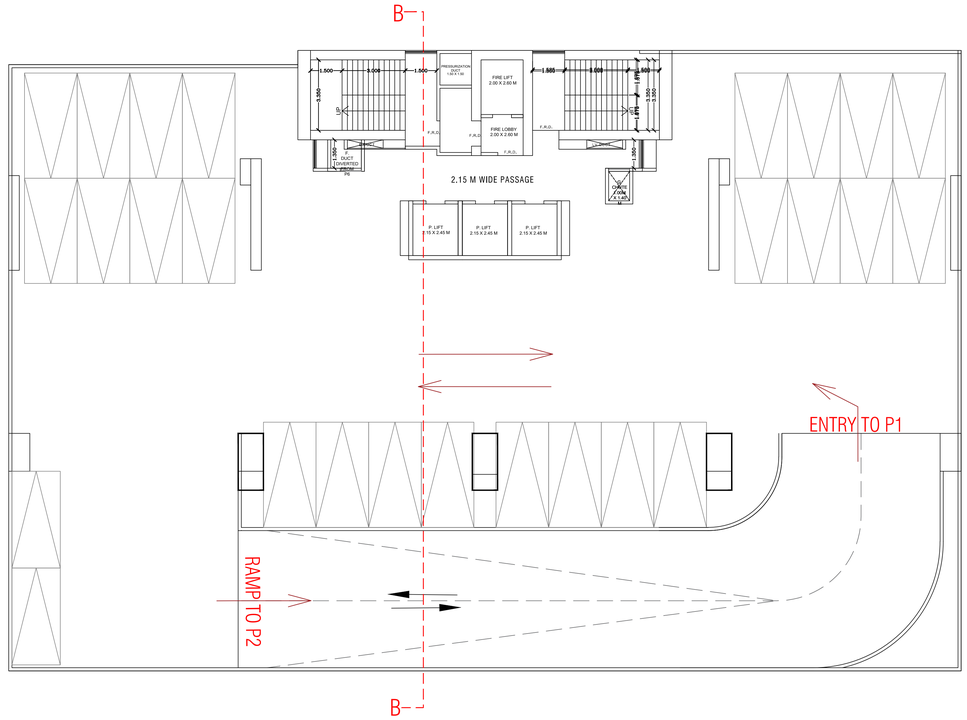

P1 TO P3 & P5 FLOOR PLAN
SCALE 1:100

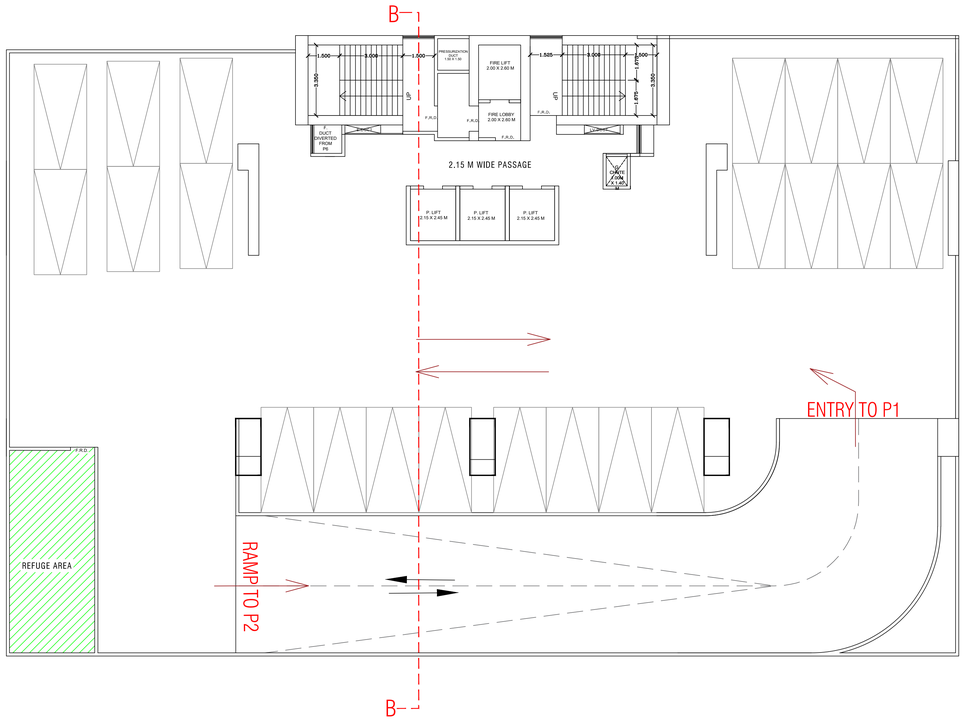

P4 LVL FLOOR PLAN
SCALE 1:100

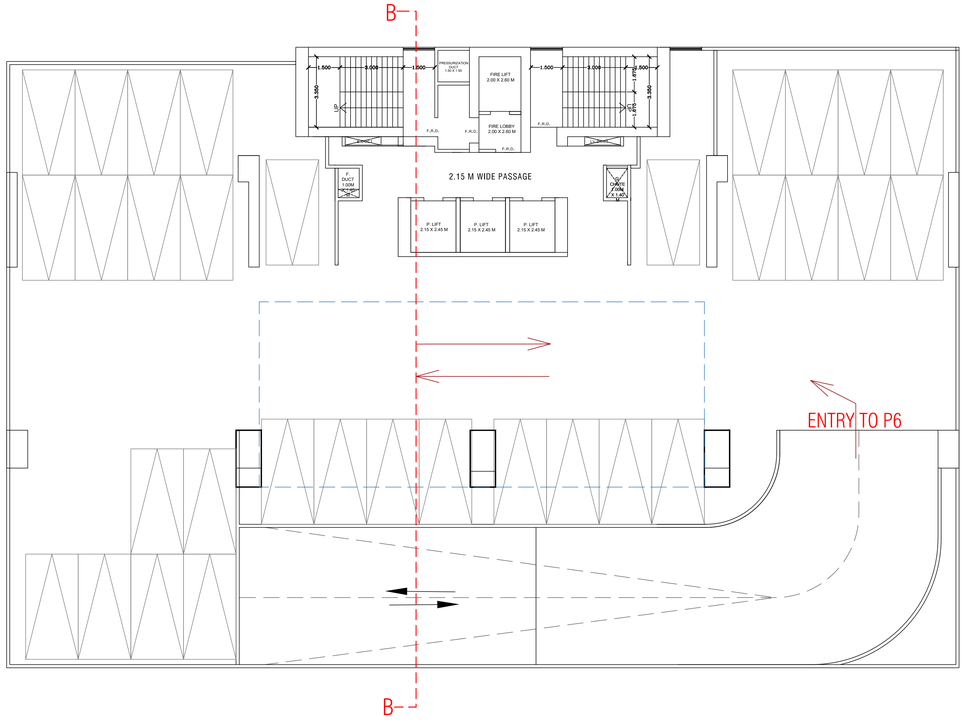

P6 LVL FLOOR PLAN
SCALE 1:100

Reserved for "Form 0" of Approval plan

LAYOUT PLAN | SHEET NO. 4/6

Proforma I : Area Statement

1. Area of plot (Minimum area of a, b, c to be considered)	3244.000
(a) As per ownership document (7/12, CTS extract)	3244.000
(b) as per TILR or City Survey measurement sheet	3244.000
(c) as per Demarcated drawing area	3244.000
LESS	
2.Area not in possession	0.000
3. Area Proposed for development (out of 1-2)	3244.000
4.Deductions for(out of 3)	
(a) Proposed D.P./ D.P. Road widening Area/Proposed DP road, Road under MMC act	0.000
(b) Any D.P. Reservation area	3244.000
(c) Green Belt	0.000
(Total a+b+c)	3244.000
5. Plot Under accommodation Reservation	3244.000
6.Recreational Open Space (Not applicable if plots are from sanctioned layout)	-
(a). If area is more than (5) 4000 sqmt - 10 % of (5) is required.	0.000
Proposed___	0.000
(b). If area is less than 4000 sqmt	-
(A)10 % Subject to minimum 200 sqmt(Not applicable if plots are from sanctioned layout or each plot admesuring less than 4000sq.m regularised under gunthewari act)	0.000
Proposed _____	0.000
(B)Exemption to leave open space subject to availing basic F.S.I of 75 %	-
(C)Exemption to leave open space subject to payment of 10 % land value of land at (7) as per annual statement of rate.	-
Architect/ Licensed Engineer/ Supervisor name and signature	
Registration No. of Architect/ License no. of Licensed Engineer/ Supervisor: CA/2019/106930	

Name Of : Owner VASANT BUILDCON
THROUGH PARTNER: RITESH KIMTANI

Postal Address : 1902/1 Rosemary Vasant Valley,Khadakpada Village Gandhare,Kalyan,Thane,Maharashtra-421301
Phone No. 9980792297

DESCRIPTION OF PROJECT :

Type of Proposal : Mixed
BUILDING ON CTS. NO./SURVEY NO.-23, H.NO.4/2,S.NO.21/2

SITE ADDRESS :
S.NO. 23/4/2,S.NO.21/2; VILLAGE GANDHARE,TAL.KALYAN WEST,THANE

Name Of Architect : Tejas Anil Nirgude

LOGO	ADDRESS OF OFFICE
	OFFICE - 5TH FLOOR, MIDTOWN EMBASSY, BEHIND VASANT VALLEY BUS DEPOT, OPP. NARAYANA SCHOOL, GANDHARE, KALYAN - 421301

OWNERS SIGN -	TECHNICAL PERSON SIGN
	TEJAS ANIL NIRGUDE Digitally signed by TEJAS ANIL NIRGUDE Date: 2026.01.05 12:14:40 +05'30'

	SCALE -	DATE: Date: 05/01/26
	JOB NO - KDMCC-25-135403	CHECK BY - ANIL

SUBMISSION DRAWING

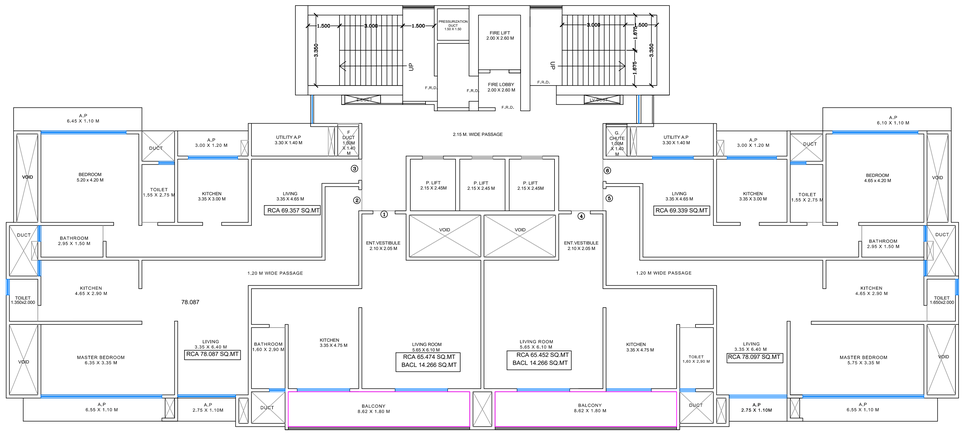

(2ND,3RD,5TH,6TH,9TH,11TH,14TH,15TH,17TH,19TH)

FLOOR PLAN

SCALE 1:100

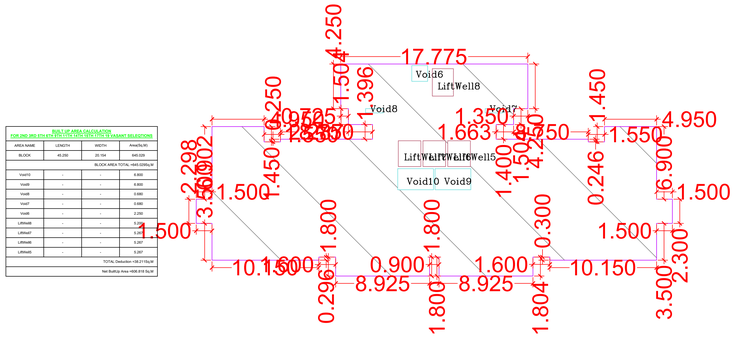

BUILT-UP AREA CACLCULATION

(2ND,3RD,5TH,8TH,9TH,11TH,14TH,15TH,17TH,19TH)

SCALE 1:200

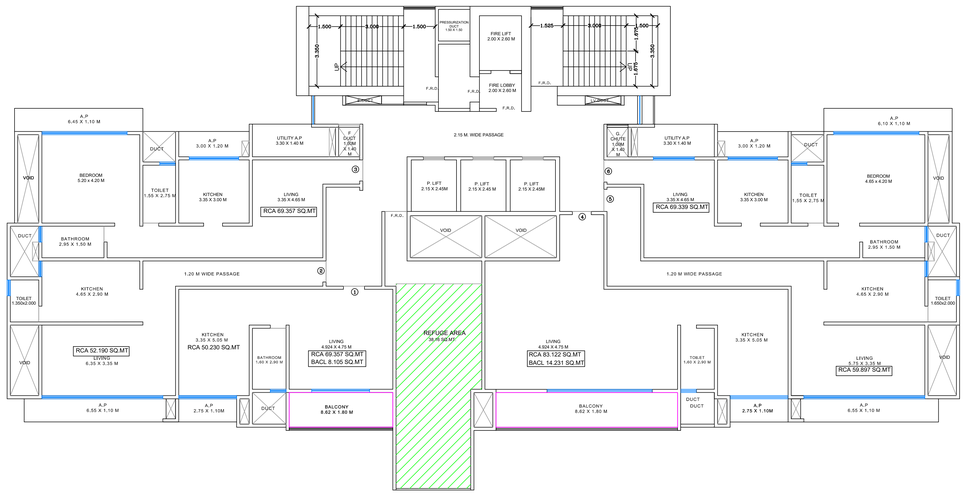

(1ST,4TH,10TH,13TH,16TH,18TH)

FLOOR PLAN

SCALE 1:100

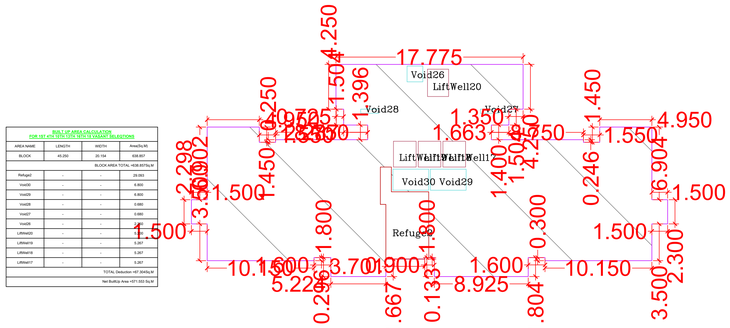

BUILT-UP AREA CACLCULATION

(1ST,4TH,10TH,13TH,16TH,18TH)

SCALE 1:200

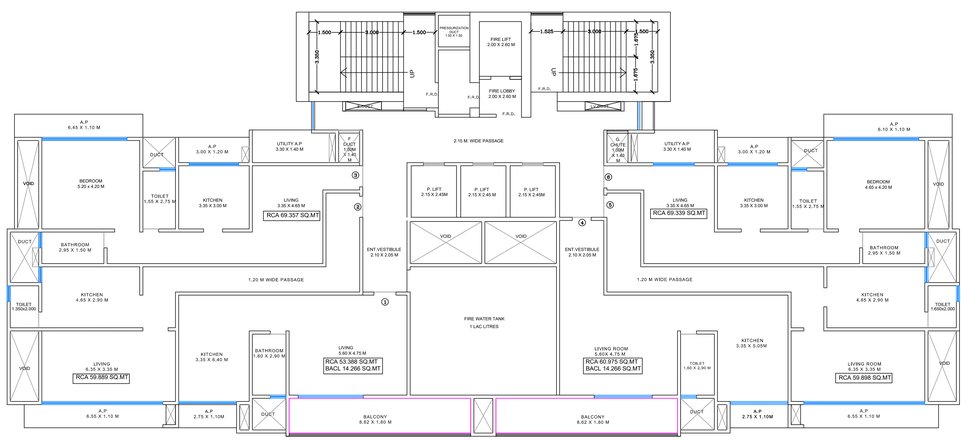

8TH FLOOR PLAN

SCALE 1:100

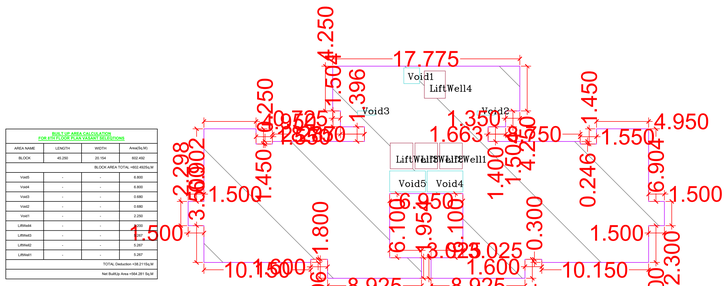

BUILT-UP AREA CACLCULATION

6TH FLOOR PLAN

SCALE 1:200

Reserved for "Rera" or "Approval" plan

LAYOUT PLAN | SHEET NO. 5/6

Proforma I : Area Statement	
1.Area of plot (Minimum area of a, b, c to be considered)	3244.000
(a) As per ownership document (7/12, CTS extract)	3244.000
(b) as per TILR or City Survey measurement sheet	3244.000
(c) as per Demarcated drawing area	3244.000
LESS	
2.Area not in possession	0.000
3. Area Proposed for development (out of 1-2)	3244.000
4.Deductions for(out of 3) :	
(a) Proposed D.P.(D.P. Road widening Area/Proposed DP road, Road under MMC act	0.000
(b) Any D.P. Reservation area	3244.000
(c) Green Belt	0.000
(Total a+b+c)	3244.000
5. Plot Under accommodation Reservation	3244.000
6.Recreational Open Space (Not applicable if plots are from sanctioned layout)	-
(a). If area is more than (5) 4000 sqmt - 10 % of (5) is required.	0.000
Proposed____	0.000
(b). If area is less than 4000 sqmt	-
(A)10 % Subject to minimum 200 sqmt(Not applicable if plots are from sanctioned layout or each plot admeasuring less than 4000sq.m regularised under gunthewari act)	0.000
Proposed _____	0.000
(B)Exemption to leave open space subject to availing basic F.S.I of 75 %	-
(C)Exemption to leave open space subject to payment of 10 % premium value of land at (7) as per annual statement of rate.	-
Name of Owner / Developer/ Supervisor name and signature	
Name of Architect : Tejas Anil Nirgude Registration No. of Architect: Licence no. of Licensed Engineer / Supervisor: CA/2019/106930	

DESCRIPTION OF PROJECT :

Type of Proposal : Mixed
BUILDING ON CTS. NO./SURVEY NO.-23, H.NO.4/2,S.NO.21/2

SITE ADDRESS :
S.NO. 23/4/2,S.NO.21/2, VILLAGE GANDHARE,TAL.KALYAN WEST,THANE

Name Of Architect : Tejas Anil Nirgude

LOGO	ADDRESS OF OFFICE	
	OFFICE - 5TH FLOOR, MEDTOWN EMBASSY, BEHIND VASANT VALLEY BUS DEPOT, OPP. NARAYANA SCHOOL, GANDHARE, KALYAN - 421301	
OWNERS SIGN -	TECONICAL PERSON SIGN	TEJAS ANIL NIRGUDE Digitally signed by TEJAS ANIL NIRGUDE Date: 2026.01.05 18:18:45 +05'30'
	SCALE -	DATE: Date: 05/01/26
	JOB NO - KDMCC-25-135403	CHECK BY - ANIL

SUBMISSION DRAWING

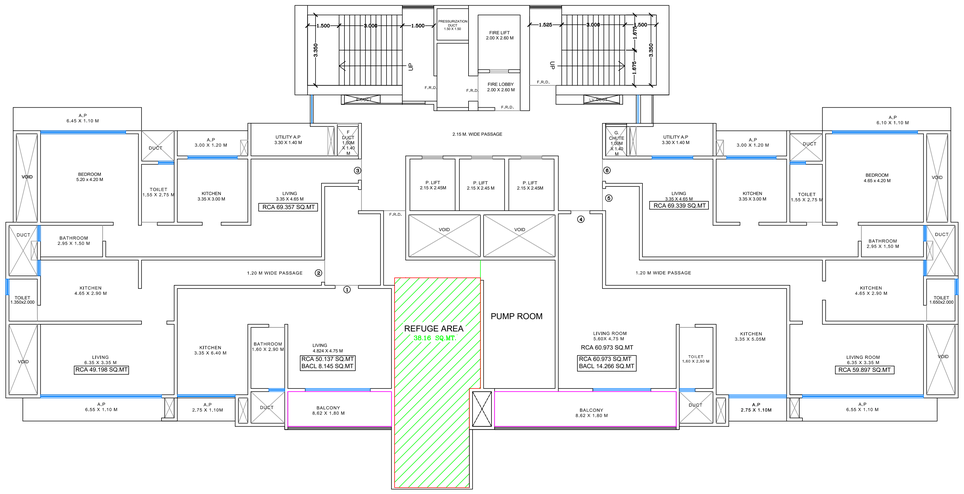

7TH FLOOR PLAN
SCALE 1:100

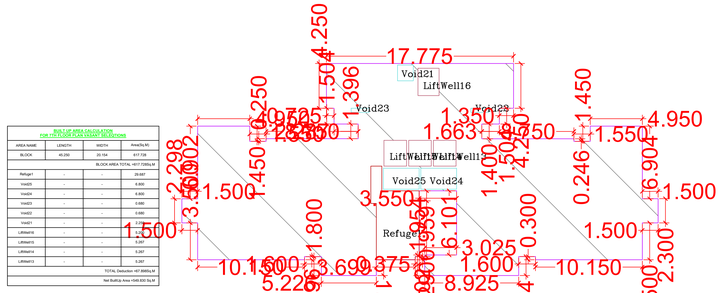

BUILT UP AREA CALCULATION
FOR 7TH FLOOR (AS PER MEASUREMENT SECTIONS)

AREA NAME	LENGTH	WIDTH	Area(Sq.M)
BLOCK	45.250	20.154	617.728
BLOCK AREA TOTAL=617.728Sq.M			
Refuge1	-	-	28.647
Void25	-	-	6.900
Void24	-	-	8.850
Void23	-	-	0.690
Void22	-	-	0.690
Void21	-	-	0.690
LiftWell16	-	-	1.350
LiftWell15	-	-	8.887
LiftWell14	-	-	5.267
LiftWell13	-	-	5.267
TOTAL Deduction =87.898Sq.M			
Net BuiltUp Area =529.830 Sq.M			

BUILT-UP AREA CACLCULATION
7TH FLOOR PLAN
SCALE 1:200

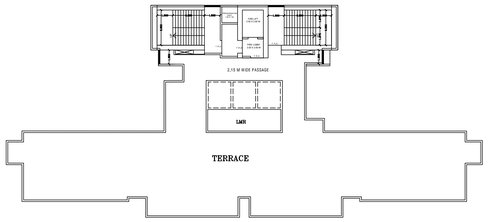

TERRACE PLAN
SCALE 1:200

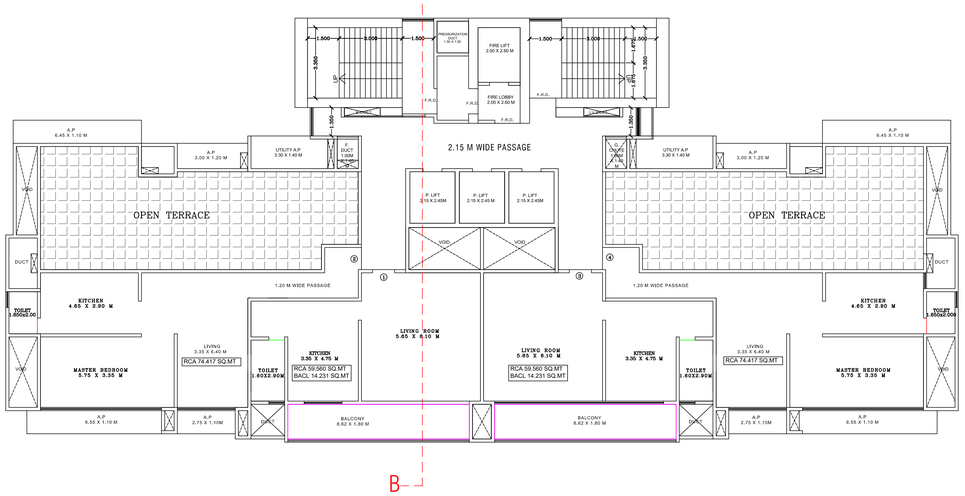

20TH FLOOR PLAN
SCALE 1:100

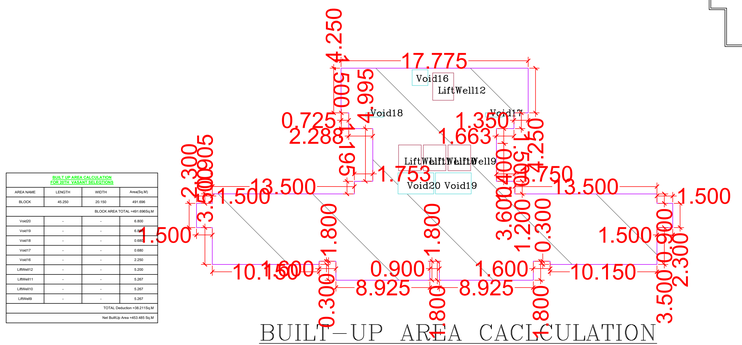

BUILT-UP AREA CALCULATION
FOR 20TH FLOOR (AS PER MEASUREMENT SECTIONS)

AREA NAME	LENGTH	WIDTH	Area(Sq.M)
BLOCK	45.250	20.150	491.696
BLOCK AREA TOTAL =491.696Sq.M			
Void20	-	-	6.900
Void19	-	-	6.900
Void18	-	-	0.690
Void17	-	-	0.690
Void16	-	-	2.250
LiftWell12	-	-	5.250
LiftWell11	-	-	5.267
LiftWell10	-	-	5.267
LiftWell9	-	-	5.267
TOTAL Deduction =38.211Sq.M			
Net BuiltUp Area =453.485 Sq.M			

BUILT-UP AREA CACLCULATION
20TH FLOOR PLAN
SCALE 1:200

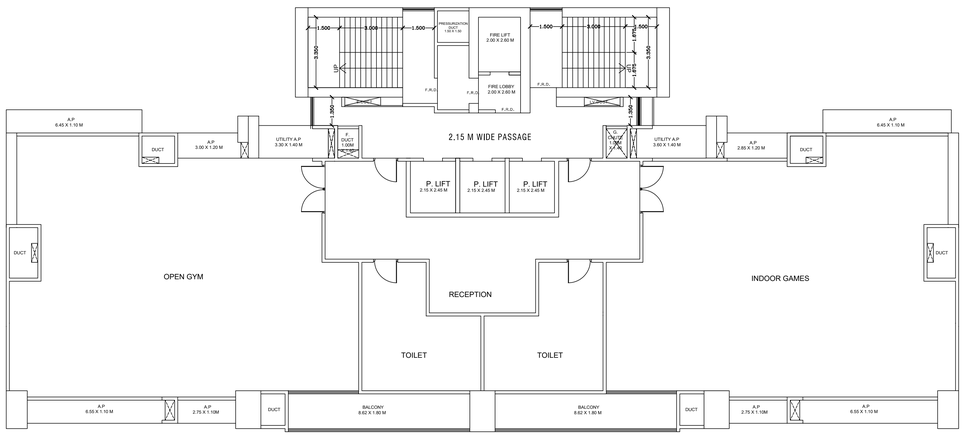

RECREATIONAL FLOOR PLAN(12TH FLOOR)
SCALE 1:100

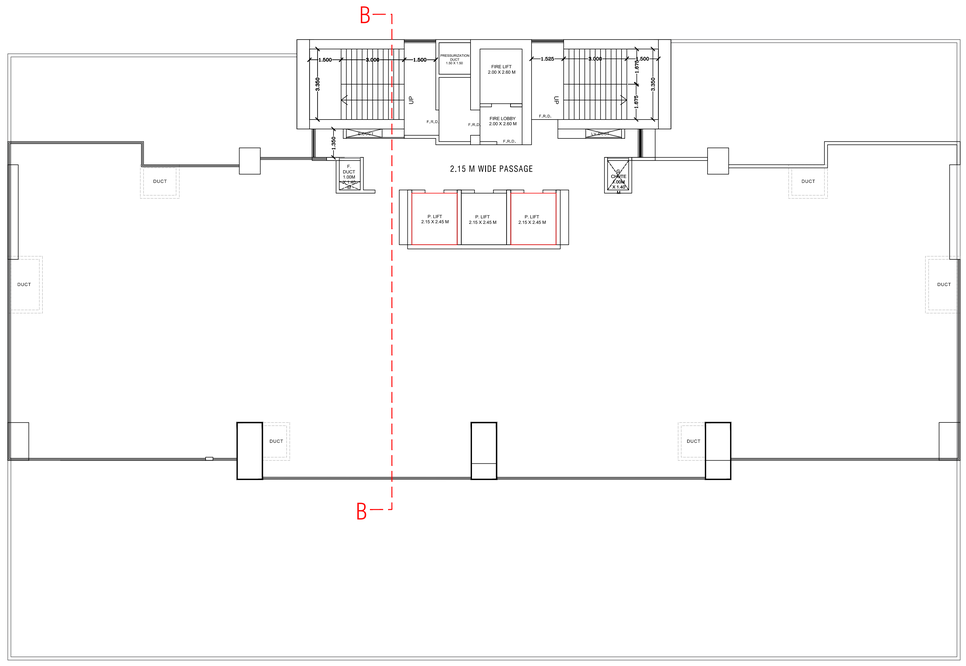

7 LEVEL RECREATIONAL FLOOR PLAN
SCALE 1:100

Reserved for Board of Approval plan

LAYOUT PLAN | SHEET NO. 6/6

Proforma 1 : Area Statement

1. Area of plot (Minimum area of a, b, c to be considered)	3244.000
(a) As per ownership document (7/12, CTS extract)	3244.000
(b) as per TILR or City Survey measurement sheet	3244.000
(c) as per Demarcated drawing area	3244.000
LESS	
2.Area not in possession	0.000
3. Area Proposed for development (out of 1-2)	3244.000
4.Deductions for(out of 3)	
(a) Proposed D.P./ D.P. Road widening Area/Proposed DP road, Road under MMC act	0.000
(b) Any D.P. Reservation area	3244.000
(c) Green Belt	0.000
(Total a+b+c)	3244.000
5. Plot Under accommodation Reservation	3244.000
6.Recreational Open Space (Not applicable if plots are from sanctioned layout)	-
(a). If area is more than (5) 4000 sqmt - 10 % of (5) is required.	0.000
Proposed____	0.000
(b). If area is less than 4000 sqmt	-
(A)10 % Subject to minimum 200 sqmt(Not applicable if plots are from sanctioned layout or each plot admesuring less than 4000sq.m regularised under gunthewari act)	0.000
Proposed _____	0.000
(B)Exemption to leave open space subject to availing basic F.S.I of 75 %	-
(C)Exemption to leave open space subject to payment of 10% of land value of land at (7) as per annual statement of rate.	-
Name of Owner / Developer / Supervisor name and signature	
Name of Architect / Licensed Engineer / Supervisor name and signature	
Registration No. of Architect / Licensed Engineer / Supervisor: CA/2019/106930	

DESCRIPTION OF PROJECT :

Type of Proposal : Mixed
BUILDING ON CTS. NO./SURVEY NO.-23, H.NO.4/2,S.NO.21/2

SITE ADDRESS :
S.NO. 23/4/2,S.NO.21/2, VILLAGE GANDHARE,TAL.KALYAN WEST,THANE

Name Of Architect : Tejas Anil Nirgude

LOGO	ADDRESS OF OFFICE
	OFFICE - 5TH FLOOR, MIDTOWN EMBASSY, BEHIND VASANT VALLEY BUS DEPOT, OPP. NARAYANA SCHOOL, GANDHARE, KALYAN - 421301
OWNERS SIGN -	TECHNICAL PERSON SIGN TEJAS ANIL NIRGUDE Digitally signed by TEJAS ANIL NIRGUDE Date: 2026.01.05 18:20:14 +05'30'

	SCALE -	DATE:	Date: 05/01/26
	JOB NO - KDMCC-25-135403	CHECK BY -	ANIL

SUBMISSION DRAWING