VASANT SELEGTIONS															
BUILDING	FLOORS	FSI AREA						BALCONY	TERRACE	LIFT	LIFTWELL	DUCT	VENT	OTHER	TOTAL
		COMM.	RESI.	IND.	EDU.	INS.	MUZZ.	PROP.					SHAFT	DEDUCTION	FSI AREA
VASANT SELEGTIONS	8TH FLOOR PLAN	0.000	502.462	0.000	0.000	0.000	0.000	28.532	0.000	0.000	21.001	0.000	0.000	17.210	564.281
VASANT SELEGTIONS	2ND 3RD 5TH 6TH 8TH 11TH 14TH 15TH 17TH 19	0.000	6450.290	0.000	0.000	0.000	0.000	285.320	0.000	0.000	210.010	0.000	0.000	172.100	6968.180
VASANT SELEGTIONS	GROUND FLOOR PLAN	497.750	316.016	0.000	0.000	0.000	0.000	0.000	0.000	21.001	0.000	0.000	0.000	6.410	807.356
VASANT SELEGTIONS	20TH	0.000	491.696	0.000	0.000	0.000	0.000	28.462	0.000	0.000	21.001	0.000	0.000	17.210	463.485
VASANT SELEGTIONS	7TH FLOOR PLAN	0.000	517.728	0.000	0.000	0.000	0.000	22.411	0.000	0.000	21.001	0.000	0.000	46.897	546.830
VASANT SELEGTIONS	1ST 4TH 10TH 12TH 16TH 18	0.000	5833.142	0.000	0.000	0.000	0.000	134.016	0.000	0.000	126.006	0.000	0.000	277.818	3429.318
VASANT SELEGTIONS	MEZZANINE FLOOR PLAN	248.560	194.960	0.000	0.000	0.000	0.000	0.000	0.000	0.000	21.001	0.000	0.000	20.670	386.849
VASANT SELEGTIONS	TOTAL	744.310	13506.324	0.000	0.000	0.000	0.000	498.741	0.000	21.001	420.020	0.000	0.000	558.315	12272.299

FSI DETAILS											
9 Index	Basic FSI (on serial no 1)	Premium FSI (on serial no 2)	TDR/DR (on serial no 3)	Incentive FSI for green building Available (on basis F3b)	Additional FSI (16.10.1 Note 2)	Ancillary Area FSI (2.2(viii-a))	Ancillary Area FSI (2.2(viii-b))	Total	Inclusive Housing (IHP)(on Applicable	Drawing Value
9.1 Permissible Index	1.100	0.500	0.900	0.000	0.000	0.000	0.000	2.500	0.000	0.000
9.2 Existing Consumed Index	0.000	0.000	0.000	0.000	0.000	0.000	0.000	0.000	0.000	0.000
9.3 Balance Index Left To be Consumed	1.100	0.500	0.900	0.000	0.000	0.000	0.000	0.000	0.000	0.000
9.4 Total Permissible PLine Area	3568.400	1622.000	2919.600	0.000	0.000	4329.323	324.849	12764.172	0.000	0.000
9.5 Proposed F Line Area consumed 9.4 (	3080.000	1622.000	2919.600	0.000	0.000	4325.851	324.849	12272.299	0.000	12272.299
9.6 Index Consumed	0.949	0.500	0.900	0.000	0.000	0.000	0.000	2.349	0.000	0.000

Carpet Area Table								
Building Name	Floor Name	Carpet name	Tenement No.	Carpet Area	Enclosed Balcony Area	Normal Balcony Area	Mezzanine Area	Total Carpet Area
VASANT SELEGTIONS	1ST 4TH 10TH 12TH 16TH 18	1	6	50.230	0.000	8.155	0.000	50.230
VASANT SELEGTIONS	1ST 4TH 10TH 12TH 16TH 18	2	6	52.190	0.000	0.000	0.000	52.190
VASANT SELEGTIONS	1ST 4TH 10TH 12TH 16TH 18	3	6	69.357	0.000	0.000	0.000	69.357
VASANT SELEGTIONS	1ST 4TH 10TH 12TH 16TH 18	4	6	83.122	0.000	14.231	0.000	83.122
VASANT SELEGTIONS	1ST 4TH 10TH 12TH 16TH 18	5	6	59.897	0.000	0.000	0.000	59.897
VASANT SELEGTIONS	1ST 4TH 10TH 12TH 16TH 18	6	6	69.339	0.000	0.000	0.000	69.339
VASANT SELEGTIONS	7TH FLOOR PLAN	1	1	50.237	0.000	8.140	0.000	50.237
VASANT SELEGTIONS	7TH FLOOR PLAN	2	1	49.198	0.000	0.000	0.000	49.198
VASANT SELEGTIONS	7TH FLOOR PLAN	3	1	69.357	0.000	0.000	0.000	69.357
VASANT SELEGTIONS	7TH FLOOR PLAN	4	1	60.973	0.000	14.266	0.000	60.973
VASANT SELEGTIONS	7TH FLOOR PLAN	5	1	59.897	0.000	0.000	0.000	59.897
VASANT SELEGTIONS	7TH FLOOR PLAN	6	1	69.339	0.000	0.000	0.000	69.339
VASANT SELEGTIONS	20TH	1	1	65.474	0.000	0.000	0.000	65.474
VASANT SELEGTIONS	20TH	2	1	80.177	0.000	0.000	0.000	80.177
VASANT SELEGTIONS	20TH	3	1	65.474	0.000	14.231	0.000	65.474
VASANT SELEGTIONS	20TH	4	1	78.097	0.000	0.000	0.000	78.097
VASANT SELEGTIONS	GROUND FLOOR PLAN	1	1	469.625	0.000	0.000	0.000	469.625
VASANT SELEGTIONS	2ND 3RD 5TH 6TH 8TH 11TH 14TH 15TH 17TH 19	1	10	65.474	0.000	14.266	0.000	65.474
VASANT SELEGTIONS	2ND 3RD 5TH 6TH 8TH 11TH 14TH 15TH 17TH 19	2	10	78.087	0.000	0.000	0.000	78.087
VASANT SELEGTIONS	2ND 3RD 5TH 6TH 8TH 11TH 14TH 15TH 17TH 19	3	10	69.357	0.000	0.000	0.000	69.357
VASANT SELEGTIONS	2ND 3RD 5TH 6TH 8TH 11TH 14TH 15TH 17TH 19	4	10	65.452	0.000	14.266	0.000	65.452
VASANT SELEGTIONS	2ND 3RD 5TH 6TH 8TH 11TH 14TH 15TH 17TH 19	5	10	78.097	0.000	0.000	0.000	78.097
VASANT SELEGTIONS	2ND 3RD 5TH 6TH 8TH 11TH 14TH 15TH 17TH 19	6	10	69.339	0.000	0.000	0.000	69.339
VASANT SELEGTIONS	8TH FLOOR PLAN	1	1	53.383	0.000	0.000	0.000	53.383
VASANT SELEGTIONS	8TH FLOOR PLAN	2	1	59.889	0.000	0.000	0.000	59.889
VASANT SELEGTIONS	8TH FLOOR PLAN	3	1	69.357	0.000	0.000	0.000	69.357
VASANT SELEGTIONS	8TH FLOOR PLAN	4	1	60.975	0.000	14.266	0.000	60.975
VASANT SELEGTIONS	8TH FLOOR PLAN	5	1	59.898	0.000	0.000	0.000	59.898
VASANT SELEGTIONS	8TH FLOOR PLAN	6	1	69.339	0.000	0.000	0.000	69.339

Accomodation Reservation Detail

Reservation Details				Reservation Area Details			
Type	Name	Number	Total Area	Area Already acquired/under AR	Balance area to be acquired	Area of reservation under this proposal	Remarks

Type of Accomodation Reservation (Composite Type but individual Building/wing)

Reservation Details										
Reservation Type	Name	Number	Area of Reservation under this proposal	Required Persent to be surrendered	Required Area of Plot	Proposed Area to be handed over	Required BUA of constructed amenity	Proposed BUA of constructed amenity	Status

Parking Check (Table 6B)								
			Ad hoc		Required			
Building Name	USE	TENAMENT AREA	car	scooter	NO.OF Units/Area/Units	car	scooter	Transport Vehicle/Area/Units size/Mini Bus
VASANT SELEGTIONS	Commercial	For every 100 sq.m. carpet area car park is required	2	6	469.625	9.393	28.179	-
VASANT SELEGTIONS	Residential	For every two tenements with each tenement having carpet area equal to or above 40 sq.m. but less than 80 sq.m.	1	2	106	53.000	106.000	-
VASANT SELEGTIONS	Residential	For every tenement having carpet area equal to or above 80 sq.m. but less than 150 sq.m.	1	1	6	6.000	6.000	-
Total			-	-	-	68.393	140.179	-
Visitors parking(5%)	-	-	-	-	-	2.050	5.600	-
Total			-	-	-	71.343	145.779	0.000

Parking Check As Per Multiplying Factor 0.000 (note: *) 6 scooter equals to 1 car, proposed composite parking for car= 33

	Required			Proposed			
Building Name	Car	Scooter	Transport Vehicle/Area/Units size/Mini bus	Car	Scooter	Transport Vehicle/Area/Units size/Mini bus	Status
Total	89	0	0	90	0	0	OK

Telecom Room			
Building	Req. Size	Prop. Size	Status
VASANT SELEGTIONS	3.00EX3.400	3.00EX3.400	OK

SCHEDULE OF OPENING				
BLD NAME	NAME	LENGTH	HEIGHT	Nos.
VASANT SELEGTIONS	V	0.750	0.750	36
VASANT SELEGTIONS	V	0.986	0.750	6

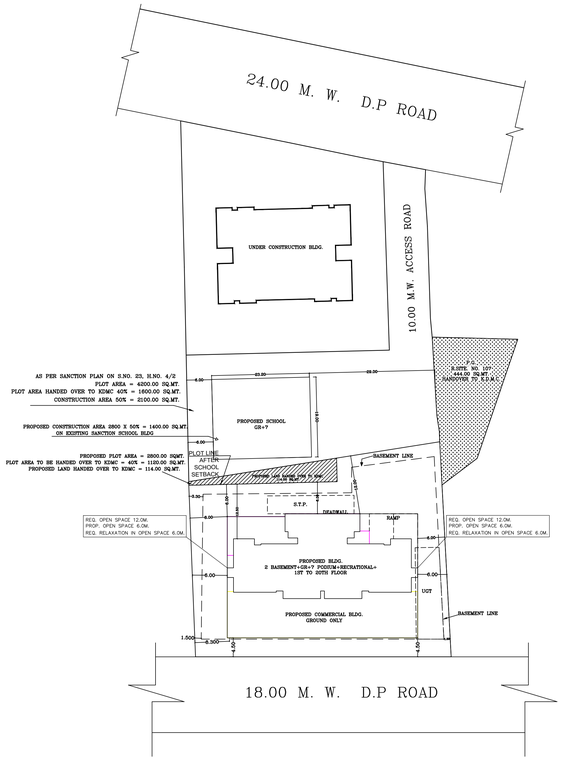

BLOCK PLAN
(SCALE 1 : 500)

LAYOUT PLAN
SCALE 1:500

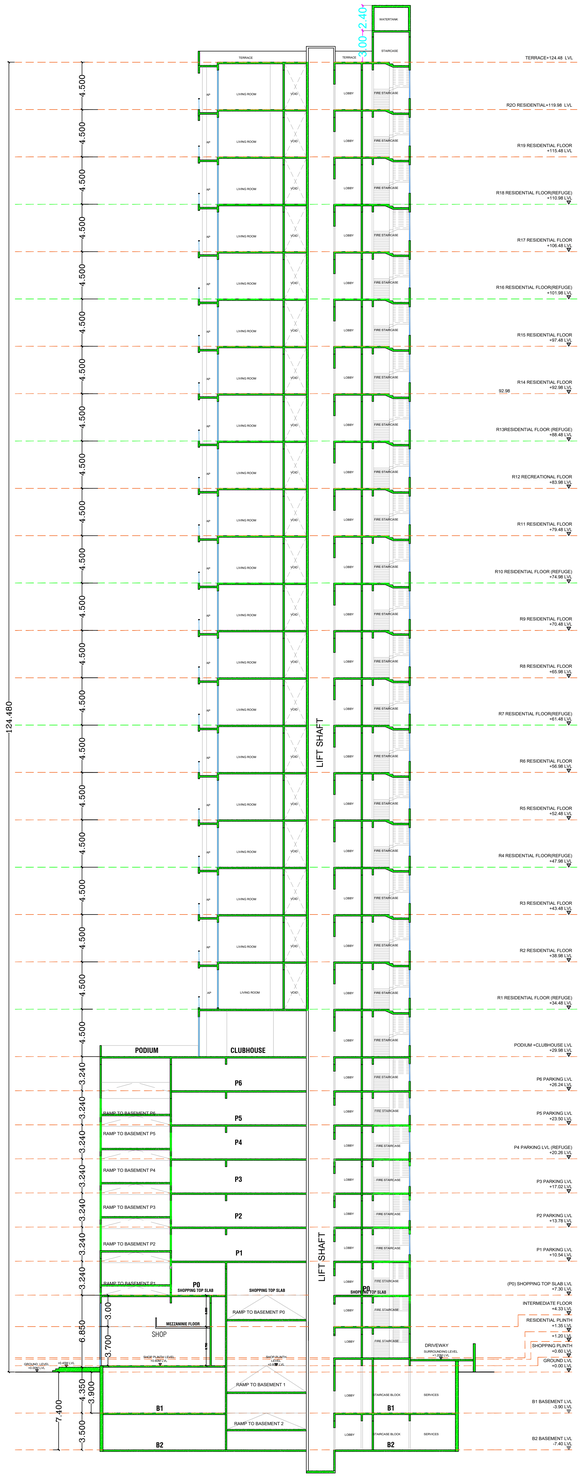

SECTION PLAN B–B
SCALE 1:200

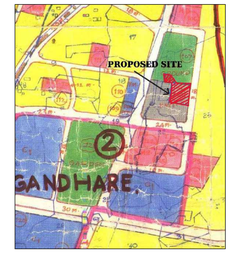

LOCATION PLAN

Project Details
Project Location KDMC(UP VILLAGE)
Zone Type :Residential Zone
Location :Non-Congested
Name of service :Accommodation reservations
Sub service :
City No./Survey No.: 23
Tahsil :Section 9
Mouza :Sandhare
Proviso Value :0.000
Separation/CRZ Zone Area :0.000

LEGENDS:
AS PER SANCTION PLAN
PROPOSED CONSTRUCTION
AS PER KDMC APPROVED DRAINAGE LINE SHOWN YELLOW LIGHT
EXISTING DRAINAGE LINE SHOWN BLUE
ENCLOSED BAL SHOWN BROWN
TERRACE SHOWN DARK YELLOW
OPEN BAL SHOWN GREEN
EXISTING SHOWN BLUE DOTTED

Reserved for "Room of Approval" plan

LAYOUT PLAN | SHEET NO. 1/6

A.		AREA STATEMENT	
1	A1	AREA OF PLOT	
	a)	As per ownership document (7/12,cts extract) (2800.00 + 444.00)	3244.00
	b)	As per measurement sheet	
	c)	As per site	
2		DEDUCTIONS FOR	
	a)	D.P. ROAD AREA	
	b)	GARDEN. RESERVATION AREA	444.00
	c)	P.S. RESERVATION	2800.00
		TOTAL (a+b+c)	
3		BALANCE AREA OF PLOT (1 Minus 2) P.S. RESERVATION	2800.00
4		AMMENITY SPACE IF APPLICABLE	
	a) REQUIRED		
	b) ADJUSTMENT OF IF ANY		
	c) BALANCE PROPOSED		
5		NET PLOT AREA (3-4(C))	2800.00
6		RECREATIONAL OPEN SPACE (IF APPLICABLE)	
	a) REQUIRED 10%		
	b) PROPOSED		
7		INTERNAL ROAD AREA	
8		PLOTABLE AREA	
9		BUILT UP AREA WITH REFERANCE TO BASIC FSI AS PER FRONT ROAD WIDTH 2800.00 X 1.10 = 3080.00	3080.00
10		ADDITION OF FSI ON PAYMENT PREMIUM 3244 X 0.5	1622.00
	a) MAXIMUM PERMISSIBLE PREMIUM FSI BASED ON ROAD WIDTH /TOD ZONE		
	b) PROPOSED FSI ON PAYMENT OF PREMIUM		
11		IN-SITU FSI/TDR LOADING	
	a) IN-SITU AREA AGAINST D.P. ROAD SR.NO.2.(a) AS PER SANCTION P.S.RESERVATION 444.00 X 2.00 = 888.00		888.00
	b) IN-SITU AREA AGAINST AMENITY SPACE IF HANDED OVER 2.00 OR 1.85 X SR. NO.4 (b) AND / or (C)		
	c) TDR AREA 3244.00 X 0.90 = 2919.60 - 888.00 = 2031.60		2031.60
	d) TOTAL IN-SITU / TDR LOADING PROPOSED (11 (a)+(b)+(c)		2919.60
12		ADDITIONAL FSI AREA UNDER CHAPTER NO.7	
13		TOTAL ENTITLEMENT OF FSI IN THE PROPOSAL	
	a) [9+10(b)+11(d) or 12 WHICHEVER IS APPLICABLE		7621.60
	b) ANCILLARY AREA FSI UPTO 60% OR 80% WITH PAYMENT OF CHARGES COMMERCIAL 406.06(X 0.8 = 324.848 RESIDENTIAL 7621.60 - 406.06) = 7215.559 X 0.6 = 4329.323 TOTAL = 4654.171 OUT OF THIS = 4650.699		4650.699
	c) TOTAL ENTITLEMENT (a+b)		12272.299
14		MAXIMUM UTILISATION LIMIT OF FSI (BUILDING POTENTIAL) PERMISSIBLE AS PER ROAD WIDTH As per Regulation no. 6.1 or 6.2 or 6.3 or 6.4 as applicable) x 1.6 or 1.8	
15		TOTAL BUILT UP AREA IN PROPOSAL (EXCLUDING AREA AT SR. NO.17(b)	
16		a) EXISTING BUILT UP AREA a) PROPOSED BUILT UP AREA (AS PER P LINE) c) TOTAL (a+b)	12272.299
16		FSI CONSUMED (15/13)	
17		AREA FOR INCLUSIVE HOUSING IF ANY	

Certificate of Area:
Certified that the plot under reference was surveyed by me on_____ and the dimensions of sides etc. of plot stated on plan are as measured on site and the area so worked out tallies with the area stated in document of Ownership/ T.P. Scheme Records/Land Records Department/City Survey records.

TEJAS ANIL NIRGUDE
Signature
(Name of Architect/ Licensed Engineer/ Supervisor.)

Owner's Declaration -
I/We undersigned hereby confirm that I/We would abide by plans approved by Authority / Collector. I/We would execute the structure as per approved plans. Also I/We would execute the work under supervision of proper technical person so as to ensure the quality and safety at the work site.

Owner (s) name and signature

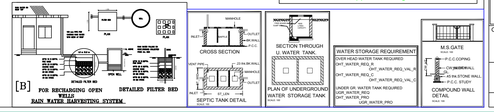

Proforma I : Area Statement	
1. Area of plot (Minimum area of a, b, c to be considered)	3244.000
(a) As per ownership document (7/12, CTS extract)	3244.000
(b) as per TILR or City Survey measurement sheet	3244.000
(c) as per Demarcated drawing area	3244.000
LESS	
2.Area not in possession	0.000
3. Area Proposed for development (out of 1-2)	3244.000
4.Deductions for(out of 3)	
(a) Proposed D.P./ D.P. Road widening Area/Proposed DP road, Road under MMC act	0.000
(b) Any D.P. Reservation area	3244.000
(c) Green Belt	0.000
(Total a+b+c)	3244.000
5. Plot Under accommodation Reservation	3244.000
6.Recreational Open Space (Not applicable if plots are from sanctioned layout)	-
(a). If area is more than (5) 4000 sqmt - 10 % of (5) is required.	0.000
Proposed___	0.000
(b). If area is less than 4000 sqmt	-
(A)10 % Subject to minimum 200 sqmt(Not applicable if plots are from sanctioned layout or each plot admeasuring less than 4000sq.m regularised under gunthewari act)	0.000
Proposed _____	0.000
(B)Exemption to leave open space subject to availing basic F.S.I of 75 %	-
(C)Exemption to leave open space subject to payment of 10 % land value of land at(7) as per annual statement of rate.	-
Architect/ Licensed Engineer/ Supervisor name and signature	
Registration No. of Architect/ License no. of Licensed Engineer/ Supervisor. CA/2019/106930	

Name Of : Owner VASANT BUILDCON
THROUGH PARTNER: RITESH KIMTANI

Postal Address : 1902/1 Rosemary Vasant Valley,Khadakpada Village Gandhare,Kalyan,Thane,Maharashtra-421301
Phone No.:9860792297

DESCRIPTION OF PROJECT :

Type of Proposal : Mixed
BUILDING ON CTS. NO./SURVEY NO.-23, H.NO.4/2,S.NO.21/2

SITE ADDRESS :
S.NO. 23/4/2,S.NO.21/2, VILLAGE GANDHARE,TAL.KALYAN WEST,THANE

Name Of Architect : Tejas Anil Nirgude

LOGO	ADDRESS OF OFFICE
	OFFICE - 5TH FLOOR, MIDTOWN EMBASSY, BEHIND VASANT VALLEY BUS DEPOT, OPP. NARAYANA SCHOOL, GANDHARE, KALYAN - 421301

OWNERS SIGN -	TECHNICAL PERSON SIGN TEJAS ANIL NIRGUDE Digitally signed by TEJAS ANIL NIRGUDE Date: 2026.01.07 15:48:31 +05'30'
SCALE -	DATE: Date: 05/01/26
JOB NO - KDMCC-25-135403	CHECK BY - ANIL

SUBMISSION DRAWING

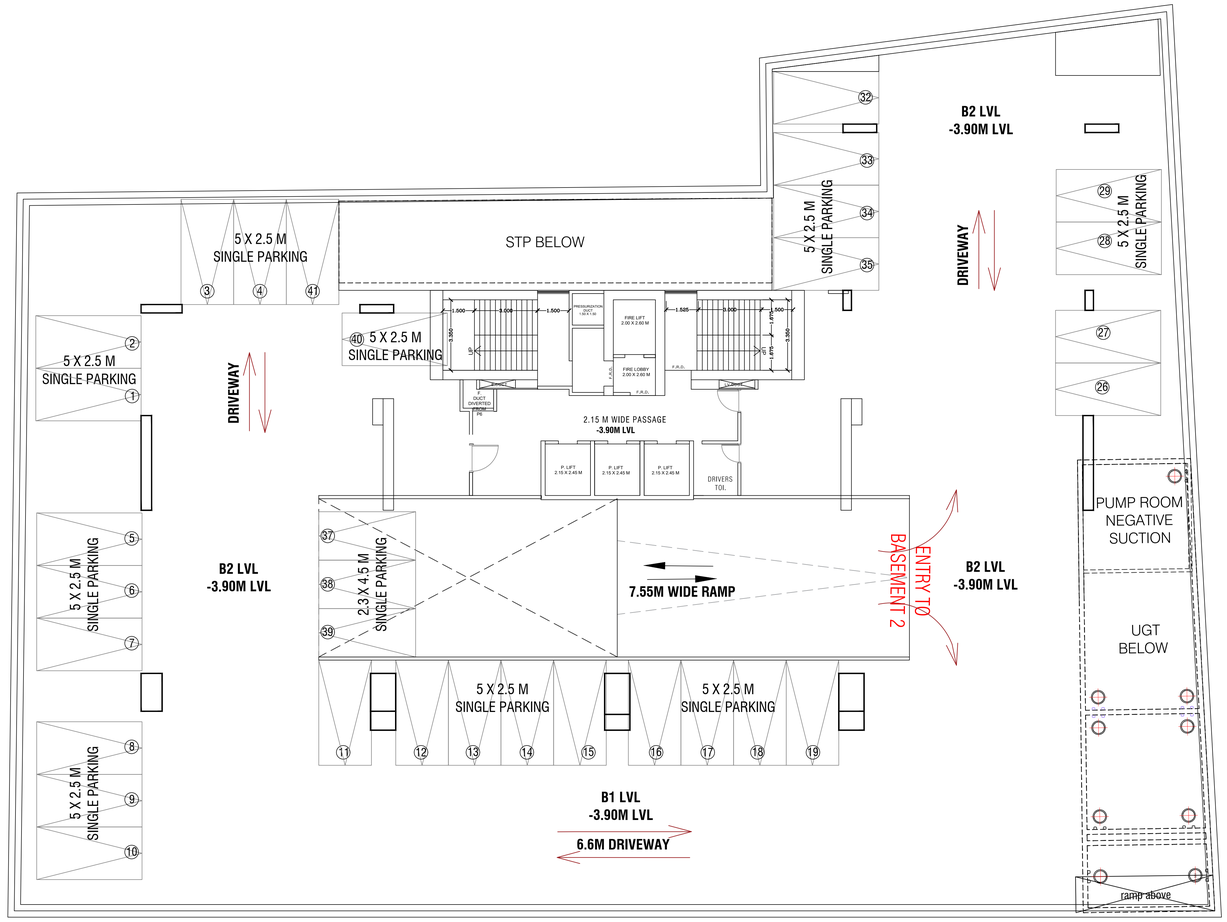

BASEMENT (B2) FLOOR PLAN
SCALE 1:100

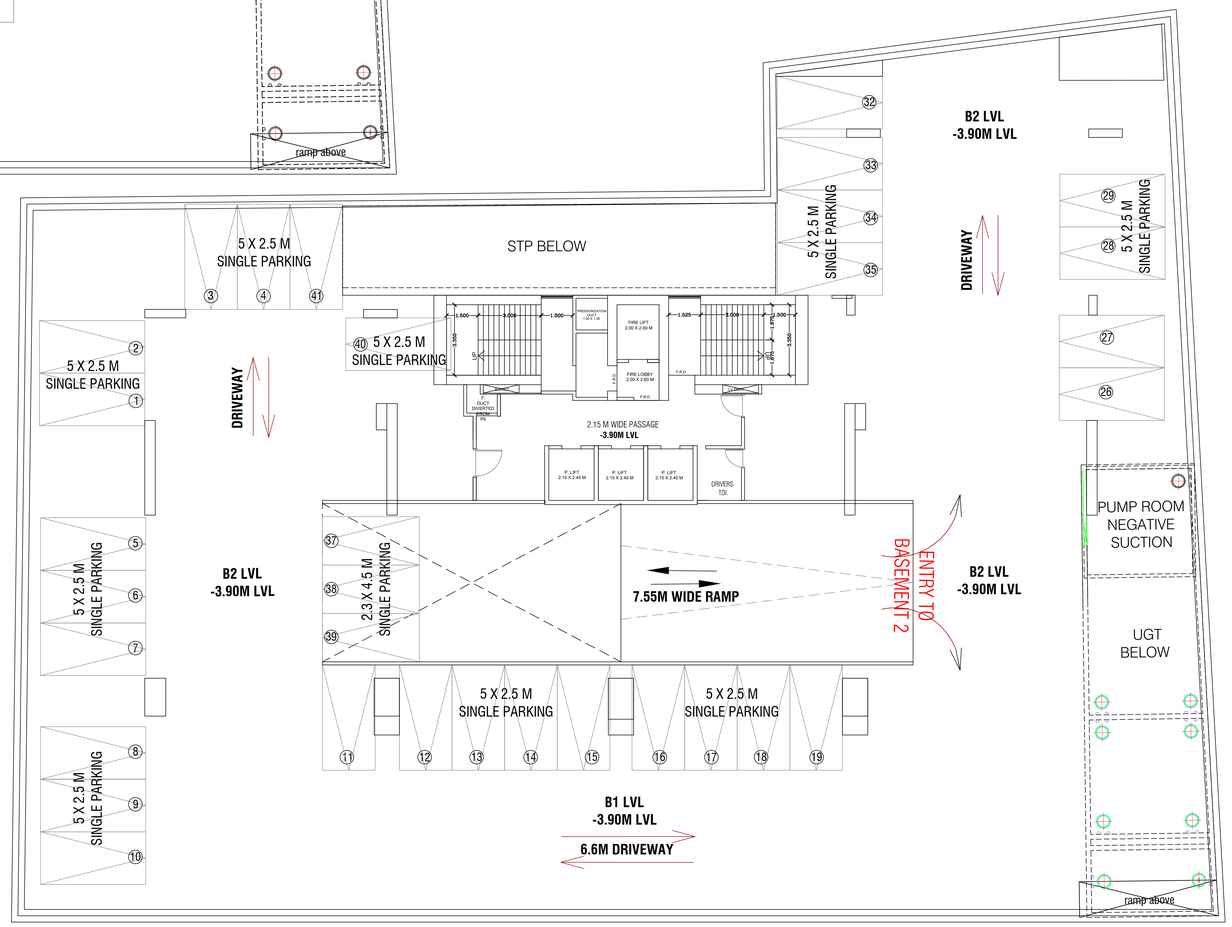

BASEMENT (B1) FLOOR PLAN
SCALE 1:100

Reserved for "Rera/Cll -of Approval" plan

LAYOUT PLAN | SHEET NO. 2/6

Proforma I : Area Statement

1. Area of plot (Minimum area of a, b, c to be considered)	3244.000
(a) As per ownership document (7/12, CTS extract)	3244.000
(b) as per TILR or City Survey measurement sheet	3244.000
(c) as per Demarcated drawing area	3244.000
LESS	
2.Area not in possession	0.000
3. Area Proposed for development (out of 1-2)	3244.000
4.Deductions for(out of 3)	
(a) Proposed D.P./ D.P. Road widening Area/Proposed DP road, Road under MMC act	0.000
(b) Any D.P. Reservation area	3244.000
(c) Green Belt	0.000
(Total a+b+c)	3244.000
5. Plot Under accommodation Reservation	3244.000
6.Recreational Open Space (Not applicable if plots are from sanctioned layout)	-
(a). If area is more than (5) 4000 sqmt - 10 % of (5) is required.	0.000
Proposed___	0.000
(b). If area is less than 4000 sqmt	-
(A)10 % Subject to minimum 200 sqmt(Not applicable if plots are from sanctioned layout or each plot admesuring less than 4000sq.m regularised under gunthewari act)	0.000
Proposed ___	0.000
(B)Exemption to leave open space subject to availing basic F.S.I. of 25 %	-
(C)Exemption to leave open space subject to payment of 10 % land value of land at (7) as per rational statement of ready reckoner	-

Name Of Owner:VASANT BUILDCON
Signature of Owner:Authorised Signatory Vasant
Address:Vasant Valley Bus Depot, Opp. Narayana School, Gandhare, Kalyan, Thane, Maharashtra-421301
Name Of Licensed Architect : Supervisor name and signature
Registration No. of Architect/ License no. of Licensed Supervisor:CA/2000/30230

DESCRIPTION OF PROJECT :-

Type of Proposal : Mixed
BUILDING ON CTS. NO./SURVEY NO.-23, H.NO.4/2,S.NO.21/2

SITE ADDRESS :-
S.NO. 23/4/2,S.NO.21/2, VILLAGE GANDHARE,TAL.KALYAN
WEST,THANE

Name Of Architect : Tejas Anil Nirgude

LOGO	ADDRESS OF OFFICE
	OFFICE :- 5TH FLOOR, MIDTOWN EMBASSY, BEHIND VASANT VALLEY BUS DEPOT, OPP. NARAYANA SCHOOL, GANDHARE, KALYAN - 421301

OWNERS SIGN -	TECHNICAL PERSON SIGN
	TEJAS ANIL NIRGUDE Digitally signed by TEJAS ANIL NIRGUDE Date: 2026.01.05 12:01:05 +05'30'

SCALE -	DATE: Date: 05/01/26
JOB NO - KDMCC-25-135403	CHECK BY - ANIL

SUBMISSION DRAWING

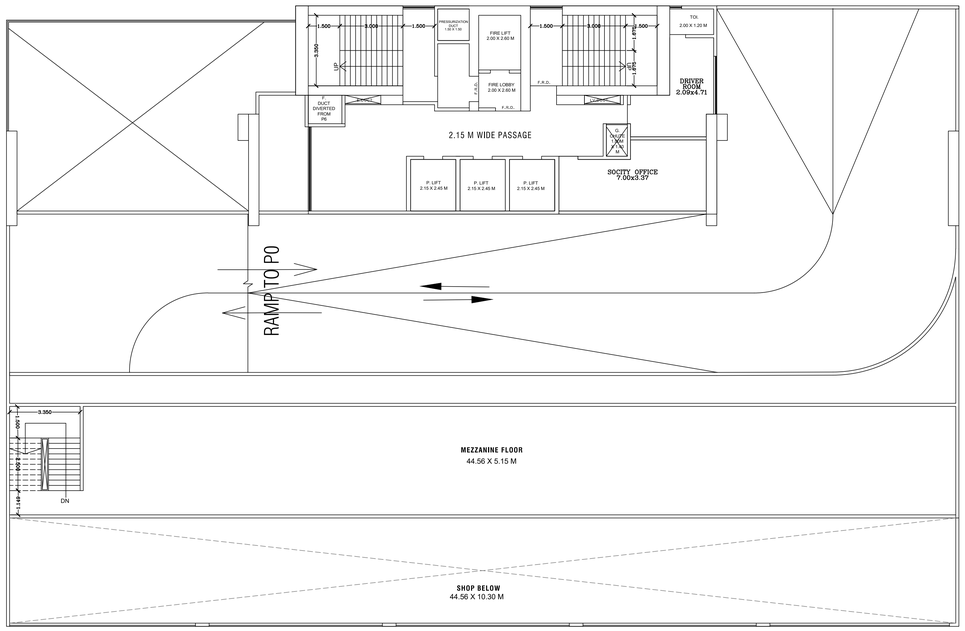

MEZZANINE FLOOR PLAN
SCALE 1:100

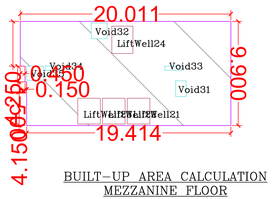

BUILT-UP AREA CALCULATION
MEZZANINE FLOOR
SCALE 1:200

BUILT UP AREA CALCULATION
FOR MEZZANINE FLOOR PLAN (VASANT ISLE)(TOWN)

AREA NAME	LENGTH	WIDTH	Area(Sq.M)
BLOCK	20.014	9.900	194.485
BLOCK AREA TOTAL =194.485Sq.M			
Void36	-	-	2.160
Void34	-	-	0.880
Void33	-	-	0.880
Void32	-	-	2.250
Void31	-	-	1.500
LiftWell24	-	-	5.250
LiftWell23	-	-	5.267
LiftWell22	-	-	5.267
LiftWell21	-	-	5.267
TOTAL Deduction =28.270Sq.M			
Net BuiltUp Area =166.685 Sq.M			

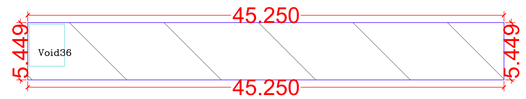

BUILT-UP AREA CALCULATION
MEZZANINE FLOOR
SCALE 1:200

BUILT UP AREA CALCULATION
FOR MEZZANINE FLOOR PLAN (VASANT ISLE)(TOWN)

AREA NAME	LENGTH	WIDTH	Area(Sq.M)
BLOCK	45.250	5.449	246.560
BLOCK AREA TOTAL =246.560Sq.M			
VoidW	-	-	13.400
TOTAL Deduction =13.400Sq.M			
Net BuiltUp Area =233.160 Sq.M			

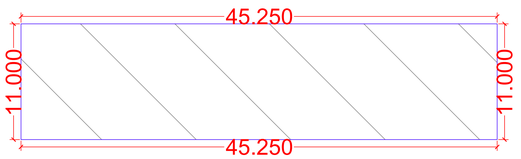

BUILT-UP AREA CALCULATION
GROUND FLOOR
SCALE 1:200

BUILT UP AREA CALCULATION
FOR GROUND FLOOR PLAN (VASANT ISLE)(TOWN)

AREA NAME	LENGTH	WIDTH	Area(Sq.M)
BLOCK	45.250	11.000	497.750
BLOCK AREA TOTAL =497.750Sq.M			
TOTAL Deduction =0.000Sq.M			
Net BuiltUp Area =497.750 Sq.M			

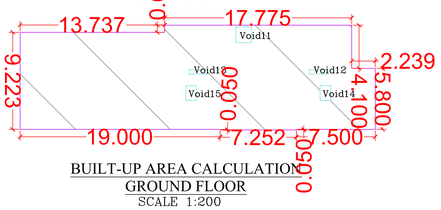

BUILT-UP AREA CALCULATION
GROUND FLOOR
SCALE 1:200

BUILT UP AREA CALCULATION
FOR GROUND FLOOR PLAN (VASANT ISLE)(TOWN)

AREA NAME	LENGTH	WIDTH	Area(Sq.M)
BLOCK	32.750	9.900	318.418
BLOCK AREA TOTAL =318.418Sq.M			
Void15	-	-	1.400
Void10	-	-	1.400
Void13	-	-	0.880
Void12	-	-	0.880
Void11	-	-	2.250
TOTAL Deduction =6.810Sq.M			
Net BuiltUp Area =309.608 Sq.M			

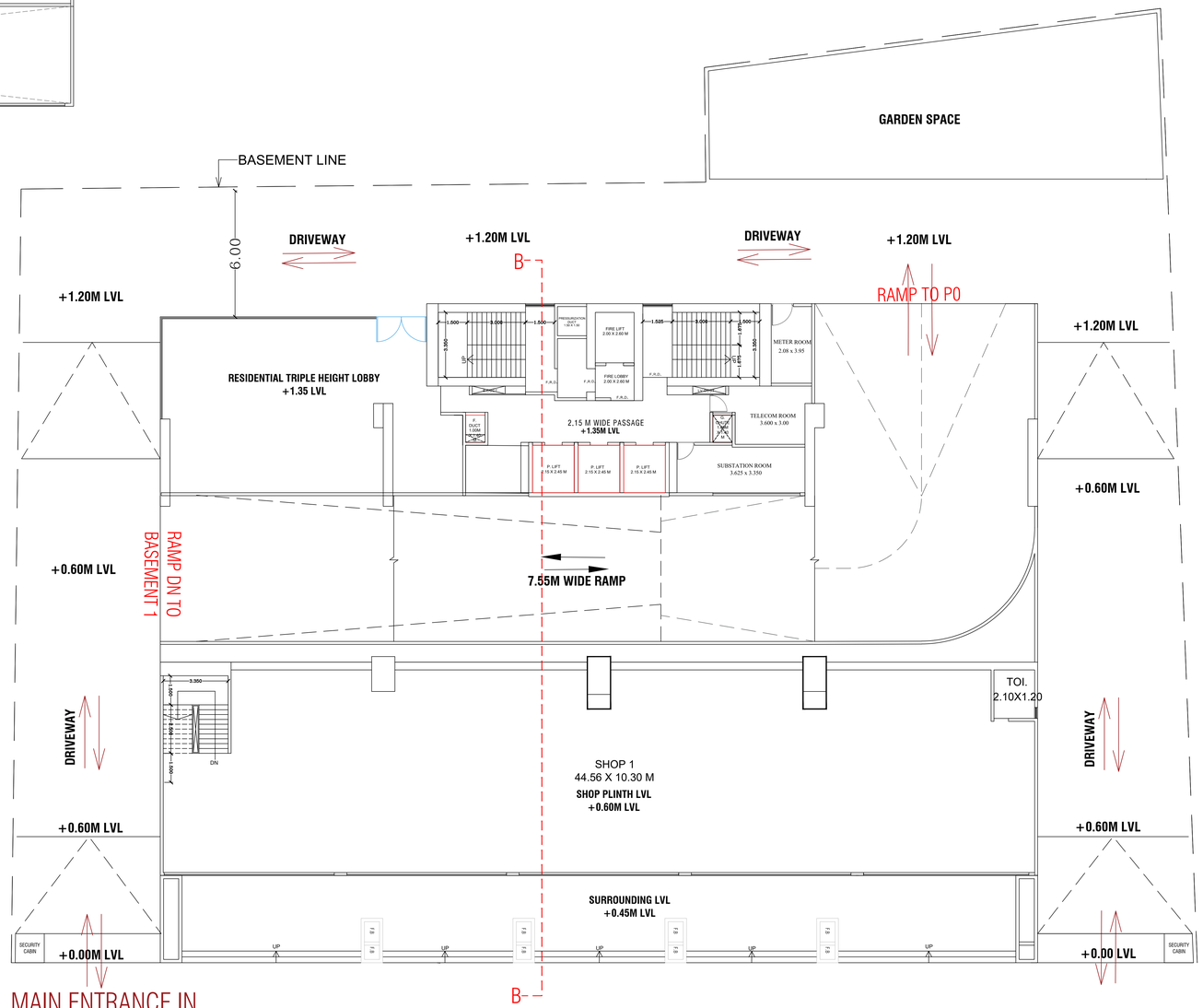

GROUND FLOOR PLAN
SCALE 1:100

Reserved for "Form 0" of "Apartment" plan

LAYOUT PLAN | SHEET NO. 3/6

Proforma I : Area Statement

1. Area of plot (Minimum area of a, b, c to be considered)	3244.000
(a) As per ownership document (7/12, CTS extract)	3244.000
(b) as per TILR or City Survey measurement sheet	3244.000
(c) as per Demarcated drawing area	3244.000
LESS	
2.Area not in possession	0.000
3. Area Proposed for development (out of 1-2)	3244.000
4.Deductions for(out of 3)	
(a) Proposed D.P./ D.P. Road widening Area/Proposed DP road, Road under MMC act	0.000
(b) Any D.P. Reservation area	3244.000
(c) Green Belt	0.000
(Total a+b+c)	3244.000
5. Plot Under accommodation Reservation	3244.000
6.Recreational Open Space (Not applicable if plots are from sanctioned layout)	-
(a). If area is more than (5) 4000 sqmt - 10 % of (5) is required.	0.000
Proposed___	0.000
(b). If area is less than 4000 sqmt	-
(A)10 % Subject to minimum 200 sqmt(Not applicable if plots are from sanctioned layout or each plot admesuring less than 4000sq.m regularised under gunthewari act)	0.000
Proposed _____	0.000
(B)Exemption to leave open space subject to availing basic F.S.I of 75 %	-
(C)Exemption to leave open space subject to payment of 10 % land value of land at (?) as per annual statement of rate.	-
Architect/ Licensed Engineer/ Supervisor name and signature	
Registration No. of Architect/ License no. of Licensed Engineer/ Supervisor: CA/2019/106930	

Name Of : Owner VASANT BUILDCON
THROUGH PARTNER: RITESH KIMTANI

Postal Address : 1902/1 Rosemary Vasant Valley,Khadakpada Village Gandhare,Kalyan,Thane,Maharashtra-421301
Phone No.:9860792297

DESCRIPTION OF PROJECT :

Type of Proposal : Mixed
BUILDING ON CTS. NO./SURVEY NO.-23, H.NO.4/2,S.NO.21/2

SITE ADDRESS :
S.NO. 23/4/2,S.NO.21/2, VILLAGE GANDHARE,TAL.KALYAN WEST,THANE

Name Of Architect : Tejas Anil Nirgude

LOGO | ADDRESS OF OFFICE
OFFICE -
5TH FLOOR, MIDTOWN EMBASSY, BEHIND VASANT VALLEY BUS DEPOT, OPP. NARAYANA SCHOOL, GANDHARE, KALYAN - 421301

OWNERS SIGN - | TECHNICAL PERSON SIGN
TEJAS ANIL NIRGUDE
Digitally signed by TEJAS ANIL NIRGUDE
Date: 2026.01.05 12:01:49 +05'30'

SCALE -	DATE: Date: 05/01/26
JOB NO - KDMCC-25-135403	CHECK BY - ANIL

SUBMISSION DRAWING

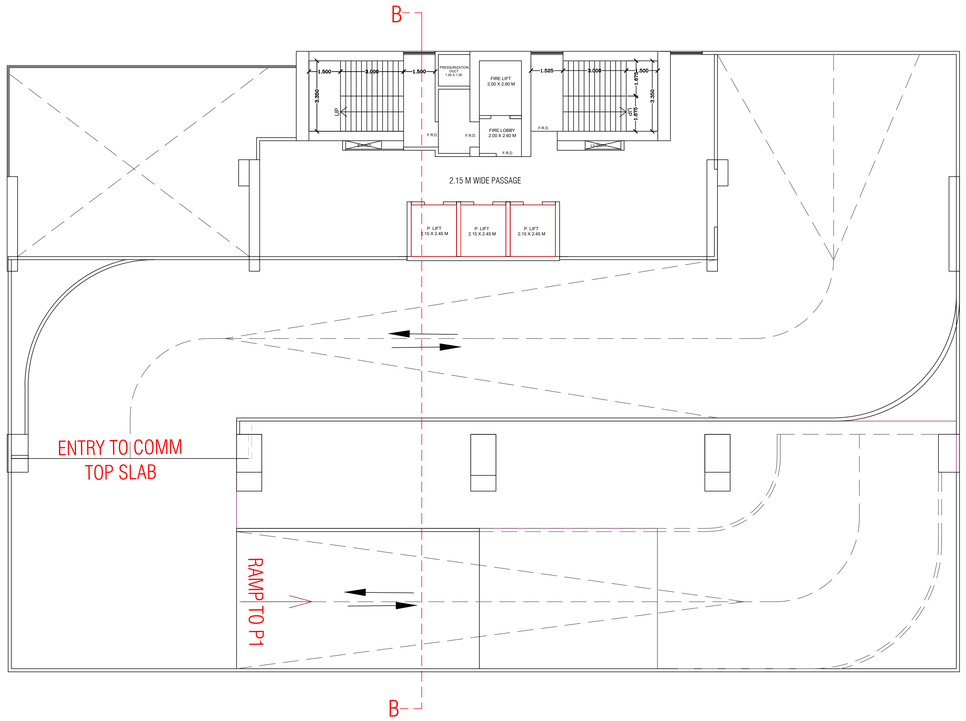

P0 LVL FLOOR PLAN
SCALE 1:100

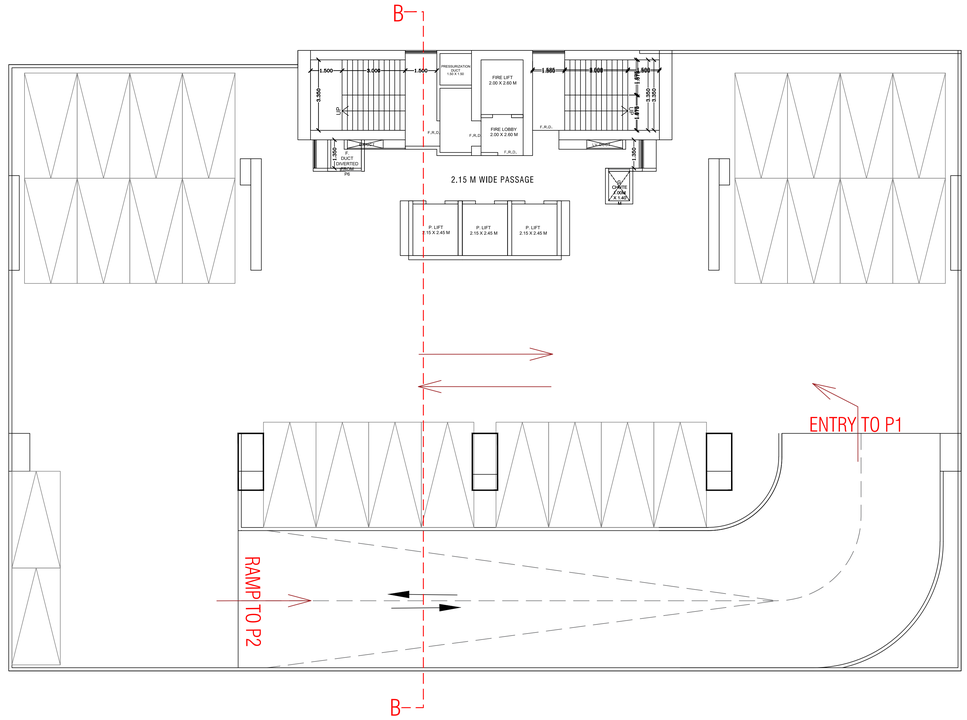

P1 TO P3 & P5 FLOOR PLAN
SCALE 1:100

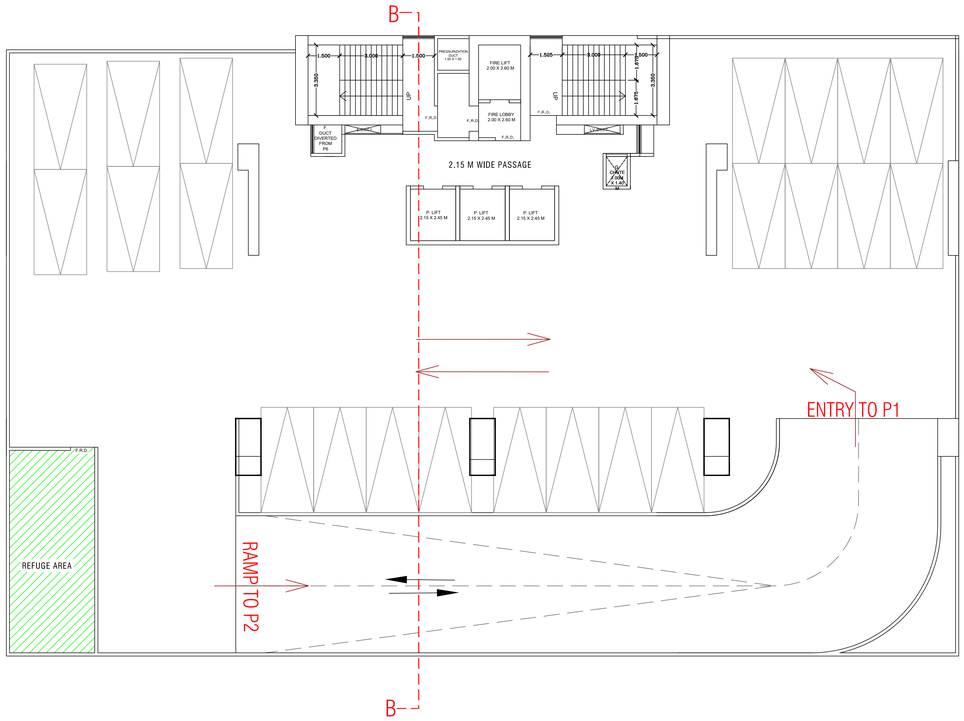

P4 LVL FLOOR PLAN
SCALE 1:100

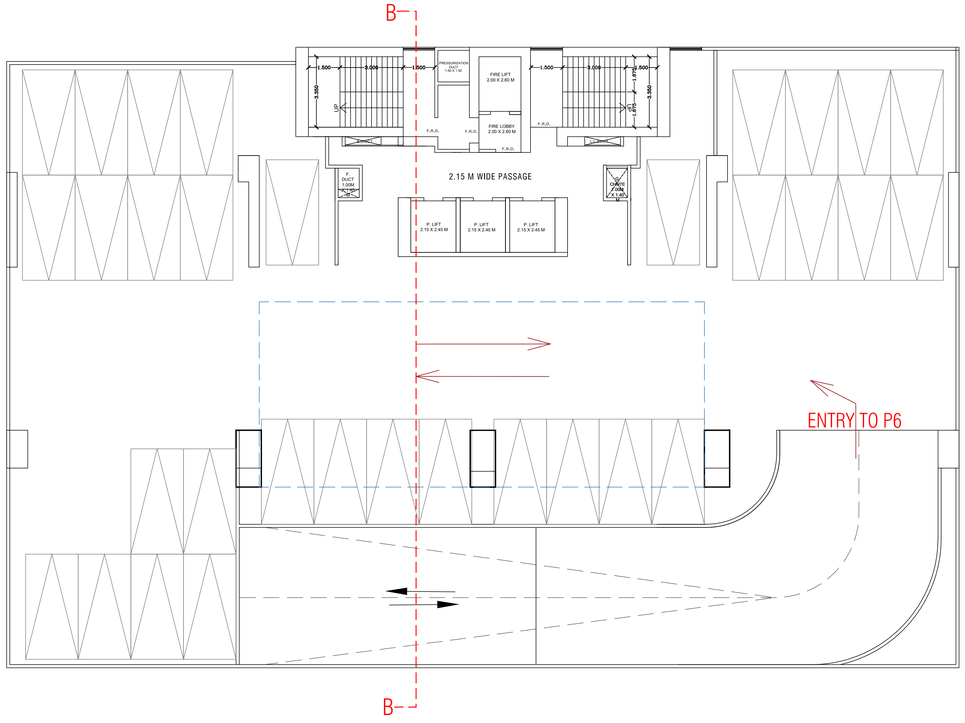

P6 LVL FLOOR PLAN
SCALE 1:100

Reserved for "Form 0" of Approval plan

LAYOUT PLAN | SHEET NO. 4/6

Proforma I : Area Statement	
1. Area of plot (Minimum area of a, b, c to be considered)	3244.000
(a) As per ownership document (7/12, CTS extract)	3244.000
(b) as per TILR or City Survey measurement sheet	3244.000
(c) as per Demarcated drawing area	3244.000
LESS	
2.Area not in possession	0.000
3. Area Proposed for development (out of 1-2)	3244.000
4.Deductions for(out of 3)	
(a) Proposed D.P./ D.P. Road widening Area/Proposed DP road, Road under MMC act	0.000
(b) Any D.P. Reservation area	3244.000
(c) Green Belt	0.000
(Total a+b+c)	3244.000
5. Plot Under accommodation Reservation	3244.000
6.Recreational Open Space (Not applicable if plots are from sanctioned layout)	-
(a). If area is more than (5) 4000 sqmt - 10 % of (5) is required.	0.000
Proposed___	0.000
(b). If area is less than 4000 sqmt	-
(A)10 % Subject to minimum 200 sqmt(Not applicable if plots are from sanctioned layout or each plot admesuring less than 4000sq.m regularised under gunthewari act)	0.000
Proposed _____	0.000
(B)Exemption to leave open space subject to availing basic F.S.I of 75 %	-
(C)Exemption to leave open space subject to payment of 10 % land value of land at (7) as per annual statement of rate.	-
Architect/ Licensed Engineer/ Supervisor name and signature	
Registration No. of Architect/ License no. of Licensed Engineer/ Supervisor: CA/2019/106930	

Name Of : Owner VASANT BUILDCON
THROUGH PARTNER: RITESH KIMTANI

Postal Address : 1902/1 Rosemary Vasant Valley,Khadakpada Village Gandhare,Kalyan,Thane,Maharashtra-421301
Phone No. 9980792297

DESCRIPTION OF PROJECT :

Type of Proposal : Mixed
BUILDING ON CTS. NO./SURVEY NO.-23, H.NO.4/2,S.NO.21/2

SITE ADDRESS :
S.NO. 23/4/2,S.NO.21/2; VILLAGE GANDHARE,TAL.KALYAN WEST,THANE

Name Of Architect : Tejas Anil Nirgude

LOGO	ADDRESS OF OFFICE
	OFFICE - 5TH FLOOR, MIDTOWN EMBASSY, BEHIND VASANT VALLEY BUS DEPOT, OPP. NARAYANA SCHOOL, GANDHARE, KALYAN - 421301

OWNERS SIGN -	TECHNICAL PERSON SIGN
	TEJAS ANIL NIRGUDE Digitally signed by TEJAS ANIL NIRGUDE Date: 2026.05.05 11:52:28 +05'30'

	SCALE -	DATE: Date: 05/01/26
	JOB NO - KDMCC-25-135403	CHECK BY - ANIL

SUBMISSION DRAWING

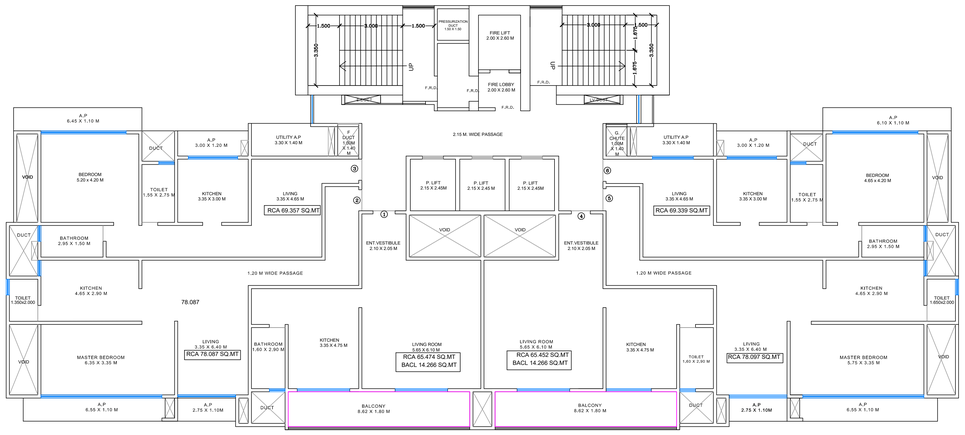

(2ND,3RD,5TH,6TH,9TH,11TH,14TH,15TH,17TH,19TH)

FLOOR PLAN

SCALE 1:100

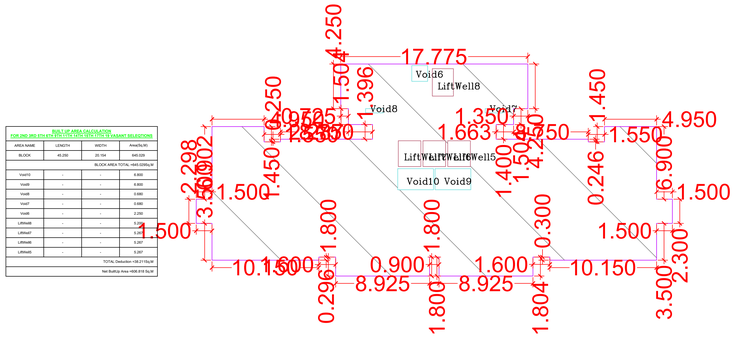

BUILT-UP AREA CACLCULATION

(2ND,3RD,5TH,8TH,9TH,11TH,14TH,15TH,17TH,19TH)

SCALE 1:200

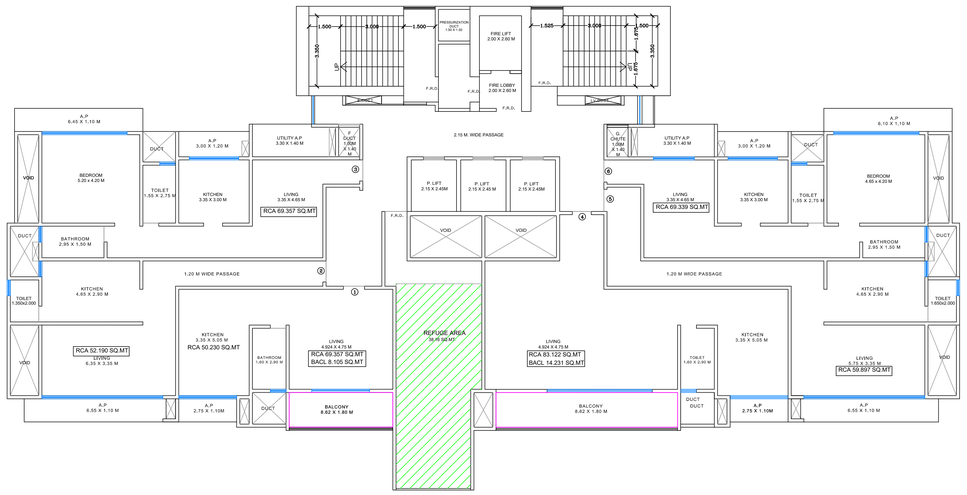

(1ST,4TH,10TH,13TH,16TH,18TH)

FLOOR PLAN

SCALE 1:100

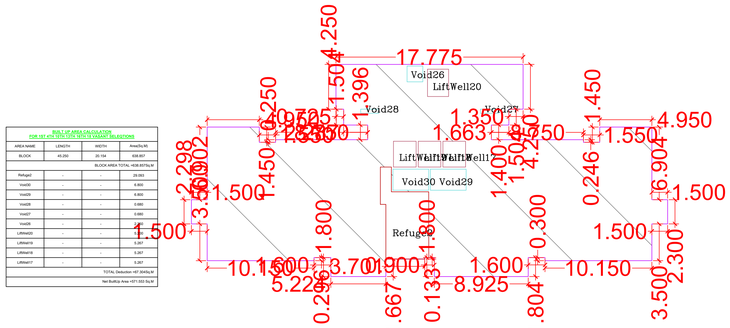

BUILT-UP AREA CACLCULATION

(1ST,4TH,10TH,13TH,16TH,18TH)

SCALE 1:200

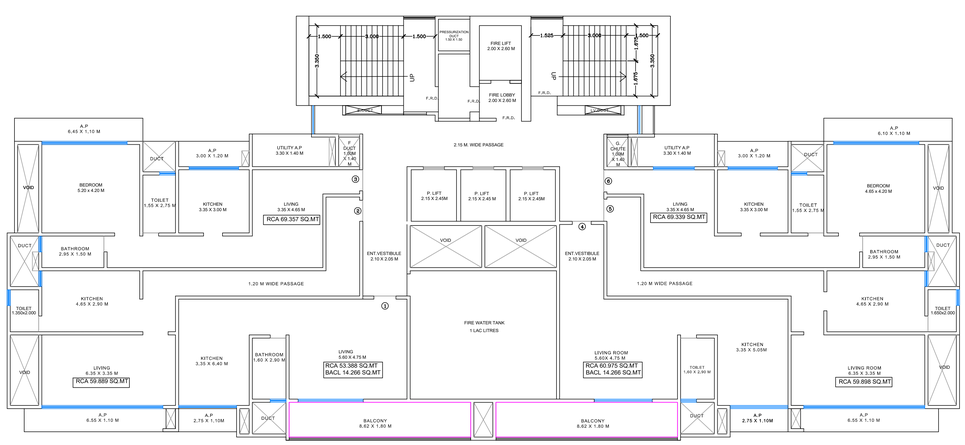

8TH FLOOR PLAN

SCALE 1:100

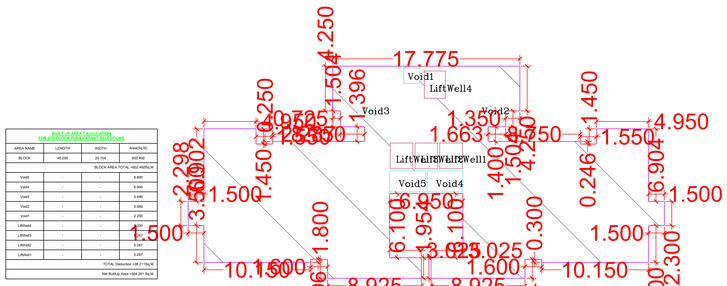

BUILT-UP AREA CACLCULATION

6TH FLOOR PLAN

SCALE 1:200

Reserved for Room of Approval plan

LAYOUT PLAN | SHEET NO. 5/6

Proforma I : Area Statement

1. Area of plot (Minimum area of a, b, c to be considered)	3244.000
(a) As per ownership document (7/12, CTS extract)	3244.000
(b) as per TILR or City Survey measurement sheet	3244.000
(c) as per Demarcated drawing area	3244.000
LESS	
2.Area not in possession	0.000
3. Area Proposed for development (out of 1-2)	3244.000
4.Deductions for(out of 3)	
(a) Proposed D.P.(D.P. Road widening Area/Proposed DP road, Road under MMC act	0.000
(b) Any D.P. Reservation area	3244.000
(c) Green Belt	0.000
(Total a+b+c)	3244.000
5. Plot Under accommodation Reservation	3244.000
6.Recreational Open Space (Not applicable if plots are from sanctioned layout)	-
(a). If area is more than (5) 4000 sqmt - 10 % of (5) is required.	0.000
Proposed____	0.000
(b). If area is less than 4000 sqmt	-
(A)10 % Subject to minimum 200 sqmt(Not applicable if plots are from sanctioned layout or each plot admeasuring less than 4000sq.m regularised under gunthewari act)	0.000
Proposed _____	0.000
(B)Exemption to leave open space subject to availing basic F.S.I of 75 %	-
(C)Exemption to leave open space subject to payment of 25 % premium on the value of land at (7) as per annual statement of rate.	-

Name & address of Owner/ Developer/ Supervisor name and signature

Name & address of Licensed Architect, Licensed no. of Licensed Engineer / Supervisor CA/2019/106930

DESCRIPTION OF PROJECT :

Type of Proposal : Mixed
BUILDING ON CTS. NO./SURVEY NO.-23, H.NO.4/2,S.NO.21/2

SITE ADDRESS :
S.NO. 23/4/2,S.NO.21/2, VILLAGE GANDHARE,TAL.KALYAN WEST,THANE

Name Of Architect : Tejas Anil Nirgude

LOGO	ADDRESS OF OFFICE OFFICE - 5TH FLOOR, MEDTOWN EMBASSY, BEHIND VASANT VALLEY BUS DEPOT, OPP. NARAYANA SCHOOL, GANDHARE, KALYAN - 421301	
OWNERS SIGN -	TECHNICAL PERSON SIGN TEJAS ANIL NIRGUDE Digitally signed by TEJAS ANIL NIRGUDE Date: 2026.02.13 15:53:14 +05'30'	
SCALE -		DATE: Date: 05/01/26
JOB NO - KDMCC-25-135403		CHECK BY - ANIL

SUBMISSION DRAWING

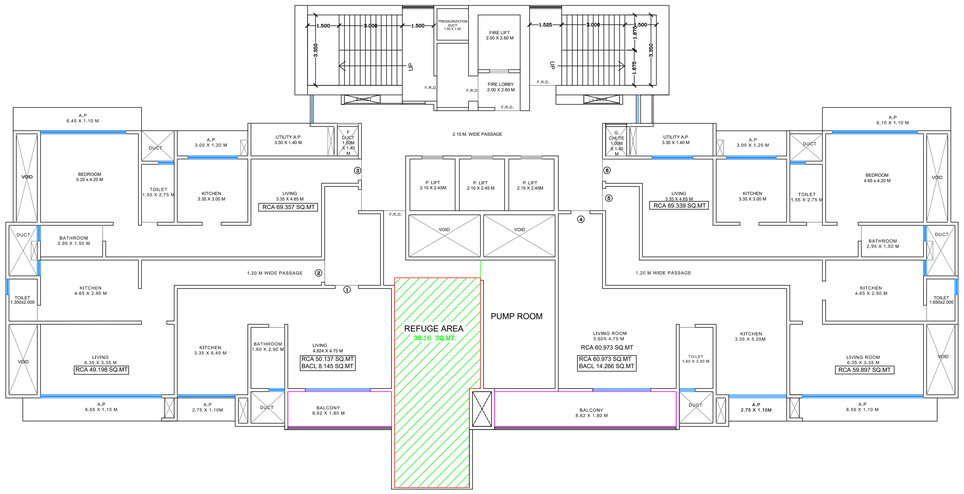

7TH FLOOR PLAN
SCALE 1:100

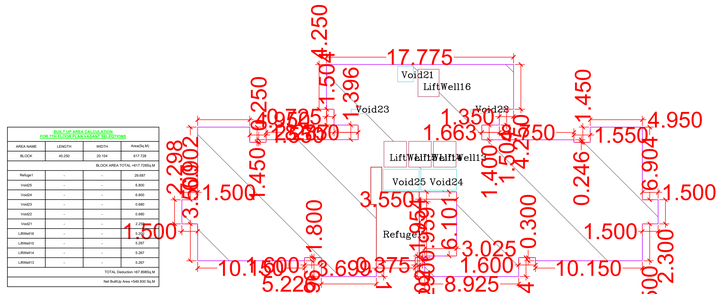

BUILT UP AREA CALCULATION
FOR 7TH FLOOR (AS PER DCR SANCTIONED DRAWING)

AREA NAME	LENGTH	WIDTH	Area(Sq.M)
BLOCK	45.250	20.154	617.728
BLOCK AREA TOTAL=617.728Sq.M			
Refuge1	-	-	28.647
Void25	-	-	6.900
Void24	-	-	6.900
Void23	-	-	0.690
Void22	-	-	0.690
Void21	-	-	0.207
LiftWell16	-	-	0.207
LiftWell15	-	-	0.207
LiftWell14	-	-	0.207
LiftWell13	-	-	0.207
TOTAL Deduction =67.898Sq.M			
Net BuiltUp Area =549.830 Sq.M			

BUILT UP AREA CACLULATION
7TH FLOOR PLAN
SCALE 1:200

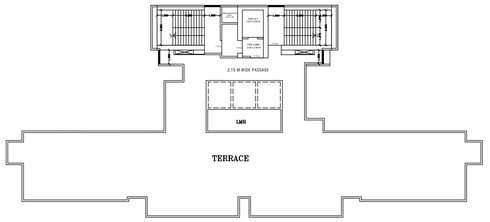

TERRACE PLAN
SCALE 1:200

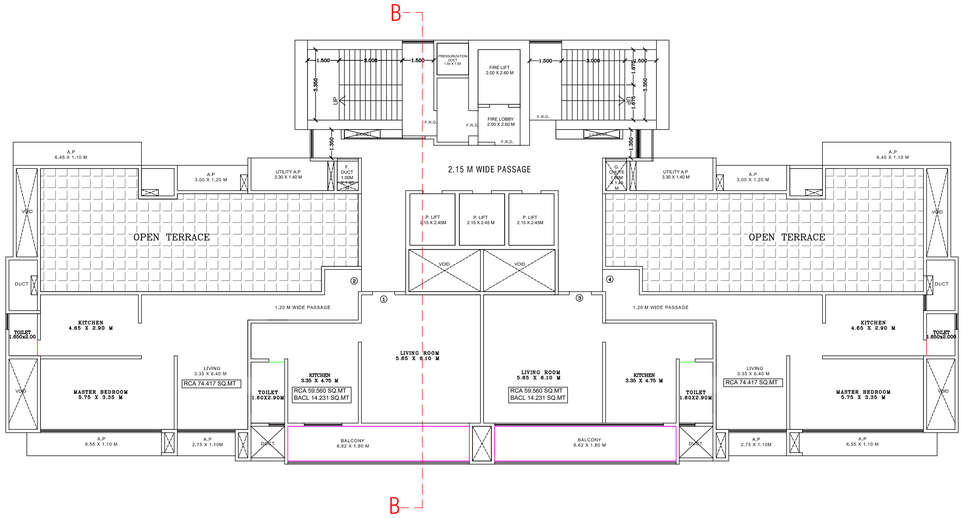

20TH FLOOR PLAN
SCALE 1:100

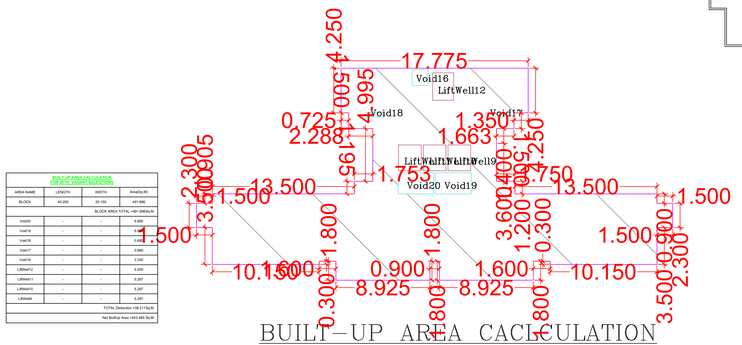

BUILT UP AREA CALCULATION
FOR 20TH FLOOR (AS PER DCR SANCTIONED DRAWING)

AREA NAME	LENGTH	WIDTH	Area(Sq.M)
BLOCK	45.250	20.150	491.696
BLOCK AREA TOTAL=491.696Sq.M			
Void20	-	-	6.900
Void19	-	-	6.900
Void18	-	-	0.690
Void17	-	-	0.690
Void16	-	-	2.250
LiftWell12	-	-	0.250
LiftWell11	-	-	0.207
LiftWell10	-	-	0.207
LiftWell9	-	-	0.207
TOTAL Deduction =18.211Sq.M			
Net BuiltUp Area =473.485 Sq.M			

BUILT-UP AREA CACLULATION
20TH FLOOR PLAN
SCALE 1:200

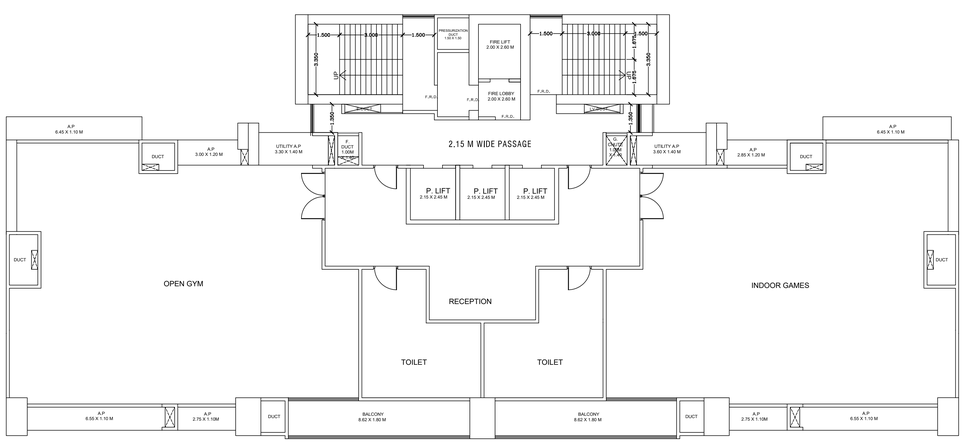

RECREATIONAL FLOOR PLAN(12TH FLOOR)
SCALE 1:100

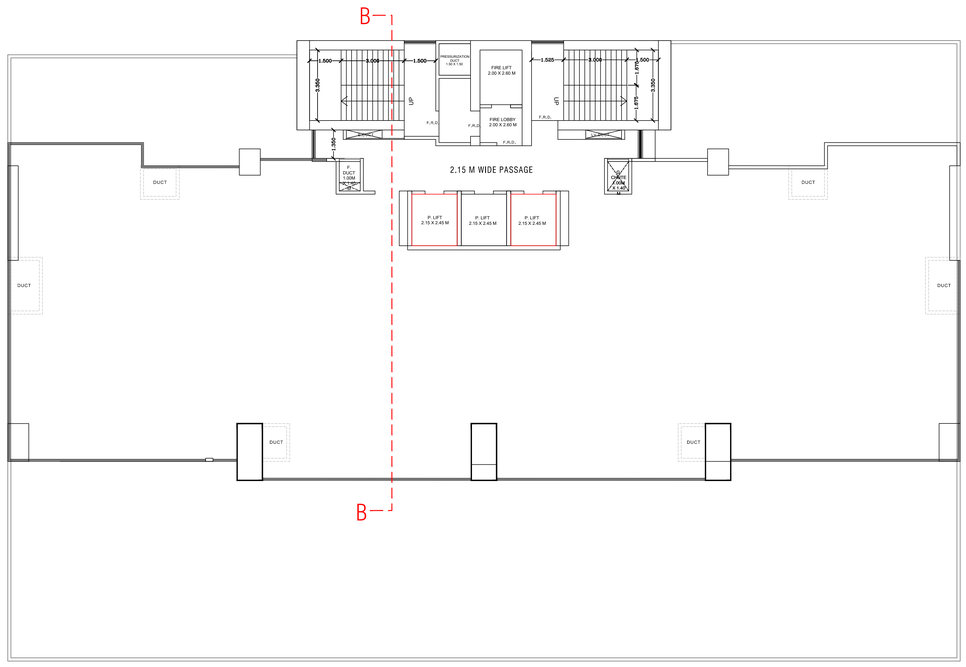

7 LEVEL RECREATIONAL FLOOR PLAN
SCALE 1:100

Reserved for Board of Approval plan

LAYOUT PLAN | SHEET NO. 6/6

Proforma 1 : Area Statement

1. Area of plot (Minimum area of a, b, c to be considered)	3244.000
(a) As per ownership document (7/12, CTS extract)	3244.000
(b) as per TILR or City Survey measurement sheet	3244.000
(c) as per Demarcated drawing area	3244.000
LESS	
2.Area not in possession	0.000
3. Area Proposed for development (out of 1-2)	3244.000
4.Deductions for(out of 3)	
(a) Proposed D.P./ D.P. Road widening Area/Proposed DP road, Road under MMC act	0.000
(b) Any D.P. Reservation area	3244.000
(c) Green Belt	0.000
(Total a+b+c)	3244.000
5. Plot Under accommodation Reservation	3244.000
6.Recreational Open Space (Not applicable if plots are from sanctioned layout)	-
(a). If area is more than (5) 4000 sqmt - 10 % of (5) is required.	0.000
Proposed____	0.000
(b). If area is less than 4000 sqmt	-
(A)10 % Subject to minimum 200 sqmt(Not applicable if plots are from sanctioned layout or each plot admesuring less than 4000sq.m regularised under gunthewari act)	0.000
Proposed _____	0.000
(B)Exemption to leave open space subject to availing basic F.S.I of 75 %	-
(C)Exemption to leave open space subject to payment of 10% of land value of land at (7) as per annual statement of rate.	-
Name & address of Owner/ Developer/ Supervisor name and signature	
Name & address of Licensed Surveyor/ Structural Engineer/ Supervisor name and signature	
Registration No. of Architect, Licence no. of Licensed Engineer/ Surveyor: CA/2019/106930	

DESCRIPTION OF PROJECT :

Type of Proposal : Mixed
BUILDING ON CTS. NO./SURVEY NO.-23, H.NO.4/2,S.NO.21/2

SITE ADDRESS :
S.NO. 23/4/2,S.NO.21/2, VILLAGE GANDHARE,TAL.KALYAN
WEST,THANE

Name Of Architect : Tejas Anil Nirgude

LOGO

ADDRESS OF OFFICE
OFFICE -
5TH FLOOR, MIDTOWN EMBASSY, BEHIND VASANT VALLEY BUS DEPOT, OPP. NARAYANA SCHOOL, GANDHARE, KALYAN - 421301

OWNERS SIGN -

TECHNICAL PERSON SIGN
TEJAS ANIL NIRGUDE
Digitally signed by TEJAS ANIL NIRGUDE
Date: 2026.01.05 17:53:01 +05'30'

SCALE -	DATE: Date: 05/01/26
JOB NO - KDMCC-25-135403	CHECK BY - ANIL

SUBMISSION DRAWING