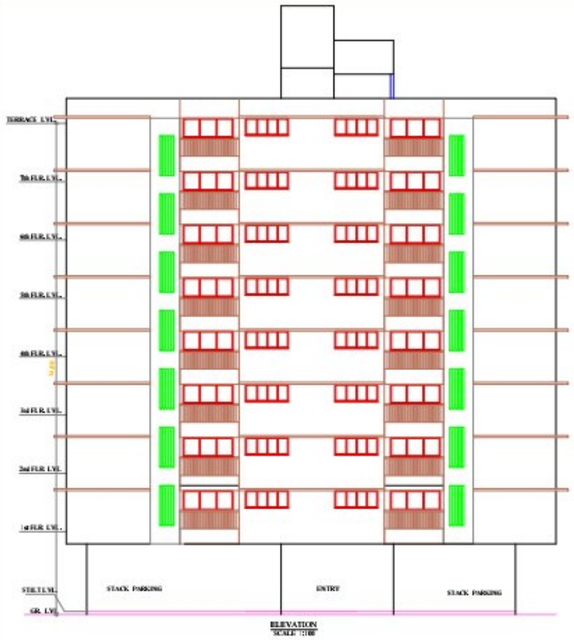

ELEVATION
SCALE :1100

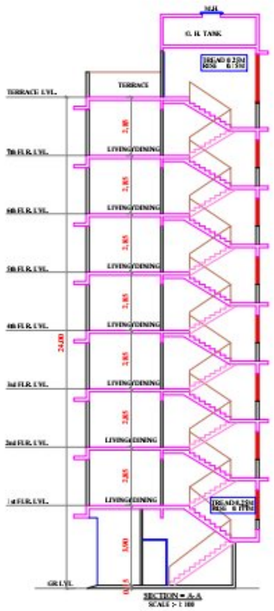

SECTION = A-A
SCALE :- 1:100

SECTION = B-B
SCALE :- 1:100

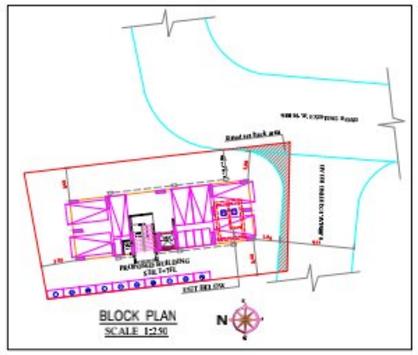

9.00 M WIDE ROAD DIAGRAM
SCALE :- 1:100

9.00 M. WIDE ROAD AREA STATEMENT :		
STANDARD ADDITIONS :-		
1. 0.5 X 8.37 X 1.67 =		7.00 SQ.M
ROAD AREA	=	7.00 SQ.M

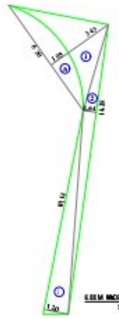

6.00 M WIDE EXISTING ROAD DIAGRAM
SCALE :- 1:100

6.00 M. WIDE EXISTING ROAD AREA STATEMENT :		
STANDARD ADDITIONS :-		
1. 0.5 X 10.14 X 1.20 =		6.08 SQ.M
2. 0.5 X 14.28 X 0.64 =		4.56 SQ.M
3. 0.5 X 6.30 X 3.43 =		10.80 SQ.M
TOTAL ADDITION	=	21.44 SQ.M
STANDARD DEDUCTION :-		
A. 0.67 X 6.30 X 1.05 =		4.44 SQ.M
TOTAL ADDITION	=	4.44 SQ.M
NET AREA 21.44 - 4.44	=	17.00 SQ.M
6.00 M.W. ROAD AREA	=	17.00 SQ.M

TYPICAL FLOORS PLAN
1ST TO 7TH FLOORS
SCALE 1:100

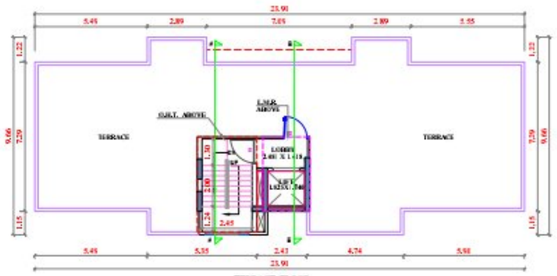

TERRACE FLOOR
SCALE 1:100

BUILT UP AREA STATEMENT	
FLOORS	AREA IN SQ. MT.
GROUND FLOOR	....
1ST FLOOR	189.33 SQ.M.
2ND FLOOR	189.33 SQ.M.
3RD FLOOR	189.33 SQ.M.
4TH FLOOR	189.33 SQ.M.
5TH FLOOR	189.33 SQ.M.
6TH FLOOR	189.33 SQ.M.
7TH FLOOR	189.33 SQ.M.
EXCESS BALCONY	....
TOTAL	1,325.31 SQ.M.

SCHEDULE OF DOORS & WINDOWS			
TYPE	SIZE (LxH)	AREA	DESCRIPTION
D	1.20 X 2.10	2.52	T. W. FRAME PANELLED DOOR
D1	0.90 X 2.10	1.51	T. W. FRAME PANELLED DOOR
D2	0.75 X 1.83	1.35	T. W. FRAME PANELLED DOOR
W	2.10 X 1.10	2.58	ALMN. GLAZING WINDOW
W1	2.10 X 2.00	4.48	ALMN. GLAZING WINDOW
W2	1.80 X 1.10	2.16	ALMN. GLAZING WINDOW
W3	1.50 X 1.10	1.49	ALMN. GLAZING WINDOW
V	0.60 X 2.00	0.46	ALMN. LOUVERED WINDOW
V1	0.60 X 0.90	0.46	ALMN. LOUVERED WINDOW

PARKING AREA STATEMENT (PROPOSED)													
RESIDENTIAL	PROPOSED CARPET AREA	REQUIRED PARKING		VISITORS PARKING			REQUIRED PARKING		MULTIPLICATION FACTOR AS PER TABLE 9C	TOTAL REQUIRED PARKING		
	IN SQ.MT.	CAR	SCOOTER		CAR	SCOOTER	CAR	SCOOTER	total parking X 0.00		CAR	SCOOTER
FOR EVERY 2 TENAMENTS BETWEEN 60 TO 80 SQ.MT. 1 CAR & 2 SCOOTERS	14 NOS	07	14						07 X 0.00 = 06			
FOR EVERY 2 TENAMENTS BETWEEN 80 TO 60 SQ.MT. 1 CAR & 2 SCOOTERS	-	-	-									
TOTAL NO. OF PARKING		07	14	5%	00	01	07	15			06	15

TENEMENT STATEMENT			
TENEMENT	2 BHK RM.	3 BHK RM.	TOTAL
NOS.	07 NOS.	07 NOS.	14 NOS

TOTAL NO. OF 4 WHEELER PARKING = 06 X 11.25 = 82.50 SQ.MT.
TOTAL NO. OF 2 WHEELER PARKING = 15 X 2.00 = 30.00 SQ.MT.

TOTAL REQUIRED CAR = 06
TOTAL PROPOSED CAR = 14
TOTAL REQUIRED SCOOTER = 15
TOTAL PROPOSED SCOOTER = 15

BUILT UP AREA DIAGRAM OF
TYPICAL FLOORS PLAN
SCALE :- 1:200

FLOOR	FLAT NO.	CARPET AREA AS PER RERA IN SQ.MT.		ENCLOSED BALCONY IN SQ.MT.	BALCONY AREA IN SQ.MT.
1ST TO 7TH FLOORS	1	63.48		8.31	2.78
	2	72.18		10.39	2.78

BUILT-UP AREA STATEMENT : TYPICAL FLOORS	
AREA OF BLOCK (ABCD) = 23.91 X 9.66 = 230.97 SQ.M	
STANDARD DEDUCTIONS :-	
1. 5.49 X 1.22 =	6.69 SQ.M
2. 7.09 X 1.22 =	8.64 SQ.M
3. 5.55 X 1.22 =	6.77 SQ.M
4. 5.90 X 1.15 =	6.78 SQ.M
5. 2.43 X 1.15 =	2.79 SQ.M
6. 5.49 X 1.15 =	6.31 SQ.M
7. 0.29 X 1.74 =	0.50 SQ.M
8. 1.82 X 1.74 =	3.16 SQ.M
TOTAL STANDARD DEDUCTIONS =	41.64 SQ.M
GROSS AREA : 230.97 - 41.64 =	189.33 SQ.M
TOTAL NET AREA =	189.33 SQ.M

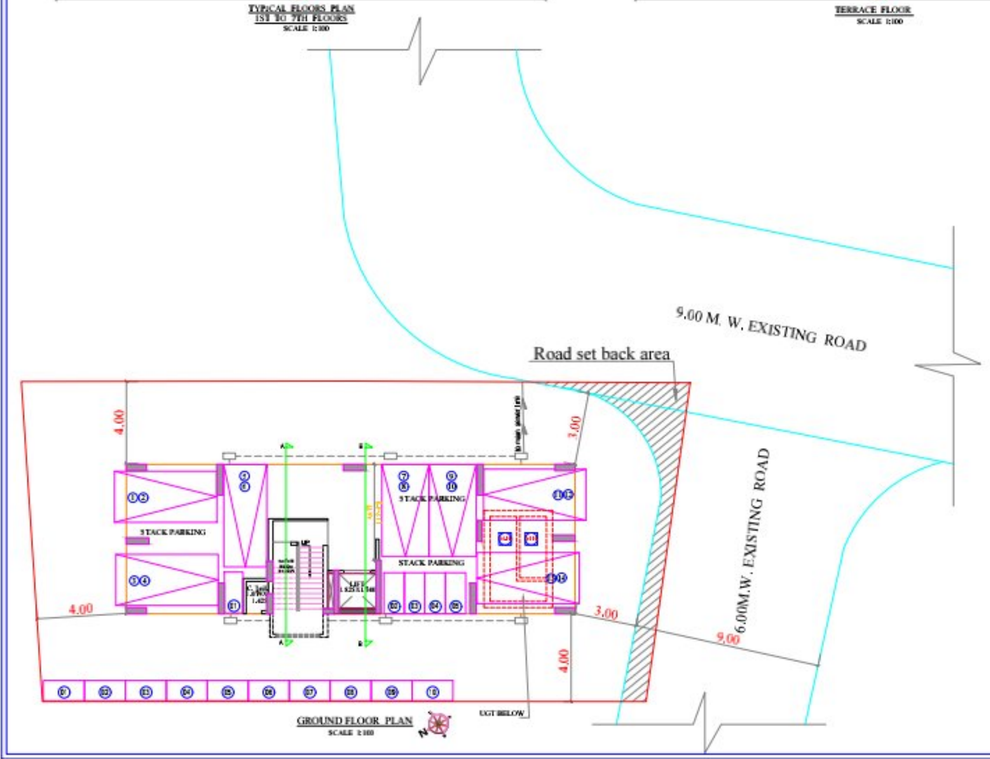

GROUND FLOOR PLAN
SCALE 1:100

PROFORMA - I		
A.	AREA STATEMENT	IN SQ.M
1.	AREA OF PLOT (Minimum area of a plot to be considered)	
	(a) As per ownership document (AS PER 7/12)	4,36.00
	(c) As per measurement sheet.	--
	(d) As per site.	--
2.	DEDUCTIONS FOR	--
	(a) Proposed D.P. ~~Roadwidening and/or reservation/road/highway widening~~ 9.00 M. Wide E. P. Road ~~9.00 M. Wide E. P road proposed under Section 210~~	7.00 17.00
	(b) Any D. P. Reservation area	--
	TOTAL (a + b)	24.00
3.	BALANCE AREA OF PLOT (1 MINUS 2)	4 12.00
4.	Amenity space (if applicable)	
	(a) Required.	--
	(b) Adjustment of 2(b), if any.	--
	(c) Balanced Proposed	--
5.	NET AREA OF PLOT (3 MINUS 4)	4 12.00
6.	Recreational Open Space (if applicable)	
	(a) Required	--
	(b) Proposed.	--
7.	Internal Road area	--
8.	Plotable area (if applicable)	--
9.	Built up area with reference to Basic F. S.I as per front road width. (So.No.5 x Basic FSI) (412.00 X 1.1)	453.20
10.	Addition of FSI on payment of premium.	
	(a) Maximum Permissible premium FSI-based on road width/TOD zone. 50%	210.00
	(b) Proposed FSI on payment of premium.	205.00
11.	In-situ FSI/ TDR loading	
	(a) In-situ area against D.P road(2.0 x st ra.2(a)),if any (i) ROAD AREA = 17 X 2 = 14.00 (ii) ROAD AREA = 17 X 2 = 34.00 (34.00 sq.mt. Balance Area to be used in form of T.D.R.)	14.00
	(b) In-situ area against Amenity Space if Provided over (2.0 or 1.85 x So.no.4(b)) and Area(	--
	(c) T.E.R. = 436.00 X 40% = 174.40 + 14.00 = 160.40 K.D.M.C / N.R.V. (T.E.R. (2006 -- DATE:- 12 / 01 / 2022	160.40
	(d) Total In-situ FSI/ TDR loading proposed (11(a) + (b) + (c))	174.40
12.	Additional FSI area under Chapter no 7	
13.	Total entitlement of FSI in the proposal.	
	(a) 9 + 10(b) + 11(d) or 12 whichever is applicable.	832.60
	(b) Ancillary area F. S.I. upto 60% or ~~60%~~ with payment of charges	499.56
	(c) Total entitlement (a+b)	1,332.16
14.	Maximum utilisation of limited FSI(building potential)Permissible as per Road width(as per Regulation no.6, for 6.2 or 6.3 or 6.4 as applicable)(at 1.6 or 1.8)	3.20
15.	Total Built-up Area in proposal (excluding area at Sr.no 17b)	
	(a) Existing Built -up Area	
	(b) Proposed Built -up Area (as per 'B-line')	1,325.31
	(c) Total (a+b)	1,325.31
16.	F. S.I. Consumed (15(3) (should not be more than sr.no 14 above)	0.99
17.	Area for Inclusive Housing, if any	
	(a) Required (20% of Sr.no.5)	
	(b) Proposed	

NOTES

BOUNDARY OF PLOT BOUNDED RED.
PROPOSED WORK SHOWN IN PINK.
AREA UNDER SET BACK SHOWN IN HATCH
STRUCTURES TO BE DEMOLISHED SHOWN IN YELLOW HATCH.
RECREATION SHOWN IN GREEN
DRAINAGE LINE SHOWEN IN YELLOW

CERTIFICATE OF AREA

CERTIFIED THAT THE PLOT UNDER REFERENCE WAS SURVEYED BY ME ON : 7 / 01 / 20 2 AND THE DIMENSION OF SIDES ETC. OF PLOT STATED ON PLAN ARE AS MEASURED ON SITE AND THE AREA SO WORKED OUT TALLIES WITH THE AREA STATED IN DOCUMENT OF OWNERSHIP (T.P. SCHEME RECORD S/L AND RECORDS DEPUTY SURVEY RECORDS.

ARCHITECT SIGNATURE.

OWNER'S DECLARATION

I/WE UNDERSIGNED HEREBY CONFIRM THAT I/WE WOULD ABIDE BY PLANS APPROVED BY AUTHORITY (COLLECTOR, I/WE WOULD EXECUTE THE STRUCTURE AS PER APPROVED PLANS. ALSO I/WE WOULD EXECUTE THE WORK UNDER SUPERVISION OF PROPER TECHNICAL PERSON SO AS TO ENSURE THE QUALITY AND SAFETY AT THE WORK SITE.

OWNER (S) NAME AND SIGNATURE.
SHRI. JOHAR HASAN ZOJWALLA.

ENGINEER'S CERTIFICATE

I HEREBY CERTIFY THAT THE WORK OF STRUCTURAL DRAWINGS FOR THE ABOVE MENTIONED WORK ARE PREPARE BY US AND THE WORK, AS PER AS STRUCTURAL DRAWINGS ARE CONCERNED, SHALL BE CARRIED OUT AS SPECIFIED IN APPENDIX 'C'. I SHALL BE RESPONSIBLE FOR THE ADEQUACY OF THE STRUCTURAL DESIGN AS PER AS STRUCTURAL DRAWINGS ARE CONCERNED.

ENGINEER'S SIGNATURE.

DESCRIPTION OF PROPOSAL AND PROPERTY

COMPLETION DRAWING FOR PROPOSED RESIDENTIAL BUILDING ON PLOT BEARING S. NO. 26, H. NO. 2EAB/2/1 , AT VILL:- CHIKANGHAR , TAL. - KALYAN, DIST. THANE.

OWNERS NAME :

SHRI. JOHAR HASAN ZOJWALLA. SIGNATURE

DESCRIPTION OF PROJECT :
Type of Proposal : Residential

SITE ADDRESS:
COMPLETION DRAWING FOR RESIDENTIAL BUILDING ON PLOT BEARING S. NO. 26, H. NO. 2EAB/2/1 AT VILL:- CHIKANGHAR, TAL:- KALYAN, DIST:- THANE.

NAME & ADDRESS OF THE ARCHITECT

ARCHITECT
SHRI. JOHAR HASAN ZOJWALLA.

NAME OF OWNER OF PROPERTY
OFFICE :-
A-10 , 4th FLOOR SUMMIT TOWER, SANTOSH NAGAR, SHIVAJI NAGAR GROUND KALYAN (W)

CONSULTING ENGINEER
SHOBHANA DESHPANDE

SCALE : 1 : 100
Date : 11/12/21
DRAWN : KEDAR/AJAY/10
CHECKED BY :-
SUBMISSION DRAWING

Scanned with OKEN Scanner