PRODUCED BY AN AUTODESK EDUCATIONAL PRODUCT

TOTAL F.S.I. AND NON F.S.I AREA STATEMENT

Sr. No.	Building Type	Wing	No Of Floor	BUA As per FSI	Non FSI	FSI + NON FSI
	Existing - Occupied Bldgs					
1.	Type - D	A & B Wing	Stilt + 7th	4079.57	355.74	4435.31
2.	Type - A1	Nil	Stilt + 7th	1704.25	378.47	2082.72
3.	Type - B1	Nil	Stilt + 7th	1596.47	289.75	1885.92
4.	Type - C	A Wing	G + 2	621.81	98.53	720.34
5.	Type - C	B, C & D Wing	Stilt + 7th	4068.78	775.09	4843.87
6.	RH, Type I, II, & PH-2	1 To 10	Stilt + 2	788.31	303.86	1092.17
			Total	12859.19	2201.44	15060.33
	Redevelopment in existing Bldg					
7.	Shree Nagar Type B1	Nil	Stilt + 14th	12662.65	1082.90	13745.55
8.	Shree Nagar Type A3	Nil	Stilt + 14th			
9.	Prposed Buildig					
10.	Type - B3	Wing A	Stilt + 14th	7337.69	831.36	8169.05
11.	Type - B3	Wing B	Stilt + 14th	7337.69	831.36	8169.05
12.	Type - B2	Wing A	Stilt + 7th	2171.55	316.87	2488.42
13.	Type - B2	Wing B	Stilt + 7th	2171.55	316.87	2488.42
14.	Type - F	Nil	Stilt + 23rd	14065.28	505.78	14571.06
15.	Type - G	Nil	GR + 4th	1862.78	388.90	2251.68
16.	Type - G1	Nil	GR + 3rd	257.28	62.00	319
			Total	35203.82	3253.14	38456.96
LAYOUT AMENITY BLD. - CLUB HOUSE			G + 1		387.01	
ELEVATED R.G. SLAB					473.74	
S.T.P. 1 AND 2					225.38	
Grand Total				60725.66	7623.61	68349.27

EXISTING PARKING AREA STATEMENT

NO.	TOTAL BUILT UP AREA STATEMENTS					REQ. PARKING		PROPOSED	
	BLDG TYPE	BUILT UP AREA	TOTAL	BLDG FL.	BLDG H.T	CAR	SCOOTER	CAR BALANCE	SCOOTER EXCESS
1	TYPE - D WING -A & B	4079.57	4690.59	GR.+7TH	24.00	18	NIL	18	NIL
2	TYPE - A1	1704.25		GR.+7TH	24.00	05	NIL	05	NIL
3	TYPE - B1	1596.47		GR.+7TH	24.00	15	NIL	15	NIL
4	TYPE - C (WING -A)	621.81		GR.+2ND	13.70	24	NIL	24	NIL
5	TYPE - C (W -B, C & D)	4068.78		GR.+7TH	24.00				
6	RH, Type I, II, & PH-2	788.31		ST.+ 2ND	10.35	10	NIL	10	NIL
	TOTAL	12859.19				72	NIL	72	NIL

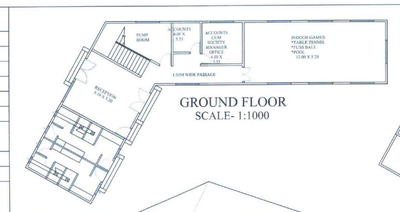

GROUND FLOOR
SCALE- 1:1000

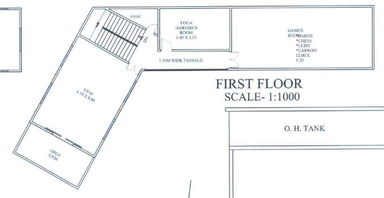

FIRST FLOOR
SCALE- 1:1000

TYPE - CLUBHOUSE

TYPE - CLUBHOUSE SUMMARY (AREA IN SQM)		
FLOOR	PERMISSIBLE BUILT UP AREA TOTAL R.G. AREA=2630 SQM.	PROPOSED BUILT UP AREA
GROUND FLOOR AREA (10% OF R.G.)	263.60 SQ.M.	203.24 SQ.M.
FIRST FLOOR AREA		183.77 SQ.M.
TOTAL BUILT UP AREA (15% OF R.G.)	395.40 SQ. M	
TOTAL BUILT UP AREA		387.01 SQ. M

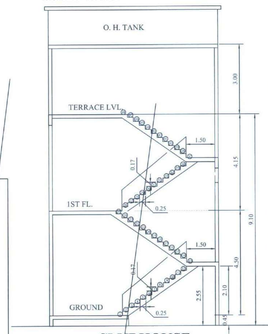

CLUBHOUSE
SECTION A-A
SCALE 1:1000

KDMC HANDEDOVER PLOT UNDER BEAUTIFICATION OF TANK

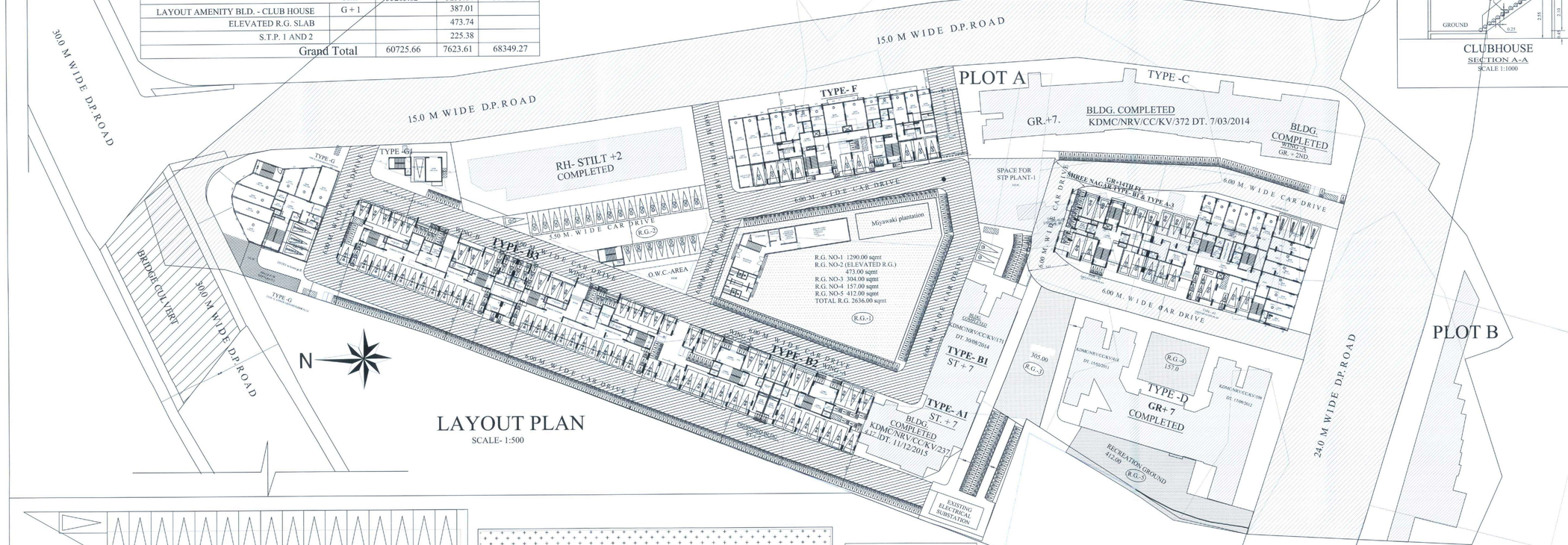

LAYOUT PLAN
SCALE- 1:500

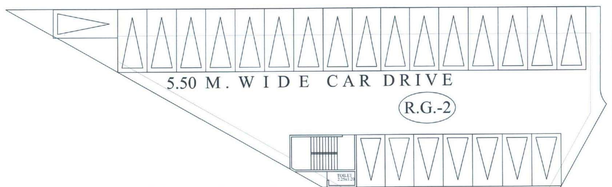

GROUND FLOOR PLAN
BELOW ELEVATED R.G.
SCALE- 1:1000

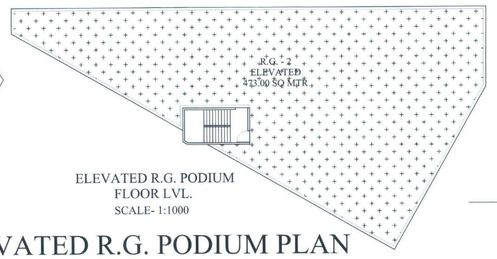

ELEVATED R.G. PODIUM
FLOOR LVL.
SCALE- 1:1000

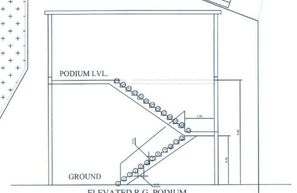

ELEVATED R.G. PODIUM
SECTION A-A
SCALE- 1:1000

ELEVATED R.G. PODIUM PLAN

TYPE - G		
GR.+4TH		BLDG
BUILT UP AREA STATEMENTS		H.T.
FLOOR	AREA IN SQMT	0.45
LOWER GR.	12.02	2.85
GROUND	326.37	4.50
1ST FL.	372.15	4.20
2ND FL.	372.15	3.50
3RD FL.	372.15	3.50
4TH FL.	372.15	3.50
TERRACE FL.	35.79	
TOTAL	1862.78	19.65
BALANCE AREA		
EXCESS AREA		
SHOP AREA		
19.4x14.9 SQMT		
PARKING		
	CAR	SCOOTER
REQ.(BR3)	13	27
PROPOSED	14	73
BALANCE		4
EXCESS		

TYPE - G-1 (BUNGLOW)		
GR.+4TH		BLDG
BUILT UP AREA STATEMENTS		H.T.
FLOOR	AREA IN SQMT	0.45
GROUND	38.25	4.50
1ST FL.	68.21	2.85
2ND FL.	68.21	2.85
3RD FL.	68.21	2.85
TERRACE FL.	14.40	
TOTAL	257.28	13.50
BALANCE AREA		
EXCESS AREA		
SHOP AREA	22.23	
PARKING		
CAR	SCOOTER	
2	6	

TYPE - B3 (WING -A)		
GR.+14TH		BLDG
BUILT UP AREA STATEMENTS		H.T.
FLOOR	AREA IN SQMT	0.45
GROUND	88.55	4.50
1ST FL.	517.81	2.85
2ND FL.	517.81	2.85
3RD FL.	517.81	2.85
4TH FL.	517.81	2.85
5TH FL.	517.81	2.85
6TH FL.	517.81	2.85
7TH FL.	517.81	2.85
8TH FL.	517.81	2.85
9TH FL.	517.81	2.85
10TH FL.	517.81	2.85
11TH FL.	517.81	2.85
12TH FL.	517.81	2.85
13TH FL.	517.81	2.85
14TH FL.	517.81	2.85
TOTAL	7337.69	44.85
BALANCE AREA		
EXCESS AREA		
PARKING		
	CAR	SCOOTER
REQ.	24	94
PRO.	49	31
Excess	25	BAL.-63

TYPE - B3 (WING -B)		
GR.+14TH		BLDG
BUILT UP AREA STATEMENTS		H.T.
FLOOR	AREA IN SQMT	0.45
GROUND	88.55	4.50
1ST FL.	517.81	2.85
2ND FL.	517.81	2.85
3RD FL.	517.81	2.85
4TH FL.	517.81	2.85
5TH FL.	517.81	2.85
6TH FL.	517.81	2.85
7TH FL.	517.81	2.85
8TH FL.	517.81	2.85
9TH FL.	517.81	2.85
10TH FL.	517.81	2.85
11TH FL.	517.81	2.85
12TH FL.	517.81	2.85
13TH FL.	517.81	2.85
14TH FL.	517.81	2.85
TOTAL	7337.69	44.85
BALANCE AREA		
EXCESS AREA		
PARKING		
	CAR	SCOOTER
REQ.	24	94
PRO.	49	31
Excess	25	BAL.-63

TYPE -B-2 (WING A)		
STILT + 7TH		BLDG
BUILT UP AREA STATEMENTS		H.T.
FLOOR	AREA IN SQMT	0.20
GROUND	37.60	3.85
1ST FL.	304.85	2.85
2ND FL.	304.85	2.85
3RD FL.	304.85	2.85
4TH FL.	304.85	2.85
5TH FL.	304.85	2.85
6TH FL.	304.85	2.85
7TH FL.	304.85	2.85
TOTAL	2171.55	24.00
BALANCE AREA		
EXCESS AREA		
PARKING		
	CAR	SCOOTER
REQ.	12	23
PRO.	26	12
Excess	12	BAL.- 11

TYPE -B-2 (WING B)		
STILT + 7TH		BLDG
BUILT UP AREA STATEMENTS		H.T.
FLOOR	AREA IN SQMT	0.20
GROUND	37.60	3.85
1ST FL.	304.85	2.85
2ND FL.	304.85	2.85
3RD FL.	304.85	2.85
4TH FL.	304.85	2.85
5TH FL.	304.85	2.85
6TH FL.	304.85	2.85
7TH FL.	304.85	2.85
TOTAL	2171.55	24.00
BALANCE AREA		
EXCESS AREA		
PARKING		
	CAR	SCOOTER
REQ.	12	23
PRO.	26	12
Excess	12	BAL.- 11

SHREE NAGAR TYPE - B1		
GR.+14TH		
BUILT UP AREA STATEMENTS		
FLOOR	AREA IN SQMT	BLDG H.T.
PLINTH		0.45
GROUND	84.30	4.50
1ST FL.	282.50	2.85
2ND FL.	282.50	2.85
3RD FL.	282.50	2.85
4TH FL.	282.50	2.85
5TH FL.	282.50	2.85
6TH FL.	282.50	2.85
7TH FL.	282.50	2.85
8TH FL.	274.00	2.85
9TH FL.	282.50	2.85
10TH FL.	282.50	2.85
11TH FL.	282.50	2.85
12TH FL.	282.50	2.85
13TH FL.	274.00	2.85
14TH FL.	282.50	2.85
TOTAL	4022.20	44.85
BALANCE AREA		
EXCESS AREA		
PARKING		
	CAR	SCOOTER
REQ.	24	47
PRO.	18	21
Excess		
BAL.	6	26

SHREE NAGAR TYPE - A 3		
GR.+14TH		
BUILT UP AREA STATEMENTS		
FLOOR	AREA IN SQMT	BLDG H.T.
PLINTH		0.45
GROUND	420.64	4.50
1ST FL.	653.03	2.85
2ND FL.	584.00	2.85
3RD FL.	584.00	2.85
4TH FL.	584.00	2.85
5TH FL.	584.00	2.85
6TH FL.	584.00	2.85
7TH FL.	584.00	2.85
8TH FL.	584.00	2.85
9TH FL.	584.00	2.85
10TH FL.	584.00	2.85
11TH FL.	584.00	2.85
12TH FL.	584.00	2.85
13TH FL.	574.34	2.85
14TH FL.	584.00	2.85
TOTAL	8040.35	44.85
COMMERCIAL	OP. AREA	OP. AREA
BALANCE AREA	67.14	67.14
EXCESS AREA		
PARKING		
	CAR	SCOOTER
REQ.	11	163
PRO.	42	10
Excess		
BAL.	9	113

TYPE - F		
GR.+23TH		BLDG
BUILT UP AREA STATEMENTS		H.T.
FLOOR	AREA IN SQMT	0.20
GROUND	600.75	4.20
1ST FL.	591.30	2.85
2ND FL.	591.30	2.85
3RD FL.	591.30	2.85
4TH FL.	591.30	2.85
5TH FL.	591.30	2.85
6TH FL.	591.30	2.85
7TH FL.	591.30	2.85
8TH FL.	591.30	2.85
9TH FL.	591.30	2.85
10TH FL.	591.30	2.85
11TH FL.	591.30	2.85
12TH FL.	591.30	2.85
13TH FL.	591.30	2.85
14TH FL.	591.30	2.85
15TH FL.	591.30	2.85
16TH FL.	591.30	2.85
17TH FL.	591.30	2.85
18TH FL.	591.30	2.85
19TH FL.	591.30	2.85
20TH FL.	591.30	2.85
21TH FL.	591.30	2.85
22TH FL.	591.30	2.85
23TH FL.	591.30	2.85
TOTAL	13860.28	69.00
SHOP AREA	128.00	
BALANCE AREA		
EXCESS AREA		
PARKING		
	CAR	SCOOTER
REQ.(BR3)	63	283
PROPOSED	18	86
BALANCE	45	287
EXCESS		

PROPOSED PARKING AREA STATEMENT

NO.	TOTAL BUILT UP AREA STATEMENTS: BLDG TYPE	BUILT UP AREA	TOTAL	BLDG FL.	BLDG H.T	REQ. PARKING CAR	REQ. PARKING SCOOTER	PROPOSED CAR	PROPOSED SCOOTER	CAR BAL.	CAR EXC.	SCOOTER BAL.	SCOOTER EXC.
1	TYPE - G	1862.78		GR.+4TH	19.65	13	77	14	73			4	
2	TYPE - G-1	257.28		GR.+3RD	13.50	02	06	02	08				
3	TYPE - B3 (WING -A)	7337.69	14675.38	GR.+14TH	44.85	48	188	98	59	50		129	
4	TYPE - B3 (WING -B)	7337.69		GR.+14TH	44.85								
5	TYPE -B-2 (WING A)	2171.55	4343.10	GR.+7TH	23.95	24	46	52	24	28		22	
6	TYPE -B-2 (WING B)	2171.55		GR.+7TH	23.95								
7	TYPE - B1	4022.30		GR.+14TH	44.85	24	47	18	16	6		31	
8	TYPE - A 3	8640.35		GR.+14TH	44.85	51	143	42	10	9		133	
9	TYPE - F	14065.28		GR.+23TH	69.95	63	283	18	10	45		273	
	TOTAL	47866.47				225	790	244	200	60	78	592	
	converting 1car x 6 two wheeler		33 X 6 = 198			33			198				
	NET. TOTAL					258	790			18		592	
	open space scooter parking								393				
	open space car parking							50					
								294	791				

FOR ENVIRONMENTAL CLEARANCE

Proforma - I: Area Statement

A PROPOSED UMA PARADISE COMPLEX, PLOT 'A', S. NO. 186, HISSA NO. 2/1,3/1, 4 TO 7,9 S. NO. 190, HISSA NO. 1A, 1B, 4 S. NO. 226, HISSA NO. 2B, GANESH MANDIR ROAD, TITWALA-EAST, 421605	Drawing Sheet No. : 01 / 07

Only For Environmental Clearance Purpouse. Read with Letter No - KDMC/NRV/1681 . Dt - 08/07/2025.

Executive Engineer (TDO)
Town Planning & Development
Kalyan Doombivli Muncipal Corporation

STAMP OF APPROVAL OF PLANS

	AREA STATEMENT		SQM
1	AREA OF THE PLOT (AS PER 7/12) (MINIMUN AREA OF a, b,c to be considered)		
a	AS PER OWNERSHIP DOCUMENT (7/12, CTS EXTRACT)		30730.00
b	AS PER MEASUREMENT SHEET		
c	AS PER SITE		30730.00
2	DEDUCTIONS FOR		
a	Area of D.P. Road (24MTR. AND 30MTR.)		2705.00
b	Proposed D.P. Road (15MTR. Road)		3880.00
c	Any D.P. Reservation zone (Beautification of Tank + Parking Area)		5360.00
d	Area of Plot B (Natural sub Division Due to 24MTR. D.P. Road)		1325.00
	[Total a+b+c+d]		13270.00
3	Balance area of plot A (1-2)		17460.00
4	Amenity Space (if applicable)		
a	REQUIRED		
b	Adjustment of 2(b), if any -		
c	Balance Proposed -		
5	Net Plot Area (3-4 (c))		17460.00
6	Recreational Open space (if applicable)		
a	Required (@10%) -		1746.00
b	Proposed -		2636.00
7	Internal Road area		
8	Potable area (if applicable)		
9	Built up area with reference to Basic F.S.I. as per front road width (Sr. No. 5x 1.1)		19206.00
10	Addition of FSI on payment of premium		
a	Maximum permissible premium FSI - based on 30mtr road width/TOD Zone. (0.50)-8730		
b	Proposed FSI on payment of premium.		265.00
11	In-situ FSI / TDR loading		
a	In-situ area against D.P. road [2.15 x (Sr. No. 2 (b)-1440.66 BAL. FSI.)]		11439.42
b	In-situ area against D.P. Reservation if handed over [2.15 x Sr. No. 2 (c)]		11524.00
c	**TDR area**		
d	**Total in-situ/TDR loading proposed (11 (a)+(b)+(c))**		22963.42
12	Additional FSI area under Chapter No. 7		
13	Total entitlement of FSI in the proposal		
a	[9 + (10(b)+11(d)] or 2.5 whichever is applicable		42434.42
b	Ancillary Area FSI upto 60% with payment of charges = 28815.48 X 0.6 = 17289.28 / Ancillary Area FSI upto 80% with payment of charges. = 2758.77 X 0.8 = 2207.06	16089.00 / 2207.06	18296.00
c	Total entitlement (a+b)		60730.42
14	Maximum utilization limit of F.S.I. (building potential) Permissible as per 30MTR Road width [as per Regulation No. 6.1 or 6.2 or 6.4 as applicable] x 1.6 or 1.8) (Basic FSI @ 1.1 + Premium @ 0.5 + TDR @ 1.4 on 28631.50 Bal area of plot A) ((10)26 + 14315.75 = 40384.18) = 73605.83) x 1.8		117769.00
15	Total Built-up Area in proposal. (excluding area at Sr.No.17 b)		
a	Existing Built-up Area. IN PLOT - A		
	I) TYPE- "A3" AND "B1" = 2327.03		
	II) TYPE -"D" (WING A & B) = 4079.57		
	III) TYPE "A1" = 1704.25		
	XI) TYPE "B1" = 1596.47		15185.92
	V) TYPE "C" (WING B, C & D) = 4068.78		
	VI) TYPE "C" WING - A = 621.81		
	VII) ROW HOUSE TYPE -I, II PH. 2 = 788.31		
	TOTAL = 15185.92		
b	Approved Area		15368.34
C	Proposed Built-up Area (as per 'P-line')		
	I) TYPE - "B-2" = 4343.10		
	II) TYPE - "F" = 14065.28		
	III) TYPE - "B-3" (WING A & B) = 14675.38		
	IX) TYPE - "G" = 1862.78		
	V) TYPE - G-1(BUNGLOW) = 257.28		45539.74
	XI) TYPE - A3 AND B1 (REDEVELOPMENT) ((2662.65-2327.03) = 10335.62		
	TOTAL = 45539.74		
d	Total (a+c)		60725.66
e	Net Proposed BUA (d-b)		45357.02
16	Balance F.S.I.		4.76
17	F.S.I. Consumed (15/13) (should not be more than serial No. 14 above.)		
18	Area for Inclusive Housing, if any		
a	Required (20% of Sr.No.5)		
b	Proposed		

CERTIFICATE OF AREA : CERTIFICATE THAT THE PLOT UNDER REFERENCE WAS SURVEYED BY ME ON..... AND THE DIMENSIONS OF SITE OF PLOT STATED ON PLAN ARE AS MEASURED ON THE SITE AND THE AREA SO DOCUMENTOF OWNERSHIP / T.P. SCHEME RECORDS DEPT./ CITY SURVEY RECORDS.

NIHIKSHA B. PATEL
DOMBIVLI (EAST)
REGN. NO. CA/2017/85460
ARCHITECT

MRS. NIHIKSHA B. PATEL
(ARCHITECT)
CA/2017/85460

APPENDIX - C

I HAVE CONFIRMED THAT THE PROPOSED CONSTRUCTION IS AS PER THE NORMS AS SPECIFIED BY INDIAN STANDARDS INSTITUTE FOR THE RESISTANCE OF EARTHQUAKE.

M. PATEL & ASSOCIATES MUMBAI 400 075.

SIGNATURE OF STRUCTURAL ENGINEER

OWNERS / POA DECLARATION : I/WE UNDERSIGNED HEREBY CONFIRM THAT I/WE WOULD ABIDE BY PLANS APPROVED BY AUTHORITY / COLLECTOR. I/WE WOULD EXECUTE THE STRUCTURE AS PER APPROVED PLANS. ALSO I/WE THE WORK UNDER SUPERVISION OF PROPER TECHNICAL PERSON SO AS TO ENSURE THE QUALITY AND SAFETY AT THE WORK SITE.

OWNERS / POA NAME AND SIGNATURE

M/S. UMIYA DEVELOPERS

For Umiya Developers
Partner

ARCHITECT **SIGNATURE**

VASANI DESIGNERS & REALTORS
ARCHITECTS CA/2017/85460
Unit No. 0817, 8th FL, The Gateway, Opp. Nahur Registration Office, Mulund-Gorgaon Link Road, Mulund (W), Mumbai - 400080

DRN	CKD	SCALE	DATE	JOB NO	R	DRG NO
B.P./C.G.M.	N.B.P.	AS SHOWN	03/01-2025	101/2024		M-01/07

PRODUCED BY AN AUTODESK EDUCATIONAL PRODUCT
PRODUCED BY AN AUTODESK EDUCATIONAL PRODUCT
PRODUCED BY AN AUTODESK EDUCATIONAL PRODUCT
PRODUCED BY AN AUTODESK EDUCATIONAL PRODUCT