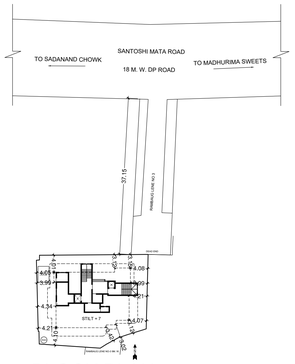

BLOCK PLAN
SCALE= 1:500

FORM OF STATEMENT 2 [SR. NO. 9 (g)		
FLOOR	OFFICE NO.	RERA CARPET AREA (SQ.MT.)
FIRST FLOOR	101	11.89
	102	17.88
	103	24.12
	104	26.16
	105	32.82
	106	22.62
	107	22.91

FORM OF STATEMENT 2 [SR. NO. 9 (g)	
FLAT NO.	RERA CARPET AREA OF FLAT (SQ.MT.)
201 TO 501	42.65
202 TO 502	60.99
203 TO 503	32.97
204 TO 504	38.09
601 TO 701	42.65
602 TO 702	48.62
603 TO 703	45.43
604 TO 704	38.09

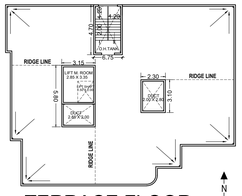

TERRACE FLOOR
SCALE= 1:200

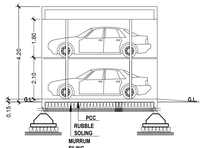

SECTION SHOWING TYPICAL STACK PARKING
SCALE 1:100

PARKING STATEMENT

CARPET AREA	NOS. OF FLATS	PARKING REQUIRED	
		CAR	SCOOTER
LESS THAN 30 SQ.MT. 1 PARKING / 2 TENEMENTS. 2 PARKING / 2 TENEMENTS.	0	0	0
30 TO 40 SQ.MT. 1 PARKING / 2 TENEMENTS. 2 PARKING / 2 TENEMENTS.	10	5	10
40 TO 80 SQ.MT. 1 PARKING / 2 TENEMENTS. 2 PARKING / 2 TENEMENTS.	14	7	14
COMM. (OFFICE) FOR EVERY 200 SQ.M. CARPET AREA OR FRACTION THERE OF — CAR 3 / SCOOTER 11	158.39 sq.m.	2.4	8.70
TOTAL	31 NOS.	14.40 NOS.	32.70 NOS.
VISITORS PARKING 5 % OF REQD. PARKING	----	0.70NOS	1.7 NOS
TOTAL PARKING REQUIRED	----	15 NOS.	34 NOS
KDMC REQUIRED — CAR 80 % / SCOOTER 100 %	----	12 NOS.	34 NOS
COMPOSITE PARKING. SIX SCOOTERS CAN BE ALLOWED INSTEAD OF ONE CAR. Rule No. - 8.1.1. (V) 6 x 6 = 36 SCOOTERS PROPOSED = 0 SCOOTERS TOTAL = 0 SCOOTERS		+ 4 NOS.	- 24 NOS.
ADDITIONAL CAR / SCOOTERS PROVIDED	----	----	----
TOTAL PARKING PROPOSED	----	16 NOS	10 NOS

PLOT AREA CALCULATION				
Sr.No.	1/2	Base	Height	Area
1	1/2	31.4	14.52	227.96
2	1/2	31.4	14.00	219.80
3	1/2	25.2	1.93	24.32
4	1/2	18.76	2.80	26.26
5	1/2	14.97	2.86	21.41
6	1/2	16.73	0.15	1.29
7	1/2	16.78	0.71	5.96
Total				527.00

DOOR / WINDOW SCHEDULE FOR OPENINGS			
	SPECIFICATION	SIZE	SILL
D1	PANELED DOOR	1.00X2.30	0.00
D2	FLUSH DOOR	0.90X2.30	0.00
D3	BACKALITE DOOR	0.75X2.10	0.00
W1	ALUMINIUM SLIDING WINDOW	1.80X2.00	0.30
W2	ALUMINIUM SLIDING WINDOW	1.20X2.00	0.30
W3	LOUVERED WINDOW	1.80X1.20	0.9
W3	LOUVERED WINDOW	0.60X1.10	1.20

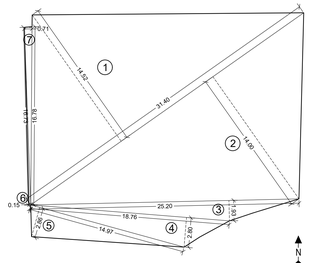

PLOT AREA DIAGRAM
SCALE= 1:200

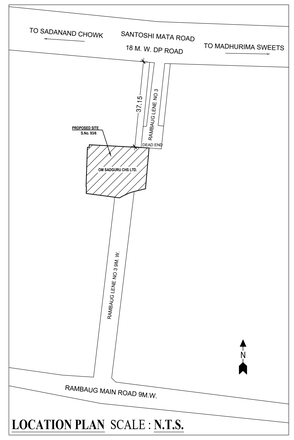

LOCATION PLAN SCALE : N.T.S.

BUILT UP AREA STATEMENT			
FORM OF STATEMENT 2[SR.NO.9(A)]			
Sr.No.	FLOOR	TYPE	AREA
1	GROUND	PARKING	84.15
2	FIRST	COMMERCIAL	310.58
3	SECOND	RESIDENTIAL	291.03
4	THIRD	RESIDENTIAL	291.03
5	FOURTH	RESIDENTIAL	291.03
6	FIFTH	RESIDENTIAL	291.03
7	SIXTH	RESIDENTIAL	291.66
8	SEVENTH	RESIDENTIAL	291.66
TOTAL			2142.17

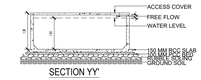

SECTION YY'

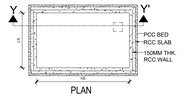

PLAN
UNDERGROUND WATER TANK
(SCALE 1:100)

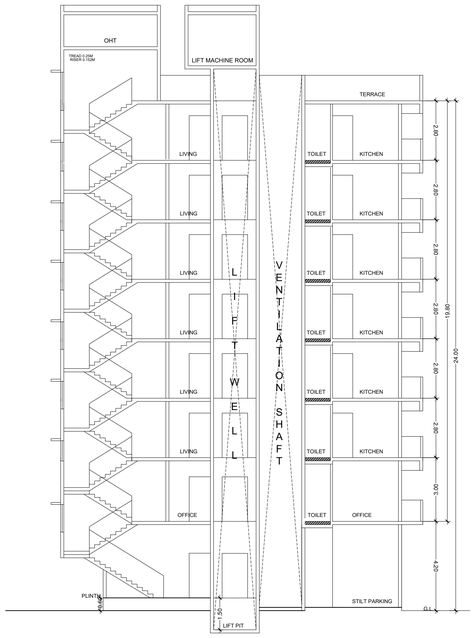

SECTION - AA'
SCALE= 1:100

FRONT (NORTH) ELEVATION
SCALE= 1:100

GROUND (STILT) FLOOR BUILT UP AREA CALCULATION					
RESIDENTIAL					
Sr.No.	Length	X	Width	No.	Area
1	12.60		11.50	1	144.9
				Total (A)	144.9
Deductions					
Sr.No.	Length	X	Width	No.	Area
1	3.00	X	2.00	1	6.00
2	2.85	X	7.05	1	20.09
3	2.00	X	1.50	1	3.00
4	9.20	X	4.05	1	37.26
5	2.15	X	0.80	1	1.72
6	3.60	X	2.15	1	7.74
7	3.00	X	1.55	1	4.65
			Total Deductions (B)		80.46
Total Built Up Area (A-B)					64.44
COMMERCIAL					
Sr.No.	Length	X	Width	No.	Area
1	7.05		3.45	1	24.3225
				Total (A)	24.3225
Deductions					
Sr.No.	Length	X	Width	No.	Area
1	1.50	X	1.50	1	2.25
2	5.25	X	0.45	1	2.36
			Total Deductions (B)		4.61
Total Built Up Area (A-B)					19.71
Total Built Up Area of Ground Floor					84.15

FIRST FLOOR BUILT UP AREA CALCULATION					
Sr.No.	Length	X	Width	No.	Area
1	21.2		17.05	1	361.46
				Total (A)	361.46
Deductions					
Sr.No.	Length	X	Width	No.	Area
1	1.25	X	1.00	1	1.25
2	2.55	X	1.00	1	2.55
3	0.85	X	4.50	1	3.83
4	1.50	X	1.50	1	2.25
5	2.00	X	2.80	1	5.60
6	5.05	X	3.00	1	15.15
7	2.30	X	1.65	1	3.80
8	1.00	X	4.25	1	4.25
9	2.85	X	2.00	1	5.70
10	1.50	X	2.00	1	3.00
11	0.55	X	5.70	1	3.14
			Total Deductions (B)		50.51
Total Built Up Area (A-B)					310.58

TYPICAL FLOOR 2ND TO 5TH BUILT UP AREA CALCULATION					
Sr.No.	Length	X	Width	No.	Area
1	21.65		17.05	1	369.13
				Total (A)	369.13
Deductions					
Sr.No.	Length	X	Width	No.	Area
1	1.25	X	1.00	1	1.25
2	3.60	X	1.00	1	3.60
3	1.00	X	8.70	1	8.70
4	5.05	X	3.75	1	18.94
5	2.30	X	2.65	1	6.10
6	6.85	X	1.00	1	6.85
7	1.45	X	12.55	1	18.20
8	2.00	X	2.80	1	5.60
9	2.85	X	2.00	1	5.70
10	1.50	X	2.00	1	3.00
			Total Deductions (B)		77.93
Total Built Up Area (A-B)					291.03

TYPICAL FLOOR 6TH & 7TH BUILT UP AREA CALCULATION					
Sr.No.	Length	X	Width	No.	Area
1	21.65		17.05	1	369.13
				Total (A)	369.13
Deductions					
Sr.No.	Length	X	Width	No.	Area
1	4.20	X	1.00	1	4.2
2	6.60	X	1.00	1	6.60
3	5.70	X	1.00	1	5.70
4	5.05	X	3.00	1	15.15
5	2.30	X	2.65	1	6.10
6	6.85	X	1.00	1	6.85
7	1.45	X	12.55	1	18.20
8	2.00	X	2.80	1	5.60
9	2.85	X	2.00	1	5.70
10	1.50	X	2.00	1	3.00
			Total Deductions (B)		77.09
Total Built Up Area (A-B)					291.66

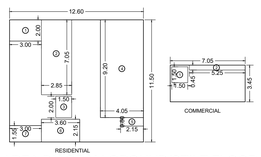

AREA DIAGRAM GROUND/STILT FLOOR
SCALE= 1:200

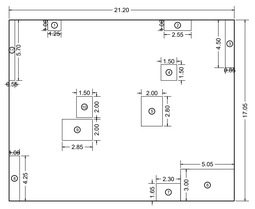

AREA DIAGRAM FIRST FLOOR
SCALE= 1:200

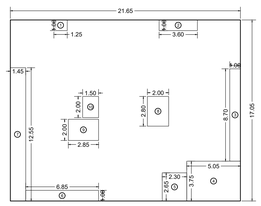

AREA DIAGRAM 2nd TO 5th FLOOR
SCALE= 1:200

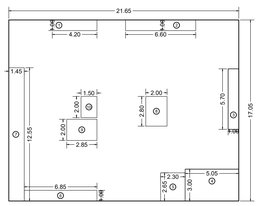

AREA DIAGRAM 6th & 7th FLOOR
SCALE= 1:200

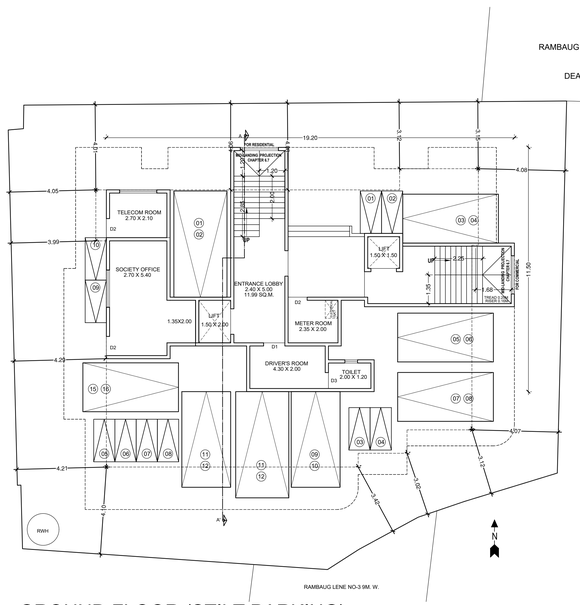

GROUND FLOOR (STILT PARKING)
SCALE= 1:100

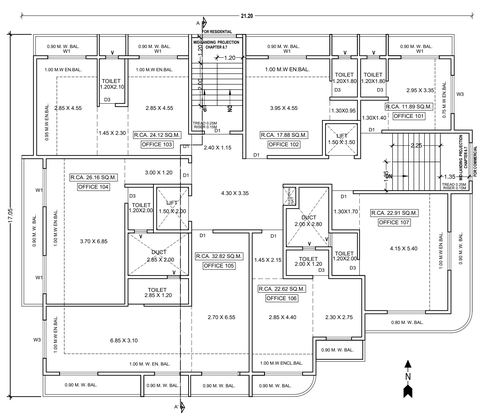

1ST FLOOR (COM)
SCALE= 1:100

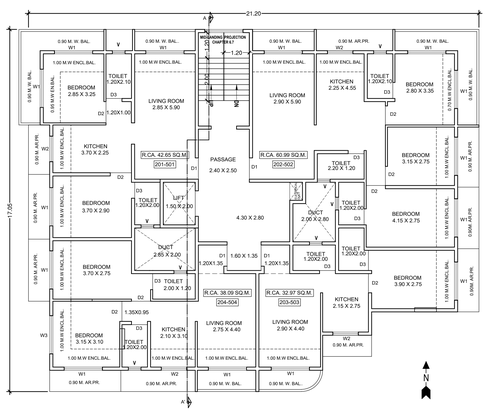

2nd & 5th FLOORS (RES)
SCALE= 1:100

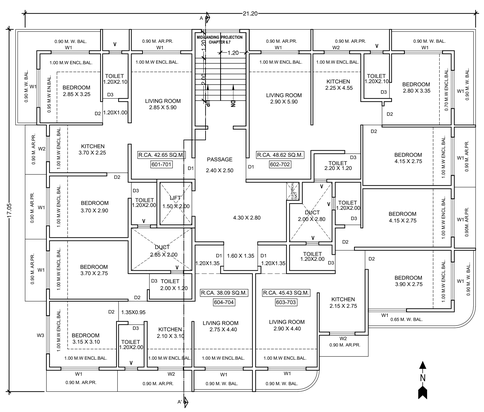

6th & 7th FLOORS (RES)
SCALE= 1:100

PROFORMA -1 : AREA STATEMENT | 1 / 1

PROPOSED BUILDING ON PLOT BEARING S.No.93 H.No.6, (Old S. No. 93, H. No. 1/A/31), AT VILLAGE: CHIKANGHAR, TALUKA: KALYAN, DISTRICT: THANE, STATE: MAHARASHTRA.

STAMPS OF APPROVAL OF PLANS:

AREA STATEMENT		
1.	Area of plot (Minimum area of a, b, c to be considered)	
(a)	As per ownership document (7/12)	527.00
(b)	as per measurement sheet	527.00
(c)	as per site	527.00
2.	Deductions for	
(a)	Proposed D.P./ D.P. Road widening Area/Service Road / Highway widening	0.00
(b)	Any D.P. Reservation area	--
	(Total a+b)	--
3.	Balance area of plot (1-2)	527.00
4.	Amenity Space (5%)	
(a)	Required - (5%)	-
(b)	Adjustment of 2(b), if any -	-
(c)	Balance Proposed -	-
5.	Net Plot Area (3 - 4 (c))	527.00
6.	Recreational Open space	
(a)	Required -	0.00
(b)	Proposed -	0.00
7.	Internal Road area	
8.	Plotable area (if applicable)	NA
9.	Built up area with reference to Basic F.S.I. as per front road width (527.00 X 1.1)	579.70
10.	Addition of FSI on payment of premium (0.5)	
(a)	Maximum permissible premium FSI	263.50
(b)	Proposed FSI on payment of premium.	263.50
11.	In-situ FSI / TDR loading	--
(a)	In-situ area against D.P. road -	--
(b)	In-situ area against Amenity Space if handed over [2.00 or1.85 x Sr. No. 4 (b)land /or(c)].	
(c)	TDR area (527.00 X 0.9)	474.30
(d)	Total in-situ / TDR loading proposed	294.30
12.	FSI area under Chapter No. 7 (TENANT F.S.I.) no of tenants = 12 (12 x 15 = 180 sq.m.)	180.00
13.	Total entitlement of FSI in the proposal	
(a)	[9 + 10(b)+11(d)] or 12 whichever is applicable.	1317.50
(b)	Ancillary Area FSI upto 80% with payment of charges.	
	Ancillary Area FSI Commercial 183.5 x 80% = 146.80	146.80
	Ancillary Area FSI Residential 1134.00 x 60% = 680.40	680.40
(c)	Total entitlement (a+b)	2144.70
14.	Maximum utilization limit of F.S.I. (building potential) Permissible as per Road width	2144.70
15.	Total Built-up Area in proposal.(excluding area at Sr.No.17 b)	
(a)	Existing Built-up Area.	--
(b)	Proposed Built-up Area (as per 'P-line')	2142.17
(c)	Total (a+b)	2142.17
16.	F.S.I. Consumed (15/13) (should not be more than serial No.14 above.)	0.99
17.	Area for Inclusive Housing, if any	
(a)	Required	--
(b)	Proposed	

CERTIFICATE :

I hereby certify that the structural drawings for the above mentioned work are prepared by me / us and work, as far as structural drawings are concerned, shall be carried under my supervision. I shall be responsible for the execution of the work as far as structural drawings are concerned.

SIGNATURE OF STRUCTURAL ENGINEER

CERTIFICATE OF AREA:

Certified that the plot under reference was surveyed by me on ---------- and the dimensions of sides etc. of plot stated on plan are as measured on site and the area so worked out tallies with the area stated in document of Ownership/ T.P. Scheme Records/ Land Records Department/City Survey records.

SIGNATURE OF ARCHITECT

OWNER'S DECLARATION

IWe undersigned hereby confirm that IWe would abide by plans approved by Authority / Collector. IWe would execute the structure as per approved plans. Also IWe would execute the work under supervision of proper technical person so as to ensure the quality and safety at the work site.

Mr. Atul Kashinath Yashwantrao
M/s. Sindhuja Lifespaces and Land Developers

JOB NO.	DWG NO.	DATE	SCALE	DRAWN BY	CHECKED BY
UV02-26-FEB	01	14/02/2026	1:100	AR.UJWAL	

AR. UJWAL BHALCHANDRA JAMDARE
REG. NO. - CA / 2023 / 154962
UV ARCHVIL
Shop No. 5 & 6, New Baghirathi Apartment, Chatrapati Shivaji Maharaj Chowk, Badlapur (E), 421503
Mob. No. +91-7276669144 Email:- uvarchvil@gmail.com