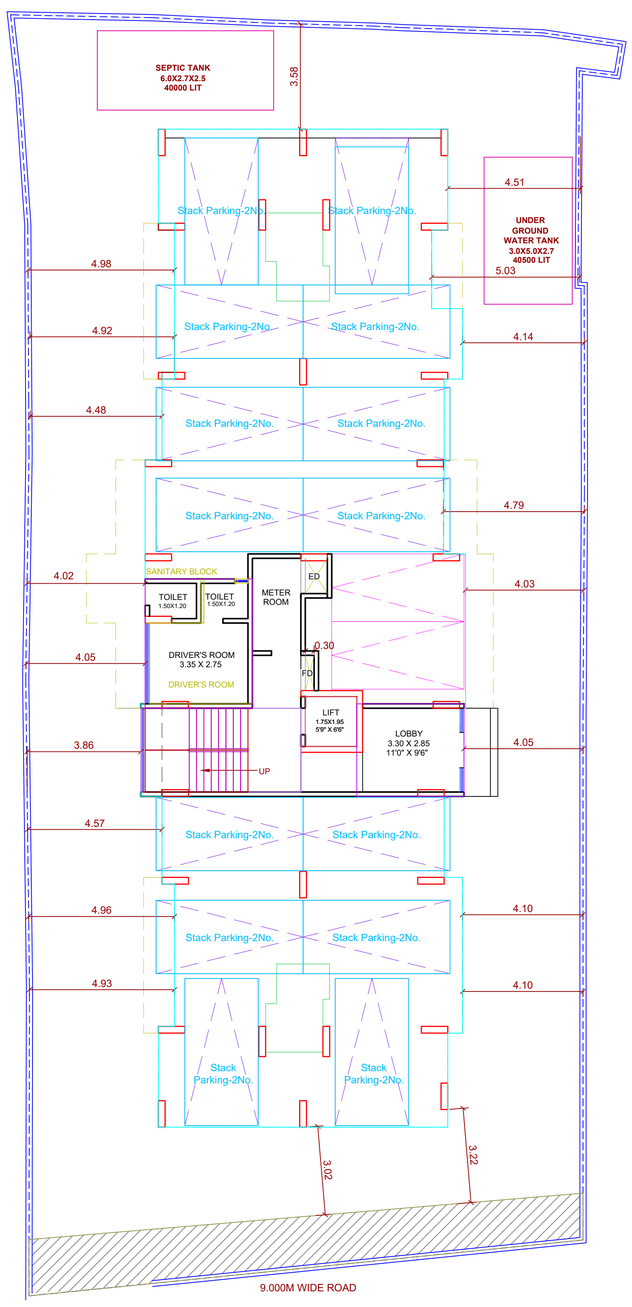

GROUND FLOOR PLAN
SCALE - 1:100

GROUND AND STILT

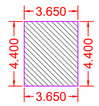

BUILT-UP AREA CALCULATION
STILT AND GROUND FLOOR

BUILT-UP AREA CALCULATION
STILT AND GROUND FLOOR

BUILT UP AREA CALCULATION
FOR GROUND AND STILT GOKULDHAM CHS

AREA NAME	LENGTH	WIDTH	Area(Sq.M)
BLOCK	4.400	3.650	16.060
BLOCK AREA TOTAL =16.060Sq.M			
TOTAL Deduction =0.000Sq.M			
Net BuiltUp Area =16.060 Sq.M			

BUILT UP AREA CALCULATION
FOR GROUND AND STILT GOKULDHAM CHS

AREA NAME	LENGTH	WIDTH	Area(Sq.M)
BLOCK	3.650	3.150	11.498
BLOCK AREA TOTAL =11.498Sq.M			
TOTAL Deduction =0.000Sq.M			
Net BuiltUp Area =11.498 Sq.M			

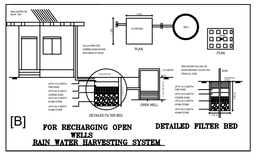

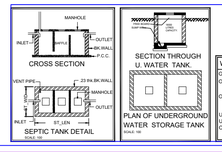

WATER STORAGE REQUIREMENT
OVER HEAD WATER TANK REQUIRED
OHT_WATER_REQ_R
OHT_WATER_REQ_VAL_R
OHT_WATER_REQ_C
OHT_WATER_REQ_VAL_C
UNDER GR. WATER TANK REQUIRED
UGR_WATER_REQ
OHT_WATER_PRO
UGR_WATER_PRO

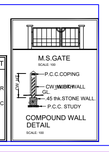

FSI DETAILS									
10 Index	Basic FSI/Ext. BUA (on serial no 7)	Incentive FSI as per 7.6.1	Premium FSI (on serial no 3)	TDR/DR (on serial no 3)	Incentive fsi for green building if Applicable	Ancillary Area(60% of 2+3+4+5+6+7)	Ancillary Area(30% of 2+3+4+5+6+7)	Total	Drawing Value
10.1 Permissible Index	1.100	30%/15 sq.mtr per ten.	0.500	0.400	0.000	0.000	0.000	2.000	0.000
10.2 Total Entitlement of FSI as per Reg 7.6.1 & 16.3	1.457	0.379	0.091	0.073	0.000	0.000	0.000	2.000	0.000
10.3 FSI Permissible on Redevelopment(Max of 10.1 and 10.2)	1.457	0.379	0.091	0.073	0.000	0.000	0.000	2.000	0.000
10.4 Existing Consumed Index	0.000	0.000	0.000	0.000	0.000	0.000	0.000	0.000	-
10.5 Balance Index to be Consumed (10.3 – 10.4)	1.457	0.379	0.091	0.073	0.000	0.000	0.000	2.000	-
10.6 Total Permissible (P Line Area)	1109.000	285.000	71.511	57.209	0.000	953.314	0.000	2476.033	0.000
10.7 Proposed P Line Area (should not exceed 10.4)	1109.000	285.000	71.511	123.345	0.000	831.795	0.000	2420.651	2420.651
10.8 Index Consumed	1.475	0.379	0.095	0.164	0.000	0.000	0.000	2.113	0.000

Area utilisation of Roads and Reservations							
Description of area utilisation			surrendered Area in(SqM)	Quatam of DR/TDR generation	Total Quatam of DR/TDR generation	Area considered for DR utilisation	Remaining area for DRC generation
BUILDING	Reservation type	reservation no	Name				
-	-	9,000.m- DP Road Widening	33.068	66.136	66.136	0.000	0.000
-	-	Total	33.068	66.136	66.136	66.136	0.000

GOKULDHAM CHS															
BUILDING	FLOORS	FSI AREA						BALCONY	TERRACE	LIFT	LIFTWELL	DUCT	VENT. SHAFT	OTHER DEDUCTION	TOTAL FSI AREA
		COMM.	RESI.	IND.	EDU.	INS.	MEZZ.	PROP.							
GOKULDHAM CHS	7TH	0.000	291.000	0.000	0.000	0.000	0.000	1.743	0.000	0.000	2.975	12.341	0.000	0.000	275.684
GOKULDHAM CHS	6TH	0.000	374.441	0.000	0.000	0.000	0.000	1.743	0.000	0.000	2.975	17.955	0.000	0.000	353.511
GOKULDHAM CHS	4TH AND 5TH	0.000	749.482	0.000	0.000	0.000	0.000	3.486	0.000	0.000	5.950	35.910	0.000	0.000	707.622
GOKULDHAM CHS	1ST TO 3RD	0.000	1119.066	0.000	0.000	0.000	0.000	5.229	0.000	8.925	8.925	53.865	0.000	0.000	1056.276
GOKULDHAM CHS	GROUND AND STILT	0.000	27.558	0.000	0.000	0.000	0.000	0.000	0.000	0.000	0.000	0.000	0.000	0.000	27.558
GOKULDHAM CHS	TOTAL	0.000	2561.547	0.000	0.000	0.000	0.000	12.201	0.000	8.925	20.825	120.071	0.000	0.000	2420.651

Carpet Area Table

Building Name	Floor Name	Carpet name	Tenement No	Carpet Area	Enclosed Balcony Area	Normal Balcony Area	Mezzanine Area	Total Carpet Area
GOKULDHAM CHS	1ST TO 3RD	101;201;301	3	54.345	0.000	0.000	0.000	54.345
GOKULDHAM CHS	1ST TO 3RD	102;202;302	3	50.509	0.000	0.000	0.000	50.509
GOKULDHAM CHS	1ST TO 3RD	103;203;303	3	31.110	0.000	1.743	0.000	31.110
GOKULDHAM CHS	1ST TO 3RD	104;204;304	3	52.466	0.000	0.000	0.000	52.466
GOKULDHAM CHS	1ST TO 3RD	105;205;305	3	53.385	0.000	0.000	0.000	53.385
GOKULDHAM CHS	1ST TO 3RD	106;206;306	3	50.692	0.000	0.000	0.000	50.692
GOKULDHAM CHS	4TH AND 5TH	401;501	2	56.157	0.000	0.000	0.000	56.157
GOKULDHAM CHS	4TH AND 5TH	402;502	2	50.509	0.000	0.000	0.000	50.509
GOKULDHAM CHS	4TH AND 5TH	403;503	2	31.110	0.000	1.743	0.000	31.110
GOKULDHAM CHS	4TH AND 5TH	404;504	2	52.466	0.000	0.000	0.000	52.466
GOKULDHAM CHS	4TH AND 5TH	405;505	2	53.385	0.000	0.000	0.000	53.385
GOKULDHAM CHS	4TH AND 5TH	406;506	2	50.692	0.000	0.000	0.000	50.692
GOKULDHAM CHS	6TH	601	1	56.157	0.000	0.000	0.000	56.157
GOKULDHAM CHS	6TH	602	1	50.509	0.000	0.000	0.000	50.509
GOKULDHAM CHS	6TH	603	1	21.990	0.000	1.743	0.000	21.990
GOKULDHAM CHS	6TH	604	1	61.568	0.000	0.000	0.000	61.568
GOKULDHAM CHS	6TH	605	1	53.385	0.000	0.000	0.000	53.385
GOKULDHAM CHS	6TH	606	1	50.692	0.000	0.000	0.000	50.692
GOKULDHAM CHS	7TH	701	1	56.157	0.000	0.000	0.000	56.157
GOKULDHAM CHS	7TH	702	1	50.509	0.000	0.000	0.000	50.509
GOKULDHAM CHS	7TH	704	1	50.692	0.000	0.000	0.000	50.692
GOKULDHAM CHS	7TH	703	1	31.110	0.000	1.743	0.000	31.110

Telecom Room			
Building	Req. Size	Prop. Size	Status
GOKULDHAM CHS	3.000X3.400	3.000X3.400	OK
GOKULDHAM CHS	3.000X3.400	3.000X3.400	OK

SCHEDULE OF OPENING				
BLD NAME	NAME	LENGTH	HEIGHT	Nos.
GOKULDHAM CHS	V	0.450	0.900	1
GOKULDHAM CHS	v	0.450	0.900	41

Parking Check (Table 6B)								
			RATIO			Required		
Building Name	USE	TENAMENT AREA	car	scooter	NO.OF Tens/Area/Units	car	scooter	Transport Vehicle/Ambulance /Mini Bus
GOKULDHAM CHS	Residential	For every two tenements with each tenement having carpet area less than 40 Sq.m. but more than 30 sq.m.	1	2	6	3.000	6.000	-
GOKULDHAM CHS	Residential	For every two tenements with each tenement having carpet area equal to or above 40 sq.m. but less than 80 sq.m.	1	2	33	16.500	33.000	-
GOKULDHAM CHS	Residential	For every two tenements with each tenement having carpet area less than 30 Sq.m.	0	2	1	0.000	1.000	-
Total	-	-	-	-	-	19.500	40.000	-
Visitors parking(5%)	-	-	-	-	-	0.975	2.000	-
Total	-	-	-	-	-	20.475	42.000	0.000

Parking Check As Per Multiplying Factor 0.800 (max 1) 8 scooter equals to 1 car, proposed composite parking for car= 8)							
	Required			Proposed			
Building Name	Car	Scooter	Transport Vehicle/Ambulance /Mini bus	Car	Scooter	Transport Vehicle/Ambulance /Mini bus	Status
Total	24	0	0	28	0	0	OK

Existing Building / Tenement Details												
Sr.No	Building/Tenement No.	Carpet Area Per Tenement	BUA Per Tenement	Status Of Occupant	Number Of Tenements	Residential Non Residential	For Tenement Carpet below 27. 87SqM. Min 27.87 Sqm to be added	Total	Incentive 30%/50% per Tenement for owner	Total Incentive	15 Sqm BUA addition per tenement	Total of 15 sqmt Addition	Total
0	1	29.600	35.520	Owner	3	Residential	0.000	0.000	10.660	0.000	15.000	45.000	151.560
1	2	43.720	52.460	Owner	13	Residential	0.000	0.000	15.740	0.000	15.000	195.000	876.980
2	3	59.000	70.800	Owner	2	Residential	0.000	0.000	21.240	0.000	15.000	30.000	171.600
3	4	87.910	105.490	Owner	1	Residential	0.000	0.000	31.650	0.000	15.000	15.000	120.490

LOCATION PLAN
SCALE - 1:1000

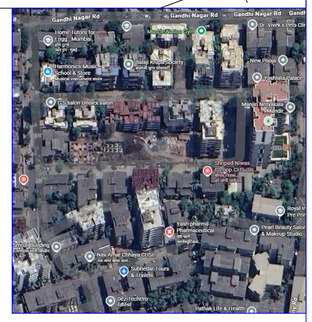

Reserved for Stamps of Approval plan

Project Details
Proposal code: KDMCC-25-122229
Zone Type: Residential Zone
Location: Non-Congested
Name of service: Redevelopment For Dangerous Building
Sub service: Redevelopment of multi-dwelling buildings of owner
Cts No./Survey No.: 36
Tahsil: 27 Village
Mouza: Nandivali From Panchanand
Prorata Value: 0.000
Separation/CRZ Zone Area: -

LEGENDS:
PLOT BOUNDRY SHOWN WHITE
PROPOSED WORK SHOWN RED
ADJOINING PROPERTY SHOWN LIGHT
WATER LINE SHOWN BLUE DOTTED
ENCLOSED BAL SHOWN BROWN
TERRACE SHOWN DARK YELLOW
OPEN BAL SHOWN BROWN
EXISTING SHOWN BLUE HATCHED

Proforma I : Area Statement	
1. Area of plot(Minimum area of a, b, c to be considered) or area of subplot with sanctioned layout No. and subplot No.	790.000
(a) As per ownership document (7/12, CTS extract)	790.000
(b) as per TILR or City Survey measurement sheet	790.000
(c) as per Demarcated drawing area	804.987
LESS	
2.Area not in possession	5.004
3. Area Proposed for development (out of 1-2)	784.996
4.Deductions for(out of 3)	
(a) Proposed D.P / D.P. Road widening Area/Proposed DP road, Road under MMC act	33.068
(b) Any D.P. Reservation area	0.000
(c) Green Belt	0.000
(Total a+b+c)	33.068
5. Balance area of plot (3-4)	751.928
6. Amenity Space Proposed	0.000
(Required -(a) Upto 20,000 sqmt - Nil	-
(b) Above 20,000 and more - (a) + 5% of Total area	0.000
7. Net Plot Area (5-6)	751.928
8.Recreational Open Space (Not applicable if plots are from sanctioned layout)	-
(a). If area is more than (5) 4000 sqmt - 10 % of (5) is required.	0.000
Proposed ___	0.000
(A)10 % Subject to minimum 200 sqmt(Not applicable if plots are from sanctioned layout or each plot admesuring less than 4000sq.m regularised under gunthewari act)	0.000
Proposed _____	0.000
(B)Exemption to leave open space subject to availing basic F.S.I of 75 %	-
(C)Exemption to leave open space subject to payment of 10 % land value of land at (7) as per annual statement of rate.	-
If (5) > 4000sq.m then Land admesuring 20% of (5) is to be utilised for inclusive housing	0.000
Proposed Area	0.000
Architect/ Licensed Engineer/ Supervisor name and signature	
Registration No. of Architect/ License no. of Licensed Engineer/ Supervisor: CA/2000/26709	

Certificate of Area:
Certified that the plot under reference was surveyed by me on_____ and the dimensions of sides etc. of plot stated on plan are as measured on site and the area so worked out tallies with the area stated in document of Ownership/ T.P. Scheme Records/Land Records Department/City Survey records.

Signature
(Name of Architect/ Licensed Engineer/ Supervisor.)

Owner's Declaration -
I/We undersigned hereby confirm that I/We would abide by plans approved by Authority / Collector. I/We would execute the structure as per approved plans. Also I/We would execute the work under supervision of proper technical person so as to ensure the quality and safety at the work site.

Owner (s) name and signature

Name Of : Owner EKVEERA BUILDERS AND DEVELOPERS

Postal Address ; 005, Gokul Dham Co-Op Hsg Society,Manpada Road,Kalyan,Thane,Maharashtra-421204

Phone No.:9819173611

DESCRIPTION OF PROJECT :

Type of Proposal : Residential
BUILDING ON CTS. NO./SURVEY NO.-36

SITE ADDRESS :
S.No. 36/¶, Village Nandivali, at Dombivili
(E),Tal: Kalyan,Dist: Thane.

Name Of Architect : ankur arvind shetye

LOGO	ADDRESS OF OFFICE
	OFFICE - 02, shree amar chs, off manpada road,near octroi naka, dombivili (e),tal kalyan,dist thane.

OWNERS SIGN -	TECHNICAL PERSON SIGN
	ANKUR ARVIND SHETYE — Digitally signed by ANKUR ARVIND SHETYE Date: 2026.01.22 18:02:18 +05'30'

	SCALE -	DATE: Date: 22/01/26
	JOB NO - KDMCC-25-122229	CHECK BY - zoom

SUBMISSION DRAWING

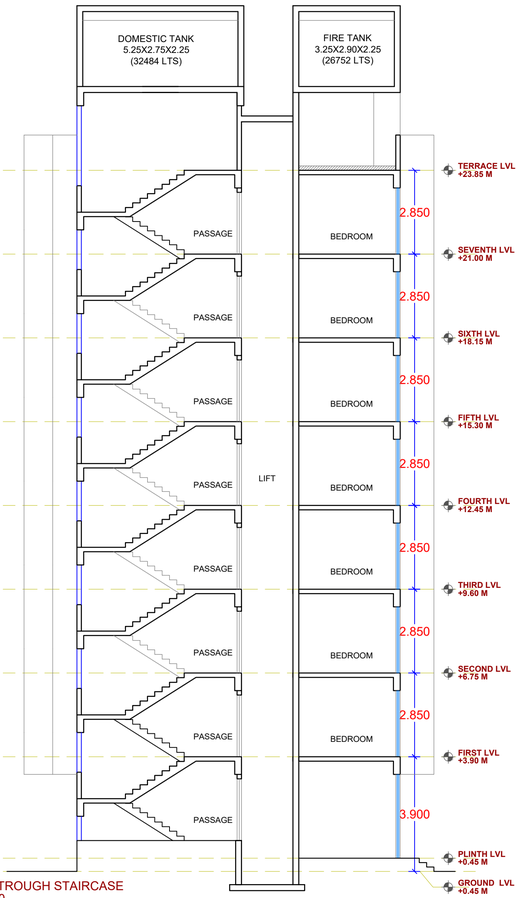

SECTION TROUGH STAIRCASE
scale 1: 100

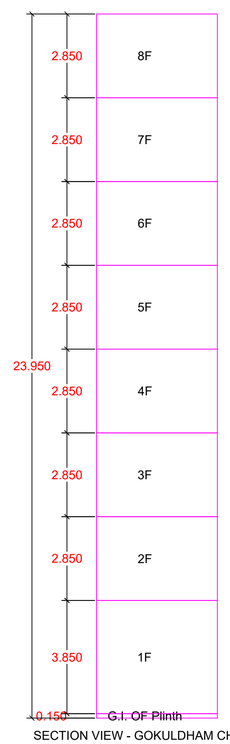

SECTION VIEW - GOKULDHAM CHS

PROFORMA – I : AREA STATEMENT

SR. NO.	DESCRIPTION	AREA (SQMT)
1.	AREA OF PLOT (Minimum area of a,b,c to br=e considered) or area of subplot with sanctioned layout no.and subplot no.	
	a) AS PER OWNERSHIP DOCUMENTS (7/12, CTS EXTRACT)	790.00
	b) AS PER TILR OR CITY SURVEY MEASUREMENT SHEET	-
	c) AS PER DEMARCATED DRAWING AREA	-
2.	DEDUCTION IF ANY	-
	a) PROPOSED DP / DP ROAD WIDENING AREA / SERVICE / HIGHWAY WIDENING	33.068
	b) AREA NOT IN POSSESSION	5.000
	TOTAL (a + b)	38.068
3	BALANCE AREA OF PLOT (1 - 2)	751.932
4	AMENITY SPACE (IF APPLICABLE)	
	APPLICABLE IF (1) > 20000 SQMT	-
	REQUIRED - (a) UPTO 20000 SQMT - NIL	-
	(b) ABOVE 20000 SQMT - (a) + 5% OF TOTAL AREA	-
5	NET PLOT AREA [3 - 4(a)]	751.932
6	RECREATIONAL OPEN SPACE (IF APPLICABLE)	
	a) IF AREA (6) IS MORE THAN 4000 SQMT - 10% OF (6) IS REQUIRED	-
	b) PROPOSED	-
7	INTERNAL ROAD AREA	-
8	PLOTABLE AREA (IF APPLICABLE)	-
9	a) BUILT-UP AREA WITH REFERENCE TO BASIC F.S.I. AS PER FRONT ROAD WIDTH (NET PLOT AREA X 1.1)	827.125
	b) EXISTING AUTHORISED BUILT UP AREA	-
	c) BASE FSI CONSIDERED WHICHEVER IS MORE	552.00
10.	ADDITIONAL FSI ON PAYMENT OF PREMIUM	
	a) MAXIMUM PERMISSIBLE PREMIUM FSI BASED ON ROAD WIDTH (0.5)	392.50
	b) PROPOSED FSI ON PAYMENT OF PREMIUM	392.50
11.	IN-SITU FSI / TDR LOADING	
	a) IN-SITU AREA AGAINST D.P. ROAD [2.0 X SR. NO. 2 (a)]	76.136
	b) IN-SITU AREA AGAINST AMENITY SPACE IF HANDED OVER	-
	c) TDR AREA AS PER ROAD WIDTH (GROSS PLOT AREA X 0.40)	314.00
	d) TOTAL IN-SITU / TDR LOADING PROPOSED	314.00
12.	ADDITIONAL FSI AREA UNDER CHAPTER NO. 7 (EXISTING BUA X 30%) OR (15.00 SQMT PER TENEMENT)WHICHEVER IS MORE	-
13.	TOTAL ENTITLEMENT OF FSI IN THE PROPOSAL	
	a) 9c + 10b + 11d + 12	1533.625
	b) ANCILLARY AREA FSI UPTO 60% WITH PAYMENT OF CHARGES (RESIDENTIAL) (1533.625 X 60%)	887.026
	c) ANCILLARY AREA FSI UPTO 80% WITH PAYMENT OF CHARGES (COMMERCIAL)	0.000
	d) TOTAL ENTITLEMENT (a + b + c)	2420.651
14.	MAXIMUM UTILIZATION LIMIT OF FSI (BUILDING POTENTIAL) PERMISSIBLE AS PER ROAD WIDTH	
	a) MAXIMUM FSI PERMISSIBLE AS PRE REGULATION NO. 6.3 (9a + 10a + 11c)	1533.625
	b) MAXIMUM ANCILLARY FSI PERMISSIBLE (14a X 0.8)	920.175
	c) MAXIMUM BUILDING POTENTIAL (a + b)	2453.890
15.	TOTAL BUILT UP AREA IN PROPOSAL	
	a) EXISTING BUILT UP AREA	-
	b) PROPOSED BUILT UP AREA RESIDENTIAL (AS PER P-LINE)	2420.651
	c) PROPOSED BUILT UP AREA COMMERCIAL (AS PER P-LINE)	0.00
	d) TOTAL (a + b)	2420.651
16.	AREA FOR INCLUSIVE HOUSING	
	a) REQUIRED [20% OF SR.NO.5]	-
	b) PROPOSED	-
17.	F.S.I. CONSUMED [15 (d) / 13 (d)]	1.00

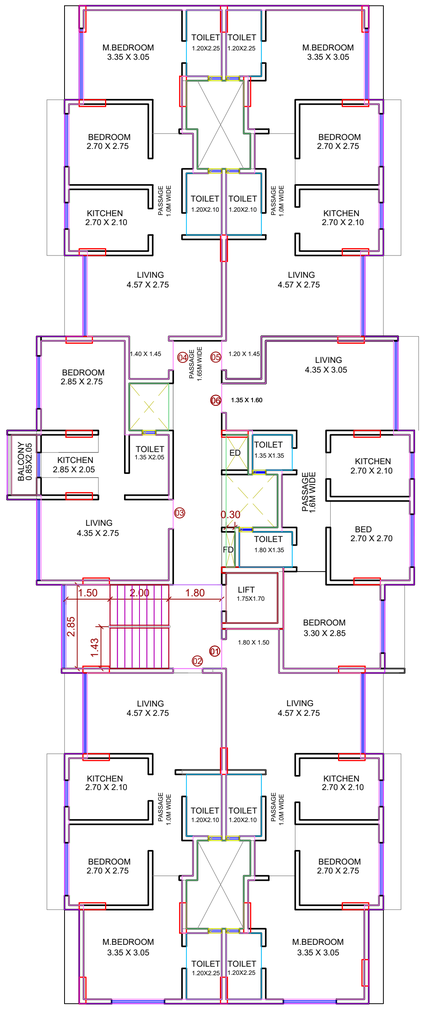

TYPICAL FLOOR PLAN (1ST TO 3RD)
SCALE - 1:100

1ST TO 3RD

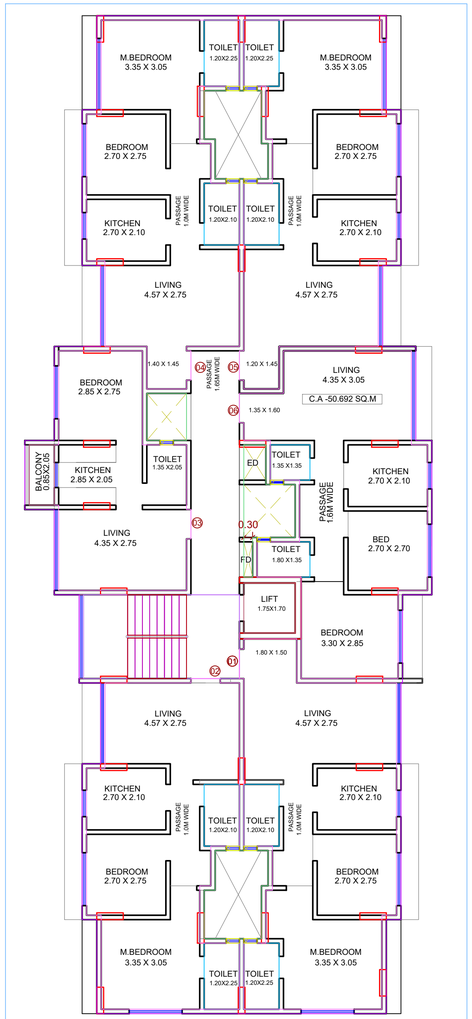

TYPICAL FLOOR PLAN (4TH & 5TH)
SCALE - 1:100

4TH AND 5TH

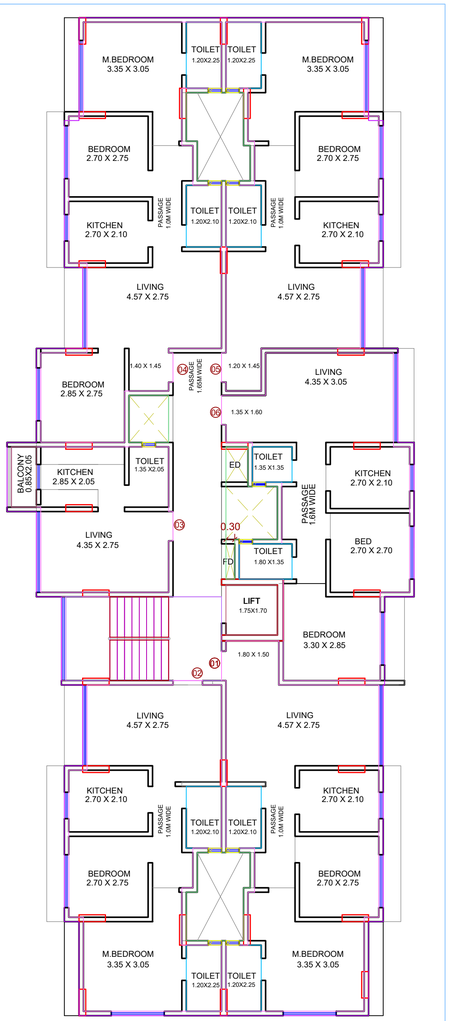

TYPICAL FLOOR PLAN (6TH)
SCALE - 1:100

6TH

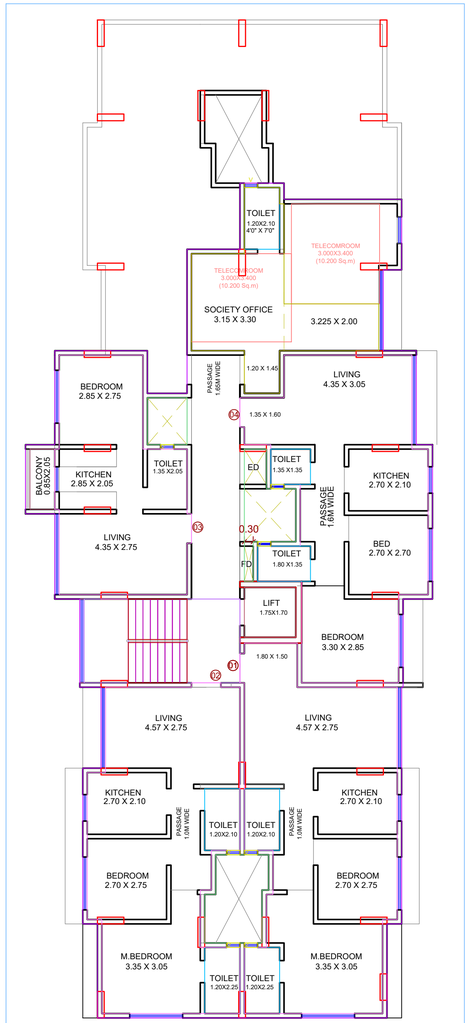

TYPICAL FLOOR PLAN (7TH)
SCALE - 1:100

7TH

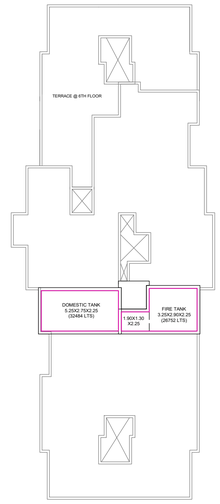

OHT TANK PLAN
SCALE - 1:200

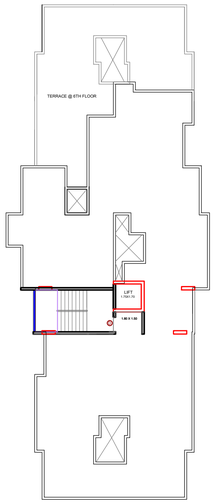

TERRACE PLAN
SCALE - 1:200

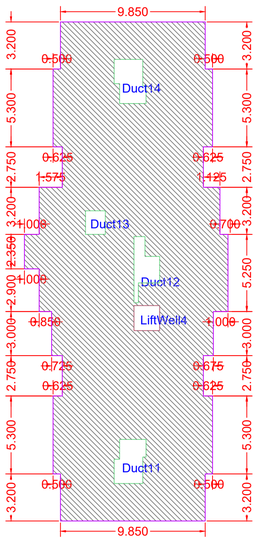

BUILT UP AREA CALCULATION FOR 1ST TO 3RD GOKUL DHAM CHS			
AREA NAME	LENGTH	WIDTH	Area(Sq.M)
BLOCK	33.950	13.850	373.022
			BLOCK AREA TOTAL =373.022Sq.M
LiftWell4	-	-	2.975
Duct15	-	-	5.614
Duct14	-	-	2.160
Duct13	-	-	5.614
Duct12	-	-	4.567
			TOTAL Deduction =20.930Sq.M
			Net BuiltUp Area =352.092 Sq.M

BUILT-UP AREA CALCULATION
1ST TO 3RD GOKULDHAM CHS

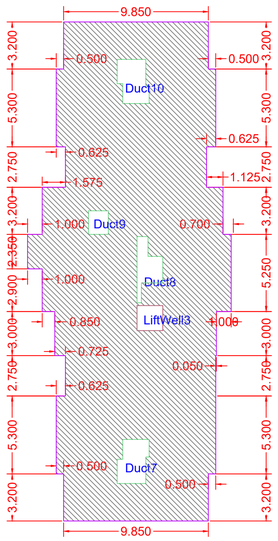

BUILT UP AREA CALCULATION FOR 4TH AND 5TH GOKUL DHAM CHS			
AREA NAME	LENGTH	WIDTH	Area(Sq.M)
BLOCK	33.950	13.850	374.741
			BLOCK AREA TOTAL =374.741Sq.M
LiftWell3	-	-	2.975
Duct11	-	-	5.614
Duct10	-	-	2.160
Duct9	-	-	4.567
Duct8	-	-	5.614
			TOTAL Deduction =20.930Sq.M
			Net BuiltUp Area =353.811 Sq.M

BUILT-UP AREA CALCULATION
4TH AND 5TH GOKULDHAM CHS

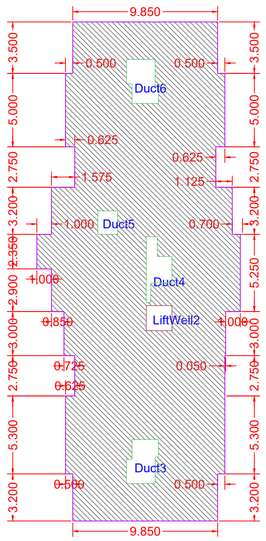

BUILT UP AREA CALCULATION FOR 6TH GOKULDHAM CHS			
AREA NAME	LENGTH	WIDTH	Area(Sq.M)
BLOCK	33.950	13.850	374.441
			BLOCK AREA TOTAL =374.441Sq.M
LiftWell2	-	-	2.975
Duct7	-	-	5.614
Duct6	-	-	2.160
Duct5	-	-	5.614
Duct4	-	-	4.567
			TOTAL Deduction =20.930Sq.M
			Net BuiltUp Area =353.511 Sq.M

BUILT-UP AREA CALCULATION
6TH GOKULDHAM CHS

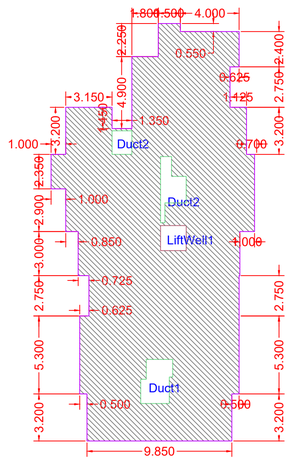

BUILT UP AREA CALCULATION FOR 7TH GOKUL DHAM CHS			
AREA NAME	LENGTH	WIDTH	Area(Sq.M)
BLOCK	28.400	13.850	291.000
			BLOCK AREA TOTAL =291.000Sq.M
LiftWell1	-	-	2.975
Duct3	-	-	5.614
Duct2	-	-	2.160
Duct1	-	-	4.567
			TOTAL Deduction =15.316Sq.M
			Net BuiltUp Area =275.684 Sq.M

BUILT-UP AREA CALCULATION
7TH GOKULDHAM CHS

Reserved for Stamps of Approval plan

Project Details
Proposal code: KDMCC-25-122229
Zone Type: Residential Zone
Location: Non-Congested
Name of service: Redevelopment For Dangerous Building
Sub service: Redevelopment of multi-dwelling buildings of owner
Cts No./Survey No.: 36
Tahsil: 27 Village
Mouza: Nandivali From Panchanand
Prorata Value: 0.000
Separation/CRZ Zone Area: -

LEGENDS:
PLOT BOUNDRY SHOWN WHITE
PROPOSED WORK SHOWN RED
EXISTING WORK SHOWN NEON LIGHT
WATER LINE SHOWN BLUE DOTTED
ENCLOSED BAL SHOWN BROWN
TERRACE SHOWN DARK YELLOW
OPEN BAL SHOWN BRAWN
EXISTING SHOWN BLUE HATCHED

Proforma I : Area Statement	
1. Area of plot(Minimum area of a, b, c to be considered) or area of subplot with sanctioned layout No. and subplot No.	790.000
(a) As per ownership document (7/12, CTS extract)	790.000
(b) as per TILR or City Survey measurement sheet	790.000
(c) as per Demarcated drawing area	804.987
LESS	
2.Area not in possession	5.004
3. Area Proposed for development (out of 1-2)	784.996
4.Deductions for(out of 3)	
(a) Proposed D.P / D.P. Road widening Area/Proposed DP road, Road under MMC act	33.068
(b) Any D.P. Reservation area	0.000
(c) Green Belt	0.000
(Total a+b+c)	33.068
5. Balance area of plot (3-4)	751.928
6. Amenity Space Proposed	0.000
(Required -(a) Upto 20,000 sqmt - Nil	-
(b) Above 20,000 and more - (a) + 5% of Total area	0.000
7. Net Plot Area (5-6)	751.928
8.Recreational Open Space (Not applicable if plots are from sanctioned layout)	-
(a). If area is more than (5) 4000 sqmt - 10 % of (5) is required.	0.000
Proposed____	0.000
(A)10 % Subject to minimum 200 sqmt(Not applicable if plots are from sanctioned layout or each plot admesuring less than 4000sq.m regularised under gunthewari act)	0.000
Proposed_____	0.000
(B)Exemption to leave open space subject to availing basic F.S.I of 75 %	-
(C)Exemption to leave open space subject to payment of 10 % land value of land at (7) as per annual statement of rate.	-
If (5) > 4000sq.m then Land admesuring 20% of (5) is to be utilised for inclusive housing	0.000
Proposed Area	0.000

Architect/ Licensed Engineer/ Supervisor name and signature

Registration No. of Architect/ License no. of Licensed Engineer/ Supervisor: CA/2000/26709

Certificate of Area:
Certified that the plot under reference was surveyed by me on_____ and the dimensions of sides etc. of plot stated on plan are as measured on site and the area so worked out tallies with the area stated in document of Ownership/ T.P. Scheme Records/Land Records Department/City Survey records.

Signature
(Name of Architect/ Licensed Engineer/ Supervisor.)

Owner's Declaration -
I/We undersigned hereby confirm that I/We would abide by plans approved by Authority / Collector. I/We would execute the structure as per approved plans. Also I/We would execute the work under supervision of proper technical person so as to ensure the quality and safety at the work site.

Owner (s) name and signature

Name Of : Owner EKVEERA BUILDERS AND DEVELOPERS

Postal Address : 005, Gokul Dham Co-Op Hsg Society,Manpada Road,Kalyan,Thane,Maharashtra-421204

Phone No.:9819173611

DESCRIPTION OF PROJECT :

Type of Proposal : Residential
BUILDING ON CTS. NO./SURVEY NO.-36

SITE ADDRESS :
S.No. 36/E, Village Nandivali, at Dombivli
(E),Tal: Kalyan,Dist: Thane.

Name Of Architect : ankur arvind shetye

LOGO	ADDRESS OF OFFICE
	OFFICE - 02, shree amar chs, off manpada road,near octroi naka, dombivili (e),tal kalyan,dist thane.

OWNERS SIGN -	TECHNICAL PERSON SIGN
	ANKUR ARVIND SHETYE — Digitally signed by ANKUR ARVIND SHETYE Date: 2026.01.22 17:44:53 +05'30'

	SCALE -	DATE: Date: 22/01/26
	JOB NO - KDMCC-25-122229	CHECK BY - zoom

SUBMISSION DRAWING