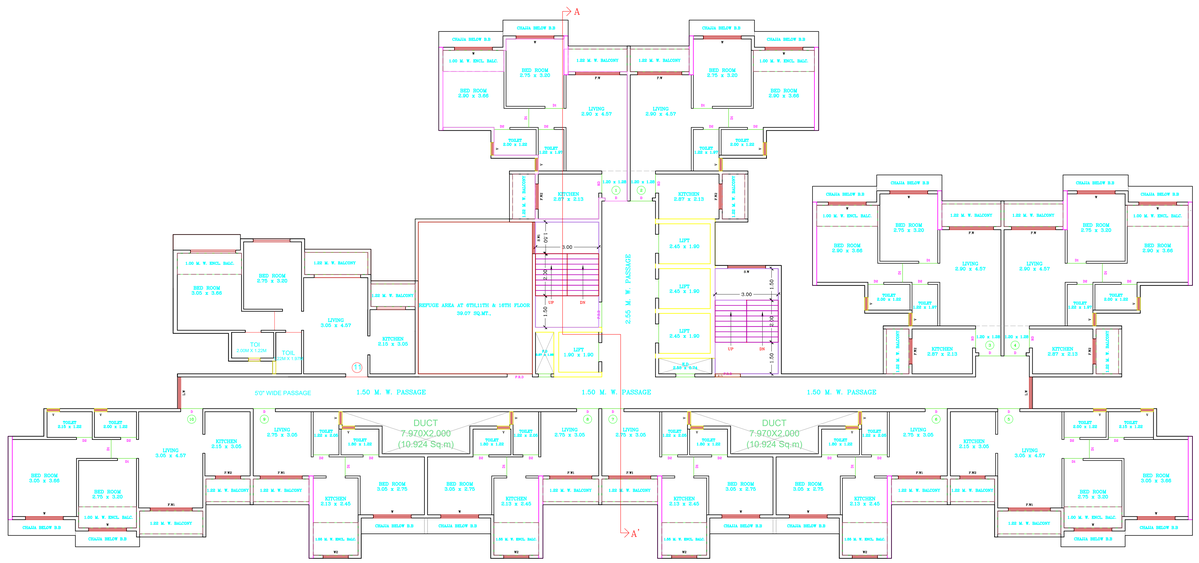

REFUGE FLOOR PLAN (6TH,11TH AND 16TH)
SCALE 1:100

BUILT-UP AREA CALCULATION FOR 6TH 11TH 16TH FLOOR DHAAR			
AREA NAME	LENGTH	WIDTH	Area(Sq.M)
BLOCK	56.270	24.630	833.893
BLOCK AREA TOTAL =833.893Sq.M			
Refuge1	-	-	39.071
LiftWell6	-	-	4.655
LiftWell7	-	-	4.655
LiftWell8	-	-	4.655
LiftWell5	-	-	3.610
Duct7	-	-	10.924
Duct6	-	-	10.924
Duct5	-	-	1.572
TOTAL Deduction =82.066Sq.M			
Net Builtup Area =751.827 Sq.M			

BUILT-UP AREA CALCULATION 6TH 11TH 16TH FLOOR DHAARAA MEHER

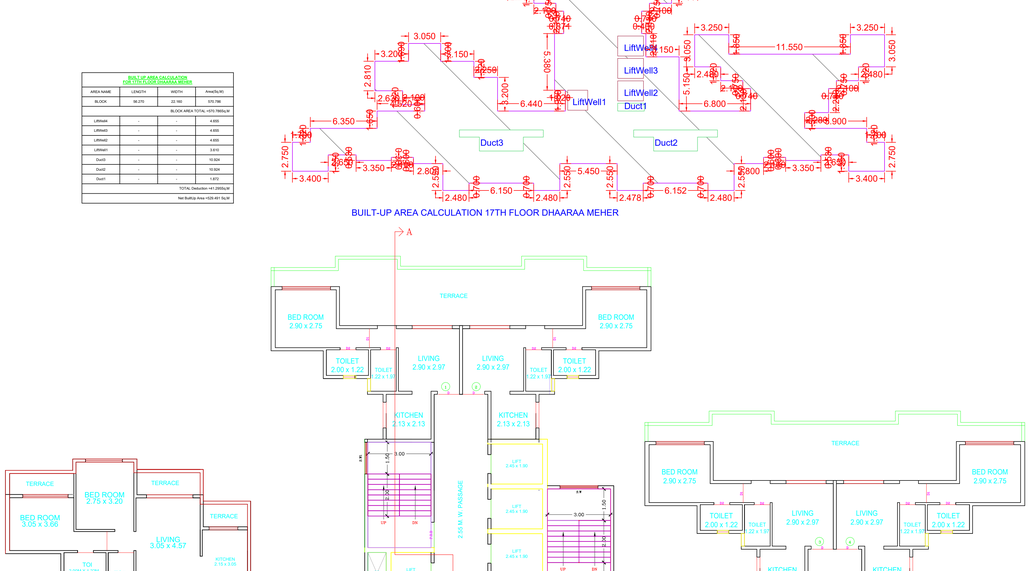

17TH FLOOR PLAN
SCALE 1:100

BUILT-UP AREA CALCULATION FOR 17TH FLOOR DHAARA MEHER			
AREA NAME	LENGTH	WIDTH	Area(Sq.M)
BLOCK	56.270	22.160	570.786
BLOCK AREA TOTAL =570.786Sq.M			
LiftWell4	-	-	4.655
LiftWell3	-	-	4.655
LiftWell2	-	-	4.655
LiftWell1	-	-	3.610
Duct3	-	-	10.924
Duct2	-	-	10.924
Duct1	-	-	1.572
TOTAL Deduction =41.295Sq.M			
Net Builtup Area =529.491 Sq.M			

BUILT-UP AREA CALCULATION 17TH FLOOR DHAARAA MEHER

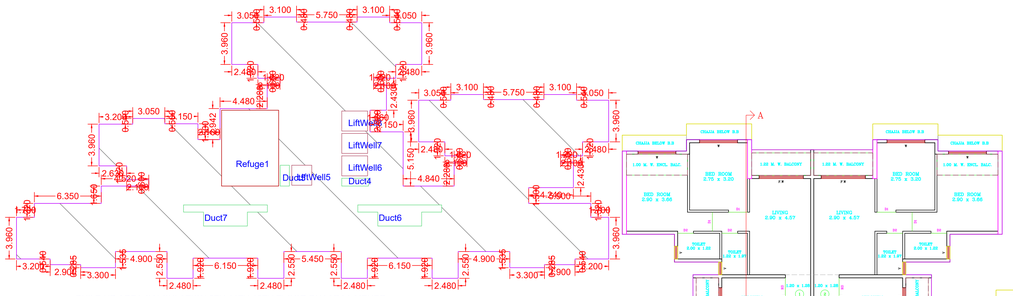

BUILT-UP AREA CALCULATION 6TH 11TH 16TH FLOOR DHAARAA MEHER

BUILT-UP AREA CALCULATION FOR 6TH 11TH 16TH FLOOR DHAARA MEHER			
AREA NAME	LENGTH	WIDTH	Area(Sq.M)
BLOCK	56.270	24.630	833.893
BLOCK AREA TOTAL =833.893Sq.M			
Refuge1	-	-	39.071
LiftWell6	-	-	4.655
LiftWell7	-	-	4.655
LiftWell8	-	-	4.655
LiftWell5	-	-	3.610
Duct7	-	-	10.924
Duct6	-	-	10.924
Duct5	-	-	1.572
TOTAL Deduction =82.066Sq.M			
Net Builtup Area =751.827 Sq.M			

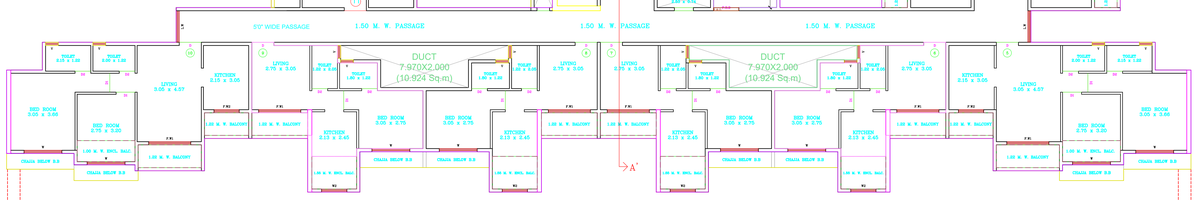

2ND FLOOR PLAN
SCALE 1:100
A-WING



2ND FLOOR PLAN
SCALE 1:100
B-WING

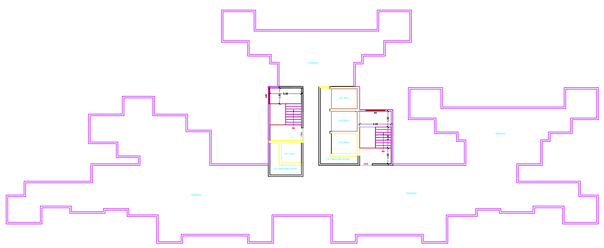

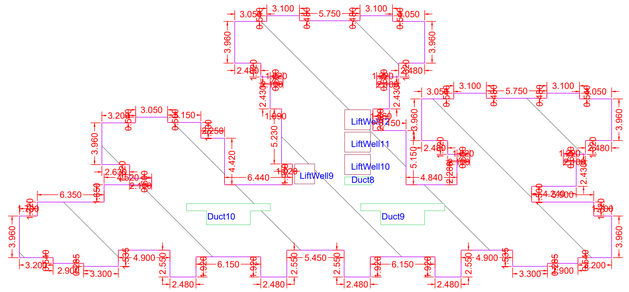

BUILT-UP AREA CALCULATION 3RD TO 5TH 7TH TO 10TH 12TH TO 15TH FLOOR DHAARAA MEHER

BUILT-UP AREA CALCULATION FOR 3RD TO 5TH 7TH TO 10TH 12TH TO 15TH FLOOR DHAARAA MEHER			
AREA NAME	LENGTH	WIDTH	Area(Sq.M)
BLOCK	56.270	24.630	761.695
BLOCK AREA TOTAL =761.695Sq.M			
LiftWell12	-	-	4.655
LiftWell11	-	-	4.655
LiftWell10	-	-	4.655
LiftWell9	-	-	3.610
Duct10	-	-	10.924
Duct9	-	-	10.924
Duct8	-	-	1.572
TOTAL Deduction =41.295Sq.M			
Net Builtup Area =720.400 Sq.M			

Proforma I : Area Statement	
1. Area of plot (Minimum area of a, b, c to be considered)	7988.000
(a) As per ownership document (7/12, CTS extract)	8341.000
(b) as per TILR or City Survey measurement sheet	17580.000
(c) as per Demarcated drawing area	7988.000
LESS	-
2.Area not in possession	0.000
3. Area Proposed for development (out of 1-2)	7988.000
4.Deductions for	-
(a) Proposed D.P./ D.P. Road widening Area / Service Road / Highway widening	0.000
(b) Any D.P. Reservation area	0.000
(c) Green Belt	0.000
Total (a+b+c)	0.000
5.Balance area of plot (3-4)	7988.000
6. Amenity Space	0.000
(Applicable if (1) > 20000 sqmt	-
(Required -(a) Upto 20000 sqmt - Nil	-
(b) Above 20000 sqmt - (a) + 5% of Total area	0.000
7. Net Plot Area (5-6)	7988.000
8. Recreational Open Space	-
(a) If area (5) is more than 4000 sqmt - 10 % of (5) is required.	798.800
Proposed___	799.141
(b) If area is less than 4000 sqmt -Check -	-
i) If it is full number like 1,2,125,419,etc. As per 7.12 abstract or City Survey Number - No Recreational open space is required	-
ii) If it is subdivision like 1/2 ,2/5 , 125/1 419/1 etc.then recreational open space is required.	-
(A) 10 % Subject to minimum 200 sqmt	0.000
Proposed _____	799.141
(B) Exemption to leave open space subject to availing basic F.S.I of 75 %	-
(C) Exemption to leave open space subject to payment of 10 % land value of land at (7) as per annual statement of rate.	-

Architect/ Licensed Engineer/ Supervisor name and signature

Registration No. of Architect/ License no. of Licensed Engineer/ Supervisor: CA/2019/106930

Certificate of Area:
Certified that the plot under reference was surveyed by me on_____ and the dimensions of sides etc. of plot stated on plan are as measured on site and the area so worked out tallies with the area stated in document of Ownership/ T.P. Scheme Records/Land Records Department/City Survey records.

Signature
(Name of Architect/ Licensed Engineer/ Supervisor.)

Owner's Declaration :-
I/We undersigned hereby confirm that I/We would abide by plans approved by Authority / Collector. I/We would execute the structure as per approved plans. Also I/We would execute the work under supervision of proper technical person so as to ensure the quality and safety at the work site.

Owner (s) name and signature

Name Of : Owner DHAARAA REALITY

Postal Address : Regency Antilia, Flat No. 2001,Camalia Building, C-1-B, Kalyan Murbad Road,Ulhasnagar,Thane,Maharashtra-421001
Phone No. 9922970000

DESCRIPTION OF PROJECT :

Type of Proposal : Mixed
BUILDING ON CTS. NO./SURVEY NO.-20

SITE ADDRESS :
S.NO.20(P) AT VILLAGE BARAVER

Name Of Architect : Tejas Anil Nirgude

LOGO

ADDRESS OF OFFICE :
OFFICE -
5TH FLOOR, MIDTOWN EMBASSY, BEHIND VASANT VALLEY BUS DEPOT, OPP. NARAYANA SCHOOL, GANDHARE, KALYAN - 421301

OWNERS SIGN -

TECHNICAL PERSON SIGN

SCALE -

DATE: Date: 15/12/25

JOB NO - KDMCC-25-139421

CHECK BY - zoom

SUBMISSION DRAWING