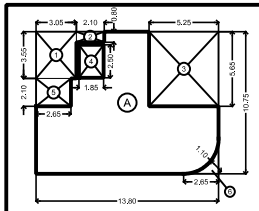

AREA CALC. & DIAG FOR GROUND FLOOR
SCALE - 1:200

BUILT UP AREA CALCULATION

GROUND FLOOR					SQ.MT.	
A	13.80	X	10.75	X 1 NO	148.35	
	TOTAL ADDITION				148.35	X
DEDUCTIONS						
1	3.05	X	3.55	X 1 NO	10.83	
2	2.10	X	0.80	X 1 NO	1.68	
3	3.25	X	5.65	X 1 NO	29.66	
4	1.85	X	2.50	X 1 NO	4.63	
5	2.65	X	2.10	X 1 NO	5.57	
6	0.50 X 2.65 X 1.10 X 1 NO				1.46	
	TOTAL DEDUCTION				53.830	Y1
TOTAL BUILT UP AREA [X - Y]					94.520	X1

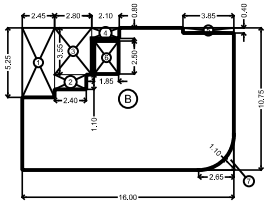

AREA CALC. & DIAG FOR TYPICAL FLOOR
SCALE - 1:200

BUILT UP AREA CALCULATION

TYPICAL FLOOR					SQ.MT.	
B	16.00 X 10.75 X 1 NO				172.00	
	TOTAL ADDITION				172.00	X
DEDUCTIONS						
1	2.45	X	5.25	X 1 NO	12.86	
2	2.40	X	1.10	X 1 NO	2.64	
3	2.80	X	3.55	X 1 NO	9.94	
4	2.10	X	0.80	X 1 NO	1.68	
5	3.85	X	0.40	X 1 NO	1.54	
6	1.85	X	2.50	X 1 NO	4.63	
7	0.50 X 2.65 X 1.10 X 1 NO				1.46	
	TOTAL DEDUCTION				34.750	Y1
TOTAL BUILT UP AREA					137.25	X1

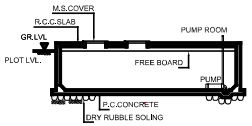

SECTION THRO. SUCTION TANK

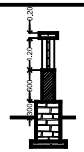

SECTION THRU.
COMPOUND WALL

BUILT-UP AREA STATEMENT	
FLOOR	TOTAL AREA SQ.M.
GROUND	94.52
FIRST	137.25
SECOND	137.25
THIRD	137.25
FOURTH	137.25
FIFTH	137.25
SIXTH	137.25
SEVENTH	137.25
TOTAL	1055.270

STAMP & DATE OF APPROVAL

PARKING STATEMENT (G + 7 UP FLOORS)						
	3 Cars 11 Scooters for every 200 sq.m. office	For flats between 30-40 sq.m. (1 car - 2 scooter)	VISITOR 5%	TOTAL	TOTAL PARKING REQUIRED (80% OF)	TOTAL PARKING PROVIDED
FOR GROUND FLOOR	49.13	-				
FOR TYPICAL FLOOR	322.90	4				
PARKING REQ. CAR	6	2	0.10		8.10	6
PARKING REQ. SCT	22	4	0.20	24.20	17.8+4.20	21.80

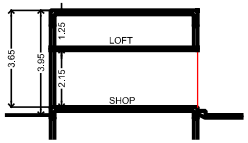

GROUND FLOOR SECTION
SCALE 1:200

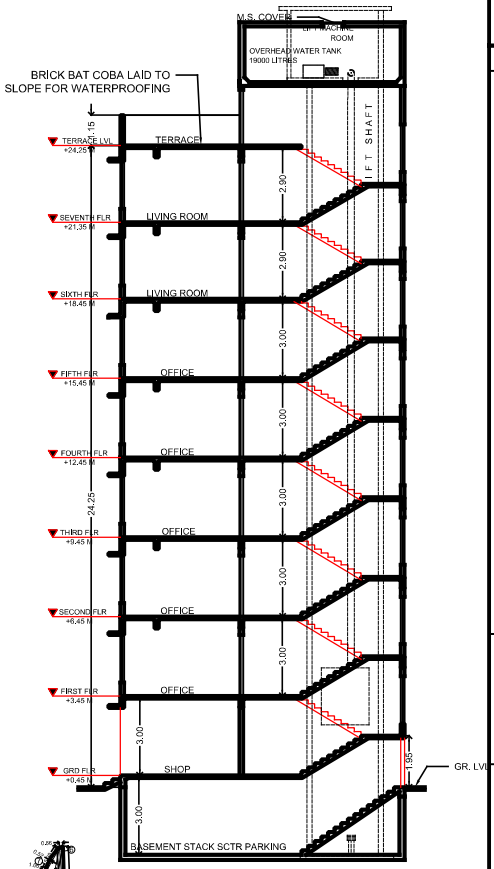

SECTION A–A
SCALE 1:100

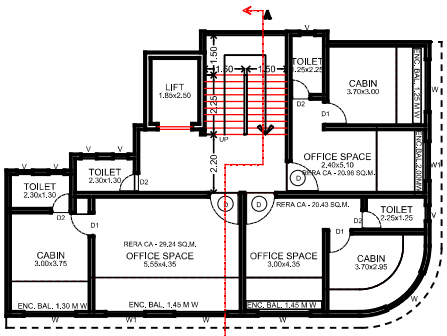

TYPICAL FLOOR PLAN
(1ST TO 5TH FLR)
SCALE 1:100

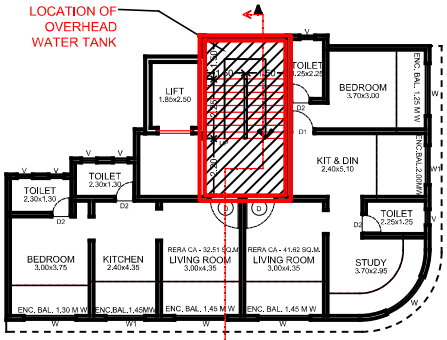

TYPICAL FLOOR PLAN
(6TH & 7TH FLR)
SCALE 1:100

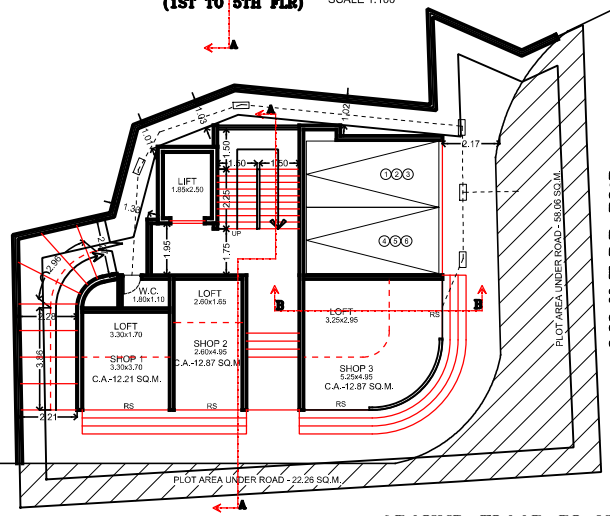

GROUND FLOOR PLAN
SCALE 1:100

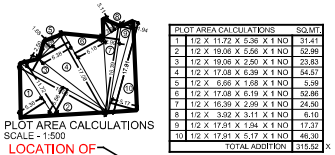

PLOT AREA CALCULATIONS
SCALE - 1:500

PLOT AREA CALCULATIONS					SQ.MT.	
1	1/2 X	11.72	X 5.36	X 1 NO	31.41	
2	1/2 X	19.06	X 5.56	X 1 NO	52.98	
3	1/2 X	19.06	X 2.50	X 1 NO	23.83	
4	1/2 X	17.08	X 6.39	X 1 NO	54.57	
5	1/2 X	6.66	X 1.68	X 1 NO	5.58	
6	1/2 X	17.08	X 6.19	X 1 NO	52.86	
7	1/2 X	16.39	X 2.99	X 1 NO	24.50	
8	1/2 X	3.92	X 3.11	X 1 NO	6.10	
9	1/2 X	17.91	X 1.94	X 1 NO	17.37	
10	1/2 X	17.91	X 5.17	X 1 NO	46.30	
	TOTAL ADDITION				315.52	X

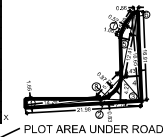

PLOT AREA UNDER ROAD
SCALE - 1:500

PLOT AREA UNDER ROAD					SQ.MT.	
1	1/2 X	14.28	X 1.66	X 1 NO	11.84	
2	1/2 X	21.98	X 0.83	X 1 NO	9.12	
3	1/2 X	7.78	X 4.27	X 1 NO	16.61	
4	1/2 X	16.85	X 3.43	X 1 NO	28.85	
5	1/2 X	12.41	X 1.66	X 1 NO	10.30	
6	1/2 X	16.91	X 0.66	X 1 NO	5.58	
7	2/3 X	5.39	X 0.52	X 1 NO	1.86	
8	2/3 X	5.72	X 0.87	X 1 NO	-3.28	
	TOTAL ADDITION				80.580	X

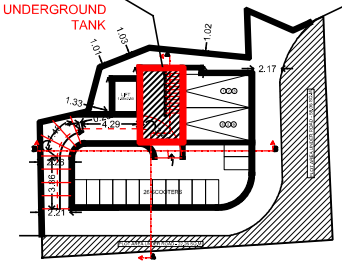

BASEMENT PLAN
SCALE 1:200

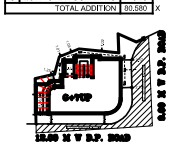

BLOCK PLAN
SCALE 1:500

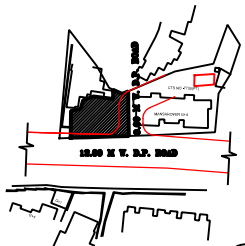

LOCATION PLAN
SCALE 1:1000

A	PROFORMA I -AREA STATEMENT	SQ.M.
	1) AREA OF PLOT (Minimum to be considered)	315.58
	a) As per Ownership Document (7/12, cts extract)	324.00
	b) As per measurement sheet	-
	c) As per site	315.58
	2) DEDUCTIONS FOR	
	a) Proposed D.P./D.P. Road Widening Area /Service Road	80.58
	b) Any D.P. Reservation Area	NIL
	TOTAL(a+b+c)	NIL
	3) BALANCE AERA OF PLOT (1 - 2)	235.000
	4) Amenity Space (If applicable)	NIL
	a) Required -	NA
	b) Adjustment of 2(b) (if any) -	NA
	c) Balance Proposed	NA
	5) Net Plot Area (3–4(c))	235.00
	6) Recreational Open Space (if Applicable)	NIL
	a) Required	NA
	b) Proposed	NA
	7) Internal Road Area	NIL
	8) Plotable Area (if applicable)	NA
	9) B.U.A. with ref. to Basic FSI as per front road width (Sr.No.5 x Basic FSI)	258.50
	10) Addition of FSI on payment of premium	
	a) Maximum permissible premium FSI-based on road width/TOD Zone	157.79
	b) Proposed FSI on payment of premium	157.79
	11) In Situ FSI / TDR loading	
	a) In Situ area against D.P. road [2.0 x Sr.No.2(a)], if any	161.16
	b) In Situ area Amenity Space if handed over [2.0 or 1.85 x Sr.No.4(b)]and /or (c)	NIL
	c) TDR Area (324.00 x 0.65 = 205.27 permi)	44.11
	d) Total in situ /tdr loading proposed [11(a)+(b)+(c)]	205.270
	12) Additional FSI area under Chapter No.7.6.2.(i)	-
	13) Total Entitlemet of FSI in the proposal	
	a) [9+10(b)+11(d)] or 12 whichever is applicable	621.560
	b) Ancillary Area FSI upto 60% or 80% with payment of charges PERMI. 449.00 X 0.80 = 359.20 (COMM.) 173.00 X 0.60 = 103.80 (RESI)	359.20 (C) 103.80 (R)
	c) Total Entitlement (a+b) 463.00 (ANC)	1084.56
	14) Maximum utilization limit of FSI (building potential) Permi. as per Road width (as per regulation No.6.1 or 6.2 or 6.3 or 6.4 as applicable) x 1.6 or 1.8	463.00
	15) Total Built up Area in proposal (excluding area at Sr.No.17b)	1055.27
	a) Existing Built up Area	NIL
	b) Proposed Built up Area (as per 'P'-Line)	1055.270
	c) Total (a+b)	1055.270
	16) FSI Consumed (15/13) (shld not be more than Sr.No.14)	0.99
	17) Area for Inclusive Housing, If any	NIL
	a) Required (20% of Sr.No.5)	
	b) Proposed	

A AREA STATEMENT

TYPE	SIZE	DESCRIPTION
D	1000x2150	T.W.FRAME FLUSHED DOORS
D1	900x2150	T.W.FRAME FLUSHED DOORS
D2	750x2000	T.W.FRAME PANALLED WITH GLASS TOP
W	2500x1800	ALUMINIUM SLIDING GLAZED WINDOWS
W1	2200x1800	ALUMINIUM SLIDING GLAZED WINDOWS
W2	2000x1800	ALUMINIUM SLIDING GLAZED WINDOWS
W3	2200x1100	ALUMINIUM SLIDING GLAZED WINDOWS
W4	1350x1800	ALUMINIUM SLIDING GLAZED WINDOWS
V	600x750	ALUMINIUM LOUVERED WINDOWS

NOTES

* BOUNDARY OF THE PLOT SHOWN IN BLACK
* EXISTING STREET SHOWN IN GREEN
* PROPOSED ROAD SHOWN IN GREEN DOTTED
* PERMI. BLDG SHOWN IN BLACK DOTTED
* OPEN SPACE SHOWN NO COLOUR
* EXISTING WORK SHOWN IN BLUE
* PROPOSED WORK SHOWN IN RED FILLED
* DRAINAGE SHOWN IN YELLOW DOTTED
* DEVIATION SHOWN IN RED HATCHED
* R.G. SHOWN IN GREEN WASH
* ROAD AND SET BACK SHOWN IN BURNT SIENNA
* RESERVATIONS SHOWN IN APPROPRIATE COLOUR

CERTIFICATE

CERTIFICATE OF AREA:-

CERTIFIED THAT THE PLOT UNDER REFERENCE WAS SURVEYED BY ME ON 15/12/23. & THE DIMENSIONS OF SIDES ETC. OF PLOT STATED ON PLAN ARE AS MEASURED ON THE SITE & THE AREA SO WORKED OUT TALLIES WITH THE AREA STATED IN THE DOCUMENT OF OWNERSHIP/T.P. SCHEME RECORDS DEPTT./CITY SURVEY RECORDS.

ARCHLSIGN.

OWNER'S DECLARATION:-

I/WE UNDERSIGNED HEREBY CONFIRM THAT I/WE WOULD ABIDE BY PLANS APPROVED BY AUTHORITY/ COLLECTOR. I/WE WOULD EXECUTE THE WORK UNDER SUPERVISION OF PROPER TECHNICAL PERSON SO AS TO ENSURE THE QUALITY AND SAFETY AT THE WORK SITE.

Owner's Name & Signature - M/s Shivay Buildcon

PROJECT

Proposed Redevelopment of Building at Plot bearing C.T.S.no. 7730 (PT) at Tata Power line at Dombivli East, Tal: Kalyan, Dist: Thane.

FOR DR MANGESH PATE

ARCHITECT
M/S.RAJEEV TAISHETE & ASSOCIATES
ARCHITECTS,INTERIOR DESIGNERS AND ENVIRONMENTAL CONSULTANTS
3,WADAL,SHRADDHANAND ROAD
INDIRA GANDHI CHOWK
DOMBIVLI(EAST),THANE
Email: rajeevarch@yahoo.co.in
rajeevarch@gmail.com

1108	JOB NO.
1108	DRG. NO.
1/1	SHEET
R1	REVISION
SRT.	DRAWN
AS SHOWN	SCALE

D:\SRT DATA TO BE TRANSFERRED\DWG\1108 PATE SCAN DOCS\1108_BPMS_CHWT_04FEB2026.dwg