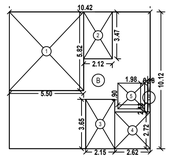

PLINE AREA DIAGRAM
GROUND FLOOR
SCALE (1:200)

BUILT UP AREA CALCULATION

GROUND FLOOR									
B	10.42	X	10.12	X	1 NO	=	105.45	SQ.MT.	
					TOTAL ADDITION	=	105.45	SQ.MT.	X

DEDUCTIONS

1	5.50	X	5.82	X	1 NO	=	32.01	SQ.MT.	
2	2.12	X	3.47	X	1 NO	=	7.36	SQ.MT.	
3	2.15	X	3.65	X	1 NO	=	7.85	SQ.MT.	
4	2.62	X	2.72	X	1 NO	=	7.13	SQ.MT.	
5	1.98	X	1.90	X	1 NO	=	3.76	SQ.MT.	
6	0.18	X	2.13	X	1 NO	=	0.38	SQ.MT.	
					TOTAL DEDUCTION	=	58.49	SQ.MT.	Y1
TOTAL BUILT UP AREA [X - Y1]						=	46.96	SQ.MT.	X1

FORM OF STATEMENT 2 [SR. NO. 9 (a)]	
FLOOR NO.	BUILT UP AREA
GROUND FLOOR	46.96 SQ.MT
1ST FLOOR	185.40 SQ.MT
2ND FLOOR	185.40 SQ.MT
3RD FLOOR	185.40 SQ.MT
4TH FLOOR	185.40 SQ.MT
5TH FLOOR	185.40 SQ.MT
TOTAL	973.96 SQ.MT

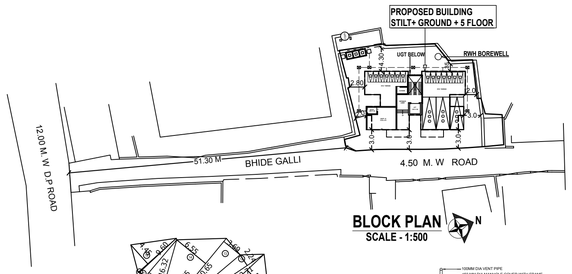

BLOCK PLAN
SCALE - 1:500

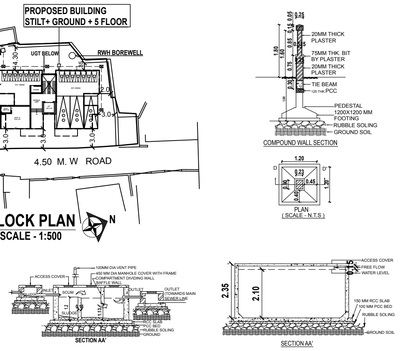

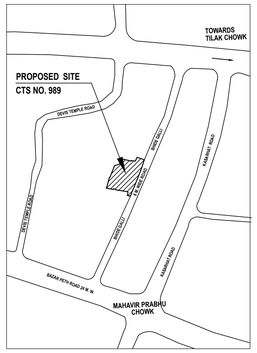

LOCATION PLAN
(SCALE -: 1:2000)

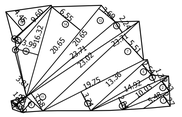

PLOT AREA DIAGRAM
SCALE (1:500)

PLOT AREA CALCULATION									
1	1/2	X	5.48	X	2.27	X 1 NO	=	6.22	SQ.MT.
2	1/2	X	10.03	X	2.33	X 1 NO	=	11.68	SQ.MT.
3	1/2	X	14.92	X	2.04	X 1 NO	=	15.22	SQ.MT.
4	1/2	X	14.92	X	1.33	X 1 NO	=	9.92	SQ.MT.
5	1/2	X	13.36	X	2.54	X 1 NO	=	16.90	SQ.MT.
6	1/2	X	19.75	X	3.74	X 1 NO	=	36.93	SQ.MT.
7	1/2	X	23.02	X	5.51	X 1 NO	=	63.42	SQ.MT.
8	1/2	X	3.81	X	2.60	X 1 NO	=	4.95	SQ.MT.
9	1/2	X	3.22	X	1.17	X 1 NO	=	1.88	SQ.MT.
10	1/2	X	3.22	X	1.59	X 1 NO	=	2.56	SQ.MT.
11	1/2	X	23.71	X	3.68	X 1 NO	=	43.63	SQ.MT.
12	1/2	X	23.71	X	2.24	X 1 NO	=	26.56	SQ.MT.
13	1/2	X	20.65	X	3.69	X 1 NO	=	38.10	SQ.MT.
14	1/2	X	20.65	X	6.55	X 1 NO	=	67.63	SQ.MT.
15	1/2	X	8.59	X	0.34	X 1 NO	=	1.46	SQ.MT.
16	1/2	X	16.32	X	3.99	X 1 NO	=	32.56	SQ.MT.
17	1/2	X	9.60	X	1.27	X 1 NO	=	6.10	SQ.MT.
18	1/2	X	8.97	X	0.16	X 1 NO	=	0.72	SQ.MT.
19	1/2	X	8.97	X	4.45	X 1 NO	=	19.96	SQ.MT.
					TOTAL ADDITION	=	406.40	SQ.MT.	X

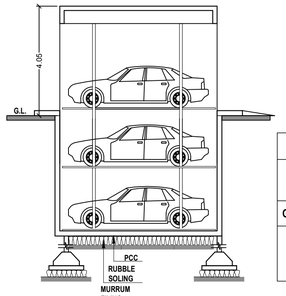

TYPICAL SECTION
STACK PARKING
SCALE:-1: 100

DOORS & WINDOWS SCHEDULE			
TYPE	SIZE IN M.	AREA	DESCRIPTION OF PARTICULERS
D	1.00 X 2.10	2.10 SQMT	T.W.FRAMED FULLY PANELLED SINGLE LEAF
D1	0.90 X 2.10	1.89 SQMT	T.W.FRAMED FULLY FLUSHED SINGLE LEAF
D2	0.75 X 2.00	1.50 SQMT	T.W.FRAMED SINGLE LEAF
W1	2.00 X 1.20	2.40 SQMT	T.W.FRAMED FULLY GLAZED
W2	1.50 X 1.20	1.80 SQMT	T.W.FRAMED FULLY GLAZED
W3	3.00 X 2.10	6.30 SQMT	T.W.FRAMED FULLY GLAZED
W4	2.00 X 2.10	4.20 SQMT	T.W.FRAMED FULLY GLAZED
V	0.60 X 0.90	0.54 SQMT	T.W.FRAME GLASS LOUVERS
RS	3.15 X 2.40	7.56 SQMT	M.S ROLLING SHUTTER

FORM OF STATEMENT 3 [SR.NO. 9 (g)]				
FLOOR	APARTMENT NO.	CARPET AREA	AREA OF BAL. ATTACHED TO APARTMENT	AREA OF ENCL. BAL. ATTACHED TO APARTMENT
GR. FLOOR	SHOP 01	22.20	—	—
1ST TO 5TH FLOOR	101 TO 501	69.65	4.68	2.12
	102 TO 502	69.65	4.68	2.15

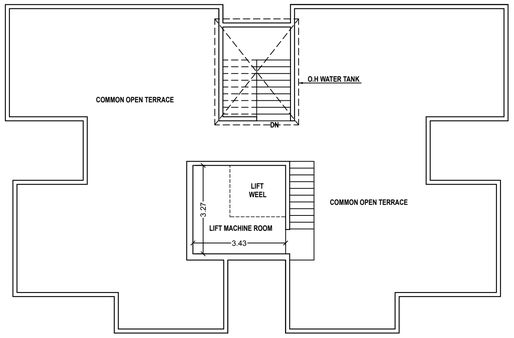

TERRACE FLOOR
(SCALE 1:100)

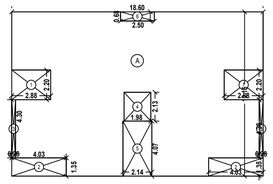

PLINE AREA DIAGRAM
TYPICAL (1ST TO 5TH FLOOR)
SCALE (1:200)

BUILT UP AREA CALCULATION

TYPICAL FLOOR									
A	18.60	X	12.15	X	1 NO	=	225.99	SQ.MT.	
					TOTAL ADDITION	=	225.99	SQ.MT.	X

DEDUCTIONS

1	2.88	X	2.20	X	2 NOS	=	12.67	SQ.MT.	
2	4.03	X	1.35	X	2 NOS	=	10.88	SQ.MT.	
3	0.28	X	4.30	X	2 NOS	=	2.41	SQ.MT.	
4	1.98	X	2.13	X	1 NO	=	4.22	SQ.MT.	
5	2.14	X	4.07	X	1 NO	=	8.71	SQ.MT.	
6	2.50	X	0.68	X	1 NO	=	1.70	SQ.MT.	
					TOTAL DEDUCTION	=	40.59	SQ.MT.	
TOTAL BUILT UP AREA [X - Y1]						=	185.40	SQ.MT.	

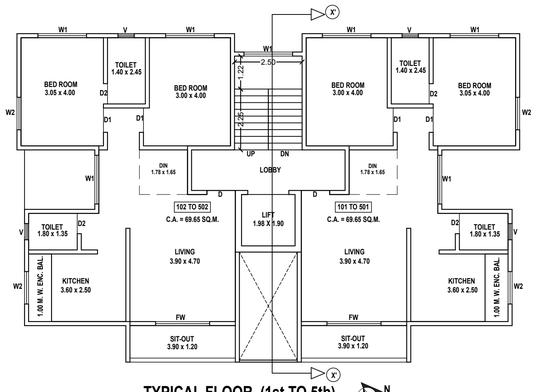

TYPICAL FLOOR (1st,TO 5th)
(SCALE 1:100)

PARKING STATEMENT			
CARPET AREA (SHOP/OFFICE/TENAMENTS)	NOS. OF FLATS	PARKING REQUIRED CAR	PARKING REQUIRED SCOOTER
LESS THAN 30 SMT. 0 PARKING / 2 TENEMENTS. 2 PARKING / 2 TENEMENTS.	00	00	00
30 TO 40 SMT. 1 PARKING / 2 TENEMENTS. 2 PARKING / 2 TENEMENTS.	00	00	00
40 TO 80 SMT. 1 PARKING / 2 TENEMENTS. 2 PARKING / 2 TENEMENTS.	10	05	10
80 TO 150 SMT. 1 PARKING / 1 TENEMENTS. 1 PARKING / 1 TENEMENTS.	00	00	00
ABOVE 150 SMT. 2 PARKING / 1 TENEMENTS. 1 PARKING / 1 TENEMENTS.	00	00	00
COMM.(SHOP)FOR EVERY 100 SQ.M. CARPET AREA OR FRACTION THERE OF (CAR 2, SCOOTER 6)	22.20	00	01
COMM. (OFFICE) FOR EVERY 200 SQ.M. CARPET AREA OR FRACTION THERE OF (CAR 3, SCOOTER 11)	00	00	00
TOTAL NOS.	10 NOS.	05 NOS.	11 NOS.
VISITORS PARKING 5 % OF REQD. PARKING	----	1 NO	01 NOS
TOTAL PARKING REQUIRED	----	06 NOS.	12 NOS
KDMC REQUIRED (CAR 80 %, SCOOTER 100 %)	----	5 NOS.	12 NOS
COMPOSITE PARKING SIX SCOOTERS CAN BE ALLOWED INSTEAD OF ONE CAR Rule No. - 5.1.1. (V) 0 x 6 = 00 SCOOTERS PROPOSED = 00 SCOOTERS TOTAL = 00 SCOOTERS		+ 00 NOS.	00 NOS.
ADDITIONAL CAR / SCOOTERS PROVIDED	----	04	----
TOTAL PARKING PROPOSED	----	09 NOS	14 NOS

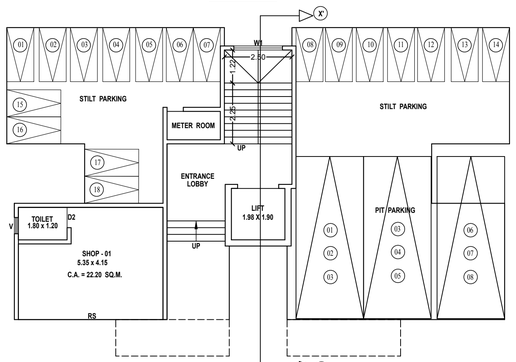

GROUND FLOOR PLAN
(SCALE 1:100)

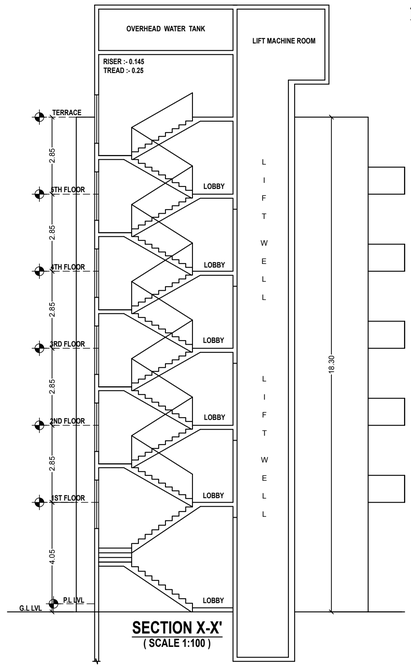

SECTION X-X'
(SCALE 1:100)

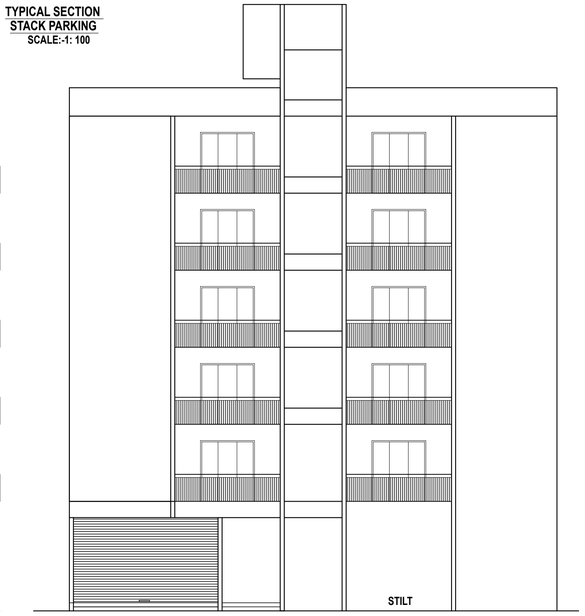

FRONT ELEVATION
(SCALE 1:100)

PROFORMA -1 : AREA STATEMENT

PROPOSED BLDG. ON CTS NO.989 GAOTHAN AT VILLAGE KALYAN, TAL. KALYAN DIST. THANE

DRAWING SHEET NO 1/1

STAMPS OF APPROVAL OF PLANS:

AREA STATEMENT			
1.		Area of plot (Minimum area of a, b, c to be considered)	
	(a)	As per ownership document (7/12)	406.40
	(b)	as per measurement sheet	406.40
	(c)	as per site (406.40 - 0.45) = 405.95	405.95
2.		Deductions for	
	(a)	Proposed D.P./ D.P. Road widening Area/Service Road / Highway widening	0.00
	(b)	Any D.P. Reservation area	----
		(Total a+b)	----
3.		Balance area of plot (1-2)	405.95
4.		Amenity Space	----
	(a)	Required -	----
	(b)	Adjustment of 2(b), if any -	----
	(c)	Balance Proposed -	----
5.		Net Plot Area (3- 4 (c))	405.95
6.		Recreational Open space	----
	(a)	Required -	----
	(b)	Proposed -	----
7.		Internal Road area	----
8.		Plotable area (if applicable)	----
9.		Built up area with reference to Basic F.S.I. as per front road width (405.95 x 1.50)	608.92
10.		Addition of FSI on payment of premium	
	a)	Maximum permissible premium FSI	
	(b)	Proposed FSI on payment of premium.	----
11.		In-situ FSI / TDR loading	
	(a)	In-situ area against D.P. road -	----
	(b)	In-situ area against Amenity Space if handed over [2.00 or1.85 x Sr. No. 4 (b)and /or(c)],	----
	(c)	TDR area	----
	(d)	Total in-situ / TDR loading proposed (11 (a)+(b)+(c))	----
12.		Additional FSI area under Chapter No. 7	----
13.		Total entitlement of FSI in the proposal	
	(a)	[9 + 10(b)+11(d)] or 12 whichever is applicable.	608.92
	(b)	Ancillary Area FSI upto 60% with payment of charges. (608.92 x 60% = 365.76)	365.35
	(c)	Total entitlement (a+b)	974.27
14.		Maximum utilization limit of F.S.I. (building potential) Permissible as per Road width	
15.		Total Built-up Area in proposal.(excluding area at Sr.No.17 b)	974.27
	(a)	Existing Built-up Area.	----
	(b)	Proposed Built-up Area (as per 'P-line')	973.96
	(c)	Total (a+b)	973.96
16.		F.S.I. Consumed (15/13) (should not be more than serial No.14 above.)	0.99
17.		Area for Inclusive Housing, if any	
	(a)	Required	----
	(b)	Proposed	

CERTIFICATE :

I hereby certify that the structural drawings for the above mentioned work are prepared by me / us and work, as far as structural drawings are concerned, shall be carried under my supervision. I shall be responsible for the execution of the work as far as structural drawings are concerned.

SIGNATURE OF STRUCTURAL ENGINEER

CERTIFICATE OF AREA:

Certified that the plot under reference was surveyed by me on and the dimensions of sides etc. of plot stated on plan are as measured on site and the area so worked out tallies with the area SQ.MT stated in document of Ownership/ T.P. Scheme Records/ Land Records Department/City Survey records.

SANDEEP PANDURANG PATIL Digitally signed by SANDEEP PANDURANG PATIL Date: 2026.02.17 19:29:30 +05'30'

SIGNATURE OF ARCHITECT

OWNER'S DECLARATION

I/We undersigned hereby confirm that I/We would abide by plans approved by Authority / Collector. I/We would execute the structure as per approved plans. Also I/We would execute the work under supervision of proper technical person so as to ensure the quality and safety at the work site.

NAME & SIGNATURE OF OWNER	SIGNATURE OF ARCHITECT
M/s. V.N.CONSTRUCTION THROUGH MR. VIKAS NARAYAN VIRKAR	SANDEEP PANDURANG PATIL Digitally signed by SANDEEP PANDURANG PATIL Date: 2026.02.17 19:29:29 +05'30' AR. SANDEEP P. PATIL NIRMAL ARTS L-002, SANGHVI ESTATE, NEW RTO ROAD, KHADAKPADA, NEAR CINEMAX, KALYAN (W) 421302

JOB NO.	DRAWING NO.	SCALE	DRAWN BY	CHECKED BY
01	55/2025/FEB22	1:100	AMIT	AR.SANDEEP P.

REG. NO. OF ARCHITECT CA / 2008 / 42512