PRODUCED BY AN AUTODESK EDUCATIONAL PRODUCT

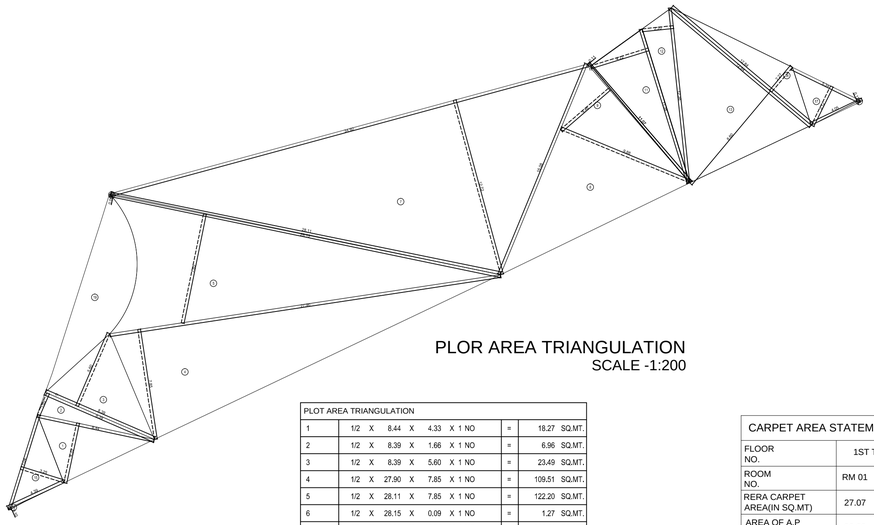

PLOR AREA TRIANGULATION
SCALE -1:200

PLOT AREA TRIANGULATION									
1	1/2	X	8.44	X	4.33	X 1 NO	=	18.27	SQ.MT.
2	1/2	X	8.39	X	1.66	X 1 NO	=	6.96	SQ.MT.
3	1/2	X	8.39	X	5.60	X 1 NO	=	23.49	SQ.MT.
4	1/2	X	27.90	X	7.85	X 1 NO	=	109.51	SQ.MT.
5	1/2	X	28.11	X	7.85	X 1 NO	=	122.20	SQ.MT.
6	1/2	X	28.15	X	0.09	X 1 NO	=	1.27	SQ.MT.
7	1/2	X	34.92	X	12.74	X 1 NO	=	222.44	SQ.MT.
8	1/2	X	16.08	X	9.88	X 1 NO	=	79.44	SQ.MT.
9	1/2	X	11.07	X	4.46	X 1 NO	=	24.69	SQ.MT.
10	1/2	X	11.07	X	0.11	X 1 NO	=	0.51	SQ.MT.
11	1/2	X	11.38	X	4.22	X 1 NO	=	23.01	SQ.MT.
						TOTAL DEDUCTION	=	608.03	SQ.MT.
ROAD									
12	1/2	X	12.38	X	2.20	X 1 NO	=	13.62	SQ.MT.
13	1/2	X	12.84	X	8.60	X 1 NO	=	55.21	SQ.MT.
14	1/2	X	12.84	X	2.27	X 1 NO	=	14.57	SQ.MT.
						TOTAL DEDUCTION	=	83.40	SQ.MT.
NOT IN POSSESSION									
15	1/2	X	6.97	X	3.22	X 1 NO	=	11.22	SQ.MT.
16	1/2	X	4.34	X	0.10	X 1 NO	=	0.25	SQ.MT.
17	1/2	X	5.29	X	3.09	X 1 NO	=	8.17	SQ.MT.
18	1/2	X	4.01	X	0.12	X 1 NO	=	0.24	SQ.MT.
19							=	35.52	SQ.MT.
						TOTAL DEDUCTION		55.50	SQ.MT.

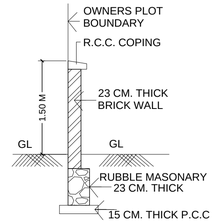

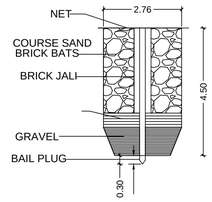

SECTION X-X

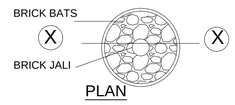

PLAN

RAIN WATER HARVESTING
SCALE 1: 100

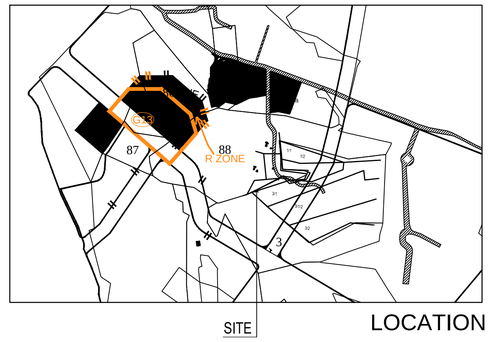

LOCATION

CARPET AREA STATEMENT FOR RESIDENTIAL					
FLOOR NO.	1ST TO 7TH FLR (IN SQ.MTS.)				
ROOM NO.	RM 01	RM 02	RM 03	RM 04	RM 05
RERA CARPET AREA(IN SQ.MT)	27.07	40.97	27.93	40.26	26.64
AREA OF A,P (IN SQ.MT)	00.00	00.00	00.00	00.00	00.00
AREA OF ENCLOSED BALCONY (IN SQ.MT)	07.03	09.18	04.84	07.07	07.04
AREA OF BALCONY (IN SQ.MT)	2.75	2.75	00.00	03.00	02.75
AREA OF DRY BALCONY (IN SQ.MT)	00.00	00.00	00.00	00.00	00.00
TOTAL CARPET AREA (IN SQ.MT)	36.85	52.90	32.77	50.33	36.43

CARPET AREA STATEMENT FOR COMMERCIAL	
SHOP 1	16.43 SQ.MT.
SHOP 2	15.41 SQ.MT.
TOTAL	31.84 SQ.MT.

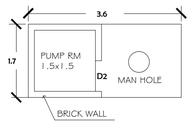

PLAN OF U.G.TANK.
SCALE :- 1:50

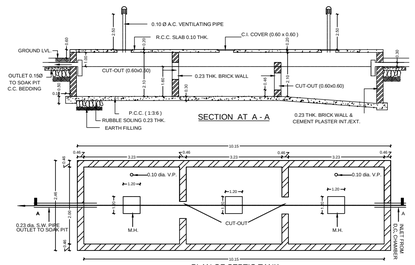

PLAN OF SEPTIC TANK
SCALE 1:50

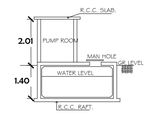

SECTION THROUGH U.G.TANK.
SCALE :- 1:50

FORM OF STATEMENT 2 **PROPOSED BUILDING AREA**		
BUILDING NO.	FLOOR NO.	TOTAL B/UP AREA OF FLOOR, AS PER OUTER CONSTRUCTION LINE
	GROUND FLOOR	64.07 SQ.MT.
	1ST FLOOR	279.88 SQ.MT.
	2ND FLOOR	279.88 SQ.MT.
	3RD FLOOR	279.88 SQ.MT.
	4TH FLOOR	279.88 SQ.MT.
	5TH FLOOR	279.88 SQ.MT.
	6TH FLOOR	279.88 SQ.MT.
	7TH FLOOR	279.88 SQ.MT.
	SOCIETY C. & DRIVER ROOM	40.98 SQ.MT.
TOTAL		2064.21 SQ.MT.

PARKING RULES AS PER RULES FOUR WHELLERS& TWO WHEELERS					
CARPET AREA		PARKING SPACES REQUIRED 4WHEELERS		PARKING SPACES REQUIRED 2WHEELERS	
		NON CONGESTED AREA		NON CONGESTED AREA	
	FLAT	REQUIRED	PROPOSED	REQUIRED	PROPOSED
LESS THAN 30 SQ.MT FOR EVERY 2 TENEMENTS	21	0	0.00	2.00	21.00
30 TO 40 SQ.MT FOR EVERY 2 TENEMENTS	0	1	0.00	2.00	0.00
40 TO 80 SQ.MT FOR EVERY 2 TENEMENTS	14	1	7.00	2.00	14.00
80 TO 150 SQ.MT FOR EVERY 1 TENEMENT	0	1	0.00	1.00	0.00
ABOVE 150 SQ.MT FOR EVERY 1 TENEMENT	0	2	0.00	1.00	0.00
TOTAL	35	0	7.00	0.00	35.00
VISITORS PARKING 5%REQUIRED PARKING			0.35	0.00	1.75
TOTAL PARKING REQUIRED2.3X4.5=10.35 SQ.MT			7.35	0.00	36.75
MULITFLYING FACTOR=0.8			5.88	0.00	37
TOTAL PARKING REQUIRED		SAY	6	SAY	37
TOTAL PARKING PROVIDED			10	0	18

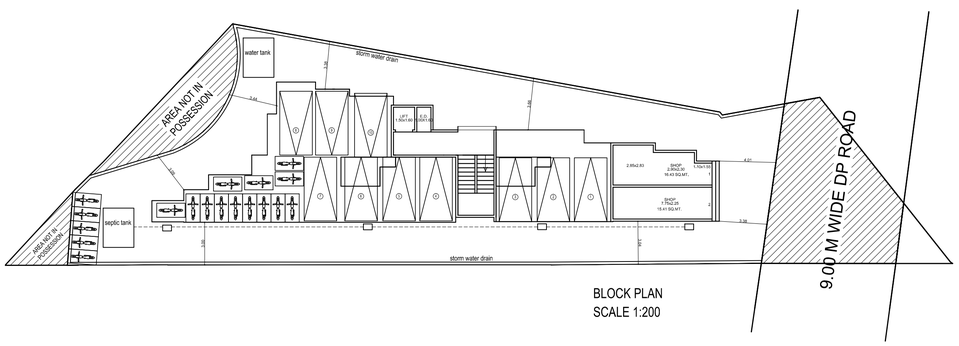

BLOCK PLAN
SCALE 1:200

FOLLOWING TABLE SHOWS PARKING PROVISIONS FOR COMMERCIAL					
SR.NO.	OCCUPANCY	PARKING SPACE REQUIRED (C.A= 31.84 SQ.MT)		REQUIRED 4 WHEELERS	REQUIRED 2 WHEELERS
1	SHOP	FOR EVERY 100 SQ.M. CARPET AREA OR FRACTION THEREOF		0.63	1.91
		4WHEELERS	2WHEELERS		
		02	06		
2	VISITOR PARKING 5%			0.03	0.09
3	TOTAL			0.66	2
4	MULTIPLYING FACTOR = 0.8			0.52	1.6
	TOTAL PARKING PROVIDED			SAY 1 NOS.	2 NOS.

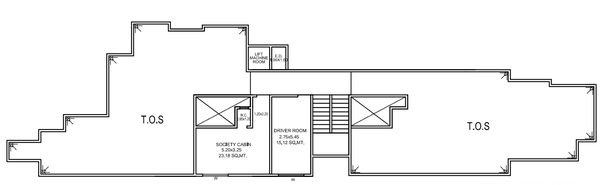

TERRACE FLOOR
SCALE 1:100

SCHEDULE OF DOORS & WINDOWS :-		
TYPE	SIZE	D E S C R I P T I O N
D	0.90 x 2.10	TEAK WOOD PANELED DOOR
D1	0.90 x 1.95	TEAK WOOD PANELED DOOR
D2	0.75 x 2.10	TEAK WOOD PANELED & PARTLY GLAZED
W	1.80 x 1.50	TEAK WOOD GLAZED WINDOW
W1	1.80 x 2.10	TEAK WOOD GLAZED WINDOW
W2	1.20 x 1.35	TEAK WOOD GLAZED WINDOW
V	0.60 x 0.90	TEAK WOOD GLAZED WITH LOUVERED

DESCRIPTION OF PROPOSAL & PROPERTY — **SHEET 1/2**

PROPOSED COMMERCIAL AND RESIDENTIAL BUILDING ON PLOT BEARING S.NO.4 ,H.NO.4 , S.NO. 88/ H.NO 12 / 1 OF VILLAGE - SONARPADA , TAL- KALYAN, DIST - THANE , DOMBIVLI (EAST)

AREA STATEMENT

SR.NO	DESCRIPTION	AREA (SQ.M)
	AREA OF PLOT	
01)	a) AS PER OWNERSHIP DOCUMENT(CTS EXTRACT)	747.00
	b) AS PER MEASUREMENT SHEET	747.00
	C) AS PER SITE	747.00
	DEDUCTION FOR	
02)	A) PROPOSED DP/DP ROAD WIDENING AREA/ SERVICE ROAD/ HIGHWAY WIDENING	83.40
	B) NOT IN POSSESSION AREA	55.50
	(TOTAL a+b)	138.9
03)	BALANCE AREA OF PLOT (1 - 2)	608.03
04)	AMENITY SPACE	
	A)REQUIRED-	NIL
	B) ADJUSTMENT OF 2B -	NIL
	C) PROPOSED-	NIL
05)	NET PLOT AREA	608.03
06)	RECREATIONAL OPEN SPACE	
	A)REQUIRED-	NIL
	B) PROPOSED-	NIL
07)	INTERNAL ROAD AREA	NIL
08)	PLOT-ABLE AREA	NIL
09)	BUILT UP AREA WITH REFERENCE TO BASIC F.S.I. AS PER FRONT ROAD WIDTH (608.03 X 1.10)	668.83
10)	ADDITIONAL OF FSI ON PAYMENT OF PREMIUM	
	A) MAXIMUM PERMISSIBLE PREMIUM FSI AS PER FRONT ROAD WIDTH/ TOD ZONE (691.5 x 50%)	345.75
	B) PROPOSED FSI ON PAYMENT OF PREMIUM	345.75
11)	IN-SITU FSI/TDR LOADING	
	A) IN-SITU AREA AGAINST D.P. ROAD (83.04 X2 = 166.08	166.08
	B) IN-SITU AREA AGAINST AMENITY SPACE IF HANDOVER(2.00X 4A)	NIL
	C) TDR AREA (691.5 x 40) = 276.6-166.08 = 110.52	110.52
	D) TOTAL IN-SITU/ TDR LOADING PROPOSED (11(a)+(b)+(C)	110.52
12)	ADDITIONAL FSI AREA UNDER CHAPTER NO.7 REDEVELOPMENT F.S.I.	NIL
13)	TOTAL ENTITLEMENT OF FSI IN THE PROPOSAL	
	A) 9+10(B)+11d + 12)	1291.18
	B) ANCILLARY AREA FSI UPTO 60% OR 80% WITH PAYMENT OF CHARGE. [1291.18 X 60% = 774.70 sq.mt.]	774.70
	D) TOTAL ENTITLEMENT (A+b)	2065.88
14)	MAXIMUM UTILIZATION LIMIT OF FSI	2064.21
15)	TOTAL BUILT-UP AREA ON PROPOSAL	
	B) PROPOSED BUILT-UP AREA (AS PER P-LINE)	
	C) TOTAL (A+B)	
16)	FSI CONSUMED (15/13)	NIL.
17)	AREA FOR INCLUSIVE HOUSING	
	A) REQUIRED (20% OF (5)	NIL
	B) PROPOSED	NIL

CERTIFICATE OF AREA -

certified that the plot under reference was surved by me on and the dim. of sides ect, of plot stated on plan are as measured on site and the area so worked out tallies with the area stated in document of ownership/t.p. scheme records/land record department/city survey records.

(NAME OF ARCHITECT)

OWNER'S DECLARATION-

i/ we undersigned hereby confirm that i/we would abide by authority/collector. i/we would execute the structure as per approved plans. also i/we would execute the work under supervision of proper technical person so as to ensure the quality and safety at the work site

BHARAT PANDURANGA MUKE
P.O.A HOLDER NAME

ENGINEER NAME AND SIGNATURE

REJESH THAKRE
ENGINEER NAME

ARCHITECT NAME AND SIGNATURE

NORTH 45 315 90 270 135 225 180

G.N.GANDHE

JOB NO.	DRAWING NO.	SCALE	DRAWN BY	CHECKED BY	DATE
	01	AS PER DRW.			

PRODUCED BY AN AUTODESK EDUCATIONAL PRODUCT
PRODUCED BY AN AUTODESK EDUCATIONAL PRODUCT
PRODUCED BY AN AUTODESK EDUCATIONAL PRODUCT

PRODUCED BY AN AUTODESK EDUCATIONAL PRODUCT

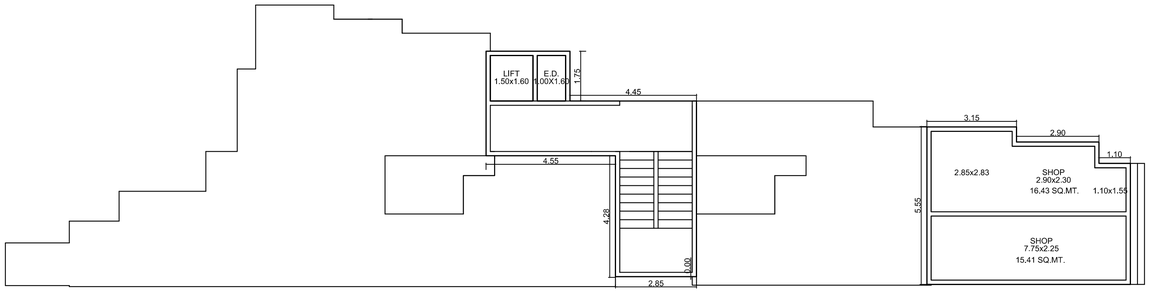

GROUND FLOOR PLAN
SCALE 1:100

BUILT UP AREA CALCULATION

GROUND FLOOR									
1	22.65	X	8.19	X	1 NO	=	185.50	SQ.MT.	
					TOTAL ADDITION	=	185.50	SQ.MT.	X

DEDUCTIONS

1	4.45	X	1.75	X	1 NO	=	7.79	SQ.MT.	
2	8.10	X	8.19	X	1 NO	=	66.34	SQ.MT.	
3	3.15	X	2.66	X	1 NO	=	8.38	SQ.MT.	
4	2.90	X	3.19	X	1 NO	=	9.25	SQ.MT.	
5	1.10	X	3.94	X	1 NO	=	4.33	SQ.MT.	
6	2.85	X	0.27	X	1 NO	=	0.77	SQ.MT.	
7	4.55	X	4.52	X	1 NO	=	20.57	SQ.MT.	
					TOTAL DEDUCTION	=	117.43	SQ.MT.	Y1
TOTAL BUILT UP AREA [X - Y1]						=	68.07	SQ.MT.	X1

LIFT AREA CALCULATION

GROUND FLOOR									
L1	1.50	X	1.60	X	1 NO	=	2.40	SQ.MT.	
TOTAL LIFT AREA PER FL. (GROUND FLOOR)						=	2.40	SQ.MT.	Y2

DUCT AREA CALCULATION

GROUND FLOOR									
D1	1.00	X	1.60	X	1 NO	=	1.60	SQ.MT.	
TOTAL DUCT AREA PER FL. (GROUND FLOOR)						=	1.60	SQ.MT.	Y3

NET BUILT UP AREA [X1 - (Y2+Y3)]	=	64.07	SQ.MT.

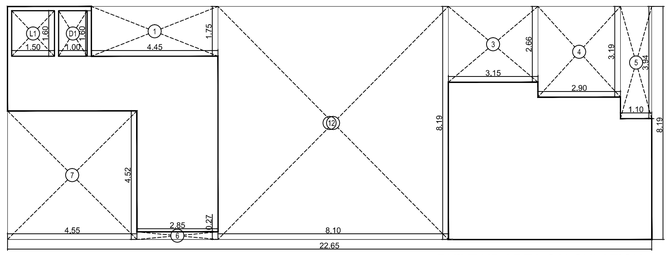

BUILT UP AREA CALCULATION
GROUND FLOOR
SCALE -1:100

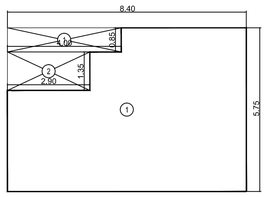

BUILT UP AREA CALCULATION
SOCIETY CABINE DRIVER ROOM
SCALE 1:100

BUILT UP AREA CALCULATION

SOCIETY CABINE DRIVER ROOM									
1	8.40	X	5.75	X	1 NO	=	48.30	SQ.MT.	
					TOTAL ADDITION	=	48.30	SQ.MT.	X

DEDUCTIONS

1	4.00	X	0.85	X	1 NO	=	3.40	SQ.MT.	
2	2.90	X	1.35	X	1 NO	=	3.92	SQ.MT.	
					TOTAL DEDUCTION	=	7.32	SQ.MT.	Y1
TOTAL BUILT UP AREA [X - Y1]						=	40.98	SQ.MT.	X1

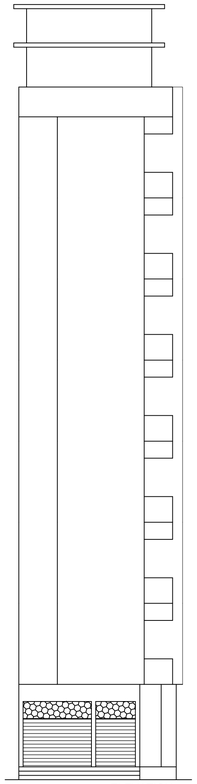

ELEVATION
SCALE 1:100

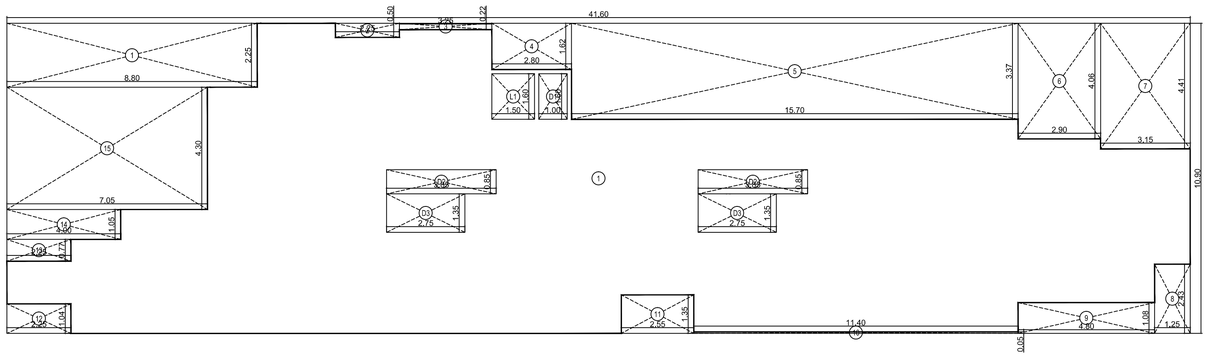

BUILT UP AREA CALCULATION
1ST TO 7TH FLOOR
SCALE -1:100

BUILT UP AREA CALCULATION

1ST TO 7TH FLOOR									
1	41.60	X	10.90	X	1 NO	=	453.44	SQ.MT.	
					TOTAL ADDITION	=	453.44	SQ.MT.	X

DEDUCTIONS

1	8.80	X	2.25	X	1 NO	=	19.80	SQ.MT.	
2	2.25	X	0.50	X	1 NO	=	1.13	SQ.MT.	
3	3.25	X	0.22	X	1 NO	=	0.72	SQ.MT.	
4	2.80	X	1.62	X	1 NO	=	4.54	SQ.MT.	
5	15.70	X	3.37	X	1 NO	=	52.91	SQ.MT.	
6	2.90	X	4.06	X	1 NO	=	11.77	SQ.MT.	
7	3.15	X	4.41	X	1 NO	=	13.89	SQ.MT.	
8	1.25	X	2.43	X	1 NO	=	3.04	SQ.MT.	
9	4.80	X	1.08	X	1 NO	=	5.18	SQ.MT.	
10	11.40	X	0.05	X	1 NO	=	0.57	SQ.MT.	
11	2.55	X	1.35	X	1 NO	=	3.44	SQ.MT.	
12	2.25	X	1.04	X	1 NO	=	2.34	SQ.MT.	
13	2.25	X	0.77	X	1 NO	=	1.73	SQ.MT.	
14	4.00	X	1.05	X	1 NO	=	4.20	SQ.MT.	
15	7.05	X	4.30	X	1 NO	=	30.32	SQ.MT.	
					TOTAL DEDUCTION	=	155.58	SQ.MT.	Y1
TOTAL BUILT UP AREA [X - Y1]						=	297.86	SQ.MT.	X1

LIFT AREA CALCULATION

1ST TO 7TH FLOOR									
L1	1.50	X	1.60	X	1 NO	=	2.40	SQ.MT.	
TOTAL LIFT AREA PER FL. (1ST TO 7TH FLOOR)						=	2.40	SQ.MT.	Y2

DUCT AREA CALCULATION

1ST TO 7TH FLOOR									
D1	1.00	X	1.60	X	1 NO	=	1.60	SQ.MT.	
D2	3.85	X	0.85	X	2 NOS	=	6.55	SQ.MT.	
D3	2.75	X	1.35	X	2 NOS	=	7.43	SQ.MT.	
TOTAL DUCT AREA PER FL. (1ST TO 7TH FLOOR)						=	15.58	SQ.MT.	Y3

NET BUILT UP AREA [X1 - (Y2+Y3)]	=	279.88	SQ.MT.

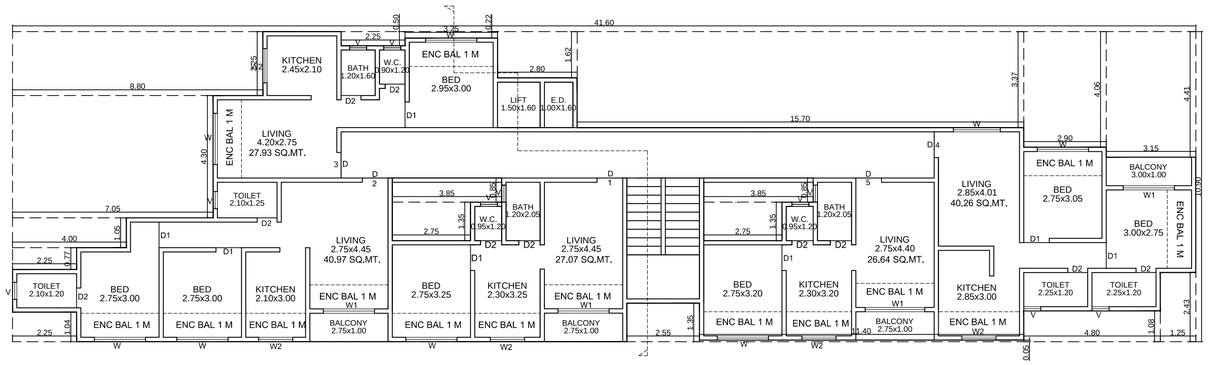

1ST TO 7TH FLOOR PLAN
SCALE 1:100

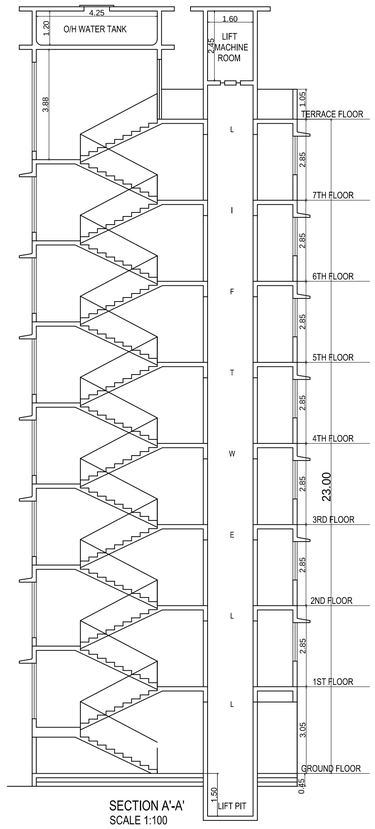

SECTION A'-A'
SCALE 1:100

DESCRIPTION OF PROPOSAL & PROPERTY — **SHEET 2/2**

PROPOSED COMMERCIAL AND RESIDENTIAL BUILDING ON PLOT BEARING S.NO.4 ,H.NO.4 , S.NO. 88/ H.NO 12 / 1 OF VILLAGE - SONARPADA , TAL- KALYAN, DIST - THANE , DOMBIVLI (EAST)

G.N.GANDHE

OWNER'S DECLARATION-

i/ we undersigned hereby confirm that i/we would abide by authority/collector. i/we would execute the structure as per approved plans. also i/we would execute the work under supervision of proper technical person so as to ensure the quality and safety at the work site

BHARAT PANDURANGA MUKE
P.O.A HOLDER NAME

ENGINEER NAME AND SIGNATURE

REJESH THAKRE
ENGINEER NAME

ARCHITECT NAME AND SIGNATURE

NORTH

JOB NO.	DRAWING NO.	SCALE	DRAWN BY	CHECKED BY	DATE
	01	AS PER DRW.			

PRODUCED BY AN AUTODESK EDUCATIONAL PRODUCT
PRODUCED BY AN AUTODESK EDUCATIONAL PRODUCT
PRODUCED BY AN AUTODESK EDUCATIONAL PRODUCT