LOCATION PLAN
SCALE 1:200

TENEMENT STATEMENT FOR (WING-A) FLATS					
	BELOW 30 SQ.MT	LESS THAN 40 SQ.MT AND MORE THAN 30 SQ MT	ABOVE 40 SQ.MT BUT LESS THAN 80 SQ.MT	ABOVE 80 SQ.MT BUT LESS THAN 150 SQ.MT	TOTAL NO. OF FLATS
FLOOR	FLATS	FLATS	FLATS	FLATS	
GROUND FLOOR					
1ST		3	2		
2ND		3	2		
3RD		3	2		
4TH		3	2		
5TH		3	2		
6TH		3	2		
7TH		1	2		
TOTAL FLATS		19	14		33

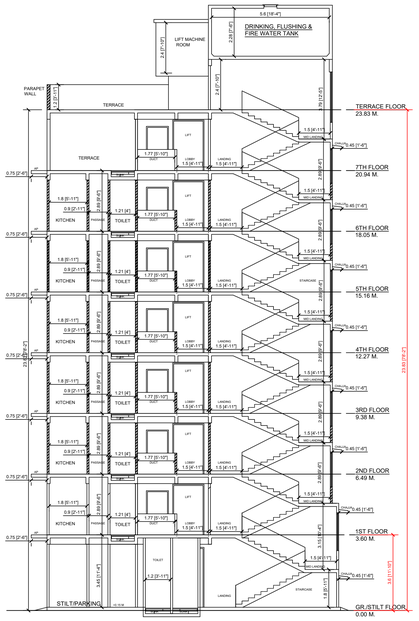

SECTION A-A'
SCALE - 1: 100

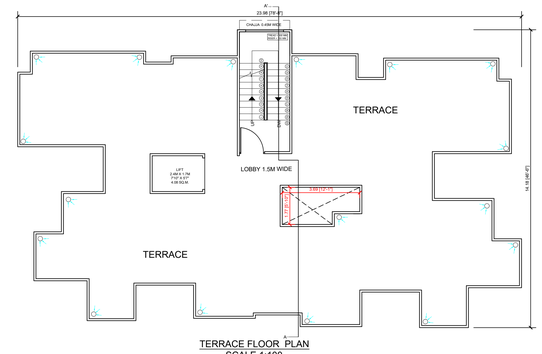

TERRACE FLOOR PLAN
SCALE 1:100

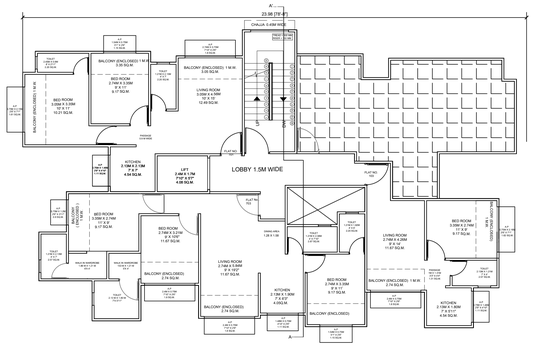

7TH FLOOR PLAN
SCALE 1:100

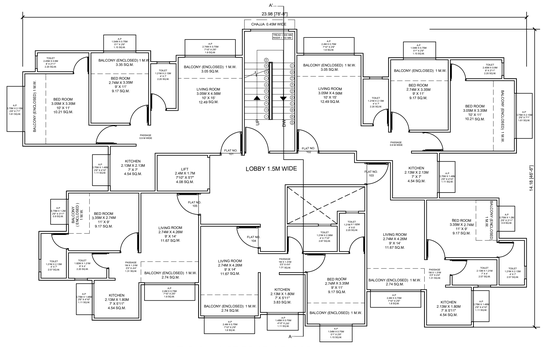

TYPICAL (1ST TO 6TH) FLOOR PLAN
SCALE 1:100

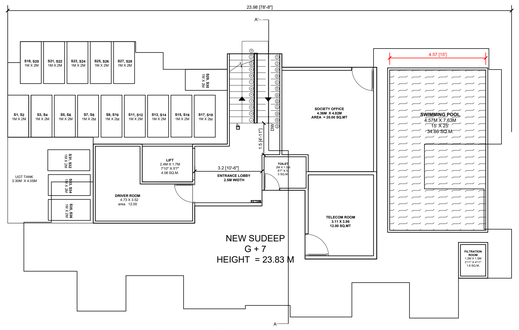

GROUND FLOOR PLAN
SCALE 1: 100

PARKING STATEMENT 5 BHK VILLA							
NO.	SIZE OF TENEMENT	REQUIRED PARKING		NO. OF FLATS	PROPOSED PARKING		
		NON CONGESTED AREA			NON CONGESTED AREA		
		CAR	SCOOTER		CAR	SCOOTER	
1	FOR EVERY TWO TENEMENTS WITH EACH TENEMENT HAVING CARPET AREA LESS THAN 30 SQ.M.	0	2	0	0	0	
2		1	2	19	9	19	
3		1	2	14	7	14	
4		1	1		0	0	
5	FOR EVERY TENEMENT HAIVING CARPET AREA OF 150 SQ.M. AND ABOVE	2	1		0	0	
6				33	16.00	33	
7					1	2	
8	Total required parking				17.00	35	
9	At 80% total parking req				0	0	
10	scooter parkings converted into car parking at 6 scooters to 1 car				0	0	
11	Required parking				17.00	35	
12	Proposed parking				17	35	

PLOT AREA CALCULATION							
T1	20.62	X	4.86	X	0.5	=	50.59
T2	21.25	X	3.21	X	0.5	=	34.11
T3	28.16	X	10.74	X	0.5	=	151.22
T4	29.45	X	1.31	X	0.5	=	19.29
T5	31.30	X	1.66	X	0.5	=	25.98
T6	35.68	X	3.29	X	0.5	=	58.69
T7	40.67	X	3.08	X	0.5	=	62.63
T8	40.67	X	4.21	X	0.5	=	85.61
T9	36.65	X	1.98	X	0.5	=	36.28
T10	35.39	X	7.64	X	0.5	=	135.19
T11	32.14	X	1.20	X	0.5	=	19.28
T12	23.00	X	0.39	X	0.5	=	4.49
T13	20.91	X	2.99	X	0.5	=	31.26
T14	7.11	X	3.13	X	0.5	=	11.13
				TOTAL			725.75

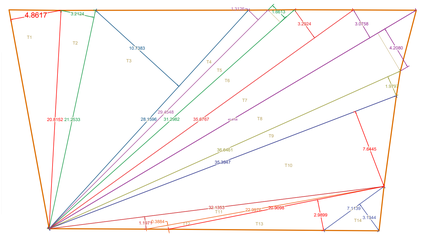

PLOT AREA DIAGRAM
SCALE 1:200

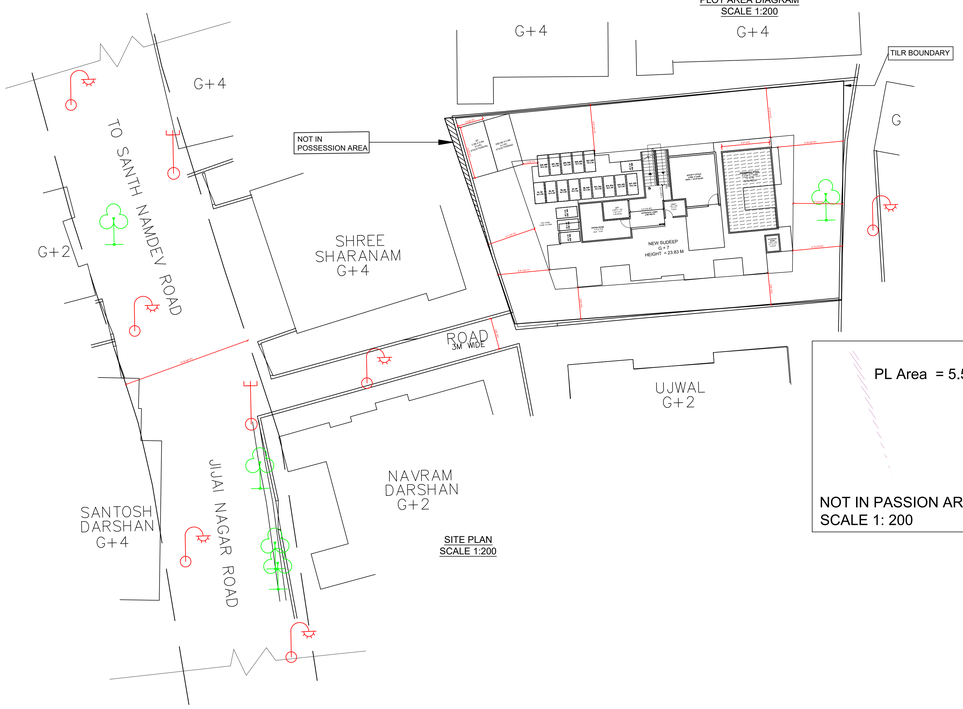

SITE PLAN
SCALE 1:200

PL Area = 5.54

NOT IN PASSION AREA
SCALE 1: 200

LAYOUT

VILLAGE - PATHARLI, SURVEY NO. 47CTS No. 940, 941, 942, 943, 945, 946, 947, 948

DRAWING SHEET NO. 1

HISSA NO. 3 PT

STAMPS OF APPROVAL OF PLANS:

Proforma - I : AREA STATEMENT

NO.		
1	**AREA OF PLOT (MINIMUM AREA OF A, B, C TO BE CONSIDERED)**	
	(a) AS PER OWNERSHIP DOCUMENT (7/12, CTS EXTRACT)	709 SQ.M
	(b) AS PER MEASUREMENT SHEET	
	(c) AS PER SITE	725.75 SQ.M
		-
2	**DEDUCTIONS FOR**	-
	(a) PROPOSED DP / DP ROAD WIDENING AREA/ SERVICE ROAD / HIGHWAY WIDENING	-
	(b) Any D.P. Reservation area (NOT IN PASSION AREA)	5.50 SQ.MT
	(Total a + b)	5.50 SQ.MT
3	**BALANCE AREA OF PLOT (1-2)** (708 - 5.50 = 703)	703.5 SQ.MT
4	**Amenity Space (if applicable)**	
	(a)Required	
	(b) Adjustment of 2(b), if any -	
	(c) Balance Proposed	-
5	**Net Plot Area (3 - 4(c))**	703.5 SQ.MT
6	**Recreational Open space (if applicable)**	-
	(a) Required	703.5 SQ.M.
	(b) Proposed	-
7	**INTERNAL ROAD AREA**	-
8	**PLOT ABLE AREA (IF APPLICABLE)**	-
9	**BUILT UP AREA WITH REFERENCE TO BASIC F.S.I. AS PER FRONT ROAD WIDTH (SR. NO. 5XBASIC FSI) (BASIC FSI- 1.10) 703.00 X 1.10**	773.85 SQ.M.
10	**Addition of FSI on payment of premium**	
	(a)Maximum permissible premium FSI - based on road width / TOD Zone	NA
	(b) Proposed FSI on payment of premium.	
11	**IN-SITU FSI / TDR LOADING**	-
	(a) In-situ area against D.P. road [2.0 x Sr.No.2(a)],if any	
	(b) In-situ area against Amenity Space if handed over [2.00 or 1.85 x Sr.No.4(b) and /or (c)],	
	(c) TDR area	-
	(d) Total in-situ / TDR loading proposed (11 (a) + (b) + (c))	
12	**Additional FSI area under Chapter No.7**	
	(A) TENANT FSI 15% (18 X 15 = 270)	270.00 SQ.M.
	(B) Incentive on green building (7 % of Basic F.S.I.) as per UDCPR chapter 7 - section 7.10 (773.85 x 7 % = 54.17)	54.17 SQ.M.
	(C) Total A + B	324.17 SQ.M.
13	**Total entitlement of FSI in the proposal**	
	(a) [9 + 10(b) + 11(d)] or 12 whichever is applicable. (773.85 + 324.17 = 1098.02)	1098.02 SQ.M.
	(b) Ancillary Area FSI upto 60% or 80% with payment of charges. (1098.02 X 60% = 658.81)	658.81 SQ.M.
	(c) Total entitlement (a + b)	1756.83 SQ.M.
14	**Maximum utilization limit of F.S.I. (building potential) Permissible as per Road width {(as per Regulation No.6.1 or 6.2 or 6.3 or 6.4 as applicable) x 1.6 or 1.8}**	-
15	**Total Built-up Area in proposal.(excluding area at Sr.No.17 b)**	
	(a) Existing Built-up Area.	
	(b) Proposed Built-up Area (as per 'P-line')	
	(c) Total (a + b)	1755.36 SQ.MT
16	F.S.I. Consumed (15 / 13) (should not be more than serial No.14 above.)	0.99
17	**Area for Inclusive Housing, if any**	
	(a) Required (20% of Sr.No.5)	
	(b) Proposed	
18	BALANCE AREA (TOTAL BUILT-UP AREA - PROPOSED BUILT-UP AREA) (1670.16 - 1652.34 = 17.82)	1.47 SQ.MT

* ALL DIMENSIONS ARE IN METERES UNLESS MENTIONED OTHERWISE
* ALL DRAWINGS ARE PREPARED ACCORDING TO UDCPR.
* WE WILL CONSUME PERMISSIBLE BALANCE TDR AND ITS ANCILLARY F.S.I ON UPPER FLOORS OF ALL WINGS. AFTER PURCHASED OF THE T.D.R

CONTENTS OF SHEET

PLOT AREA STATEMENT , PART OF KDMC ROAD DP LAYOUT,TILR SURVEY COPY LAYOUT PLAN,PLOT AREA DIAGRAM / CALCULATION,PARKING STATEMENT,RG AREA DIAGRAM AND CALC.ROAD AREA DIAGRAM / CALCULATION, D-WATT TANK DETAILS

REVISION	DESCRIPTION	DATE	SIGNATURE
		6-3-26	

JOB NO.	DRAWING NO.	DRAWN BY	CHECKED BY	APPROVED BY
	1	NIRUTEE BAISANE NAMITA SHINDE RUTA	AR.SHREYAS DESHMUKH	AR.DILIP DESHMUKH

ARCHITECTS AND ENVIRONMENTAL PLANNER
CA / 86 / 09657

AR.DILIP DESHMUKH & ASSOCIATES
"I2I" WING GROUND FLOOR, PARAMOUNT PARK APARTMENT, IN FRONT OF LODHA REGENCY, BEHIND RUNWAL GARDENS, MANPADA-SANDAP ROAD, DOMBIVALI (EAST)

SIGNATURE OF LICENSED ARCHITECT

NORTH

SCALE AS DESCRIBED ON SHEET

REVISION NO. = 8

REVISION DATE : 10-3-26

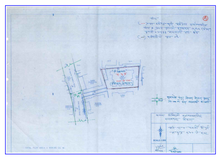

Proforma 1 : Area Statement

1. Area of plot(Minimum area of a, b, c to be considered) or area of subplot with sanctioned layout No. and subplot No.	709.000
(a) As per ownership document (7/12, CTS extract)	709.000
(b) as per TILR or City Survey measurement sheet	709.000
(c) as per Demarcated drawing area	709.000
LESS	
2.Area not in possession	5.500
3. Area Proposed for development (out of 1-2)	703.500
4.Deductions for(out of 3)	
(a) Proposed D.P./ D.P. Road widening Area/Proposed DP road, Road under MMC act	0.000
(b) Any D.P. Reservation area	0.000
(c) Green Belt	0.000
(Total a+b+c)	0.000
5. Balance area of plot (3-4)	703.500
6. Amenity Space Proposed	0.000
(Required -(a) Upto 20,000 sqmt - Nil	-
(b) Above 20,000 and more - (a) + 5% of Total area	0.000
7. Net Plot Area (5-6)	703.500
8.Recreational Open Space (Not applicable if plots are from sanctioned layout)	-
(a). If area is more than (5) 4000 sqmt - 10 % of (5) is required	0.000
Proposed	0.000
(A)10 % Subject to minimum 200 sqmt(Not applicable if plots are from sanctioned layout or each plot admesuring less than 4000sq.m regularised under gunthewari act)	0.000
Proposed	0.000
(B)Exemption to leave open space subject to availing basic F.S.I of 75 %	-
(C)Exemption to leave open space subject to payment of 10 % land value of land at (7) as per annual statement of rate.	-
If (5) > 4000sq.m then Land admesuring 20% of (5) is to be utilised for inclusive housing	0.000
Proposed Area	0.000
Architect/ Licensed Engineer/ Supervisor name and signature	
Registration No. of Architect/ License no. of Licensed Engineer/ Supervisor: CA/1986/09657	

Certificate of Area:
Certified that the plot under reference was surveyed by me on_____and the dimensions of sides etc. of plot stated on plan are as measured on site and the area so worked out tallies with the area stated in document of Ownership/ T.P. Scheme Records/Land Records Department/City Survey records.

Signature
(Name of Architect/ Licensed Engineer/ Supervisor.)

Owner's Declaration -
I/We undersigned hereby confirm that I/We would abide by plans approved by Authority / Collector. I/We would execute the structure as per approved plans. Also I/We would execute the work under supervision of proper technical person so as to ensure the quality and safety at the work site.

Owner (s) name and signature

Name Of : Owner SHREE LAXMI REALTY

Postal Address : VAIBHAV VHILLA CHS,DINDAYAL CROSS ROAD,dombivali,Thane,Maharashtra-421202

Phone No. 9029681755

DESCRIPTION OF PROJECT :

Type of Proposal : Residential
BUILDING ON CTS. NO./SURVEY NO.-47

SITE ADDRESS :
SURVEY NO. 47 HISSA NO. 3 PT VILLAGE - PATHARLI.

Name Of Architect : DILIP SUDHAKAR DESHMUKH

LOGO

ADDRESS OF OFFICE
OFFICE -
D-WING PARAMOUNT PARK APARTMENT ,SANDAP VILLAGE ROAD ,IN FRONT OF LODHA REGENCY BHOPAR,DOMBIVLI EAST,KALYAN ,THANE

OWNERS SIGN - LAXMI LALJI YADAV

TECHNICAL PERSON SIGN - DILIP SUDHAKAR DESHMUKH

SCALE - DATE: 10/03/26

JOB NO - KDMCC-26-25227 CHECK BY -

SUBMISSION DRAWING

VILLAGE - PATHARLI, SURVEY NO. 47, HISSA No. 3PT , CTS No. 940, 941, 942, 943, 945, 946, 947, 948 DOMBIVALI - EAST , TALUKA - KALYAN , Dist - Thane

New Sudeep chs														
BUILDING	FLOORS	FSI AREA						BALCONY	TERRACE	LIFT	LIFTWELL	DUCT	VENT	OTHER	TOTAL
		COMM.	RESI.	IND.	EDU.	INS.	MEZZ.	PROP.					SHAFT	DEDUCTION	FSI AREA
New Sudeep chs	7TH FLOOR	0.000	202.901	0.000	0.000	0.000	0.000	0.000	0.000	0.000	0.000	9.812	0.000	0.000	193.089
New Sudeep chs	1ST TO 6TH FLOOR	0.000	1546.944	0.000	0.000	0.000	0.000	0.000	0.000	24.480	0.000	58.875	0.000	0.000	1488.069
New Sudeep chs	STIL-GROUND FLOOR	0.000	74.098	0.000	0.000	0.000	0.000	0.000	0.000	0.000	0.000	0.000	0.000	0.000	74.098
New Sudeep chs	TOTAL	0.000	1823.943	0.000	0.000	0.000	0.000	0.000	0.000	24.480	0.000	68.687	0.000	0.000	1755.256

FSI DETAILS									
10 Index	Basic FSI (on serial no 7)	Premium FSI (on serial no 3)	TDR/DR (on serial no 3)	Rehab Incentive FSI as per 7.6.2	Incentive fsi for green building if Applicable (on basic FSI)	Ancillary Area(60% of 2 + 3+4+5)	Ancillary Area(80% of 2 + 3+4+5)	Total	Drawing Value
10.1 Permissible Index	1.100	0.500	0.650	50%	0.055	0.000	0.000	2.250	0.000
10.2 Total Entitlement of FSI as per Reg 7.6.1 & 7.6.2	1.100	0.500	0.650	0.500	0.000	0.000	0.000	2.250	0.000
10.3 FSI Permissible for Redevelopment(Max of 10.1 and 10.2)	1.100	0.500	0.650	0.500	0.055	0.000	0.000	2.250	0.000
10.4 Existing Consumed Index	0.000	0.000	0.000	0.000	0.000	0.000	0.000	0.000	-
10.5 Balance Index to be Consumed (10.3 - 10.4)	1.100	0.500	0.650	0.500	0.000	0.000	0.000	2.250	-
10.6 Total Permissible (P Line Area)	773.850	351.750	457.275	270.000	0.000	626.310	0.000	2479.185	0.000
10.7 Proposed P Line Area (should not exceed 10.4)	773.850	0.000	0.000	270.000	0.000	711.406	0.000	1755.256	1755.256
10.8 Index Consumed	1.100	0.000	0.000	0.500	0.000	0.000	0.000	1.100	0.000

Carpet Area Table								
Building Name	Floor Name	Carpet name	Tenement No	Carpet Area	Enclosed Balcony Area	Normal Balcony Area	Mezzanine Area	Total Carpet Area
New Sudeep chs	1ST TO 6TH FLOOR	101;201;301;401;501 ;601	6	48.169	0.000	0.000	0.000	48.169
New Sudeep chs	1ST TO 6TH FLOOR	102;202;302;402;50 2;602	6	47.935	0.000	0.000	0.000	47.935
New Sudeep chs	1ST TO 6TH FLOOR	103;203;303;403;50 3;603	6	33.662	0.000	0.000	0.000	33.662
New Sudeep chs	1ST TO 6TH FLOOR	104;204;304;404;50 4;604	6	32.102	0.000	0.000	0.000	32.102
New Sudeep chs	1ST TO 6TH FLOOR	105;205;305;405;50 5;605	6	31.690	0.000	0.000	0.000	31.690
New Sudeep chs	7TH FLOOR	701	1	48.169	0.000	0.000	0.000	48.169
New Sudeep chs	7TH FLOOR	703	1	70.169	0.000	0.000	0.000	70.169

Parking Check (Table 8B)								
			RATIO			Required		
Building Name	USE	TENAMENT AREA	car	scooter	NO.OF Tena/Area/Units	car	scooter	Transport Vehicle/Ambulance /Mini Bus
New Sudeep chs	Residential	For every two tenements with each tenement having carpet area equal to or above 40 sq.m. but less than 80 sq.m.	1	2	14	7.000	14.000	-
New Sudeep chs	Residential	For every two tenements with each tenement having carpet area less than 40 Sq.m. but more than 30 sq.m.	1	2	18	9.000	18.000	-
Total	-	-	-	-	-	16.000	32.000	-
Visitors parking(5%)	-	-	-	-	-	0.800	1.600	-
Total	-	-	-	-	-	16.800	33.600	0.000

Parking Check As Per Multiplying Factor 0.800							
	Required			Proposed			
Building Name	Car	Scooter	Transport Vehicle/Ambulance /Mini bus	Car	Scooter	Transport Vehicle/Ambulance /Mini bus	Status
Total	13	34	0	17	35	0	OK

Telecom Room			
Building	Req. Size	Prop. Size	Status
New Sudeep chs	3.000X3.400	3.000X3.400	OK
New Sudeep chs	Req. Telecom Rooms=2	1	FAIL

SCHEDULE OF OPENING				
BLD NAME	NAME	LENGTH	HEIGHT	Nos.
New Sudeep chs	V	0.600	1.200	8

Project Details
Proposal code: KDMCC-26-25227
Zone Type: Residential Zone
Location: Non-Congested
Name of service: Redevelopment For Dangerous Building
Sub service: Redevelopment of tenanted buildings
Cts No./Survey No.: 47
Tahsil: Sector-5
Mouza: G.B. Patharli
Prorata Value: 0.000
Separation/CRZ Zone Area: -

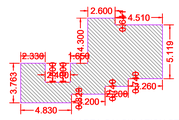

BUILT-UP AREA CALCULATION STIL-GROUND FLOOR New Sudeep chs

BUILT UP AREA CALCULATION FOR STIL-GROUND FLOOR New Sudeep chs			
AREA NAME	UNARC	ARC	Area(Sq.M)
BLOCK	12.486	74.098	86.584
BLOCK AREA TOTAL =86.584Sq.M			
TOTAL Deduction =0.000Sq.M			
Net Built-up Area =86.584 Sq.M			

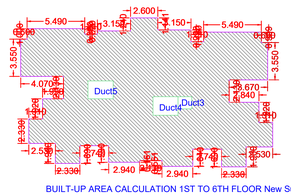

BUILT-UP AREA CALCULATION 1ST TO 6TH FLOOR New Sudeep chs

BUILT UP AREA CALCULATION FOR 1ST TO 6TH FLOOR New Sudeep chs			
AREA NAME	LENGTH	WIDTH	Area(Sq.M)
BLOCK	23.980	18.180	257.624
BLOCK AREA TOTAL =257.624Sq.M			
Duct5	-	-	4.060
Duct3	-	-	4.670
Duct4	-	-	1.320
TOTAL Deduction =9.910Sq.M			
Net Built-Up Area =1247.71 Sq.M			

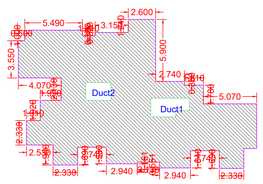

BUILT-UP AREA CALCULATION 7TH FLOOR New Sudeep chs

BUILT UP AREA CALCULATION FOR 7TH FLOOR New Sudeep chs			
AREA NAME	LENGTH	WIDTH	Area(Sq.M)
BLOCK	23.980	8.035	192.689
BLOCK AREA TOTAL =192.689Sq.M			
Duct2	-	-	4.060
Duct1	-	-	5.710
TOTAL Deduction =9.910Sq.M			
Net Built-Up Area =182.779 Sq.M			



WATER TANK CAPACITY

BUILDING FLOOR = 7
PER FLOOR FLAT = 5 (1BHK = 3, 2BHK = 2)
NO. OF TENEMENT = 6 X 5 = 30
ON THE 7FLOOR = 1 X 3 FLAT = 3
TOTAL NUMBER OF FLAT = 33

PER TENEMENT
1BHK = 18 FLATS X 4 PERSONS = 72 PERSONS
2BHK = 14 FLATS X 5 PERSONS = 70 PERSONS
3BHK = 1 FLAT X 5 PERSONS = 5 PERSONS
TOTAL NO. OF PERSONS = 72 + 70 + 5 =
147 PERSONS
135 LIT/PERSON/DAY
135 X 147 = 19845 LIT/DAY
40% OF 19845 = 7938
FOR OHT 7938 + 25000 (FIRE) = 32938 LITER (REQUIRED)
SIZE OF TANK IN CU.M.
32938/ 1000 = 32.93 CU. M
SIZE OF TANK = 3.5M X 5.75M = 20.125 M
HT. OF TANK = 2.28M

UNDERGROUND WATER TANK CALCULATION

BUILDING FLOOR = 7
PER FLOOR FLAT = 5 (1BHK = 3, 2BHK = 2, 3BHK = 1)
ON THE 1 TO 6 FLOOR TENEMENT = 6 X 5 FLAT = 30
ON THE 7FLOOR = 1 X 3 FLAT = 3
TOTAL NUMBER OF FLAT = 33

PER TENEMENT
1BHK = 18 FLATS X 4 PERSONS = 72 PERSONS
2BHK = 14 FLATS X 5 PERSONS = 70 PERSONS
3BHK = 1 FLAT X 5 PERSONS = 5 PERSONS
TOTAL NO. OF PERSONS = 72 + 70 + 5
= 147 PERSONS
135 LIT/PERSON/DAY
135 X 147 = 19845 LIT/DAY
60% OF 19845 = 11907
11907 + 25000 (FIRE) = 36907 LITER (REQUIRED)
SIZE OF TANK IN CU.M.
36907 / 1000 = 36.90 CU. M
AREA OF TANK = 2.21 M. X 9.60 M. = 21.22
HT OF TANK = 12.50 M.

SEPTIC TANK CAPACITY CALCULATION

BUILDING FLOOR = 7
PER FLOOR FLAT = 5 (1BHK = 3, 2BHK = 2)
ON THE 1 TO 6 FLOOR TENEMENT = 6 X 5 FLAT = 30
ON THE 7FLOOR = 1 X 3 FLAT = 3
TOTAL NUMBER OF FLAT = 33

PER TENEMENT
1BHK = 18 FLATS X 4 PERSONS = 72 PERSONS
2BHK = 14 FLATS X 5 PERSONS = 70 PERSONS
3BHK = 1 FLT X 5 PERSONS = 5 PERSONS
TOTAL NO. OF PERSONS = 72 + 70 + 5
= 147 PERSONS
6 CU.FT/PERSON
= 6 X 147 = 882 CU.FT
35.32 CU.FT = 1 CU.M.
TANK CAPACITY = 882 / 35.32 = 24.97 CU.M.
SIZE OF TANK = 3.5M X 5.75M = 20.125 M
HT OF TANK= 6.78M

LEGEND

SR NO.	ITEM	SITE PLAN
1)	PLOT LINE	
2)	EXISTING STREET	
3)	FUTURE STREET AS PER KDMC DP REMARK	
4)	FUTURE STREET PROPOSED	
5)	PERMISSIBLE BUILDING LINE	
6)	EXISTING WORK	
7)	PROPOSED WORK	
8)	DRAINAGE & SEWERAGE WORK	
9)	WATER SUPPLY WORK	
10)	EXISTING BUILDINGS	
11)	EXISTING ELECTRIC POLE	
12)	TO BE DEMOLISHED STRUCTURE	

BUILT UP AREA STATEMENT	
FLOOR	AREA
GR.FLOOR	74.15
1 ST	248.02
2 ND	248.02
3 RD	248.02
4 TH	248.02
5 TH	248.02
6 TH	248.02
7 TH	193.09
TOTAL	1755.36

SCHEDULE FOR WINDOWS

TYPE	LOCATION	SIZE	SILL HEIGHT	SPECIFICATION
W	LIVING ROOM	2.000 X 1.200	0.900	ALUMINIUM SLIDING WINDOW WITH CLEAR GLASS
W1	BEDROOM (1ST, 1ST, 1ST)	1.5400 X 1.200	0.900	ALUMINIUM SLIDING WINDOW WITH CLEAR GLASS
W2	BEDROOM (1ST, 1ST)	2.100 X 1.200	0.900	ALUMINIUM SLIDING WINDOW WITH CLEAR GLASS
W3	BEDROOM (1ST, 1ST)	1.200 X 1.200	0.900	ALUMINIUM SLIDING WINDOW WITH CLEAR GLASS
W4	KITCHEN	1.800 X 1.200	0.900	ALUMINIUM SLIDING WINDOW WITH CLEAR GLASS
W5	TOILET	0.600 X 0.450	1.800	ALUMINIUM / PVC FRAME WITH FROSTED GLASS
W6	TOILET (VENTILATION)	0.600 X 0.450	TOILET UNDER DOOR	FIXED VENTILATER IN DOOR PANEL ALUMINIUM / PVC FRAME WITH FROSTED GLASS
W7	STAIRCASE / FIRE EXIT	1.800 X 1.200	0.900	ALUMINIUM SLIDING WINDOW WITH CLEAR GLASS

SCHEDULE FOR DOORS

TYPE	LOCATION	SIZE	SPECIFICATION
D	MAIN DOOR, TERRACE, TELEDOOM ROOM, STAIRCASE OUTLET	1.050X 2.100	FLUSH DOOR, 35MM THICK, HARDWOOD FRAME
D1	BEDROOM	0.900X 2.100	FLUSH DOOR, 35MM THICK, HARDWOOD FRAME
D2	TOILET	0.750X 2.100	PVC / FLUSH DOOR, WATER PROOFING
D3	STAIRCASE, FIRE EXIT	1.200X 2.100	FIRE RATED DOOR (2 STD)
D4	METER ROOM	0.900X 2.100	MS DOOR, POWDER COATED, LOUVERED FOR VENTILATION
D5	TOILET (WITH VENTILATOR)	0.750X 2.100	35MM THICK PVC / FLUSH DOOR WITH FIXED VENTILATOR ABOVE DOOR

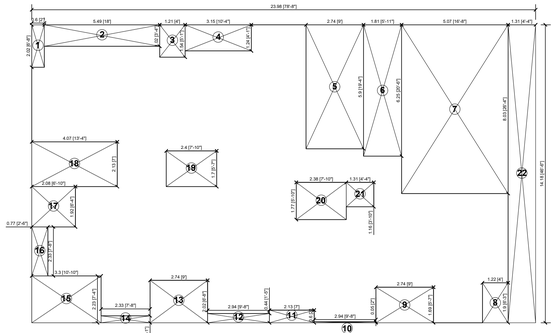

7TH FLOOR AREA DIAGRAM
SCALE 1:100

7th FLOOR AREA CALCULATION OF A - WING					
AREA OF RECTANGLE					
NO .	LENGTH	X	BREADTH	=	AREA (SQ.M)
A	23.98	X	14.18	=	340.04
DEDUCTION					
1	0.60	X	2.02	=	1.21
2	5.49	X	1.02	=	5.60
3	1.21	X	1.54	=	1.86
4	3.15	X	1.24	=	3.91
5	2.74	X	5.90	=	16.17
6	1.81	X	6.25	=	11.31
7	5.07	X	8.03	=	40.71
8	1.22	X	1.90	=	2.32
9	2.74	X	1.69	=	4.63
10	2.94	X	0.05	=	0.15
11	2.13	X	0.60	=	1.28
12	2.94	X	0.44	=	1.29
13	2.74	X	2.02	=	5.53
14	2.33	X	0.33	=	0.77
15	3.30	X	2.23	=	7.36
16	0.77	X	2.33	=	1.79
17	2.08	X	1.92	=	3.99
18	4.07	X	2.13	=	8.67
19	0.60	X	2.02	=	1.21
20	5.49	X	1.02	=	5.60
21	1.21	X	1.54	=	1.86
22	3.15	X	1.24	=	3.91
23	2.40	X	1.70	=	4.08
24	2.38	X	1.77	=	4.21
25	1.31	X	1.16	=	1.52
B	TOTAL DEDUCTION AREA			=	92.01
C	**TOTAL BUA (A-B)**			=	**248.02**

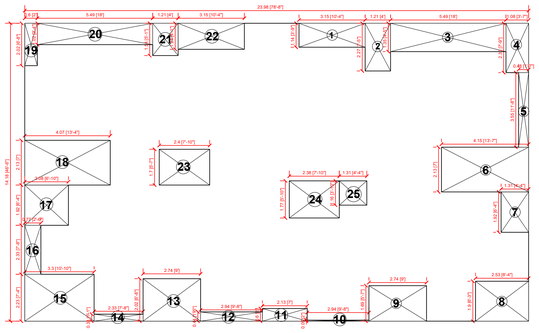

TYPICAL (1ST TO 6TH) FLOOR AREA DIAGRAM
SCALE 1:100

1st to 6th FLOOR AREA CALCULATION OF A - WING					
AREA OF RECTANGLE					
NO .	LENGTH	X	BREADTH	=	AREA (SQ.M)
A	23.98	X	14.18	=	340.04
DEDUCTION					
1	3.15	X	1.14	=	3.59
2	1.21	X	2.27	=	2.75
3	5.49	X	1.35	=	7.41
4	1.08	X	2.35	=	2.54
5	0.48	X	3.55	=	1.70
6	4.15	X	2.13	=	8.84
7	1.31	X	1.92	=	2.52
8	2.53	X	1.90	=	4.81
9	2.74	X	1.69	=	4.63
10	2.94	X	0.05	=	0.15
11	2.13	X	0.60	=	1.28
12	2.94	X	0.44	=	1.29
13	2.74	X	2.02	=	5.53
14	2.33	X	0.33	=	0.77
15	3.30	X	2.23	=	7.36
16	0.77	X	2.33	=	1.79
17	2.08	X	1.92	=	3.99
18	4.07	X	2.13	=	8.67
19	0.60	X	2.02	=	1.21
20	5.49	X	1.02	=	5.60
21	1.21	X	1.54	=	1.86
22	3.15	X	1.24	=	3.91
23	2.40	X	1.70	=	4.08
24	2.38	X	1.77	=	4.21
25	1.31	X	1.16	=	1.52
B	TOTAL DEDUCTION AREA			=	92.01
C	**TOTAL BUA (A-B)**			=	**248.02**

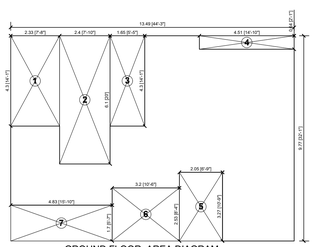

GROUND FLOOR AREA DIAGRAM
SCALE 1:100

GROUND FLOOR AREA CALCULATION OF A - WING					
AREA OF RECTANGLE					
NO .	LENGTH	X	BREADTH	=	AREA (SQ.M)
A	13.49	X	9.77	=	131.80
DEDUCTION					
1	2.33	X	4.30	=	10.02
2	2.40	X	6.10	=	14.64
3	1.65	X	4.30	=	7.09
4	4.51	X	0.64	=	2.89
5	2.05	X	3.27	=	6.70
6	3.20	X	2.53	=	8.10
7	4.83	X	1.70	=	8.21
B	TOTAL DEDUCTION AREA			=	57.65
C	**TOTAL BUA (A-B)**			=	**74.15**

Proforma 1 : Area Statement	
1. Area of plot(Minimum area of a, b, c to be considered) or area of subplot with sanctioned layout No. and subplot No.	709.000
(a) As per ownership document (7/12, CTS extract)	709.000
(b) as per TILR or City Survey measurement sheet	709.000
(c) as per Demarcated drawing area	709.000
LESS	
2.Area not in possession	5.500
3. Area Proposed for development (out of 1-2)	703.500
4.Deductions for(out of 3)	
(a) Proposed D.P./ D.P. Road widening Area/Proposed DP road, Road under MMC act	0.000
(b) Any D.P. Reservation area	0.000
(c) Green Belt	0.000
(Total a+b+c)	0.000
5. Balance area of plot (3-4)	703.500
6. Amenity Space Proposed	0.000
(Required -(a) Upto 20,000 sqmt - Nil	-
(b) Above 20,000 and more - (a) + 5% of Total area	0.000
7. Net Plot Area (5-6)	703.500
8.Recreational Open Space (Not applicable if plots are from sanctioned layout)	-
(a). If area is more than (5) 4000 sqmt - 10 % of (5) is required.	0.000
Proposed	0.000
(A)10 % Subject to minimum 200 sqmt(Not applicable if plots are from sanctioned layout or each plot admeasuring less than 4000sq.m regularised under gunthewari act)	0.000
Proposed	0.000
(B)Exemption to leave open space subject to availing basic F.S.I of 75 %	-
(C)Exemption to leave open space subject to payment of 10 % land value of land at (7) as per annual statement of rate.	-
If (5) > 4000sq.m then Land admeasuring 20% of (5) is to be utilised for inclusive housing	0.000
Proposed Area	0.000
Architect/ Licensed Engineer/ Supervisor name and signature	
Registration No. of Architect/ License no. of Licensed Engineer/ Supervisor: CA/1986/09657	

Certificate of Area:
Certified that the plot under reference was surveyed by me on_____and the dimensions of sides etc. of plot stated on plan are as measured on site and the area so worked out tallies with the area stated in document of Ownership/ T.P. Scheme Records/Land Records Department/City Survey records.

Signature
(Name of Architect/ Licensed Engineer/ Supervisor.)

Owner's Declaration -
I/We undersigned hereby confirm that I/We would abide by plans approved by Authority / Collector. I/We would execute the structure as per approved plans. Also I/We would execute the work under supervision of proper technical person so as to ensure the quality and safety at the work site.

Owner (s) name and signature

Name Of : Owner SHREE LAXMI REALTY

Postal Address : VAIBHAV VHILLA CHS,DINDAYAL CROSS ROAD,dombivali,Thane,Maharashtra-421202

Phone No. 9120669175S

DESCRIPTION OF PROJECT :

Type of Proposal : Residential
BUILDING ON CTS. NO./SURVEY NO.:-47

SITE ADDRESS :
SURVEY NO. 47 HISSA NO. 3 PT VILLAGE - PATHARLI.

Name Of Architect : DILIP SUDHAKAR DESHMUKH

LOGO	ADDRESS OF OFFICE
	OFFICE - D-WING PARAMOUNT PARK APARTMENT ,SANSAR VILLAGE ROAD ,IN FRONT OF LODHA REGENCY BHOPAR,DOMBIVLI EAST,KALYAN ,THANE

OWNERS SIGN -	TECHNICAL PERSON SIGN
LAXMI LALJI YADAV Digitally signed by LAXMI LALJI YADAV Date: 2026.03.11 15:21:12 +05'30'	DILIP SUDHAKAR DESHMUKH Digitally signed by DILIP SUDHAKAR DESHMUKH Date: 2026.03.11 15:20:51 +05'30'

SCALE -	DATE: 10/03/26
JOB NO - KDMCC-26-25227	CHECK BY -

SUBMISSION DRAWING