BORGAONKAR SKY BUILDING	FLOORS			FSI AREA				BALCONY	TERRACE	LIFT	LIFTWELL	DUCT	VOID	OTHER	TOTAL
		COMM.	RESI.	MU	EDU.	WS	MUDC	SHOP					SHAFT	STRUCTURE	FSI AREA
BORGAONKAR SKY	25TH RECREATIONAL FLOOR	0.000	6.612	0.000	0.000	0.000	0.000	0.000	0.000	0.000	0.000	0.000	0.000	0.000	6.612
BORGAONKAR SKY	24TH FLOOR	0.000	471.077	0.000	0.000	0.000	0.000	84.937	0.000	18.485	18.485	0.000	0.000	3.904	448.688
BORGAONKAR SKY	23RD FLOOR	0.000	411.836	0.000	0.000	0.000	0.000	84.937	0.000	18.485	18.485	0.000	0.000	3.904	389.247
BORGAONKAR SKY	17TH 12TH 11TH 2ND 27TH AND 1ST TO 6TH FLOOR	0.000	2469.816	0.000	0.000	0.000	0.000	389.622	0.000	110.910	110.910	0.000	0.000	23.424	2335.482
BORGAONKAR SKY	16TH 15TH 14TH 13TH 7TH 8TH 9TH 10TH 26TH 25TH 24TH 23TH 22ND 21ST 20TH 28TH TO 31ST AND 33RD TO 35TH FLOOR	0.000	12719.079	0.000	0.000	0.000	0.000	2112.939	0.000	499.095	499.095	0.000	0.000	105.408	12114.576
BORGAONKAR SKY	GROUND FLOOR	0.000	155.968	0.000	0.000	0.000	0.000	0.000	0.000	18.485	18.485	0.000	0.000	3.904	133.579
BORGAONKAR SKY	TOTAL	0.000	16234.188	0.000	0.000	0.000	0.000	2632.435	0.000	665.460	665.460	0.000	0.000	140.544	15428.184

FSI DETAILS	Basic FSI (on serial no 3)	Premium FSI (on serial no 3)	TDR/DR (on serial no 3)	Retail Incentive FSI as per F.8.3	Incentive fsi for green building if applicable FSI (Appendix F4.1)	Ancillary Area(8% of 1 + 2+ in 3)	Ancillary Area(8% of 1 + 2+in 3)	Total	Drawing Value
10.1 Permissible FSI	1.100	0.500	1.400	50%	0.000	0.000	0.000	3.000	0.000
10.2 Total Entitlement of FSI as per Reg 7.4 / 8.4 + 10.1	1.100	0.500	1.400	0.500	0.000	0.000	0.000	3.000	0.000
10.3 FSI Permissible in Renewal(permissible of 10.1 and 10.2)	1.100	0.500	1.400	0.500	0.000	0.000	0.000	3.000	0.000
10.4 Existing / Consumed Index	0.000	0.000	0.000	0.000	0.000	0.000	0.000	0.000	-
10.5 Balance FSI to be Consumed (10.3 - 10.4)	1.100	0.500	1.400	0.500	0.000	0.000	0.000	3.000	-
Premiums (F Line Area)	3189.893	1449.948	4059.853	0.500	0.000	5790.960	0.000	14491.145	0.000
10.6 Proposed P - Line Area (should not exceed 10.4)	3609.890	1220.450	4791.260	0.500	0.000	5865.777	0.000	15017.877	15017.377
10.8 Index Consumed	1.268	0.421	1.642	0.500	0.000	0.000	0.000	3.328	0.000

Area utilization of Roads and Reservations						
Description of area utilization			authorized Area in(Sqm)	Quotum of DP/TDR generation	Total Quotum of DP/TDR generation	Area considered for DR utilization	Remaining area for ORC generation
Road Widening	Reservation type	reservation no.	Name				
	-		15.000 m DP Road Widening	501.005	1002.010	1002.010	0.000	0.000
		Total		501.005	1002.010	1002.010	1002.000	0.010

Parking Check (Table 9D)								
							Required	
Building Name	USE	TENAMENT AREA	car	scooter	NO OF Tuve/Pole/Sofa	car	scooter	Transport Vehicle/Ambulance Mini bus
BORGAONKAR SKY	Residential	For every two Residential units with reserved having carpet area equal to or more than 40 sq.m but less than 80 sq.m.	1	2	202	101.000	202.000	-
Total	-	-	-	-	-	101.000	202.000	-
Visitors parking(2%)	-	-	-	-	-	3.000	10.100	-
Total	-	-	-	-	-	106.000	212.100	0.000

Parking Check As Per Authority Factor 2.5M							
		Required			Proposed		
Building Name	Car	Scooter	Transport Vehicle/Ambulance Mini bus	Car	Scooter	Transport Vehicle/Ambulance Mini bus	Status
Total	85	212	0	85	212	0	OK

Tree cum Trash			
Building Name	Req. Size	Prop. Size	Status
BORGAONKAR SKY	3.000X3.400	3.000X3.400	OK
BORGAONKAR SKY	3.000X3.400	3.000X3.400	OK

REFERENCE OF ROFWBN				
BLK NAME	NAME	LENGTH	HEIGHT	Nos.
BORGAONKAR SKY	V	0.600	1.200	56

Existing Building / Proposed Building												
Sr.No.	Building/Tenement No.	Carpet Area Per Tenement	BUA Per Tenement	Status Of Occupanat	Number Of Tenements	Residential Non Residential	Carpet Area of Tenement Affected By Road Width Sqm to be added	Total	Incentive 30%,50% per Tenement for Green Building	Total Incentive	10 Sqm BUA addition per tenement	Total of 10 sqm Addition	Total
0	1	1.000	1.000	Tenant	1	Residential	26.870	26.870	0.500	0.500	0.000	0.000	27.370

AREA SUMMARY

BUILDING	MUNC. P-LINE RESI. AREA (IN SQ.MT)	GROSS AREA COMM. AREA (IN SQ.MT)	GROSS AREA RESI. AREA (IN SQ.MT)	HEIGHT (MTRS.)
BASEMENT FLOOR			1331.49	112.15
GROUND/STILT FLOOR+ 1ST TO 35TH FLOOR+ RECREATIONAL FLOOR +TERRACE FLOOR	15428.184	--	19772.99	
TOTAL			21104.48	

DOORS AND WINDOWS SCHEDULE

TYPE	SIZE	REMARKS
FRD	1.50 X 2.10	T.W. FRAMED PANELED DOOR.
D	1.05 X 2.10	T.W. FRAMED PARTLY GLAZED PANELED DOOR.
D1	0.90 X 2.10	T.W. FRAMED PARTLY GLAZED PANELED DOOR.
D2	0.75 X 2.10	T.W. FRAMED PARTLY GLAZED SINTEX DOOR.
W1	1.80 X 1.50	ALU. FRAMED GLAZED PANELLED WINDOW
W2	1.60 X 1.50	ALU. FRAMED GLAZED PANELLED WINDOW
W3	1.55 X 1.50	ALU. FRAMED GLAZED PANELLED WINDOW
W4	1.20 X 1.50	ALU. FRAMED GLAZED PANELLED WINDOW
V	0.60 X 0.75	T.W. FRAMED GLAZED LOUVERED WINDOW.

AREA SUMMARY FOR PARKING TOWER

PARKING TOWER SIZE	AREA IN (SQ.MT.)	HEIGHT (MTRS.)
13.00 X 13.50 X 1 NOS LEVELS	175.50 SQ.MT	64.90 SQ.MT
15.28 X 15.80 X 10 NOS LEVELS	2414.24 SQ.MT	
TOATL CONSTRUCTION AREA	2589.74 SQ.MT	

TOTAL GROSS AREA (BUILDING + PARKING TOWER)

BASEMENT+GR./STILT+35FLOOR+TERRACE +PARKING TOWER(G+10 LEVELS)	TOTAL GROSS AREA IN(SQ.MT.)
TOTAL GROSS AREA (21104.48+2589.74)	23694.22

BUILDING P-LINE AREA STATEMENT

FLOOR	P-LINE AREA SQ.MT.
BASEMENT FLOOR	0.00
GROUND FLOOR	133.579
1ST FLOOR	448.688
2ND FLOOR	448.688
3RD FLOOR	448.688
4TH FLOOR	448.688
5TH FLOOR	448.688
6TH FLOOR	448.688
7TH FLOOR (REFUGE)	389.247
8TH FLOOR	448.688
9TH FLOOR	448.688
10TH FLOOR	448.688
11TH FLOOR	448.688
12TH FLOOR (REFUGE)	389.247
13TH FLOOR	448.688
14TH FLOOR	448.688
15TH FLOOR	448.688
16TH FLOOR	448.688
17TH FLOOR (REFUGE)	389.247
18TH FLOOR	448.688
19TH FLOOR	448.688
20TH FLOOR	448.688
21ST FLOOR	448.688
22ND FLOOR (REFUGE)	389.247
23RD FLOOR	389.247
24TH FLOOR	448.688
25TH FLOOR	448.688
26TH FLOOR	448.688
27TH FLOOR (REFUGE)	389.247
28TH FLOOR	448.688
29TH FLOOR	448.688
30TH FLOOR	448.688
31ST FLOOR	448.688
32ND FLOOR (REFUGE)	389.247
33RD FLOOR	448.688
34TH FLOOR	448.688
35TH FLOOR	448.688
RECREATIONAL FLOOR	6.612
TOTAL	15428.184

PROPOSED BUILDING

	AREA IN (SQ.MT.)
BASEMENT FLOOR+ GROUND/STILT FLOOR + 1ST TO 35TH TYPICAL FLOOR + RECREATIONAL FLOOR + TERRACE FLOOR	15428.184

Carpet Area Table									
Building Name	Floor Name	Carpet name	Tenament No	Carpet Area	Enclosed Balcony Area	Normal Balcony Area	Mezzanine Area	Total Carpet Area
BORGAONKAR SKY	1ST TO 6TH 8TH TO 11TH 13TH TO 16TH 18TH TO 21ST 25TH 26TH 28TH TO 31ST 33RD TO 35TH FLOOR	101,201,301,401,501,601,801,901,1001,1101,1301,1401,1501,1601,1801,1901,2001,2101,2301,2401,2601,2701,2801,2901,3101,3201,3401,3501,3601,3701,3901,3401	27	49.218	15.590	0.000	0.000	64.808
BORGAONKAR SKY	1ST TO 6TH 8TH TO 11TH 13TH TO 16TH 18TH TO 21ST 25TH 26TH 28TH TO 31ST 33RD TO 35TH FLOOR	102,202,302,402,502,602,802,902,1002,1102,1302,1402,1502,1602,1802,1902,2002,2102,2302,2402,2602,2702,2802,2902,3102,3202,3402,3502,3602,3702,3902,3402	27	49.192	15.618	0.000	0.000	64.810
BORGAONKAR SKY	1ST TO 6TH 8TH TO 11TH 13TH TO 16TH 18TH TO 21ST 25TH 26TH 28TH TO 31ST 33RD TO 35TH FLOOR	103,203,303,403,503,603,803,903,1003,1103,1303,1403,1503,1603,1803,1903,2003,2103,2303,2403,2603,2703,2803,2903,3103,3203,3403,3503,3603,3703,3903,3403	27	44.265	13.035	0.000	0.000	57.300
BORGAONKAR SKY	1ST TO 6TH 8TH TO 11TH 13TH TO 16TH 18TH TO 21ST 25TH 26TH 28TH TO 31ST 33RD TO 35TH FLOOR	104,204,304,404,504,604,804,904,1004,1104,1304,1404,1504,1604,1804,1904,2004,2104,2304,2404,2604,2704,2804,2904,3104,3204,3404,3504,3604	27	27.703	20.694	0.000	0.000	48.397
BORGAONKAR SKY	1ST TO 6TH 8TH TO 11TH 13TH TO 16TH 18TH TO 21ST 25TH 26TH 28TH TO 31ST 33RD TO 35TH FLOOR	105,205,305,405,505,605,805,905,1005,1105,1305,1405,1505,1605,1805,1905,2005,2105,2305,2405,2605,2705,2805,2905,3105,3205,3405,3505,3605	27	40.350	10.883	0.000	0.000	51.233
BORGAONKAR SKY	1ST TO 6TH 8TH TO 11TH 13TH TO 16TH 18TH TO 21ST 25TH 26TH 28TH TO 31ST 33RD TO 35TH FLOOR	106,206,306,406,506,606,806,906,1006,1106,1306,1406,1506,1606,1806,1906,2006,2106,2306,2406,2606,2706,2806,2906,3106,3206,3406,3506,3606	27	42.794	13.320	0.000	0.000	56.114
BORGAONKAR SKY	27th 12Th 17Th 2ND 27TH AND 1ST TO 6TH FLOOR	701,1201,1701,2201,2701,3201	6	49.206	15.590	0.000	0.000	64.796
BORGAONKAR SKY	27th 12Th AND 2ND FLOOR	702,1202,1702,2202,2702,3202	6	49.192	15.618	0.000	0.000	64.810
BORGAONKAR SKY	27th 12Th 17Th 2ND 27TH AND 2ND FLOOR	703,1203,1703,2203,2703,3203	6	44.265	13.035	0.000	0.000	57.300
BORGAONKAR SKY	27th 12Th 17Th 2ND 27TH AND 2ND FLOOR	704,1204,1704,2204,2704,3204	6	27.703	20.694	0.000	0.000	48.397
BORGAONKAR SKY	27th 12Th 17Th 2ND 27TH AND 2ND FLOOR	705,1205,1705,2205,2705,3205	6	40.350	10.883	0.000	0.000	51.233
BORGAONKAR SKY	23RD FLOOR	2301	1	49.218	15.590	0.000	0.000	64.808
BORGAONKAR SKY	23RD FLOOR	2302	1	49.192	15.618	0.000	0.000	64.810
BORGAONKAR SKY	23RD FLOOR	2303	1	44.265	13.035	0.000	0.000	57.300
BORGAONKAR SKY	23RD FLOOR	2304	1	27.706	20.694	0.000	0.000	48.400
BORGAONKAR SKY	23RD FLOOR	2305	1	40.350	10.883	0.000	0.000	51.233
BORGAONKAR SKY	24TH FLOOR	2401	1	49.206	15.590	0.000	0.000	64.796
BORGAONKAR SKY	24TH FLOOR	2402	1	49.192	15.618	0.000	0.000	64.810
BORGAONKAR SKY	24TH FLOOR	2403	1	44.265	13.035	0.000	0.000	57.300
BORGAONKAR SKY	24TH FLOOR	2404	1	27.703	20.694	0.000	0.000	48.397
BORGAONKAR SKY	24TH FLOOR	2405	1	40.350	10.883	0.000	0.000	51.233

AREA STATEMENT		SQ.M.
1.	Area of plot (Minimum area of a, b, c to be considered)	--
(a)	As per ownership document (7/12,cts extract)	3400.90
(b)	as per measurement sheet	3400.90
(c)	as per site	
2.	Deductions for	
(a)	Proposed D.P. / D.P. Road widening Area / Service Road / Highway widening	501.00
(b)	Any D.P. Reservation area	--
	(Total a+b)	--
3.	BALANCE AREA OF PLOT (1-2)	2899.90
4.	Amenity Space (if applicable)	
(a)	Required -	
(b)	Adjustment of 2(b), if any -	
(c)	Balance Proposed -	
5.	Net Plot Area [3-(c)]	2899.90
6.	Recreational Open space (if applicable)	
(a)	Required -	--
(b)	Proposed -	--
7.	Internal Road area	
8.	Plotable area (if applicable)	
9.	Built up area with reference to Basic F.S.I. as per front road width (Sr. No. 5 x basic FSI) (1.1 x 2899.90)	3,189.89
10.	Addition of FSI on payment of premium	
(a)	Maximum permissible premium FSI - based on road width / TOD Zone	
(b)	Proposed FSI on payment of premium (0.50 OF 1b) (0.50 OF 3400.90 = 1700.45)	1220.45
11.	In-situ FSI / TDR loading	
(a)	In-situ area against D.P. Road widening Area/Proposed DP road. Road under MMC act As per previous sanction no.— (501.00 X 2.00=1002.00)	1002.00
(b)	In-situ area against Amenity Space if handed over [2.00 or 1.85 x Sr. No. 4 (b) and / or (c)]	
(c)	TDR area (1.40 X 1b) (1.40 X 3400.90 = 4761.26 - 1002.00=3759.26	3759.26
(d)	Total in-situ / TDR loading proposed [11 (a) + (b) + (c)]	9171.60
12.	Additional FSI area under Chapter No. 7 (32 X 15 =480)	480.00
13.	Total entitlement of FSI in the proposal	
(a)	[9 + 10(b) + 11(d)] or 12 whichever is applicable	9651.60
(b)	Ancillary Area FSI upto 60% or 80% with payment of charges — RESIDENTIAL AREA: 9651.60 X 60% =5790.96	5790.96
(c)	Total entitlement (a + b)	15442.56
14.	Maximum utilization limit of F.S.I. (building potential) Permissible as per Road width ((as per Regulation No. 6.1 or 6.2 or 6.3 or 6.4 as applicable) x 1.6 or 1.8)	
15.	Total Built-up Area in proposal (excluding area at Sr. No. 17 b)	
16.(a)	Previous Sanctioned Built-up Area	--
(b)	Proposed Built-up Area (as per 'P-Line')	15428.184
(c)	Total (a + b)	
	F.S.I. Consumed (15/13) (should not be more than serial No. 14 above)	
17.	Area for Inclusive Housing, if any	
(a)	Required (20% of Sr. No.3)	
(b)	Proposed	

APPENDIX - C

THE PLANS PREPARED BY ME ARE IN ACCORDANCE WITH THE NORMS AS SPECIFIED BY INDIAN STANDARD INSTITUTE & I WILL BE HELD RESPONSIBLE FOR ANY HARM CAUSED IN EARTHQUAKE DUE TO NEGLIENCE OF THE STANDARDS.

ENGINEERS SIGNATURE

CERTIFICATE OF AREA

CERTIFIED THAT I HAVE SURVEYED THE PLOT UNDER REFERENCE ON 2022 AND THAT THE DIMENSIONS OF THE SIDES ETC. OF THE PLOT STATED ON THE PLAN ARE AS MEASURED ON SITE AND THE AREA 50 WORKED OUT IS 3400.90 SQ.MTS. AND TALLIES WITH THE AREA STATED IN THE DOCUMENT OF OWNERSHIP/TOWN PLANNING SCHEME RECORDS.

SIGNATURE OF ARCHITECT.

DESCRIPTION OF PROPOSAL & PROPERTY

REDEVELOPMENT OF EXISTING BUILDING ON PLOT BEARING S. NO.50/6/A, 50/6/E, 50/6/G, 50/6/F, CTS NO 1156/A, 1156/B,1163,1164,1165,1166, 1167/A,1168,1169ATVILLAGE- GANDHARE, TAL- KALYAN, DIST-THANE.

NAME & SIGNATURE OF OWNER	SIGNATURE OF ARCHITECT
M/s. BORGAONKAR CREATION THROUGH SHRI. SANJAY D. BORGAONKAR	a17799e3-cd1c-435d-bb75-23fd2f8de34 Digitally signed by a17799e3-cd1c-435d-bb75-23fd2f8de34 Date: 2026.02.11 15:33:45 +05'30'
SIGNATURE.	(YARGIREE JOHN) (CA/ 92/ 15118)

DRG.NO.	JOB.NO.	SCALE	DATE	DRAWN BY.
1	B-07	AS SHOWN	03.02.2026	SWARALI
NORTH	ARCHITECTS & CONSULTANTS			

De-con Consultants
ARCHITECTS, INTERIOR DESIGNERS,
RECD. VALUERS & PROJECT CONSULTANTS
5-1, RAJASEEKE TOWER, RAMBAUG, LANE No. 6,
KALYAN(WEST)-421 304. Tel. 5617899.

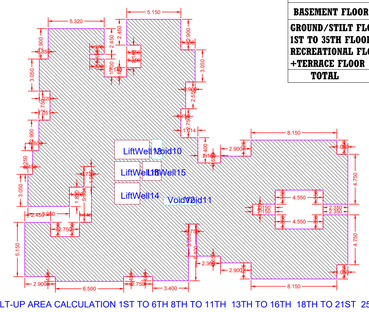

BUILT-UP AREA CALCULATION 1ST TO 6TH 8TH TO 11TH 13TH TO 16TH 18TH TO 21ST 25TH 26TH 28TH TO 31ST 33RD TO 35TH FLOOR BORGAONKAR SKY

BUILT UP AREA CALCULATION FOR 1ST TO 6TH 8TH TO 11TH 13TH TO 16TH 18TH TO 21ST 25TH 26TH 28TH TO 31ST 33RD TO 35TH FLOOR BORGAONKAR SKY			
AREA NAME	LENGTH	WIDTH	Area(SqM)
BLOCK	30.700	24.900	471.077
		BLOCK AREA TOTAL = 471.077Sq.M.	
VoidT7	-	-	1.037
VoidT11	-	-	1.037
VoidT6	-	-	1.842
LiftWell10	-	-	4.356
LiftWell15	-	-	3.240
LiftWell14	-	-	4.913
LiftWell11	-	-	3.240
		TOTAL Deduction 15% = 889.662	
		Net Buildup Area =(471.077-889.662) Sq.M.	

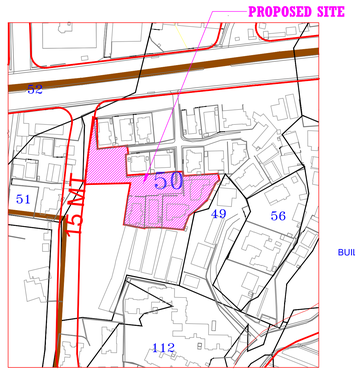

LOCATION PLAN
(SCALE- N.T.S.)

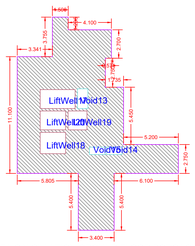

BUILT-UP AREA CALCULATION GROUND FLOOR BORGAONKAR SKY

BUILT UP AREA CALCULATION FOR GROUND FLOOR BORGAONKAR SKY			
AREA NAME	LENGTH	WIDTH	Area(SqM)
BLOCK	20.200	15.300	155.968
		BLOCK AREA TOTAL = 155.968Sq.M.	
VoidT3	-	-	1.037
VoidT4	-	-	1.037
VoidT5	-	-	1.842
LiftWell20	-	-	4.356
LiftWell19	-	-	3.240
LiftWell18	-	-	4.913
LiftWell17	-	-	3.240
		TOTAL Deduction 15% = 889.662	
		Net Buildup Area =133.579 Sq.M.	

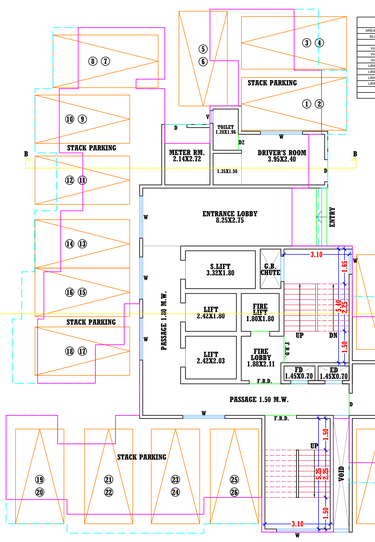

GROUND FLOOR PLAN
SCALE 1:100

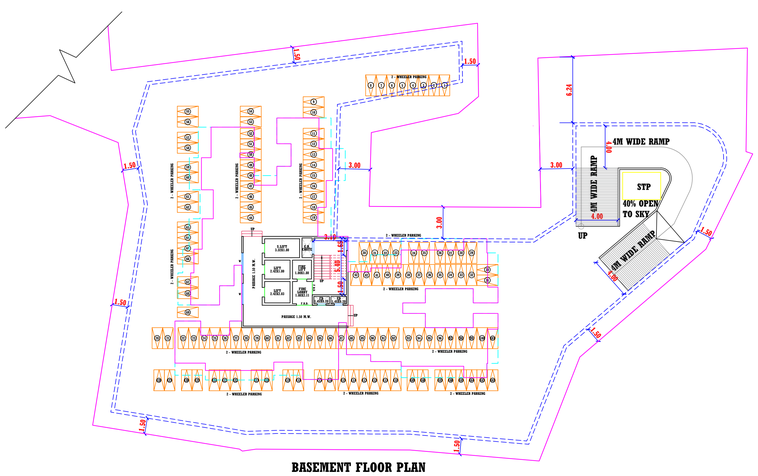

BASEMENT FLOOR PLAN
SCALE 1:200



SECTION - AA
SCALE 1:200

LEGENDS:
FLOY BOLANDER GRAVEL WHITE
PROPOSED WORK SHOWN RED
EXISTING WORK TO BE KEPT LIGHT
WATER LINE SHOWN BLUE DOTTED
ENCLOSED BAL SHOWN BROWN
OPEN BAL SHOWN YELLOW
OPEN BAL SHOWN BROWN
EXISTING SHOWN BLUE HATCHED

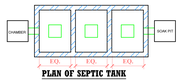

PLAN OF SEPTIC TANK
SCALE:- 1:100

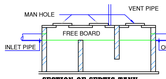

SECTION OF SEPTIC TANK
SCALE:- 1:100

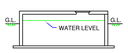

SECTION OF SUCTION TANK
SCALE:- 1:100

PLAN OF SUCTION TANK
SCALE:- 1:100

SECTION OF COMPOUND WALL

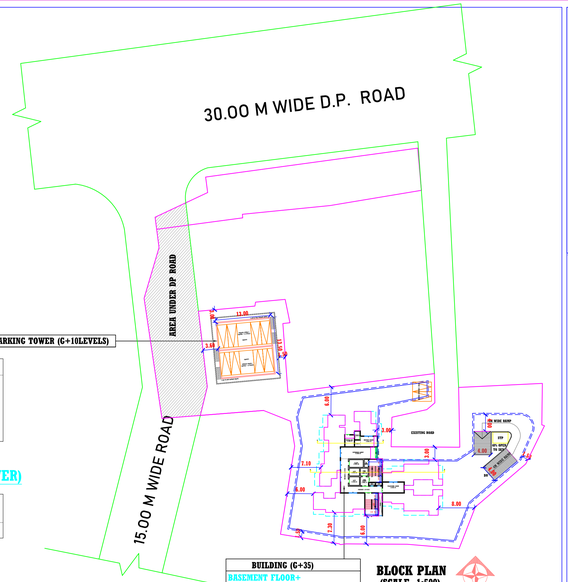
30.00 M WIDE D.P. ROAD
AREA UNDER DP ROAD
15.00 M WIDE ROAD
PARKING TOWER (G+10LEVELS)
11.00
3.00
3.00
4.00
2.00
EXISTING ROAD
8.30
3.00
8.00
3.00
4.10
3.00
4.10
3.00
4.10

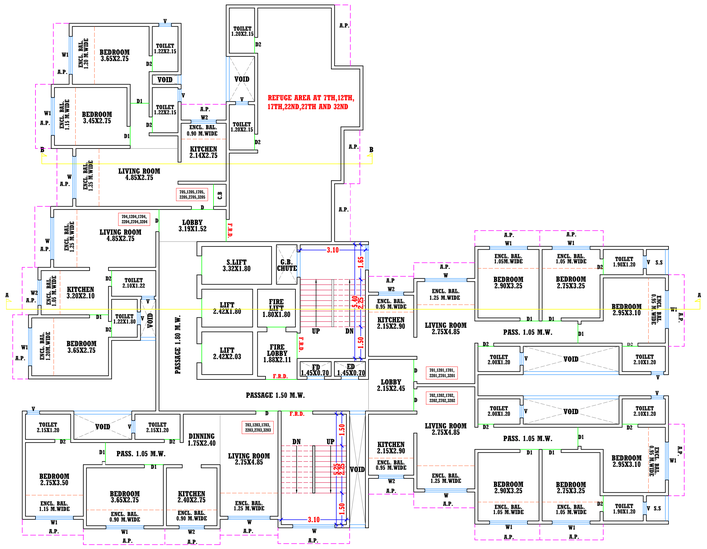

7TH,12TH,17TH,22ND,27TH & 32ND REFUGE FLOOR PLAN
SCALE 1:100

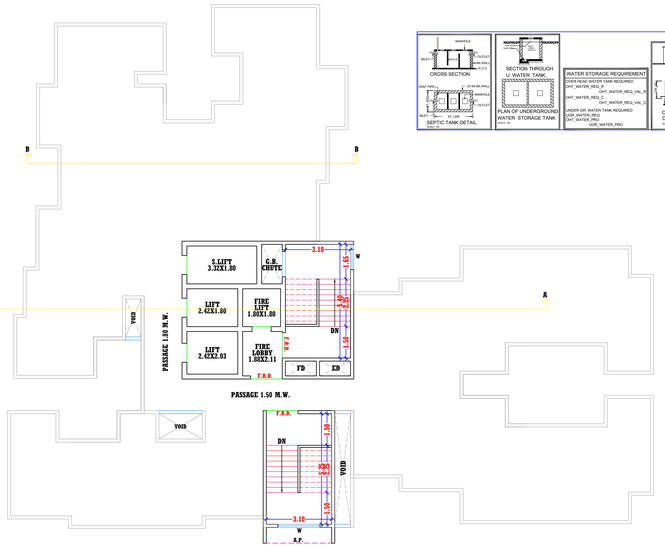

TERRACE FLOOR PLAN
SCALE 1:100



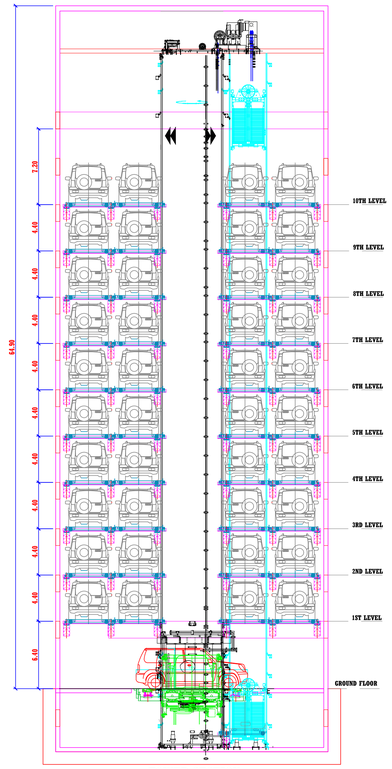

TOWER SECTION
SCALE 1:200

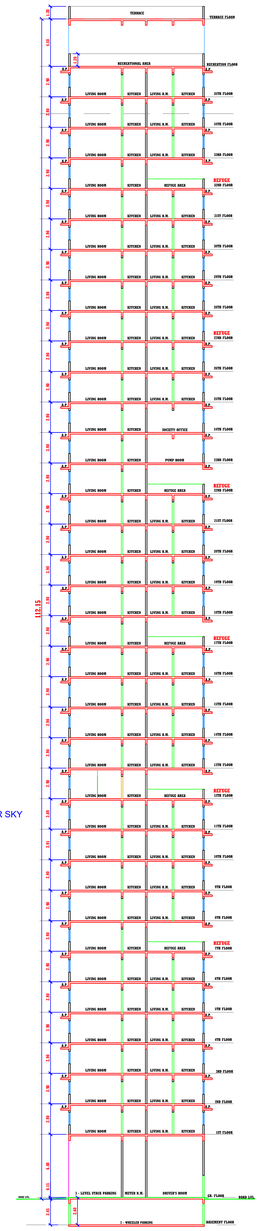

SECTION - BB
SCALE 1:200

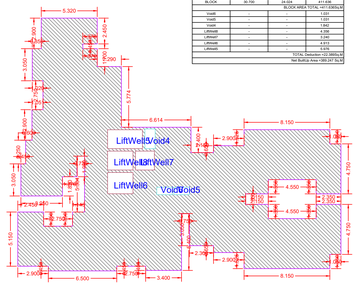

BUILT-UP AREA CALCULATION 23RD FLOOR BORGAONKAR SKY

BUILT UP AREA CALCULATION FOR 23RD FLOOR BORGAONKAR SKY			
AREA NAME	LENGTH	WIDTH	Area(Sq.M)
BLOCK	30.700	24.004	411.026
		BLOCK AREA TOTAL	411.026Sq.M
Void5	-	-	1.031
Void5	-	-	1.031
Void6	-	-	1.562
LiftWell4	-	-	4.158
LiftWell7	-	-	3.245
LiftWell6	-	-	4.913
LiftWell5	-	-	4.913
		TOTAL Deduction	-20.849Sq.M
		Net Built-Up Area	=390.247 Sq.M

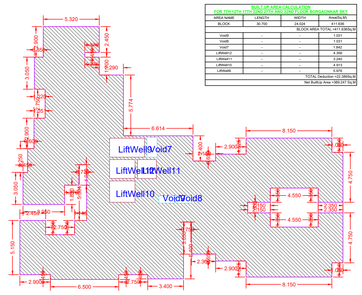

BUILT-UP AREA CALCULATION 7TH 12TH 17TH 22ND 27TH AND 32ND FLOOR BORGAONKAR SKY

BUILT UP AREA CALCULATION FOR 7TH,12TH,17TH,22ND,27TH AND 32ND FLOOR BORGAONKAR SKY			
AREA NAME	LENGTH	WIDTH	Area(Sq.M)
BLOCK	30.700	24.004	411.026
		BLOCK AREA TOTAL	=411.026Sq.M
Void5	-	-	1.031
Void5	-	-	1.031
Void6	-	-	1.562
LiftWell4	-	-	4.158
LiftWell7	-	-	3.245
LiftWell6	-	-	4.913
LiftWell5	-	-	4.913
		TOTAL Deduction	=20.849Sq.M
		Net Built-Up Area	=390.247 Sq.M

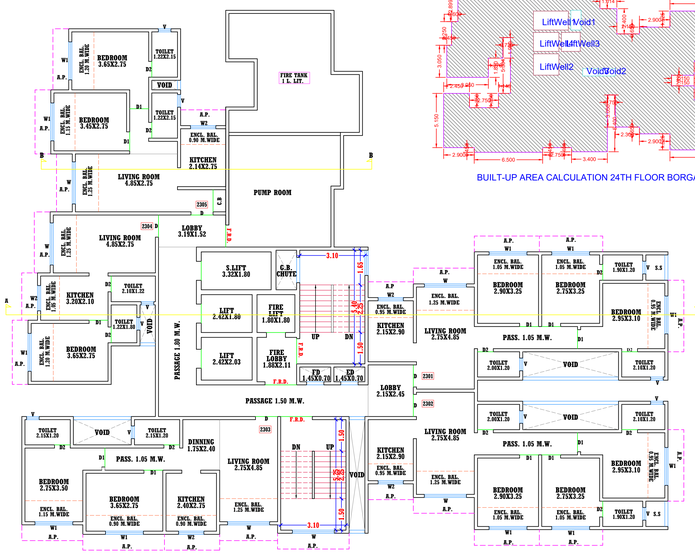

23RD FLOOR PLAN
SCALE 1:100

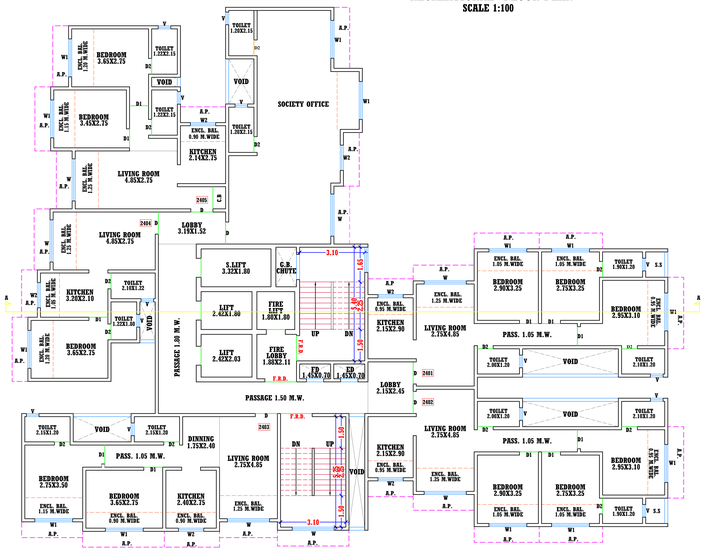

24TH FLOOR PLAN
SCALE 1:100

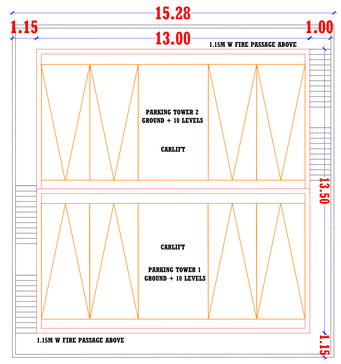

PARKING TOWER PLAN
SCALE 1:100

SECTION - BB
SCALE 1:200

BUILT-UP AREA CALCULATION 36TH RECREATIONAL FLOOR BORGAONKAR SKY

BUILT UP AREA CALCULATION FOR 36TH RECREATIONAL FLOOR BORGAONKAR SKY			
AREA NAME	LENGTH	WIDTH	Area(Sq.M)
BLOCK	3.470	2.400	8.912
		BLOCK AREA TOTAL	=8.912Sq.M
		TOTAL Deduction	=0.000Sq.M
		Net Built-Up Area	=8.912 Sq.M

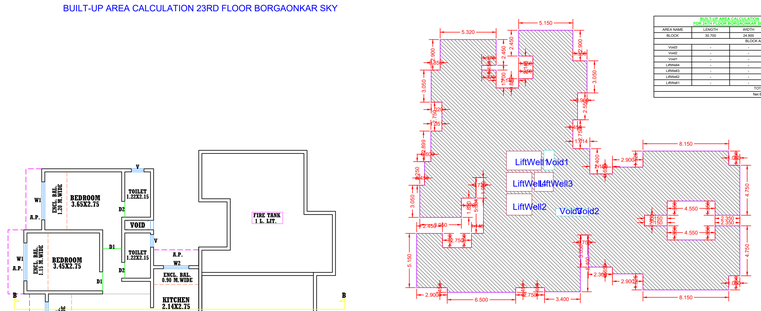

BUILT-UP AREA CALCULATION 24TH FLOOR BORGAONKAR SKY

BUILT UP AREA CALCULATION FOR 24TH FLOOR BORGAONKAR SKY			
AREA NAME	LENGTH	WIDTH	Area(Sq.M)
BLOCK	30.700	24.004	411.026
		BLOCK AREA TOTAL	=411.026Sq.M
Void1	-	-	1.031
Void1	-	-	1.031
Void2	-	-	1.562
LiftWell3	-	-	4.158
LiftWell1	-	-	3.245
LiftWell2	-	-	4.913
LiftWell1	-	-	5.078
		TOTAL Deduction	=20.988Sq.M
		Net Built-Up Area	=448.688 Sq.M

DESCRIPTION OF PROPOSAL & PROPERTY

REDEVELOPMENT OF EXISTING BUILDING ON PLOT BEARING S. NO.50/6/B, 50/6/E, 50/6/C, 50/6/F, CTS NO 1156/B, 1156/B,1163,1164,1165,1166, 1167/B,1168,1169ST VILLAGE- GANDHARE, TAL- KALYAN, DIST-THANE.

NAME & SIGNATURE OF OWNER	SIGNATURE OF ARCHITECT
M/s. BORGAONKAR CREATION THROUGH SHRI. SANJAY D. BORGAONKAR	a17799e3-cd1c-45bb-bb75-23fcf2ffde34 Digitally signed by a17799e3-cd1c-45bb-bb75-23fcf2ffde34 Date: 2026.02.11 16:33:58 +05'30' (VARGHESE JOHN) (CA/97/15115)

SIGNATURE:

DRG.NO.	JOB.NO.	SCALE	DATE	DRAWN BY.
1	B-67	AS SHOWN	03.02.2026	SWARALI
NORTH	ARCHITECTS & CONSULTANTS			

De-con Consultants
ARCHITECTS, INTERIOR DESIGNERS,
RCCD. VALUERS & PROJECT CONSULTANTS
5-1, RAJASREE TOWER, RAMBAUG, LANE No. 6,
KALYAN(WEST)-421 304. Tel. 5617899.

Proforma I : Area Statement	
1. Area of plot(Minimum area of a, b, c to be considered) or area of subplot with sanctioned layout No. and subplot No.	3400.900
(a) As per ownership document (7/12, CTS extract)	3400.900
(b) as per TILR or City Survey measurement sheet	3400.900
(c) as per Demarcated drawing area	3434.504
LESS	
2.Area not in possession	0.000
3. Area Proposed for development (out of 1-2)	3400.900
4.Deductions for(out of 3)	
(a) Proposed D.P / D.P. Road widening Area/Proposed DP road, Road under MMC act	501.005
(b) Any D.P. Reservation area	0.000
(c) Green Belt	0.000
(Total a+b+c)	501.005
5. Balance area of plot (3-4)	2899.895
6. Amenity Space Proposed	0.000
(Required -(a) Upto 20,000 sqmt - Nil	-
(b) Above 20,000 and more - - (a) + 5% of Total area	0.000
7. Net Plot Area (5-6)	2899.895
8.Recreational Open Space (Not applicable if plots are from sanctioned layout)	-
(a). If area is more than (5) 4000 sqmt - 10 % of (5) is required.	0.000
Proposed	0.000
(A)10 % Subject to minimum 200 sqmt(Not applicable if plots are from sanctioned layout or each plot admesuring less than 4000sq.m regularised under gunthewari act)	0.000
Proposed	0.000
(B)Exemption to leave open space subject to availing basic F.S.I of 75 %	-
(C)Exemption to leave open space subject to payment of 10 % land value of land at (7) as per annual statement of rate.	-
If (5) > 4000sq.m then Land admesuring 20% of (5) is to be utilised for inclusive housing	0.000
Proposed Area	0.000
Architect/ Licensed Engineer/ Supervisor name and signature	
Registration No. of Architect/ License no. of Licensed Engineer/ Supervisor: CA/1992/15118	

Certificate of Area:
Certified that the plot under reference was surveyed by me on_____ and the dimensions of sides etc. of plot stated on plan are as measured on site and the area so worked out tallies with the area stated in document of Ownership/ T.P. Scheme Records/Land Records Department/City Survey records:

Signature
(Name of Architect/ Licensed Engineer/ Supervisor.)

Owner's Declaration -
I/We undersigned hereby confirm that I/We would abide by plans approved by Authority / Collector. I/We would execute the structure as per approved plans. Also I/We would execute the work under supervision of proper technical person so as to ensure the quality and safety at the work site.

Owner (s) name and signature

Name Of : Owner BORGAONKAR CREATIONS

Postal Address : Flat No.2001, 2002 MAATR SKYE,OPP. NEBULA PARK,Kalyan,Thane,Maharashtra-421301

Phone No.: 9769012267

DESCRIPTION OF PROJECT :

Type of Proposal : Residential
BUILDING ON CTS. NO./SURVEY NO.:-50

SITE ADDRESS :
S.NO. 50/6/A, 50/6/E, 50/6/G, 50/6/F, C.T.S NO. 1156/A, 1156/B, 1163, 1164, 1165, 1166, 1167/A, 1168, 1169, VILLAGE - GANDHARE, TAL. KALYAN, DIST. THANE

Name Of Architect : VARGHESE JOHN

LOGO | ADDRESS OF OFFICE
OFFICE :
De-con consultants,S-1,Rajasree Tower,Rambaug,Lane No - 6,Kalyan (w)

OWNERS SIGN - | TECHNICAL PERSON SIGN

SCALE - | DATE: Date: 11/02/26
JOB NO - KDMCC-26-13676 | CHECK BY - zoom

SUBMISSION DRAWING