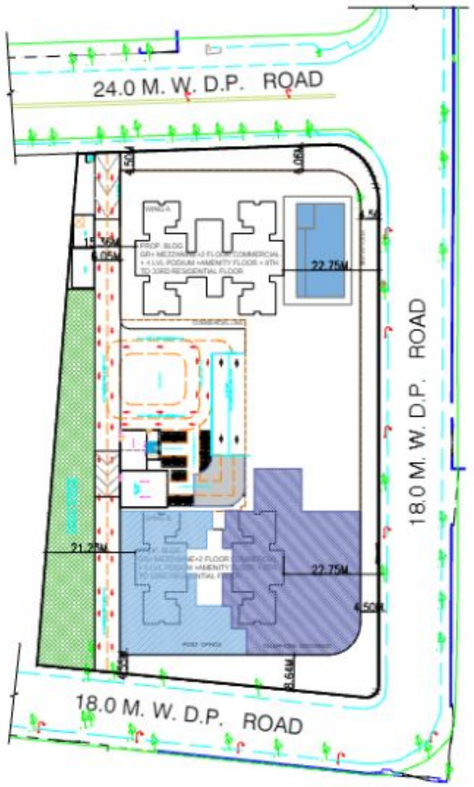
24.0 M. W. D.P. ROAD
18.0 M. W. D.P. ROAD
18.0 M. W. D.P. ROAD
22.75M
22.75M
21.27M
4.50M
3.66M
15.36M
6.05M
4.50M
4.50M
4.50

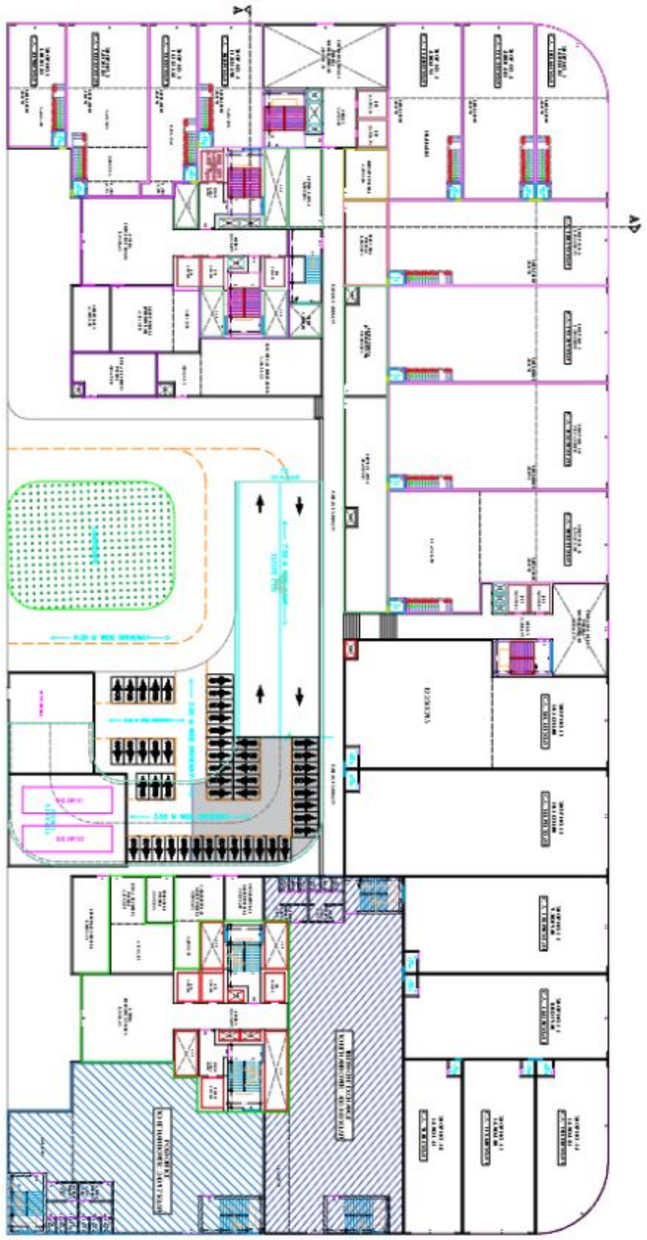

GROUND FLOOR PLAN
(WING A+WING B+COMMERCIAL)
SCALE– 1:200

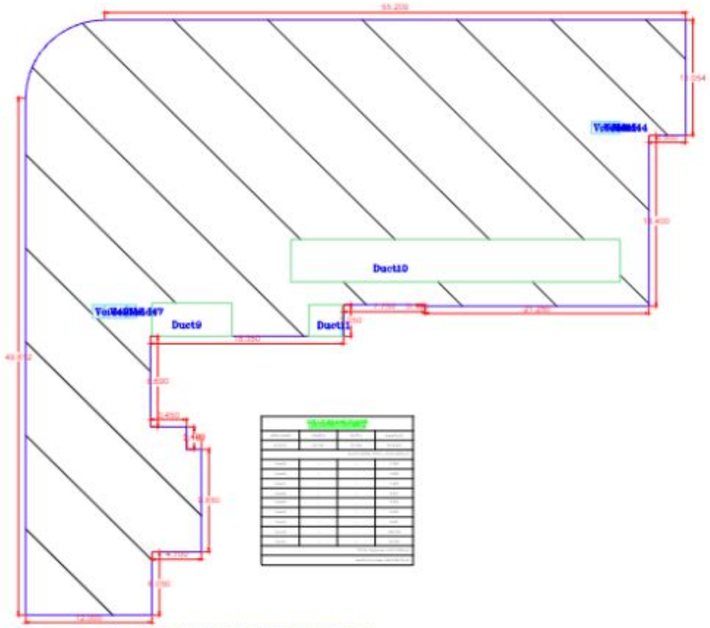

BUILT-UP AREA CALCULATION GROUND FLOOR WING A

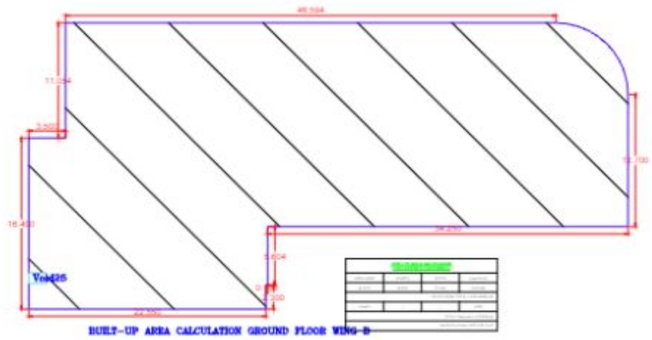

BUILT-UP AREA CALCULATION GROUND FLOOR WING B

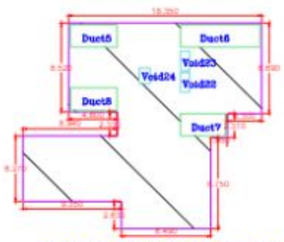

BUILT-UP AREA CALCULATION GROUND FLOOR WING B

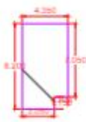

BUILT-UP AREA CALCULATION GROUND FLOOR WING A

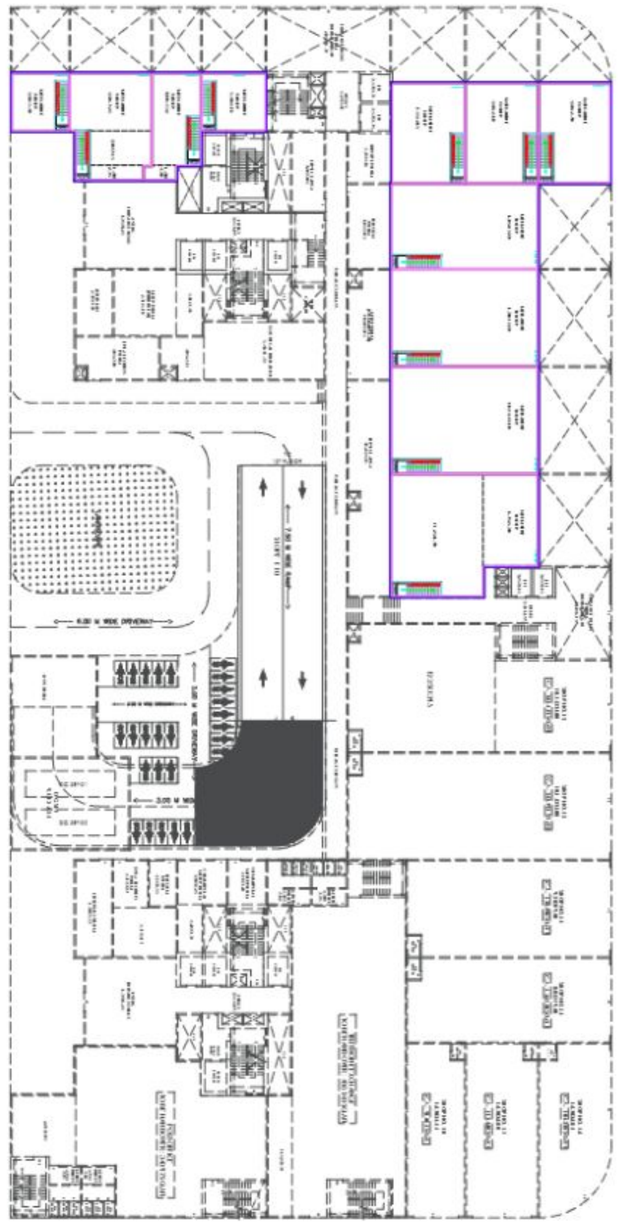

MEZZANINE FLOOR PLAN
SCALE– 1:200

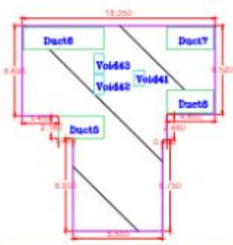

BUILT-UP AREA CALCULATION GROUND FLOOR WING A

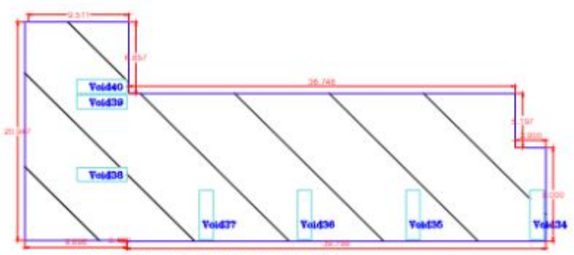

BUILT-UP AREA CALCULATION MEZZANINE WING A

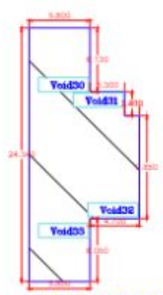

BUILT-UP AREA CALCULATION MEZZANINE WING A

Proforma 1 : Area Statement	
1. Area of plot (Minimum area of a 5 crore considered)	6383.000
(a) As per ownership document (7/12, CTS extract)	6383.000
(b) As per TILR or City Survey measurement sheet	6383.000
(c) As per Demarcated drawing area	6783.000
LESS	
2.Area not in possession	0.000
3. Area Proposed for development (out of 1-2)	6383.000
4.Deductions for out of 3)	
(a)Proposed D.P./ D.P. Road widening Area/Proposed DP road, Road under RMC act	0.000
(b) Any D.P. Reservation area	2713.200
(c) Green Belt	0.000
(Total a+b+c)	2713.200
5. Net (Under accommodation Reservation	3669.800
6.Recreational Open Space (Not applicable if plots are from sanctioned layout)	-
(a) If area is more than (5)-4000 sqmt - 10 % of (3) is required.	0.000
Proposed	832.673
(b) If area is less than -4000 sqmt	-
(A)10 % Subject to minimum 200 sqmt(Not applicable if plots are from sanctioned layout or each plot abreasuring less than -4000sq.m registered under gunthewari act)	0.000
Proposed	0.000
(B)Exemption to leave open space subject to building basic F.S.I. of 75 %	-
(C)Exemption to leave open space subject to payment of 10 % land value of land at (7) as per annual statement of rate.	-
Architect/ Licensed Engineer/ Supervisor name and signature	
Registration No. of Architect/ Licence no. of Licensed Engineer/ Supervisor 'CA/2018/108839'	

DESCRIPTION OF PROJECT :

Name of Proposal : Mixed
BUILDING ON CTS NO.SURVEY NO.39

INTO COMMERCIAL
PROPOSED BUILDING PLAN ON PLOT BEARING S.NO.22/1P, 22/2P & 23/2P AT VILLAGE CHIKHALWADI, TALUKA: VALIVAI, DIST.: THANE

OWNER / DEVELOPER
M/S. SHREE SHYAM DEVELOPERS
OFFICE:
5TH FLOOR, MATHURA CORNER, BEHIND GODREJ VALLEY BUS DEPOT, OPP. SHREE SHYAM PARADISE, KAMATGHAR, KALYAN - 421301

CONTACT NO.:
ARCHITECT/ ENGINEER/ SUPERVISOR
TEJAS ANIL MHAGAVE
ARCHITECT
MHG/2015

SCALE:
DATE:
JOB NO: 2020/CS-28/1383
DRAWING NO.: 00/01

SUBMISSION DRAWING

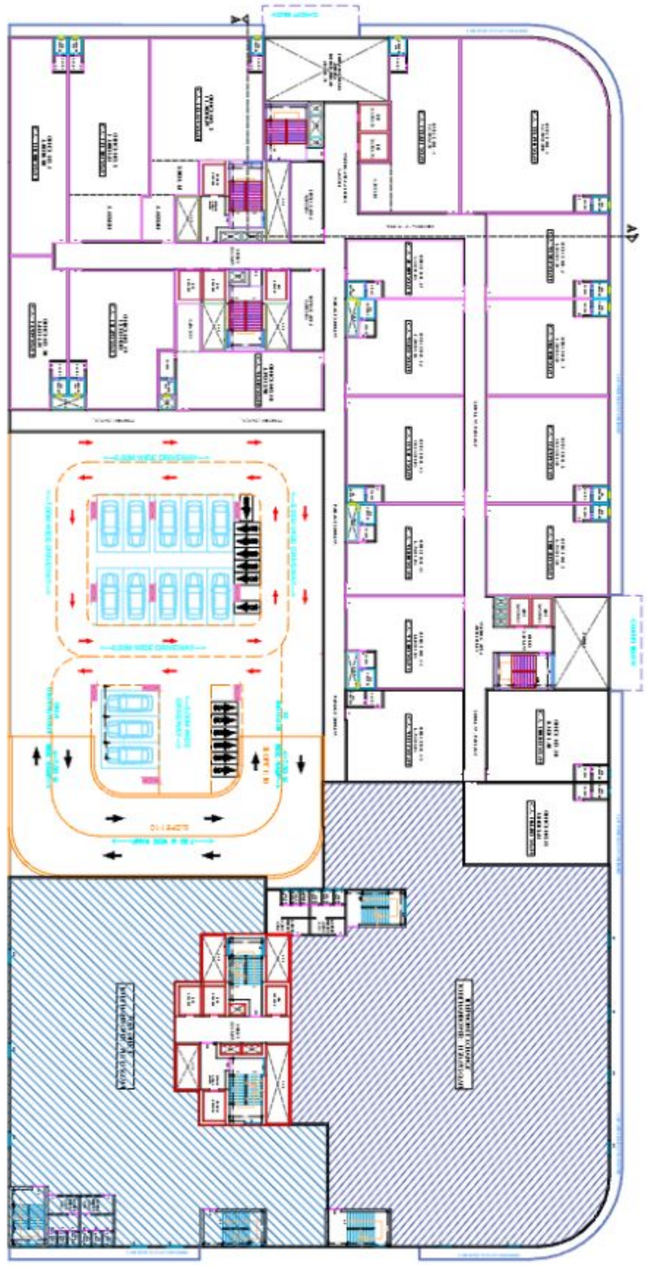

1ST & 2ND FLOOR PLAN
(WING A+WING B+COMMERCIAL)
SCALE– 1:200

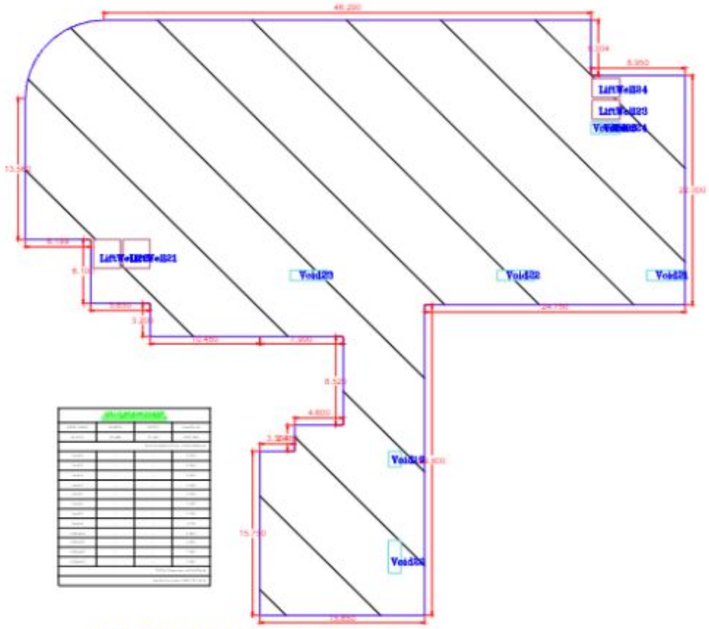

BUILT-UP AREA CALCULATION 1ST AND 2ND FLOOR WING A

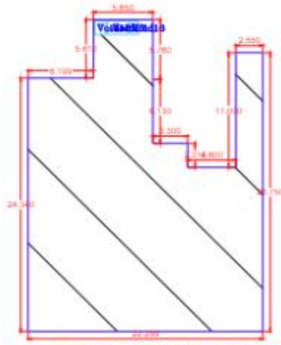

BUILT-UP AREA CALCULATION 1ST AND 2ND FLOOR WING A

BUILT-UP AREA CALCULATION 1ST AND 2ND FLOOR WING A

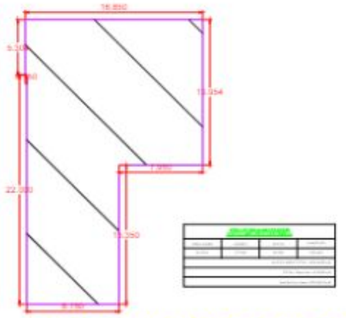

BUILT-UP AREA CALCULATION 1ST AND 2ND FLOOR WING B

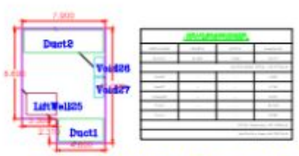

BUILT-UP AREA CALCULATION 1ST AND 2ND FLOOR WING A

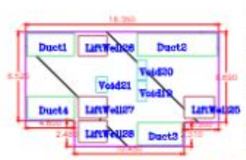

BUILT-UP AREA CALCULATION 1ST AND 2ND FLOOR WING B

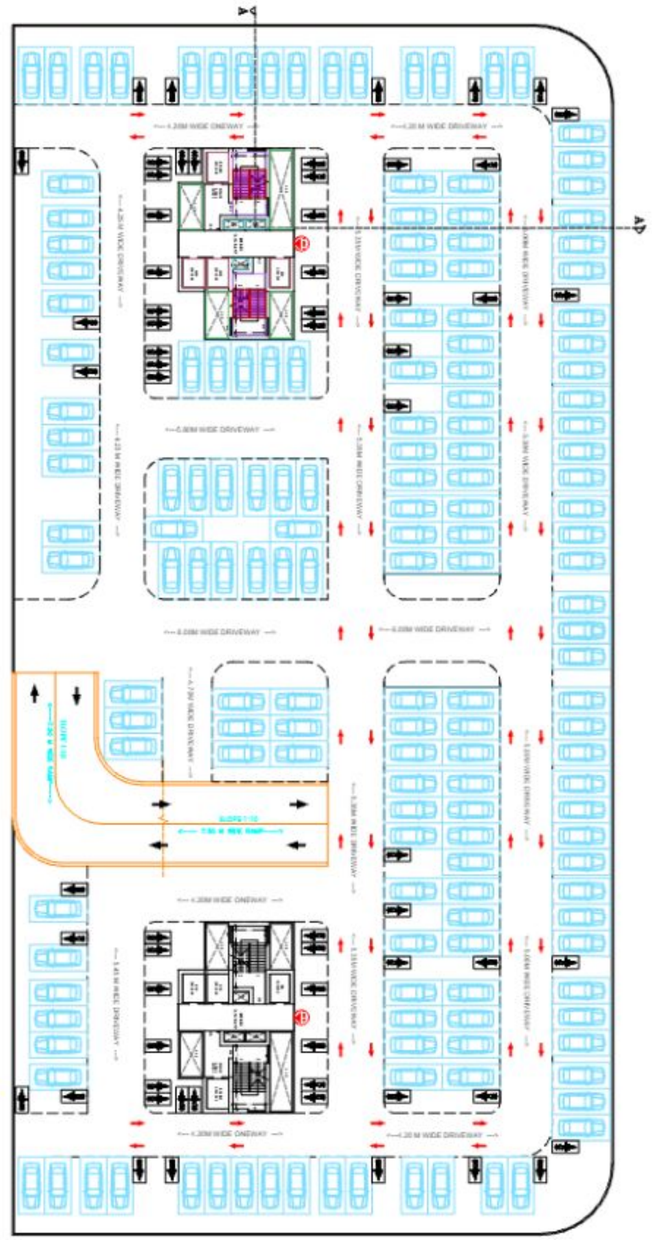

3RD,4TH & 5TH FLOOR PLAN
SCALE– 1:200

Proforma 1: Area Statement	
1. Area of plot (Minimum area of a 5.0 m Strip considered)	4383.000
(a) As per ownership document (7/12, CTS extract)	4383.000
(b) as per TLR or City Survey measurement sheet	4383.000
(c) as per Demarcated drawing area	8760.000
(d)(i)	
2.Area not in possession	0.000
3. Area Proposed for development (out of 1-2)	4383.000
4.Deductions for out of (1-)	
(a) Proposed D.P./ D.P. Road widening Area(Proposed DP road, Road under MMC act	0.000
(b) Any D.P. Reservation area	1713.000
(c) Green Belt	0.000
(Total a+b+c)	1713.000
5. Plot Under accommodation Reservation	4383.000
6.Recreational Open Space (Not applicable if plots are from sanctioned layout)	-
(a) If area is more than (5) 5000 sqmt - 10 % of (5) is required	0.000
Proposed	832.673
(b) If area is less than 5000 sqmt	-
(A)10 % Subject to minimum 200 sqmt(Not applicable if plots are from sanctioned layout or each plot admeasuring less than 4000sq.m registered under gunthewari act)	0.000
Proposed	0.000
(B)Exemption to leave open space subject to availing basic F.S.I. of 75 %	-
(C)Exemption to leave open space subject to payment of 10 % land value of land at (7) as per annual statement of rate.	-

Architect/ Licensed Engineer/ Supervisor name and signature

Registration No. of Architect/ Licence no. of Licensed Engineer/ Supervisor CA/2016-108630

DESCRIPTION OF PROJECT :

Type of Proposal : Mixed

BUILDING OWNERS :

PROPOSED BUILDING PLAN ON PLOT BEARING S.NO.32/1P, 33/1P, & 33/2/P AT VILLAGE CHIKHALI, TALUKA: HAVELI, DIST: PUNE

OWNERS :
SHI FLOOR, MEETHAN EMBASSY BUILDING
SHANTI VALLEY SUB DIVISION OFF SANKATAN
BHAVAN, PUNE-NAGAR ROAD, PUNE-411014

ARCHITECT :
SHI FLOOR, MEETHAN EMBASSY BUILDING
SHANTI VALLEY SUB DIVISION OFF SANKATAN
BHAVAN, PUNE-NAGAR ROAD, PUNE-411014

SIGNATURE OWNER

SIGNATURE ARCHITECT

SCALE

DATE : Date 00/00/00

DRAWN : ASHUTOSH TATAS

CHECKED : ANIL

SUBMISSION DRAWING

6TH FLOOR PLAN (REFUGE)

SCALE– 1:200

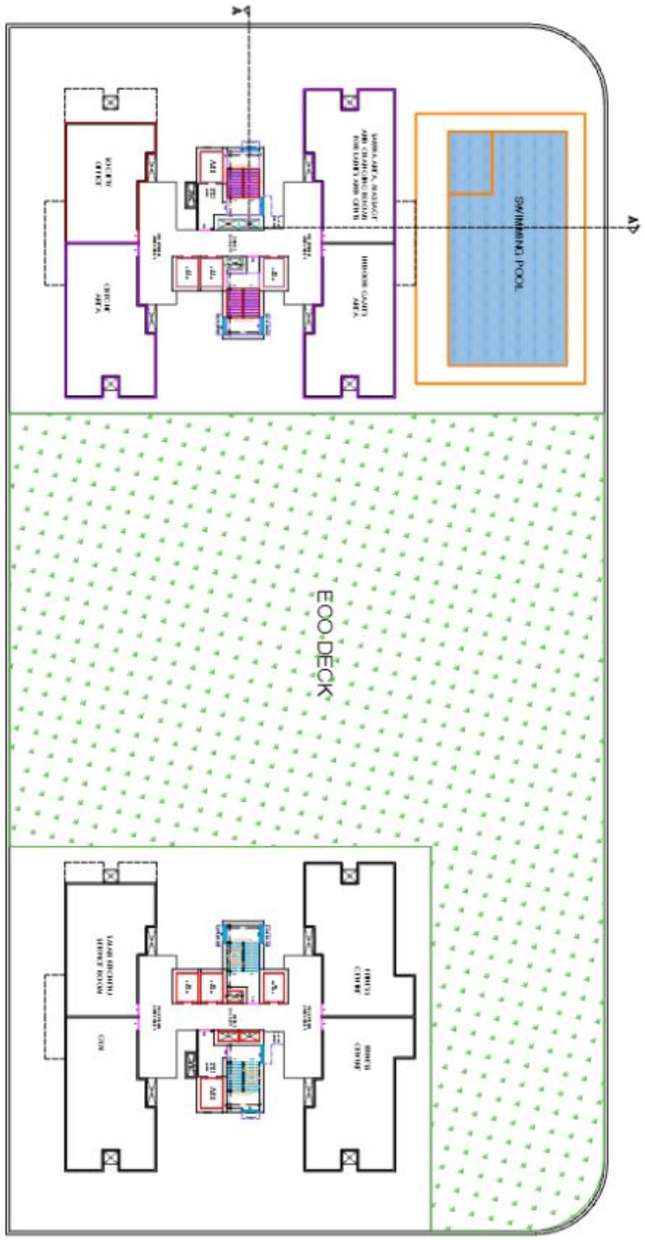

7TH FLOOR PLAN (AMENITY)

SCALE– 1:200

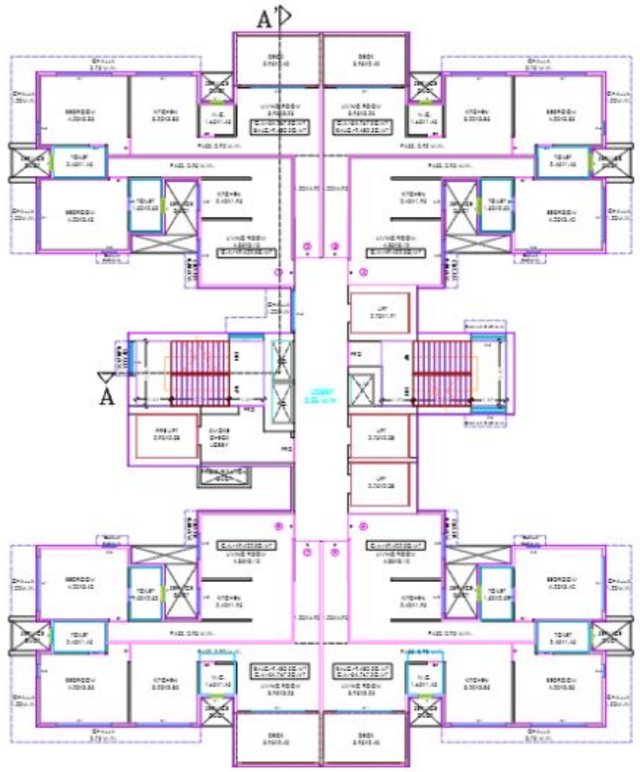

8TH FLOOR PLAN (WING A)

SCALE– 1:100

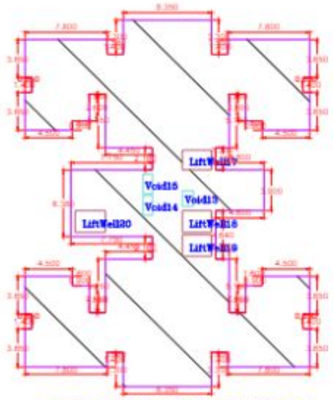

BUILT-UP AREA CALCULATION 8TH FLOOR WING A

BUILT-UP AREA CALCULATION 6TH FLOOR WING B

BUILT-UP AREA CALCULATION 6TH FLOOR WING A

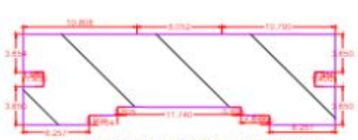

BUILT-UP AREA CALCULATION 7TH FLOOR WING A

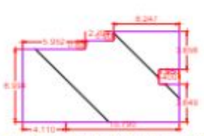

BUILT-UP AREA CALCULATION 7TH FLOOR WING A

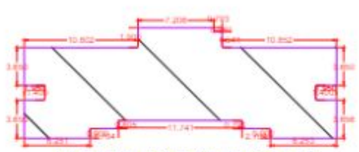

BUILT-UP AREA CALCULATION 7TH FLOOR WING B

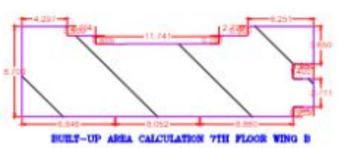

BUILT-UP AREA CALCULATION 7TH FLOOR WING B

Proforma 1 : Area Statement	
1 - Area of plot (Minimum area of a, b, c to be considered)	6283.000
(a) As per ownership document (7/12, CTS extract)	6283.000
(b) As per TLR or City Survey measurement sheet	6283.000
(c) As per Demarcated drawing area	6783.000
LESS	
2 Area not in possession	0.000
3. Area Proposed for development (out of 1-2)	6283.000
4 Deductions for out of 3)	
(a) Proposed D.P. / DJP. Road widening Area/Proposed DP road, Road under MMC act	0.000
(b) Any D.P. Reservation area	3713.200
(c) Green Belt	0.000
(Total a+b+c)	3713.200
5. Plot Under accommodation Reservation	6283.000
6.(Recreational Open Space (Not applicable if plots are from sanctioned layout)	-
(a) If area is more than 20,000 sqmt - 10 % of (5) is required.	0.000
Proposed	802.673
(b) If area is less than 4000 sqmt	-
(A)10 % Subject to minimum 200 sqmt(Not applicable if plots are from sanctioned layout or each plot admeasuring less than 4000sq.m registered under gunthewari act)	0.000
Proposed	0.000
(B)Exemption to leave open space subject to availing basic F.S.I. of 75 %	-
(C)Exemption to leave open space subject to payment of 10 % land value of land at (7) as per annual statement of rate.	-
Architect/ Licensed Engineer/ Supervisor name and signature	
Registration No. of Architect/ Licence no. of Licensed Engineer/ Supervisor CA/2016/100030	

DEVELOPER BUILDER

Name Gulabchand Kothari

Office Bagamahal Jain Bhawan Bagamahal Jain Tonk Road Sitapura Bypass Road Pincode Address - Plot No 1701, Bhoodala Ahmedabad

Contact Mobile Number Mobile Number 9909764316 1100

DESCRIPTION OF PROJECT :

Name of Project / Wing(s)

BUILDING ON F.P. NO.30 (PART) NO.29

SITE ADDRESS :

PROPOSED BUILDING PLAN ON PLOT BEARING S.NO.32 P1

SCHP & DRAFT AT VILLAGE CHANDKHEDA TALUKA: SABARMATI

DIST: PANAM

OWNER DETAILS

NAME

ADDRESS

9th FLOOR, WESTERN CORRIDOR, BESIDE GIRNAR VALLEY BUS DEPOT, OPP. SAHAYTEK BUILDING, GHATLODIA, SOLA CIVIL, 380061

CONTACT NO. 7227 0 0 0 7 0 0 0 0

TEJAS ANIL PARIKH

Digitally signed by TEJAS ANIL PARIKH
DN: c=IN, o=Personal, cn=TEJAS ANIL PARIKH, 2.5.4.20=a4a1a1a1

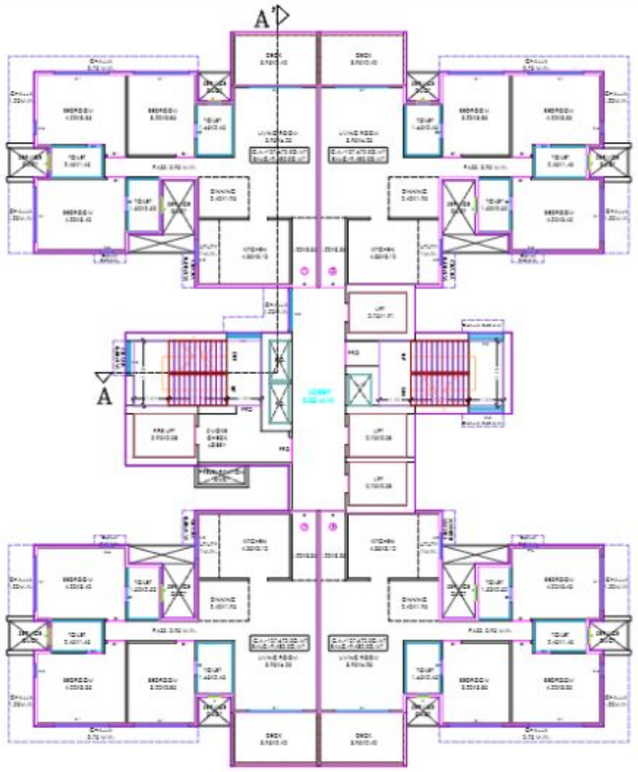

9TH, 11TH TO 13TH, 15TH TO 17TH,
19TH TO 21ST,23RD TO 25TH,
27TH TO 29TH, 31ST &
32ND FLOOR (WING A)
SCALE– 1:100

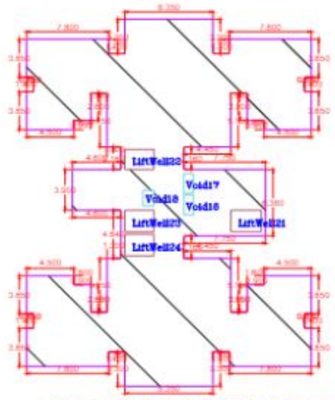

BUILT-UP AREA CALCULATION 8TH 9TH 11TH 12TH 13TH AND 15TH FLOOR WING B

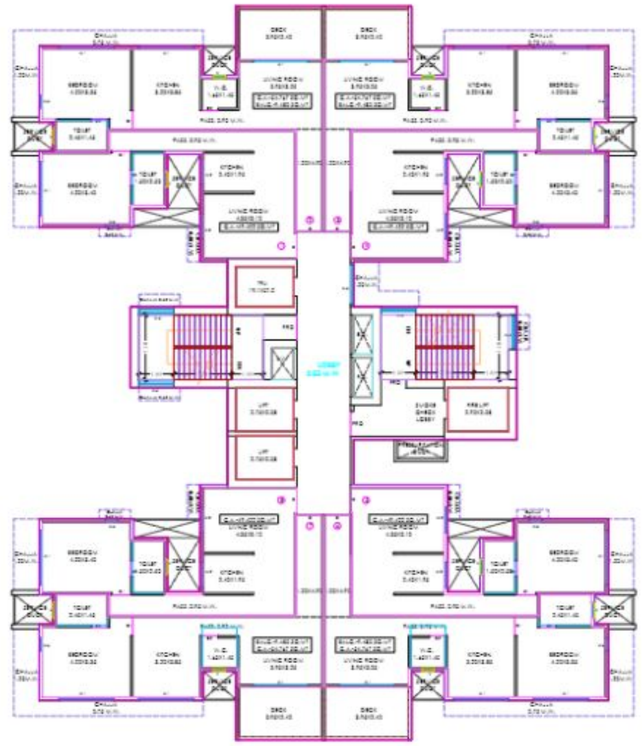

8TH, 9TH, 11TH TO 13TH AND
15TH FLOOR PLAN (WING B)
SCALE– 1:100

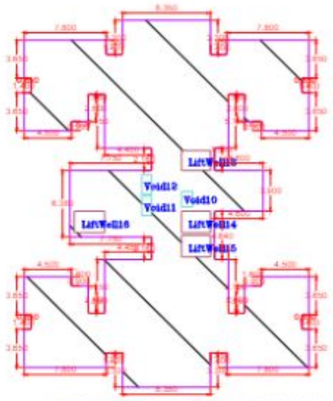

BUILT-UP AREA CALCULATION 9TH 11TH 12TH 13TH 15TH 16TH 17TH 19TH 20TH 21ST 23RD 24TH 25TH 27TH 28TH 29TH 31ST AND 32ND FLOOR WING A

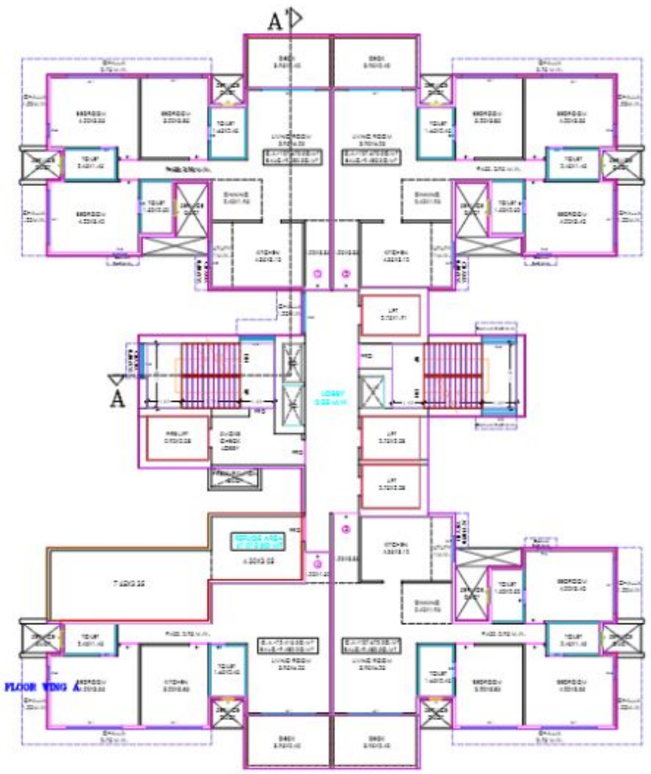

REFUGE FLOOR PLAN (WING A)
10TH, 14TH, 22ND, 26TH & 30TH FLOOR
SCALE– 1:100

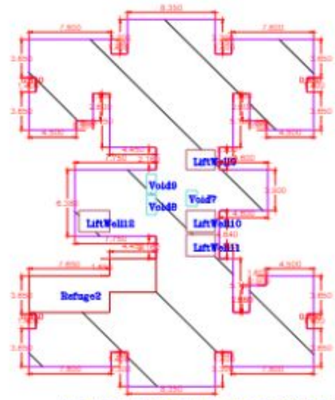

BUILT-UP AREA CALCULATION 10TH 14TH 22ND 26TH 30TH WING A

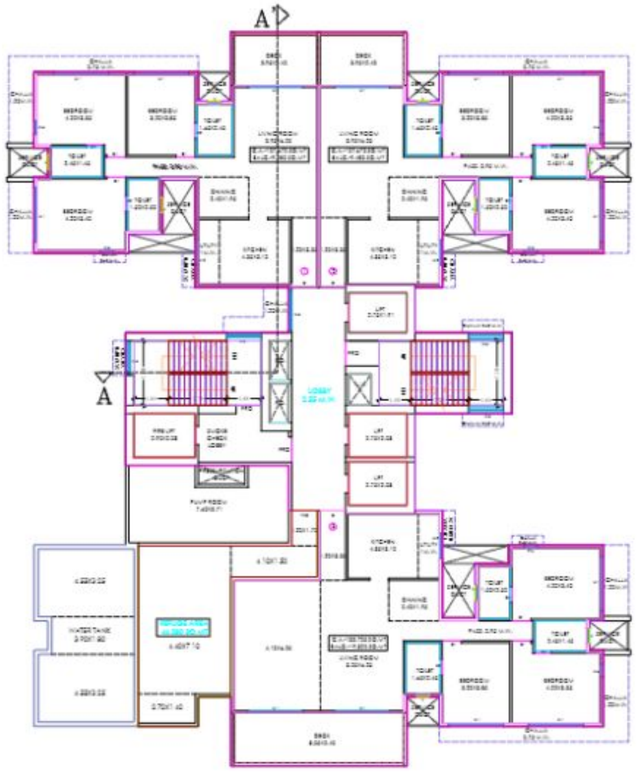

18TH FLOOR (WING A)

SCALE– 1:100

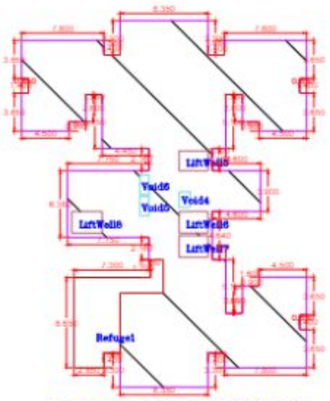

BUILT-UP AREA CALCULATION 18TH FLOOR WING A

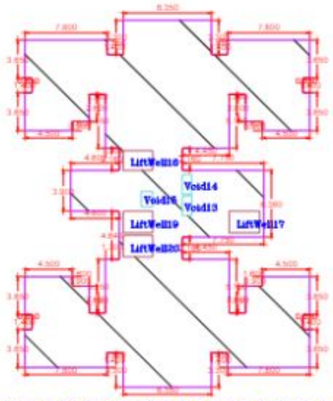

BUILT-UP AREA CALCULATION 16TH 17TH 19TH 20TH 21ST 23RD 24TH 25TH 27TH 28TH 29TH 31ST AND 32ND FLOOR WING B

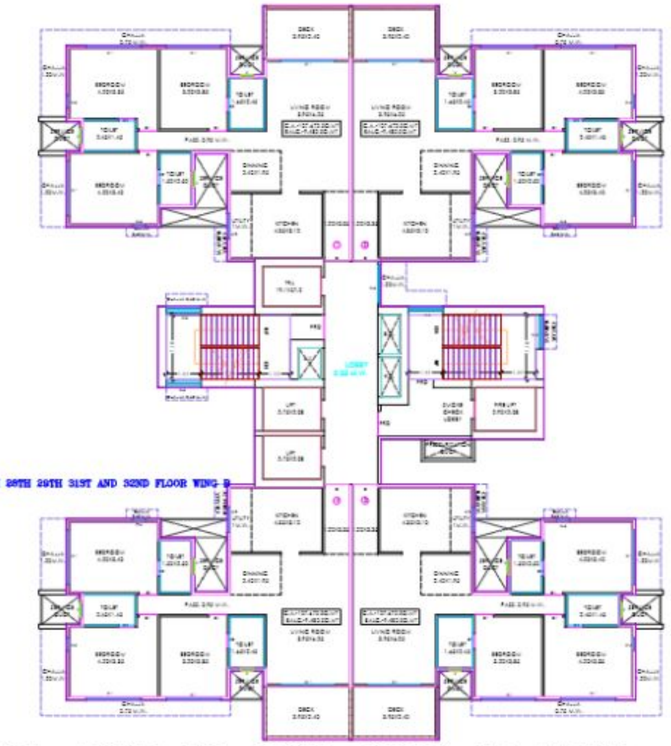

16TH, 17TH, 19TH TO 21ST, 23RD TO 25TH, 27TH TO 29TH, 31ST & 32ND FLOOR (WING B)

SCALE– 1:100

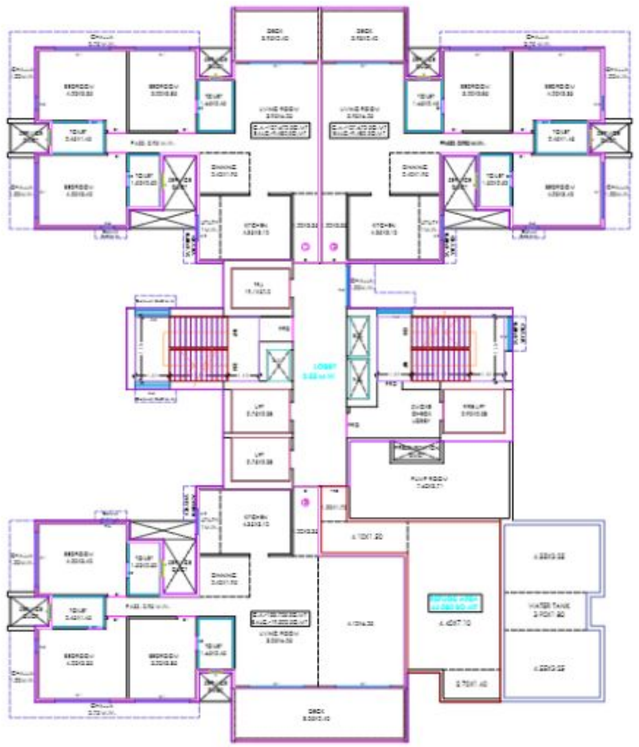

18TH FLOOR (WING B)

SCALE– 1:100

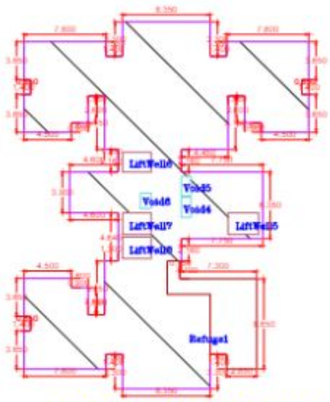

BUILT-UP AREA CALCULATION 18TH FLOOR WING B

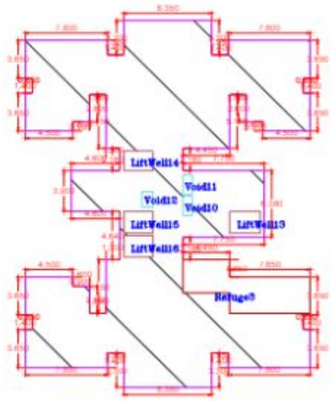

BUILT-UP AREA CALCULATION 10TH AND 14TH FLOOR WING B

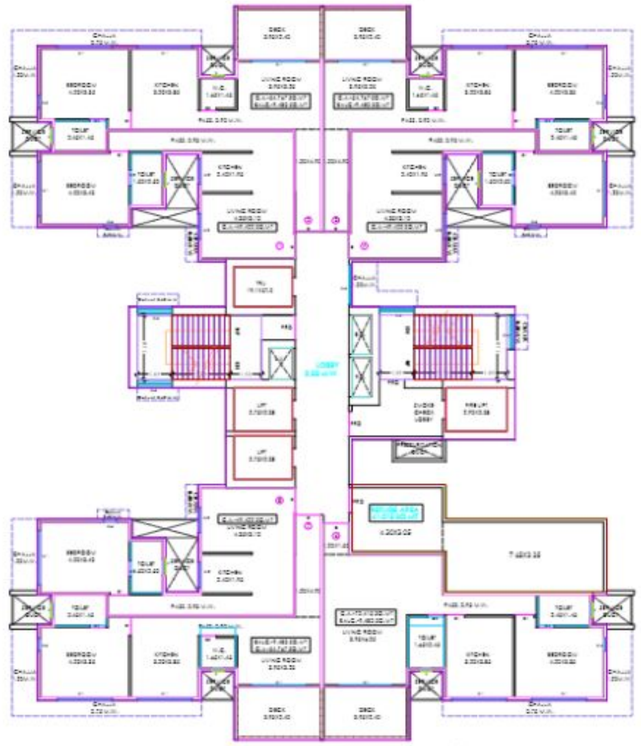

REFUGE FLOOR PLAN (WING B)

10TH AND 14TH FLOOR

SCALE– 1:100

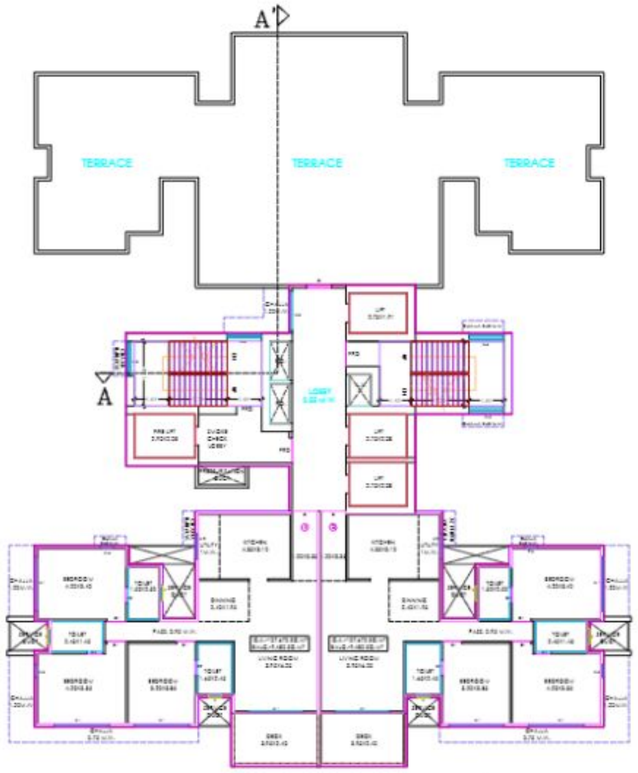

33RD FLOOR (WING A)
SCALE– 1:100

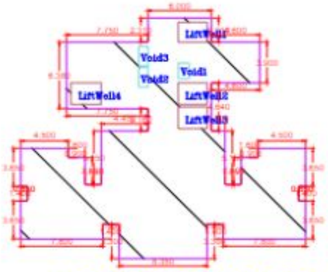

BUILT-UP AREA CALCULATION 33RD FLOOR WING A

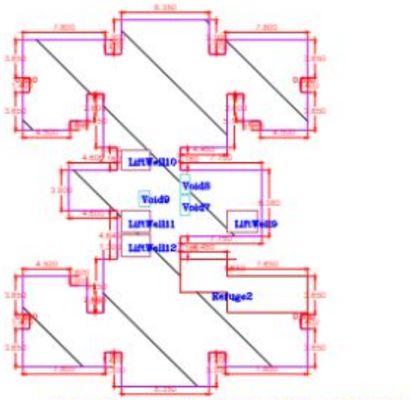

BUILT-UP AREA CALCULATION 22ND 26TH AND 30TH FLOOR WING B

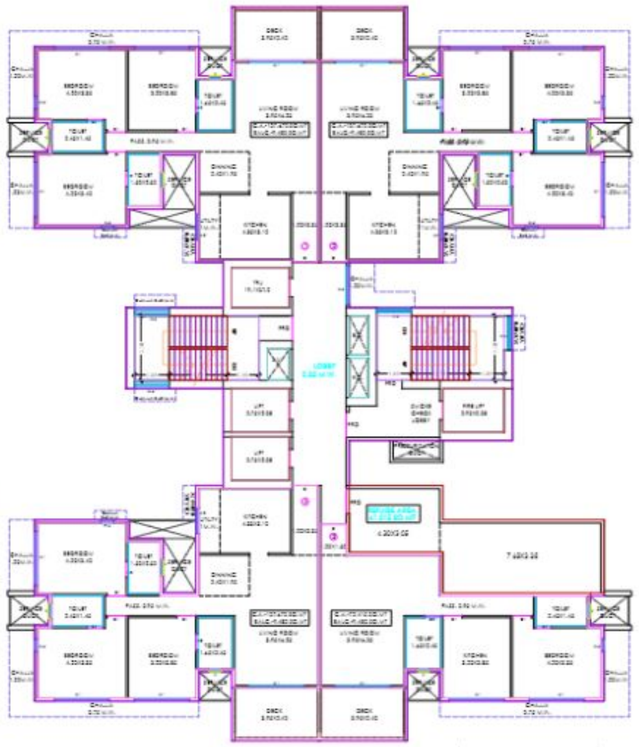

REFUGE FLOOR PLAN (WING B)
22ND, 26TH & 30TH FLOOR
SCALE– 1:100

33RD FLOOR (WING B)
SCALE– 1:100

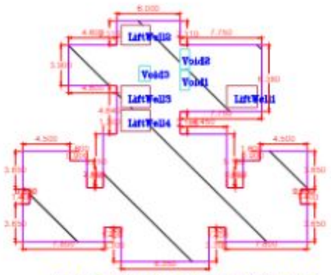

BUILT-UP AREA CALCULATION 33RD FLOOR WING B

TERRACE FLOOR (WING B)
SCALE– 1:200

TERRACE FLOOR (WING A)
SCALE– 1:200

SUBMISSION DRAWING