VITAN CONSULTANTS

ARCHITECTS & INTERIOR DESIGNERS

5TH FLOOR, MIDTOWN EMBASSY, BEHIND VASANT VALLEY BUS DEPOT,
OPP. NARAYANA SCHOOL, VASANT VALLEY, GANDHARE KALYAN (W).

TEJAS ANIL NIRGUDE
B. ARCH & INTERIOR DESIGNER

E-mail : vitanconsultants@yahoo.com
M.:8451985999

संदर्भ क्र.९४७
दि.०६/०३/२०२६

प्रति,
मा.कार्यकारी अभियंता
पाणी पुरवठा विभाग
क.डो.म.पा
कल्याण.

विषय :- स.नं.४७/२/अ, ४७/३,४८/५,४९/८ मौजे: उंबर्डे ,ता.कल्याण, मे.स्काय हाईट ईन्फास्ट्रक्चर प्रा.लि.भागिदार श्री.शक्ती भगवानसिंग कुशवाह व इतर या भुखंडावर बांधण्यात येणाऱ्या इमारतीच्या बांधकाम परवानगीच्या दाखल्यासाठी पाणी पुरवठा विभागचा नाहरकत दाखला मिळणे बाबत.

१) भूखंडाचे विवरण- स.नं.४७/२/अ, ४७/३,४८/५,४९/८ मौजे: उंबर्डे,ता.कल्याण,
२) विकसीत करावयाचे क्षेत्र – ३६८०.००चौ.मी. चौ.मी. प्रस्तावित १९५ सदनिका आहेत व महापालिका इमारत तळ + ३मजले
३) आावश्यक पाणी पुरवठा १३२३००.००लिटर
४) महापालिकेकडून आवश्यक पाणी पुरवठा १३२३००.००लिटर
५) पाण्याच्या टाकीची लांबी १५.० मी.
६) पाण्याच्या टाकीची रुंदी ३.० मि.
७) पाण्याच्या टाकीची उंची ३.०मि.
८) इमारती वरील पाण्याच्या टाकीची लांबी ३.०मी.
९) इमारती वरील पाण्याच्या टाकीची रुंदी ६.०मी.
१०) इमारती वरील पाण्याच्या टाकीची उंची ३.० मी.
११) पाणी पुरवठा लाईन पासुन U.G Tnak चे अंतर १०५.०मी.

वितान कन्सल्टंट करिता

वास्तुशिल्पकार.

SHIV VATIKA															
BUILDING	FLOORS	FSI AREA						BALCONY	TERRACE	LIFT	LIFTWELL	DUCT	VENT	OTHER	TOTAL
		COMM.	RESI.	IND.	EDU.	INS.	MEZZ.	PROP.					SHAFT	DEDUCTION	FSI AREA
SHIV VATIKA	7TH 12TH 17TH FLOOR	0.000	2079.393	0.000	0.000	0.000	0.000	90.198	0.000	0.000	26.136	30.600	0.000	167.289	1855.368
SHIV VATIKA	1ST TO 6TH 8TH TO 11TH 13TH TO 16TH AND 18TH FLOOR	0.000	10396.965	0.000	0.000	0.000	0.000	486.060	0.000	0.000	130.680	153.000	0.000	189.630	9923.655
SHIV VATIKA	STILT FLOOR	0.000	225.244	0.000	0.000	0.000	0.000	0.000	0.000	8.712	0.000	0.000	0.000	19.185	206.059
SHIV VATIKA	TOTAL	0.000	12701.602	0.000	0.000	0.000	0.000	576.258	0.000	8.712	156.816	183.600	0.000	376.104	11985.082

FSI DETAILS										
9 Index	Basic FSI (on serial no 7)	Premium FSI (on serial no 3)	TDR/OR (on serial no 3)	Incentive FSI for green building if Applicable (on basic FSI)	Additional FSI (10.16.1 Note 3)	Ancillary Area 60% of (2+3+4+5)	Ancillary Area 80% of (2+3+4+5)	Total	Inclusive Housing (25%) if Applicable	Drawing Value
9.1 Permissible Index	1.100	0.500	0.900	0.000	0.000	0.000	0.000	2.500	0.000	0.000
9.2 Existing Consumed Index	0.000	0.000	0.000	0.000	0.000	0.000	0.000	0.000	0.000	0.000
9.3 Balance Index to be Consumed	1.100	0.500	0.900	0.000	0.000	0.000	0.000	0.000	0.000	0.000
9.4 Total Permissible PLine Area	4048.000	1840.000	3312.000	0.000	0.000	4494.600	0.000	13694.600	0.000	0.000
9.5 Proposed P Line Area (Should not exceed 9.4)	3839.000	340.000	3312.000	0.000	0.000	4494.082	0.000	11985.082	0.000	11985.082
9.6 Index Consumed	1.043	0.092	0.900	0.000	0.000	0.000	0.000	2.036	0.000	0.000

Carpet Area Table									
Building Name	Floor Name	Carpet name	Tenement No	Carpet Area	Enclosed Balcony Area	Normal Balcony Area	Mezzanine Area	Total Carpet Area
SHIV VATIKA	1ST TO 6TH 8TH TO 11TH 13TH TO 16TH AND 18TH FLOOR	9	15	38.258	0.000	2.338	0.000	38.258
SHIV VATIKA	7TH 12TH 17TH FLOOR	3	15	38.258	0.000	2.338	0.000	38.258
SHIV VATIKA	7TH 12TH 17TH FLOOR	4	15	35.095	3.163	2.338	0.000	38.258
SHIV VATIKA	7TH 12TH 17TH FLOOR	5	15	38.258	0.000	2.338	0.000	38.258
SHIV VATIKA	7TH 12TH 17TH FLOOR	6	15	51.945	0.000	2.550	0.000	51.945
SHIV VATIKA	7TH 12TH 17TH FLOOR	7	15	38.258	0.000	2.338	0.000	38.258
SHIV VATIKA	7TH 12TH 17TH FLOOR	8	15	38.258	0.000	2.338	0.000	38.258
SHIV VATIKA	7TH 12TH 17TH FLOOR	10	15	52.417	2.887	2.550	0.000	55.304
SHIV VATIKA	7TH 12TH 17TH FLOOR	11	15	55.305	0.000	2.550	0.000	55.305
SHIV VATIKA	7TH 12TH 17TH FLOOR	1	15	38.258	0.000	2.338	0.000	38.258
SHIV VATIKA	7TH 12TH 17TH FLOOR	2	15	38.258	0.000	2.338	0.000	38.258

Accomodation Reservation Detail

Reservation Details				Reservation Area Details			
Type	Name	Number	Total Area	Area Already acquired/under AR	Balance area to be acquired	Area of reservation under this proposal	Remarks

Parking Check (Table 8B)								
			RATIO			Required		
Building Name	USE	TENAMENT AREA	car	scooter	NO.OF Tenat/Area/Units	car	scooter	Transport Vehicle/Ambulance /Mini Bus
SHIV VATIKA	Residential	For every two tenements with each tenement having carpet area less than 40 Sq.m. but more than 30 sq.m.	1	2	141	70.500	141.000	-
SHIV VATIKA	Residential	For every two tenements with each tenement having carpet area equal to or above 40 sq.m. but less than 80 sq.m.	1	2	54	27.000	54.000	-
Total	-	-	-	-	-	97.500	195.000	-
Visitors parking(5%)	-	-	-	-	-	4.875	9.750	-
Total	-	-	-	-	-	102.375	204.750	0.000

Parking Check As Per Multiplying Factor 0.800 (note: 1) 6 scooter equals to 1 car, proposed composite parking for carr 26)							
	Required			Proposed			
Building Name	Car	Scooter	Transport Vehicle/Ambulance /Mini bus	Car	Scooter	Transport Vehicle/Ambulance /Mini bus	Status
Total	108	49	0	108	49	0	OK

Telecom Room			
Building	Req. Size	Prop. Size	Status
SHIV VATIKA	3.000X3.400	3.000X3.400	OK
SHIV VATIKA	3.000X3.400	3.000X3.400	OK

SCHEDULE OF OPENING				
BLD NAME	NAME	LENGTH	HEIGHT	Nos.
SHIV VATIKA	V	0.600	0.750	43

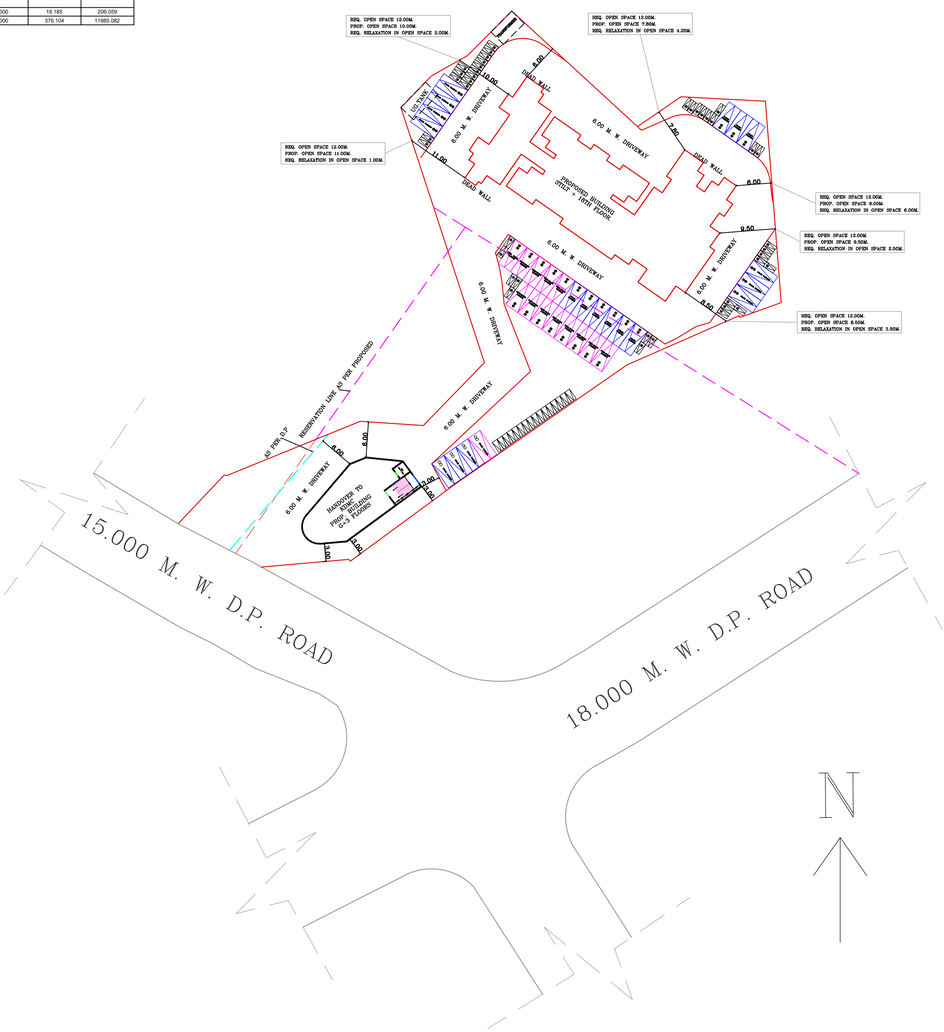

LAYOUT PLAN

SCALE 1:500

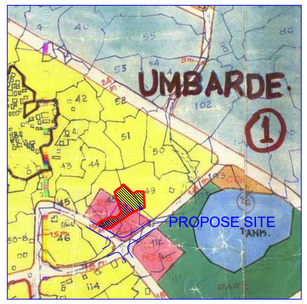

LOCATION PLAN

N

Project Details
Proposal code: KDMCC-25-139933
Zone Type: Residential Zone
Location: Non-Congested
Name of service: Accommodation reservations
Sub service:
City No /Survey No.: 47
Tahsil: Sector-3
Mouza: Umbarde
Prorata Value: 0.000
Separation/CRZ Zone Area: 0.000

LEGENDS:
PLOT BOUNDRY SHOWN WHITE
ROAD WIDENING SHOWN PINK
DRAINAGE LINE SHOWN YELLOW LIGHT
WATER LINE SHOWN BLUE DOTTED
ENCLOSED BAL SHOWN BROWN
TERRACE SHOWN DARK YELLOW
OPEN BAL SHOWN BRIARI
EXISTING SHOWN BLUE HATCHED

Reserved for Stamps of Approval plan

LAYOUT PLAN | SHEET NO. 1/3

FORM OF STATEMENT
[SR.NO. 9(a)]
PROPOSED BUILDING HANDOVER TO KDMC

FLOOR NO.		TOTAL BUILT-UP AREA
G.R	=	174.131 SQ.MT.
1ST	=	170.131 SQ.MT.
2ND	=	170.131 SQ.MT.
3RD	=	170.131 SQ.MT.
TOTAL	=	684.524 SQ.MT.

AREA STATEMENT		IN SQ.MT
1	(A) AREA OF PLOT	
	(a) AS PER OWNERSHIP DOCUMENT (7/12, CTS EXTRACT)	3680.000
	(b) AS PER MEASUREMENT SHEET	3680.000
	(c) AS PER POSSESSION	3680.000
2	DEDUCTIONS FOR	
	(a) 15.00 M. W. D.P. ROAD AREA	--
	(b) P.S. RESERVATION AREA SR.NO. 48/5	190.000
	(c) CWC RESERVATION AREA SR. NO. 49/8	1355.000
	(d) TOTAL AREA (a+b+c)	1545.000
3	BALANCE PLOT AREA (1 Minus 2)	2135.000
	(a) CWC RESERVATION WITH 'R' ZONE UNDER ACCOMODATION POLICY 2135 R ZONE AREA +1355 CWC RESERVATION = 3490.00 SQ.MT. 2135 + 1355 = 3490	3490.000
	(b) CWC RESERVATION UNDER ACCOMODATION POLICY 60/40% 1355.00 X 40% = 542.00 SQ.MT PLOT FOR KDMC = 50% CONSTRUCTION AREA TO KDMC (1355 X 50% = 677.50	
4	AMENITY SPACE IF APPLICABLE	--
	(a) REQUIRED	
	(b) ADJUSTMENT OF IF ANY	
	(c) BALANCE PROPOSED	
5	NET PLOT AREA (3-4(c))	3490.00
6	RECREATIONAL OPEN SPACE (IF APPLICABLE)	--
	(a) REQUIRED	
	(b) PROPOSED	
7	INTERNAL ROAD AREA	--
8	PLOTABLE AREA ('R' ZONE + CWC RESERVATION AREA) (2135.000 + 1355.000 = 3490.000)	3490.000
9	BUILT UP AREA WITH REFERENCE TO BASIC FSI AS PER FRONT ROAD WIDTH (SR.NO: 5 X BASIC FSI) (3490.000 X 1.10) = 3839.000	3839.000
10	ADDITION OF FSI ON PAYMENT PREMIUM	
	(a) MAXIMUM PERMISSIBLE PREMIUM FSI BASED ON ROAD WIDTH /TOD ZONE	--
	(b) PROPOSED FSI ON PAYMENT OF PREMIUM (3680.000 X 0.50 = 1840.000) (OUT OF THIS = 340.00 SQ.MT)	340.000
11	IN-SITU FSI/TDR LOADING	--
	(a) IN-SITU AREA AGAINST D.P. ROAD SR.NO:2 (a) D.P. RESERVATION SR.NO.2 (b)	
	(b) IN-SITU AREA AGAINST AMENITY SPACE IF HANDED OVER (2.00 OR 1.85 X SR. NO:4 (b) AND/or (C)	
	(c) TDR AREA (3680.000 X 0.90 = 3312.000)	3312.000
	(d) TOTAL IN-SITU / TDR LOADING PROPOSED (11 (a)+(b)+(c)	3312.000
12	ADDITIONAL FSI AREA UNDER CHAPTER NO.7 (FOR SOC. REDEVELOPMENT AS PER 7.6.1)	--
13	TOTAL ENTITLEMENT OF FSI IN THE PROPOSAL	
	(a) [9+10(b)+11(d) or 12 WHICHEVER IS APPLICABLE	7491.000
	(b) ANCILLARY AREA FSI UPTO 60% OR 80% WITH PAYMENT OF CHARGES RESIDENTIAL AREA = 7491.000 X 60% = 4494.600 SQ.MT	4494.600
	(c) TOTAL ENTITLEMENT (a+b)	11985.600
14	MAXIMUM UTILIZATION LIMIT OF FSI (BUILDING POTENTIAL) PERMISSIBLE AS PER ROAD WIDTH As per Regulation no. 6.1 or 6.2 or 6.3 or 6.4 as applicable) x 1.6 or 1.8	--
15	TOTAL BUILT UP AREA IN PROPOSAL (EXCLUDING AREA AT SR. NO.17(b)	
	(a) EXISTING SANCTION BUILT UP AREA	00.00
	(b) PROPOSED BUILT UP AREA (AS PER P LINE)	11985.082
	(c) TOTAL (a+b)	11985.082
16	FSI CONSUMED (15/13)	
17	AREA FOR INCLUSIVE HOUSING IF ANY	
	(a) REQUIRED (20% OF SR. NO:5)	
	(b) PROPOSED (20% OF SR. NO:5)	

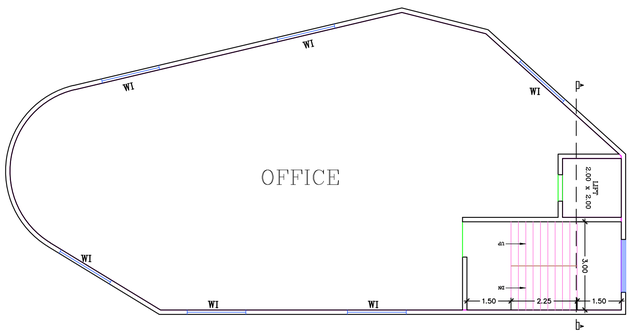

BUILDING HANDOVER TO KDMC
GR + 1ST 2ND & 3RD FLOOR PLAN
SCALE 1:100

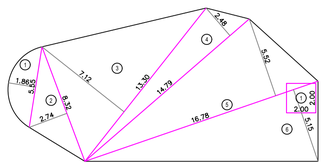

BUILT-UP AREA CALCULATION
HANDOVER TO KDMC
GR + 1ST 2ND & 3RD FLOOR
SCALE 1:200

BUILT UP AREA CALCULATION

GROUND TO 3RD FLOOR (HANDOVER TO KDMC)								
1	2/3	X	5.551	X	1.862	X 1 NO	=	7.475 SQ.MT.
2	1/2	X	8.316	X	2.738	X 1 NO	=	11.385 SQ.MT.
3	1/2	X	13.296	X	7.121	X 1 NO	=	47.340 SQ.MT.
4	1/2	X	14.793	X	2.480	X 1 NO	=	18.343 SQ.MT.
5	1/2	X	16.780	X	5.523	X 1 NO	=	46.338 SQ.MT.
6	1/2	X	16.780	X	5.155	X 1 NO	=	43.250 SQ.MT.
						TOTAL ADDITION	=	174.131 SQ.MT. X

DEDUCTIONS

1	2.000	X	2.000	X	1 NO	=	4.000 SQ.MT.	
					TOTAL DEDUCTION	=	4.000 SQ.MT.	Y1
TOTAL BUILT UP AREA [X - Y1]						=	170.131 SQ.MT.	X1

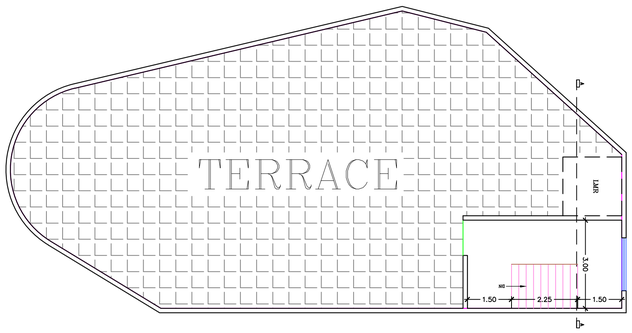

TERRACE FLOOR PLAN
BUILDING-2
SCALE 1:100

PARKING STATEMENT HANDOVER TO KDMC			
FLAT CARPET AREA IN SQ.MT AREA IN SQ.MT	NO.OF FLATS	REQUIRED CAR	REQUIRED SCOOTER
BELOW 30 SQ.MT. EVERY 2 TENEMENT- 2 SCOOTER	--	--	--
30 TO 80 SQ.MT. EVERY 2 TENEMENT/1CAR & 2 SCOOTER			
80 TO 150 SQ.MT. EVERY ONE TENEMENT/ 1CAR & 3 SCOOTER	--	--	--
150 SQ.MT.& ABOVE EVERY ONE TENEMENT/ 2CAR &3 SCOOTER	--	--	--
TOTAL NO OF RESIDENTIAL PARKING	--	--	--
VISITOR PARKING 5%	--	--	--
COMMERCIAL AREA EVERY 100 SQ.MT.2 CAR & 6 SCOOTER	166.157	3.322	10.00
COMMERCIAL AREA EVERY 200 SQ.MT.3 CAR & 11 SCOOTER	466.471	7.296	27.00
TOTAL NO OF PARKING	--	11.00	37.00
PARKING REQUIRED AS PER TABLE NO. 8C 80% OF PARKING	--	9.00	37.00
STILT STACK PARKING	--	--	--
OPEN STACK PARKING (1+1 = 2 CARS)	--	9.00	--
OPEN SINGLE PARKING	--	--	20.00
COMPOSITE PIT + STACK PARKING (3 CARS X 6 = 18 SCOOTERS)	--	3.00	--
TOTAL PROPOSED NO OF PARKING	--	12.00	20.00 (+18COMPOSITE)

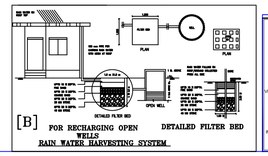

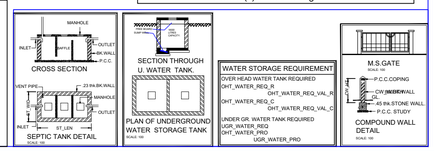

Certificate of Area:
Certified that the plot under reference was surveyed by me on_____ and the dimensions of sides etc. of plot stated on plan are as measured on site and the area so worked out tallies with the area stated in document of Ownership/ T.P. Scheme Records/Land Records Department/City Survey records.

Signature TEJAS ANIL NIRGUDE
(Name of Architect/ Licensed Engineer/ Supervisor.)

Owner's Declaration -
I/We undersigned hereby confirm that I/We would abide by plans approved by Authority / Collector. I/We would execute the structure as per approved plans. Also I/We would execute the work under supervision of proper technical person so as to ensure the quality and safety at the work site.

Owner (s) name and signature

Proforma I : Area Statement	
1. Area of plot (Minimum area of a, b, c to be considered)	3680.000
(a) As per ownership document (7/12, CTS extract)	3680.000
(b) as per TILR or City Survey measurement sheet	3680.000
(c) as per Demarcated drawing area	3688.818
LESS	
2.Area not in possession	0.000
3. Area Proposed for development (out of 1-2)	3680.000
4.Deductions for(out of 3)	
(a) Proposed D.P./ D.P. Road widening Area/Proposed DP road, Road under MMC act	0.000
(b) Any D.P. Reservation area	0.000
(c) Green Belt	0.000
(Total a+b+c)	0.000
5. Plot Under accommodation Reservation	3680.000
6.Recreational Open Space (Not applicable if plots are from sanctioned layout)	-
(a). If area is more than (5) 4000 sqmt - 10 % of (5) is required.	0.000
Proposed	0.000
(b). If area is less than 4000 sqmt	-
(A)10 % Subject to minimum 200 sqmt(Not applicable if plots are from sanctioned layout or each plot admesuring less than 4000sq.m regularised under gunthewari act)	0.000
Proposed _____	0.000
(B)Exemption to leave open space subject to availing basic F.S.I of 75 %	-
(C)Exemption to leave open space subject to payment of 10 % land value of land at (7) as per annual statement of rate.	-
Architect/ Licensed Engineer/ Supervisor name and signature	
Registration No. of Architect/ License no. of Licensed Engineer/ Supervisor: CA/2019/106930	

NAME OF OWNER :M/S SKY HEIGHTS INFRASTRUCTURE PVT.LTD. THROUGH ITS PARTNER MR. SHAKTI B. KUSHWAH

Postal Address : 405/Palm Court, K-Wing,Malad Link Road,Malad (w) Dely,Mumbai,Maharashtra-400064

Phone No.:9821143332

DESCRIPTION OF PROJECT :
Type of Proposal : Residential
PROPOSED BUILDING ON PLOT BEARING S.NO :
S.NO.: 47/2/A, 47/3, 48/5, 49/8, AT VILLAGE: UMBARDE,KALYAN.THANE
SITE ADDRESS :
S.NO.: 47/2/A, 47/3, 48/5, 49/8, AT VILLAGE: UMBARDE,
TALUKA: KALYAN, DISTRICT: THANE.

Name Of Architect : Tejas Anil Nirgude

LOGO	ADDRESS OF OFFICE
	OFFICE - 5TH FLOOR, MIDTOWN EMBASSY, BEHIND VASANT VALLEY BUS DEPOT ,OPP. NARAYANA SCHOOL, GANDHARE, KALYAN - 421301
OWNERS SIGN -	TECHNICAL PERSON SIGN TEJAS ANIL NIRGUDE Digitally signed by TEJAS ANIL NIRGUDE Date: 2026.02.19 16:01:34 +05'30'

	SCALE -	DATE: DATE: 18/02/26
	JOB NO - KDMCC-25-139933	CHECK BY - ANIL

SUBMISSION DRAWING

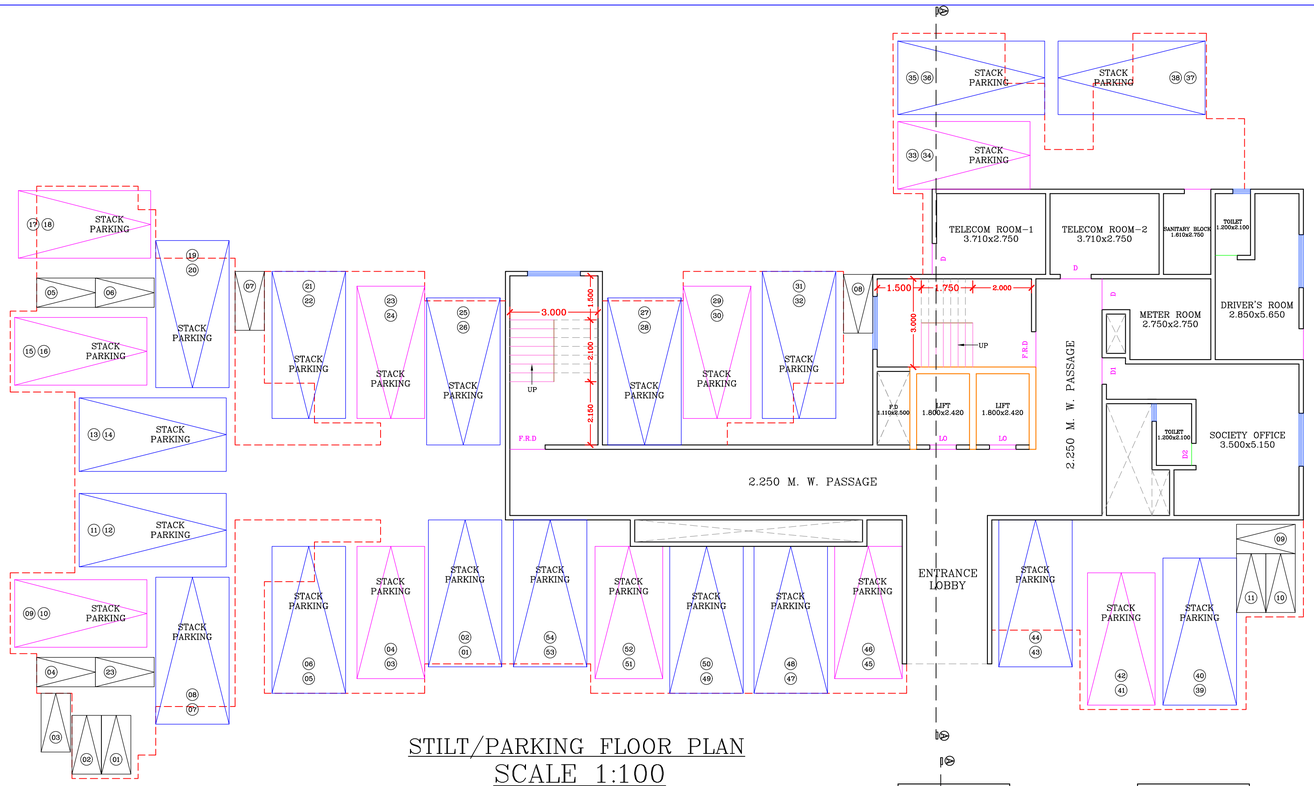

STILT/PARKING FLOOR PLAN
SCALE 1:100

BUILT UP AREA CALCULATION FOR STILT FLOOR SHIV VATIKA			
AREA NAME	LENGTH	WIDTH	Area(Sq.M)
BLOCK	27.150	16.150	225.244
BLOCK AREA TOTAL =225.244Sq.M			
Void9	-	-	6.820
Void8	-	-	2.775
Void7	-	-	9.560
TOTAL Deduction =19.1855Sq.M			
Net BuiltUp Area =206.059 Sq.M			

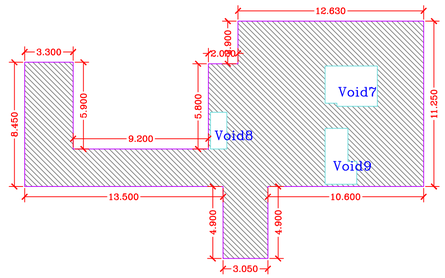

BUILT-UP AREA CALCULATION
STILT/PARKING FLOOR PLAN
SCALE 1:200

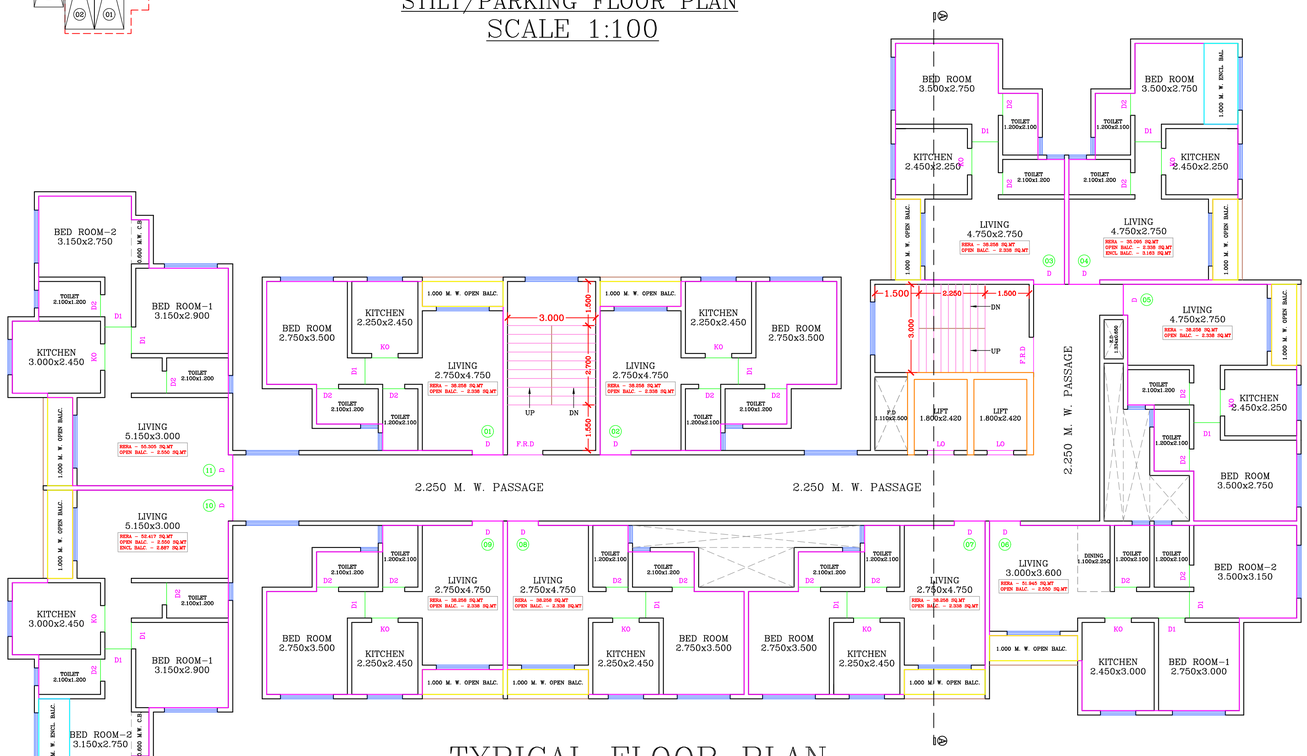

TYPICAL FLOOR PLAN
(1ST TO 6TH, 8TH TO 11TH, 13TH TO 16TH & 18TH FLOOR)
SCALE 1:100

BUILT UP AREA CALCULATION FOR 1ST TO 6TH 8TH TO 11TH 13TH TO 16TH AND 18TH FLOOR SHIV VATIKA			
AREA NAME	LENGTH	WIDTH	Area(Sq.M)
BLOCK	44.000	25.350	693.131
BLOCK AREA TOTAL =693.131Sq.M			
Void6	-	-	0.867
Void5	-	-	3.000
Void4	-	-	2.775
LiftWell4	-	-	4.356
LiftWell3	-	-	4.356
Duct2	-	-	10.200
TOTAL Deduction =31.554Sq.M			
Net BuiltUp Area =661.577 Sq.M			

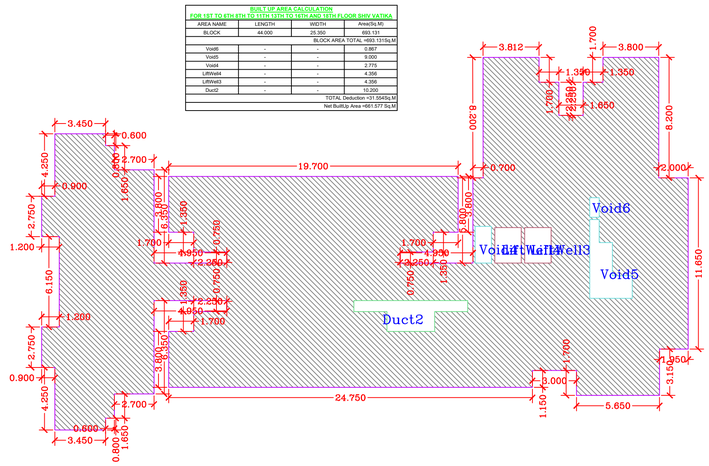

BUILT AREA CALCULATION
TYPICAL FLOOR PLAN
(1ST TO 6TH, 8TH TO 11TH, 13TH TO 16TH & 18TH FLOOR)
SCALE 1:200

Reserved for Stamps of Approval plan

FLOOR PLAN	SHEET NO. 2/3

Proforma I : Area Statement

1. Area of plot (Minimum area of a, b, c to be considered)	3680.000
(a) As per ownership document (7/12, CTS extract)	3680.000
(b) as per TILR or City Survey measurement sheet	3680.000
(c) as per Demarcated drawing area	3688.818
LESS	
2.Area not in possession	0.000
3. Area Proposed for development (out of 1-2)	3680.000
4.Deductions for(out of 3)	
(a) Proposed D.P./ D.P. Road widening Area/Proposed DP road, Road under MMC act	0.000
(b) Any D.P. Reservation area	0.000
(c) Green Belt	0.000
(Total a+b+c)	0.000
5. Plot Under accommodation Reservation	3680.000
6.Recreational Open Space (Not applicable if plots are from sanctioned layout)	-
(a). If area is more than (5) 4000 sqmt - 10 % of (5) is required.	0.000
Proposed___	0.000
(b). If area is less than 4000 sqmt	-
(A)10 % Subject to minimum 200 sqmt(Not applicable if plots are from sanctioned layout or each plot admesuring less than 4000sq.m regularised under gunthewari act)	0.000
Proposed	0.000
(B)Exemption to leave open space subject to availing basic F.S.I of 75 %	-
(C)Exemption to leave open space subject to payment of 10 % land value of land at (7) as per annual statement of rate.	-
Architect/ Licensed Engineer/ Supervisor name and signature	
Registration No. of Architect/ License no. of Licensed Engineer/ Supervisor: CA/2019/106930	

NAME OF OWNER :M/S SKY HEIGHTS INFRASTRUCTURE PVT.LTD. THROUGH ITS PARTNER MR. SHAKTI B. KUSHWAH

Postal Address : 405/Palm Court, K-Wing,Malad Link Road,Malad (w) Dely,Mumbai,Maharashtra-400064

Phone No.:9821143332

DESCRIPTION OF PROJECT :

Type of Proposal : Residential
PROPOSED BUILDING ON PLOT BEARING S.NO :
S.NO.: 47/2/A, 47/3, 48/5, 49/8, AT VILLAGE: UMBARDE,KALYAN.THANE

SITE ADDRESS :
S.NO.: 47/2/A, 47/3, 48/5, 49/8, AT VILLAGE: UMBARDE,
TALUKA: KALYAN, DISTRICT: THANE.

Name Of Architect : Tejas Anil Nirgude

LOGO	ADDRESS OF OFFICE
	OFFICE - 5TH FLOOR, MIDTOWN EMBASSY, BEHIND VASANT VALLEY BUS DEPOT, OPP. NARAYANA SCHOOL, GANDHARE, KALYAN - 421301

OWNERS SIGN -	TECHNICAL PERSON SIGN
	TEJAS ANIL NIRGUDE — Digitally signed by TEJAS ANIL NIRGUDE Date: 2026.02.19 14:02:55 +05'30'

	SCALE -	DATE: Date: 18/02/26
	JOB NO - KDMCC-25-139933	CHECK BY - ANIL

SUBMISSION DRAWING

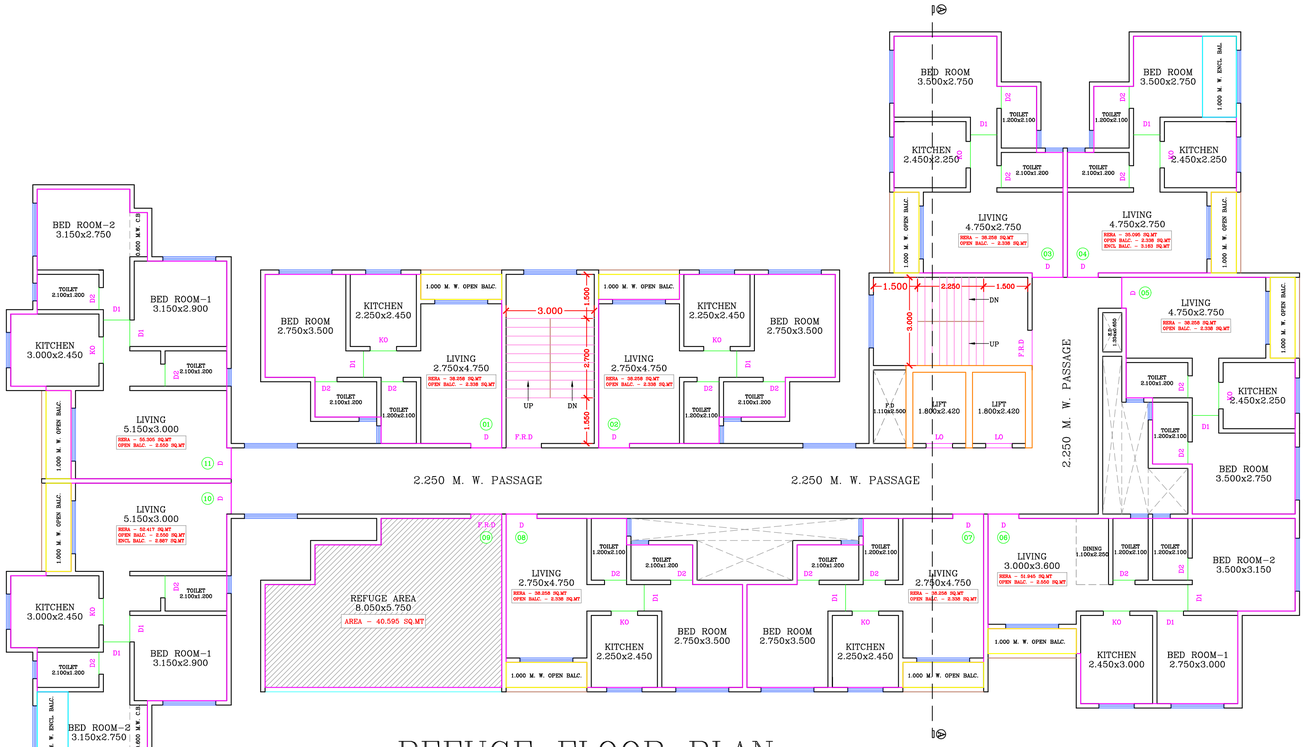

REFUGE FLOOR PLAN
(7TH, 12TH & 17TH FLOOR)
SCALE 1:100

BUILT UP AREA CALCULATION FOR 7TH,12TH,17TH FLOOR SHIV VATIKA			
AREA NAME	LENGTH	WIDTH	Area(Sq.M)
BLOCK	44.000	25.390	693.131
		BLOCK AREA TOTAL	=693.131Sq.M
Refuge1	-	-	43.121
Void3	-	-	2.775
Void2	-	-	0.867
Void1	-	-	9.000
LiftWell2	-	-	4.356
LiftWell1	-	-	4.356
Duct1	-	-	10.200
		TOTAL Deduction	=74.675Sq.M
		Net Built Up Area	=618.456 Sq.M

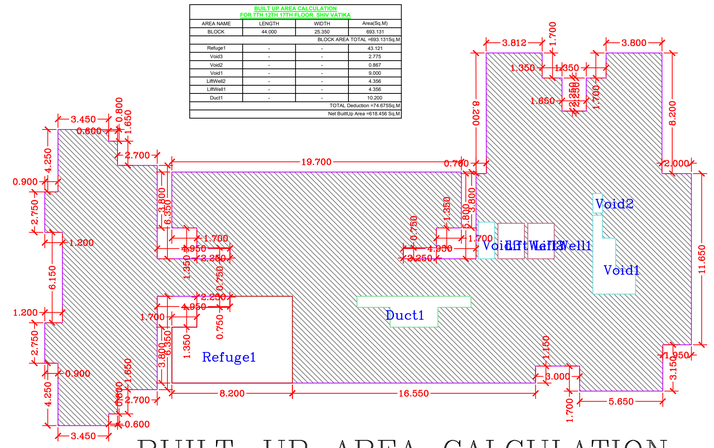

BUILT-UP AREA CALCULATION
REFUGE FLOOR PLAN
(7TH, 12TH & 17TH FLOOR)
SCALE 1:200

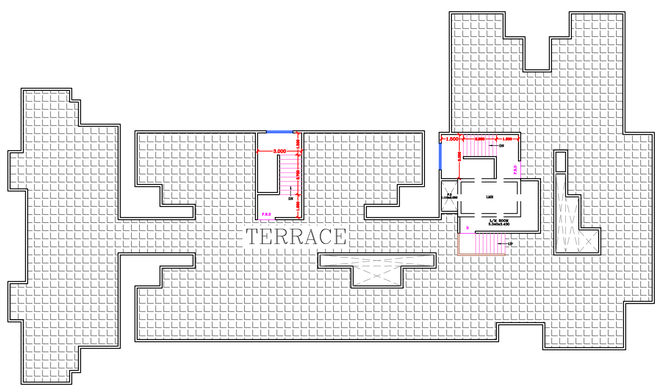

TERRACE FLOOR PLAN
SCALE 1:200

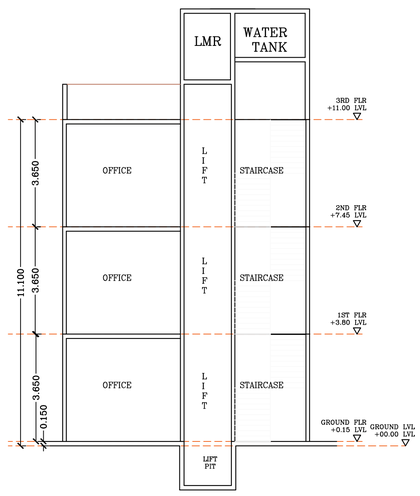

HANDOVER TO KDMC
BUILDING SECTION A-A
SCALE 1:100

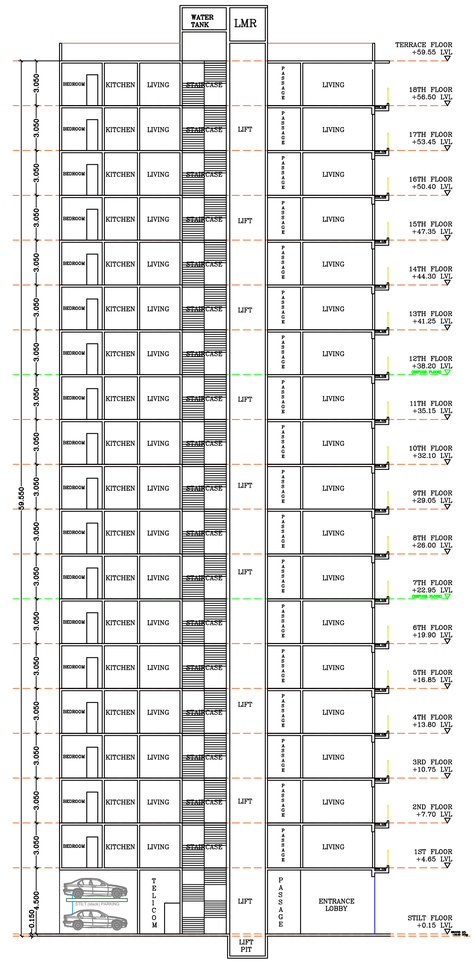

SECTION A-A
SCALE 1:200

Reserved for Stamps of Approval plan

FLOOR PLAN	SHEET NO. 3/3

Proforma I : Area Statement

1. Area of plot (Minimum area of a, b, c to be considered)	3680.000
(a) As per ownership document (7/12, CTS extract)	3680.000
(b) as per TILR or City Survey measurement sheet	3680.000
(c) as per Demarcated drawing area	3688.818
LESS	
2.Area not in possession	0.000
3. Area Proposed for development (out of 1-2)	3680.000
4.Deductions for(out of 3)	
(a) Proposed D.P./ D.P. Road widening Area/Proposed DP road, Road under MMC act	0.000
(b) Any D.P. Reservation area	0.000
(c) Green Belt	0.000
(Total a+b+c)	0.000
5. Plot Under accommodation Reservation	3680.000
6.Recreational Open Space (Not applicable if plots are from sanctioned layout)	-
(a). If area is more than (5) 4000 sqmt - 10 % of (5) is required.	0.000
Proposed___	0.000
(b). If area is less than 4000 sqmt	-
(A)10 % Subject to minimum 200 sqmt(Not applicable if plots are from sanctioned layout or each plot admesuring less than 4000sq.m regularised under gunthewari act)	0.000
Proposed _____	0.000
(B)Exemption to leave open space subject to availing basic F.S.I of 75 %	-
(C)Exemption to leave open space subject to payment of 10 % land value of land at (7) as per annual statement of rate.	-
Architect/ Licensed Engineer/ Supervisor name and signature	
Registration No. of Architect/ License no. of Licensed Engineer/ Supervisor: CA/2019/106930	

NAME OF OWNER :M/S SKY HEIGHTS INFRASTRUCTURE PVT.LTD. THROUGH ITS PARTNER MR. SHAKTI B. KUSHWAH

Postal Address : 405/Palm Court, K-Wing,Malad Link Road,Malad (w) Dely.Mumbai,Maharashtra-400064

Phone No.:9821143332

DESCRIPTION OF PROJECT :

Type of Proposal : Residential
PROPOSED BUILDING ON PLOT BEARING S.NO :
S.NO.: 47/2/A, 47/3, 48/5, 49/8, AT VILLAGE: UMBARDE,KALYAN.THANE
SITE ADDRESS :
S.NO.: 47/2/A, 47/3, 48/5, 49/8, AT VILLAGE: UMBARDE,
TALUKA: KALYAN, DISTRICT: THANE.

Name Of Architect : Tejas Anil Nirgude

LOGO	ADDRESS OF OFFICE
	OFFICE - 5TH FLOOR, MIDTOWN EMBASSY, BEHIND VASANT VALLEY BUS DEPOT, OPP. NARAYANA SCHOOL, GANDHARE, KALYAN - 421301

OWNERS SIGN -	TECHNICAL PERSON SIGN
	TEJAS ANIL NIRGUDE Digitally signed by TEJAS ANIL NIRGUDE Date: 2026.02.19 16:03:26 +05'30'

SCALE -	DATE: Date: 18/02/26
JOB NO - KDMCC-25-139933	CHECK BY - ANIL

SUBMISSION DRAWING

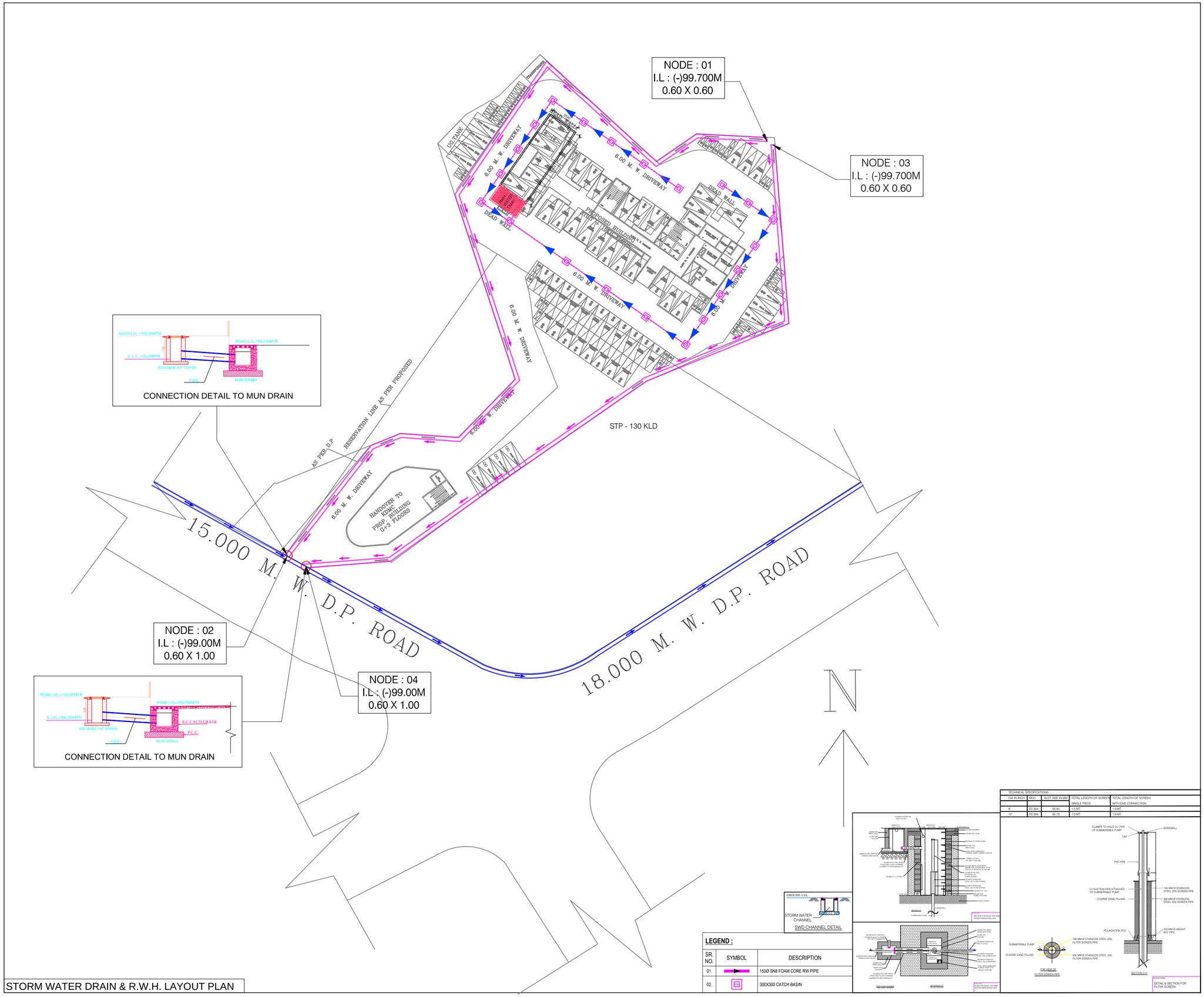
NODE : 01
I.L : (-)99.700M
0.60 X 0.60
NODE : 03
I.L : (-)99.700M
0.60 X 0.60
NODE : 02
I.L : (-)99.00M
0.60 X 1.00
NODE : 04
I.L : (-)99.00M
0.60 X 1.00
CONNECTION DETAIL TO MUN DRAIN
CONNECTION DETAIL TO MUN DRAIN
ROAD LVL.+100.00MTR
ROAD LVL.+99.700MTR
IL LVL.+99.00MTR
IL LVL.+99.700MTR
600 WIDE INT DRAIN
PIPE
MUN DRAIN
R.C.C.M 20 GRADE
P.C.C.
6.00 M. W. DRIVEWAY
DEAD WALL
PROPOSED BUILDING
STP - 130 KLD
RESERVATION LINE AS PER PROPOSED
AS PER D.P.
HANDOVER TO KDMC
PROP. BUILDING
G+3 FLOORS
15.000 M. W. D.P. ROAD
18.000 M. W. D.P. ROAD
N
GROUND LVL.
STORM WATER CHANNEL
SWD CHANNEL DETAIL
LEGEND :
SR. NO.
SYMBOL
DESCRIPTION
01.
150Ø SN8 FOAM CORE RW PIPE
02.
300X300 CATCH BASIN
TECHNICAL SPECIFICATIONS
DIA IN INCH
MOC
SLOT SIZE IN MM
TOTAL LENGTH OF SCREEN SINGLE PIECE
TOTAL LENGTH OF SCREEN WITH END CONNECTION
6"
SS 304
00.50
1.0 MT.
1.9 MT.
12"
SS 304
00.75
1.0 MT.
1.8 MT.
CLAMPS TO HOLD G.I. PIPE OF SUBMERSIBLE PUMP
BOREWELL
CAP
PVC PIPE
G.I SUCTION PIPE ATTACHED TO SUBMERSIBLE PUMP
COARSE SAND FILLING
150 MM Ø STAINLESS STEEL (SS) SCREEN PIPE
300 MM Ø STAINLESS STEEL (SS) SCREEN PIPE
FOUNDATION PCC
100 MM Ø HEIGHT M.S. PIPE
SUBMERSIBLE PUMP
COARSE SAND FILLING
150 MM Ø STAINLESS STEEL (SS) FILTER SCREEN PIPE
300 MM Ø STAINLESS STEEL (SS) FILTER SCREEN PIPE
TOP VIEW OF FILTER SCREEN PIPE
SECTION D-C
DETAIL & SECTION FOR FILTER SCREEN
ELCON ENGINEERS
DOMBIVLI
Digitally signed by SUBODH GOTHOSKAR
DN: c=IN, o=PERSONAL, title=2743, pseudonym=a6b2cf06642f4e609443a721bd6e8b7f, 2.5.4.20=183ac62810c4ef7a8735c39d42970545bf5a4e2852f2a34bf1bd7b0c647bd7ad8a, postalCode=421301, st=Maharashtra, serialNumber=ef39b7b3b4f8c691919b25800f5ace39ca075f25ec0b054694991416d7dd8988, c=IN
Date: 2026.02.26 18:36:31 +05'30'
STORM WATER DRAIN & R.W.H. LAYOUT PLAN

Date: 26.02.2026

To,
Water Connection Department,
Kalyan Dombivli Municipal Corporation,
Kalyan.

Sub: Application of new water connection for domestic purposes to the building on land bearing S.NO.: 47/2/A, 47/3, 48/5, 49/8, AT Village: Umbarde, Kalyan. Thane.

Dear Sir,

With the reference to the above subject, you are kindly requested to approve the water for our residential-cum-commercial project.

1	Name of Project	M/s. Sky Heights Infrastructure Pvt. Ltd.
2	Name of Village & Survey No.	Land Bearing S.NO.: 47/2/A, 47/3, 48/5, 49/8, AT Village: Umbarde, Kalyan. Thane.
3	KDMC Approved No.	-----
5	Total Nos. of Bldg.	2 Nos (Bldg. & KDMC Office)
6	Total Nos. of Flats	196 Nos.
7	Total Nos. of Residents Bldg. KDMC (CWC Reservation)	980 Nos. 4 Nos. (576 .00Sq.M.)
8	Water Requirement per day (i) Residents (196x5x90) (ii) Office (576/10 x 25)	88,200 Liters (88.20 cum) 1,440 Litters (1.44 cum)
9	Expected Year of Completion	2029

We request you kindly grant us an ____mm diameter permanent water connection for residential use & a __mm diameter permanent water connection for commercial use.

Thanking you.

Yours Faithfully,

For, **Elcon Engineers**

SUBODH GOTHOSKAR

Digitally signed by SUBODH GOTHOSKAR
DN: c=IN, o=PERSONAL, title=2743, pseudonym=a6b2cf06442f4e6b9443a721bd6f67f, 2.5.4.20=1f3ac5281104e07a8735c39e42970e5bd3a4e28628a04bf1bd7b0b47fe67ed8a, postalCode=421301, st=Maharashtra, serialNumber=e5987638498c69195fb25805fcca39c6d705c35ed8b04d6b9414168358888f8, cn=SUBODH GOTHOSKAR
Date: 2026.02.26 18:37:20 +05'30'

Authorised Signatory

ELCON ENGINEERS DOMBIVLI

Date: 26.02.2026

To,
Water Connection Department,
Kalyan Dombivli Municipal Corporation,
Kalyan.

Sub: Application of new water connection for domestic purposes to the building on land bearing S. No. 47/2/A, 47/3, 48/5, 49/8, AT Village: Umbarde, Kalyan. Thane.

Dear Sir,

With the reference to the above subject, you are kindly requested to approve the water for our Residential-cum-Commercial project.

1. Following are the details of the project & water requirement for Residential.

Name of the project	: M/s. Sky Heights Infrastructure Pvt. Ltd.
Total nos. of flats	: 196 Nos
KDMC Bldg. KDMC (CWC Reservation) Office	: 4 Nos.
Total nos. of Persons	: 980 Nos
KDMC (CWC Reservation) Office Area	: 576.00 Sq.M
Water requirement per day	: 88,200.00 Liters
KDMC (CWC Reservation) Office water requirement	: 1,440 Litters
Require dia of main connection	:

We request you kindly grant us an ____mm diameter permanent water connection for residential use & a __ mm diameter permanent water connection for commercial use.

Thanking you.

Yours Faithfully,

For, **Elcon Engineers**

SUBODH GOTHOSKAR

Authorised Signatory

Date: 26.02.2026

To,
Water Connection Department,
Kalyan Dombivli Municipal Corporation,
Kalyan.

Sub: Application of new water connection for domestic purposes to the building on land bearing S.NO.: 47/2/A, 47/3, 48/5, 49/8, AT Village: Umbarde, Kalyan. Thane.

Dear Sir,

With the reference to the above subject, you are kindly requested to approve the water connection of 0.088 MLD for our above said residential project.

Following are the details of the project & water requirement for Residential,

i.	Name of the project	: M/s. Sky Heights Infrastructure Pvt. Ltd.
ii.	Total no. of Flats	: 196 Nos.
iii.	Total no. of Population Flats	: 196 x 5 = 980 Persons.
iv.	Domestic Water requirements per day of Flats	: 980 x 90 = 88200.00 Liters.
v.	Flushing Water requirement per day of Flats (STP)	: 980 x 45 = 44100.00 Liters.
vi.	**Total Water requirement per day Flats**	**: 132300.00 Liters.**
vii.	Total Domestic Water requirement per day Resi.	: 88200.00 Liters.
viii.	Required quota per day	: 0.088 MLD.
ix.	KDMC Bldg. KDMC (CWC Reservation)	: 4 Nos. (576 Sq.M.)
x.	Domestic Water requirements per day of Office	: 576/10 x 20 = 1152.00 Liters.
xi.	Flushing Water requirement per day of Flats (STP)	: 576/10 x 25 = 1440.00 Liters
xii.	**Total Water requirement per day Flats**	**: 2592.00 Liters.**
xiii.	Total Domestic Water requirement per day Office	: 1440.00 Liters.
xiv.	Required quota per day	: 0.0014 MLD.

We are attaching all supporting documents along with this application.

Thanking you.

Yours Faithfully,

For, **Elcon Engineers**

SUBODH GOTHOSKAR

ELCON ENGINEERS DOMBIVLI

Authorised Signatory

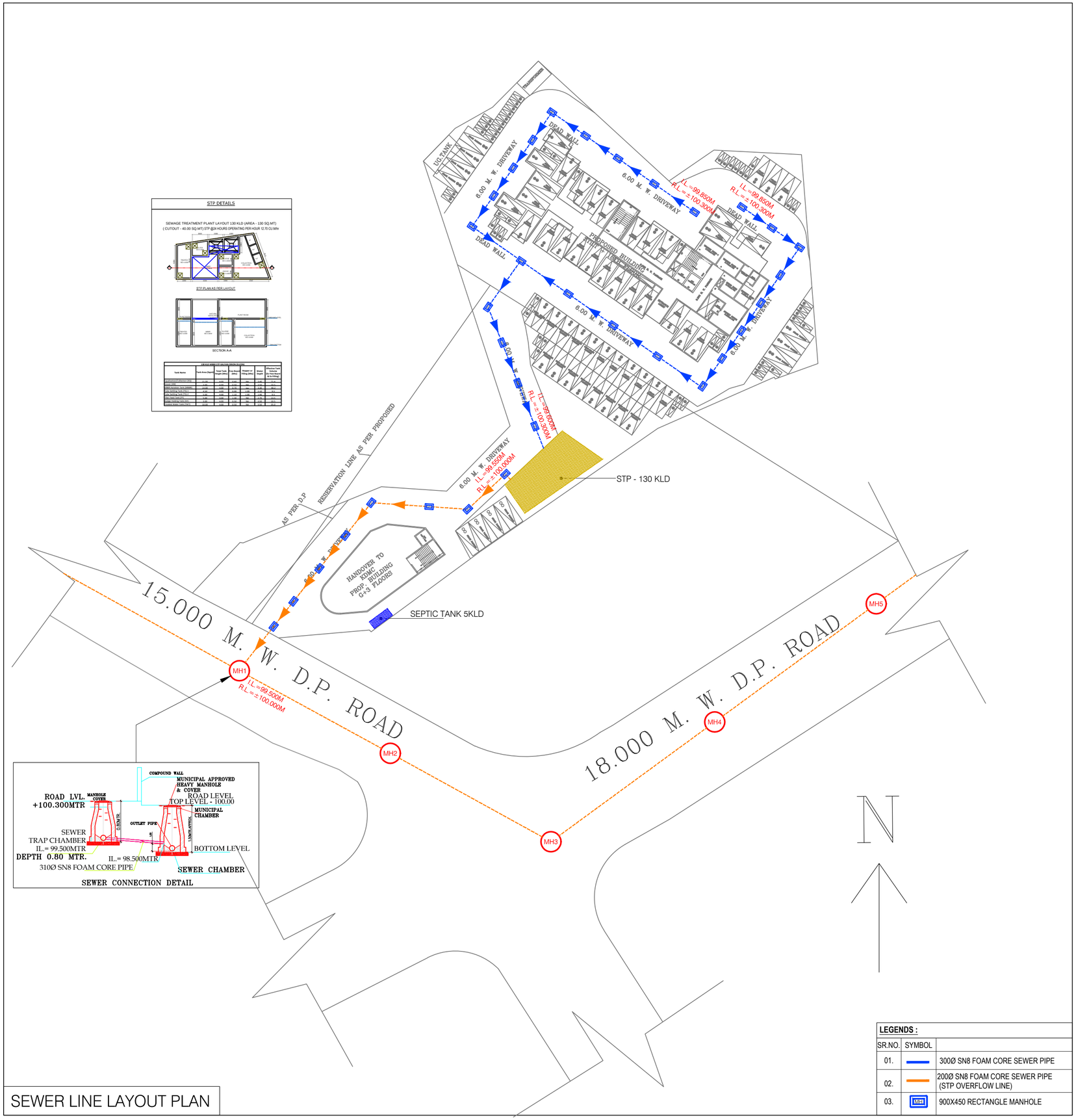

ELCON ENGINEERS DOMBIVLI

Digitally signed by SUBODH GOTHOSKAR
DN: c=IN, o=PERSONAL, title=2743, pseudonym=a6b2cf06642f4e609443a721bd66f67f, 2.5.4.20=183ac62810c4ef7a873fc39d4297045bd3a4e2852f3a34bf1bd70cb479d7ad8a, postalCode=421301, st=Maharashtra, serialNumber=ef390763b4f8c69191fe25800f5aca39ca0755c25ec0b0546949141687dd8988, cn=SUBODH GOTHOSKAR
Date: 2026.02.26 18:35:52 +05'30'