MAHAVEER SIGNATURE															
BUILDING	FLOORS	FSI AREA						BALCONY	TERRACE	LIFT	LIFTWELL	DUCT	VENT	OTHER	TOTAL
		COMM	RESI.	INO.	EDU.	INS.	MCZZ.	PROP.					SHAFT	DEDUCTION	FSI AREA
MAHAVEER SIGNATURE	GROUND FLOOR	619.369	101.370	0.000	0.000	0.000	0.000	0.000	0.000	20.240	0.000	0.000	0.000	11.960	708.710
MAHAVEER SIGNATURE	1ST FLOOR	713.677	19.735	0.000	0.000	0.000	0.000	0.000	0.000	0.000	22.356	0.000	0.000	11.265	730.768
MAHAVEER SIGNATURE	2ND FLOOR	742.636	30.727	0.000	0.000	0.000	0.000	0.000	0.000	0.000	22.356	0.000	0.000	21.538	749.445
MAHAVEER SIGNATURE	3RD FLOOR	0.000	628.014	0.000	0.000	0.000	0.000	0.000	0.000	0.000	13.400	0.000	0.000	27.766	586.648
MAHAVEER SIGNATURE	4TH 5TH 7TH TO 10TH 12TH TO 14TH 16TH TO 18TH 20TH AND 21FIRST FLOOR	0.000	9542.386	0.000	0.000	0.000	0.000	645.442	0.000	0.000	187.600	643.482	0.000	214.424	8496.880
MAHAVEER SIGNATURE	6TH 11TH 15TH AND 19 FLOOR	0.000	2768.436	0.000	0.000	0.000	0.000	170.344	0.000	0.000	53.600	156.828	0.000	196.280	2361.728
MAHAVEER SIGNATURE	TOTAL	2075.613	13141.881	0.000	0.000	0.000	0.000	815.786	0.000	20.240	299.312	800.310	0.000	483.253	13634.399

FSI DETAILS											
9 Index	Basic FSI (on serial no 7)	Premium FSI (on serial no 3)	TDR/DR (on serial no 3)	Incentive FSI green building Application (on basic FSI)	Additional FSI (16.11 Note 3)	Ancillary Area FSI, A (1+2+3+4)	Ancillary Area FSI, B (7+8+9+10)	Total	Inclusive Housing (DPS) If Applicable	Drawing Value
9.1 Permissible Index	1.100	0.500	1.150	0.000	0.000	0.000	0.000	2.750	0.000	0.000
9.2 Existing Consumed Index	0.000	0.000	0.000	0.000	0.000	0.000	0.000	0.000	0.000	0.000
9.3 Balance Index to be Consumed	1.100	0.500	1.150	0.000	0.000	0.000	0.000	0.000	0.000	0.000
9.4 Total Permissible Plot Area	2348.291	1628.405	4205.331	0.000	0.000	4354.960	899.008	13635.996	0.000	0.000
9.5 Proposed F Line Area (Should not exceed 9.4)	2348.291	1628.405	4205.331	0.000	0.000	4353.364	899.008	13634.399	0.000	13634.399
9.6 Index Consumed	1.100	0.500	1.150	0.000	0.000	0.000	0.000	2.750	0.000	0.000

Carpet Area Table									
Building Name	Floor Name	Carpet name	Tenament No.	Carpet Area	Enclosed Balcony Area	Normal Balcony Area	Wesszotne Area	Total Carpet Area
MAHAVEER SIGNATURE	6TH 11TH 15TH AND 19 FLOOR	1	4	68.864	0.000	4.599	0.000	68.864
MAHAVEER SIGNATURE	6TH 11TH 15TH AND 19 FLOOR	2	4	66.790	0.000	6.993	0.000	66.790
MAHAVEER SIGNATURE	6TH 11TH 15TH AND 19 FLOOR	3	4	79.548	3.150	12.624	0.000	82.698
MAHAVEER SIGNATURE	6TH 11TH 15TH AND 19 FLOOR	4	4	64.597	0.000	7.610	0.000	64.597
MAHAVEER SIGNATURE	6TH 11TH 15TH AND 19 FLOOR	5	4	64.597	0.000	7.610	0.000	64.597
MAHAVEER SIGNATURE	4TH 5TH 7TH TO 10TH 12TH TO 14TH 16TH TO 18TH 20TH AND 21FIRST FLOOR	1	14	68.864	0.000	0.000	0.000	68.864
MAHAVEER SIGNATURE	4TH 5TH 7TH TO 10TH 12TH TO 14TH 16TH TO 18TH 20TH AND 21FIRST FLOOR	2	14	66.790	0.000	4.473	0.000	66.790
MAHAVEER SIGNATURE	4TH 5TH 7TH TO 10TH 12TH TO 14TH 16TH TO 18TH 20TH AND 21FIRST FLOOR	3	14	91.869	3.150	3.517	0.000	95.019
MAHAVEER SIGNATURE	4TH 5TH 7TH TO 10TH 12TH TO 14TH 16TH TO 18TH 20TH AND 21FIRST FLOOR	4	14	64.597	0.000	7.610	0.000	64.597
MAHAVEER SIGNATURE	4TH 5TH 7TH TO 10TH 12TH TO 14TH 16TH TO 18TH 20TH AND 21FIRST FLOOR	5	14	64.597	0.000	7.610	0.000	64.597
MAHAVEER SIGNATURE	2ND FLOOR	4	1	31.062	0.000	0.000	0.000	31.062
MAHAVEER SIGNATURE	2ND FLOOR	5	1	64.749	0.000	0.000	0.000	64.749
MAHAVEER SIGNATURE	2ND FLOOR	6	1	21.900	0.000	0.000	0.000	21.900
MAHAVEER SIGNATURE	2ND FLOOR	7	1	21.810	0.000	0.000	0.000	21.810
MAHAVEER SIGNATURE	2ND FLOOR	8	1	17.610	0.000	0.000	0.000	17.610
MAHAVEER SIGNATURE	2ND FLOOR	9	1	21.135	0.000	0.000	0.000	21.135
MAHAVEER SIGNATURE	2ND FLOOR	10	1	21.135	0.000	0.000	0.000	21.135
MAHAVEER SIGNATURE	2ND FLOOR	11	1	17.986	0.000	0.000	0.000	17.986
MAHAVEER SIGNATURE	2ND FLOOR	12	1	36.499	0.000	0.000	0.000	36.499
MAHAVEER SIGNATURE	2ND FLOOR	1	1	117.218	0.000	0.000	0.000	117.218
MAHAVEER SIGNATURE	2ND FLOOR	13	1	62.336	0.000	0.000	0.000	62.336
MAHAVEER SIGNATURE	2ND FLOOR	3	1	32.945	0.000	0.000	0.000	32.945
MAHAVEER SIGNATURE	1ST FLOOR	4	1	31.056	0.000	0.000	0.000	31.056
MAHAVEER SIGNATURE	1ST FLOOR	5	1	64.749	0.000	0.000	0.000	64.749
MAHAVEER SIGNATURE	1ST FLOOR	6	1	21.900	0.000	0.000	0.000	21.900
MAHAVEER SIGNATURE	1ST FLOOR	7	1	21.810	0.000	0.000	0.000	21.810
MAHAVEER SIGNATURE	1ST FLOOR	8	1	17.630	0.000	0.000	0.000	17.630
MAHAVEER SIGNATURE	1ST FLOOR	9	1	21.135	0.000	0.000	0.000	21.135
MAHAVEER SIGNATURE	1ST FLOOR	10	1	21.135	0.000	0.000	0.000	21.135
MAHAVEER SIGNATURE	1ST FLOOR	11	1	17.630	0.000	0.000	0.000	17.630
MAHAVEER SIGNATURE	1ST FLOOR	12	1	36.499	0.000	0.000	0.000	36.499
MAHAVEER SIGNATURE	1ST FLOOR	1	1	106.740	0.000	0.000	0.000	106.740
MAHAVEER SIGNATURE	1ST FLOOR	2	1	53.272	0.000	0.000	0.000	53.272
MAHAVEER SIGNATURE	1ST FLOOR	3	1	33.940	0.000	0.000	0.000	33.940
MAHAVEER SIGNATURE	1ST FLOOR	13	1	62.335	0.000	0.000	0.000	62.335
MAHAVEER SIGNATURE	GROUND FLOOR	1	1	41.409	0.000	0.000	0.000	41.409
MAHAVEER SIGNATURE	GROUND FLOOR	2	1	51.798	0.000	0.000	0.000	51.798
MAHAVEER SIGNATURE	GROUND FLOOR	3	1	26.362	0.000	0.000	0.000	26.362
MAHAVEER SIGNATURE	GROUND FLOOR	4	1	36.331	0.000	0.000	0.000	36.331
MAHAVEER SIGNATURE	GROUND FLOOR	5	1	44.140	0.000	0.000	0.000	44.140
MAHAVEER SIGNATURE	GROUND FLOOR	6	1	38.115	0.000	0.000	0.000	38.115
MAHAVEER SIGNATURE	GROUND FLOOR	7	1	52.784	0.000	0.000	0.000	52.784
MAHAVEER SIGNATURE	GROUND FLOOR	8	1	19.455	0.000	0.000	0.000	19.455
MAHAVEER SIGNATURE	GROUND FLOOR	9	1	18.857	0.000	0.000	0.000	18.857
MAHAVEER SIGNATURE	GROUND FLOOR	10	1	15.472	0.000	0.000	0.000	15.472
MAHAVEER SIGNATURE	GROUND FLOOR	11	1	18.888	0.000	0.000	0.000	18.888
MAHAVEER SIGNATURE	GROUND FLOOR	12	1	18.865	0.000	0.000	0.000	18.865
MAHAVEER SIGNATURE	GROUND FLOOR	13	1	15.495	0.000	0.000	0.000	15.495
MAHAVEER SIGNATURE	GROUND FLOOR	14	1	31.417	0.000	0.000	0.000	31.417
MAHAVEER SIGNATURE	GROUND FLOOR	15	1	50.394	0.000	0.000	0.000	50.394

Area utilisation of Roads and Reservations							
Description of area utilisation			surrendered Area include	Quotion of DP/TDR generation	Total Quotion of DP/TDR generation	Area utilised for DP utilisation	Remaining area for DP/TDR generation
BUILDING	Reservation type	reservation no	Name				
-	-	12.00M or DP Road Widening	1522.000	3044.000	3044.000	0.000	0.000
-	-	Total	1522.000	3044.000	3044.000	0.000	3044.000

Parking Check (Table 8A)								
			RATIO		Required			
Building Name	USE	TENAMENT AREA	car	scooter	NO.OF Tonas/Area/Units	car	scooter	Handicapped vehicle/Mini Bus
MAHAVEER SIGNATURE	Residential	For every ten tenements with each tenement having carpet area equal to or above 40 sq.m. but less than 70 sq.m.	1	2	76	38.000	76.000	-
MAHAVEER SIGNATURE	Residential	For every tenement having carpet area equal to or above 70 sq.m. but less than 150 sq.m.	1	1	14	14.000	14.000	-
MAHAVEER SIGNATURE	Commercial	For every 100 sq.m. carpet area or fraction thereof	2	6	479.793	9.596	28.787	-
MAHAVEER SIGNATURE	Commercial	For every 200 sq.m. carpet area or fraction thereof	3	11	975.519	14.633	53.654	1.000
Total	-	-	-	-	-	76.228	172.441	1.000
Visitors parking(5%)	-	-	-	-	-	2.893	4.500	
Total						78.828	176.941	1.000

Parking Check As Per Multiplying Factor 0.808 (note - 1) 5 scooter equals to 1 car, proposed composite parking for car= 39)							
	Required			Proposed			
Building Name	Car	Scooter	Transport Vehicle/Ambula nce/Mini bus	Car	Scooter	Transport Vehicle/Ambula nce/Mini bus	Status
Total	93	0	1	96	0	1	OK

Telecom Room			
Building	Req. Size	Prop. Size	Status
MAHAVEER SIGNATURE	Other/Telecomnificaion	3.000X3.400	OK

SCHEDULE OF OPENING				
BLD NAME	NAME	LENGTH	HEIGHT	Nos.
MAHAVEER SIGNATURE	v	0.600	0.750	42

Owner Details		
Owner Name	Postal Address	Contact Number
MAHAVEER TRADERS	6 Micasa Building,Pot No.37,24th Off Turner Road,Opp Tava Restaurant,Bandra West,Mumbai,Mumbai-400050,Maharashtra	9833306070
Rajesh O Gupta	1, Prabhavati Bhavan, Station Road, Near Ashok Talkies, Thane (W), Maharashtra 400601, India	9833306070

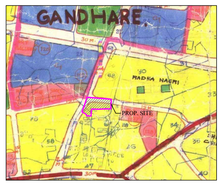

LOCATION PLAN

N

Project Details
Proposal code-KDMCC-25-133119
Zone Type-Residential Zone
Location Non-Congested
Name of service-Building Development
Sub service-
City No./Survey No.-28
Tahsil-Section 3
Mouza-Gandhare
Prorata Value-0.000
Separation/CRZ Zone Area:-

LEGENDS:
EXISTING/PROPOSED WALLS
EXISTING WALLS TO BE DEMOLISHED
PROPOSED NEW DUCTS
EXISTING DUCTS TO BE DEMOLISHED LIGHT SHUTTER LINE SHOWN BLUE DOTTED
EXISTING SHUTTER LINE SHOWN DARK YELLOW
PROPOSED SHUTTER LINE SHOWN
EXISTING SHOWN BLUE DETTED

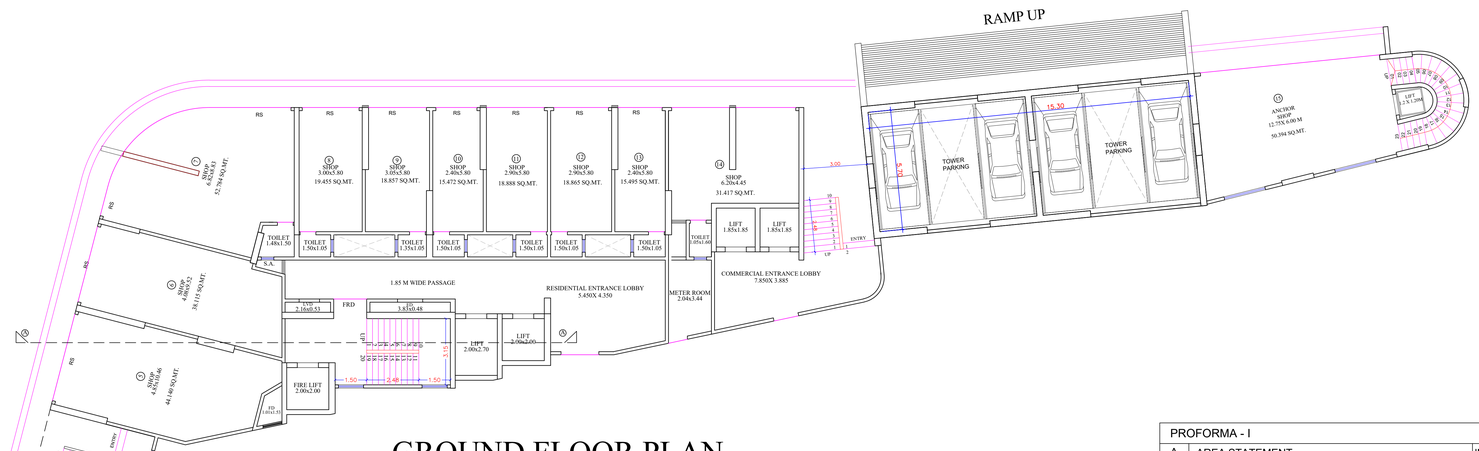

GROUND FLOOR PLAN

SCALE 1:100

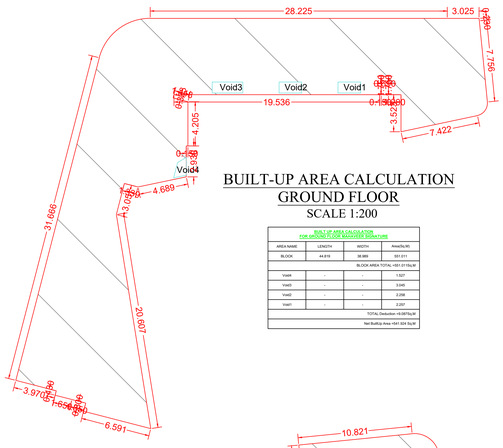

BUILT-UP AREA CALCULATION GROUND FLOOR

SCALE 1:200

BUILT UP AREA CALCULATION FOR GROUND FLOOR MAHAVEER SIGNATURE

AREA NAME	LENGTH	WIDTH	Area(Sq.M)
BLOCK	44.616	38.885	551.011
BLOCK AREA TOTAL =551.011Sq.M			
VoidI	-	-	13.07
VoidII	-	-	3.049
VoidIII	-	-	2.208
VoidIV	-	-	2.233
TOTAL Deduction =20.560Sq.M			
Net BuiltUp Area =541.524 Sq.M			

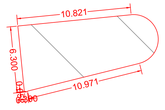

BUILT-UP AREA CALCULATION GROUND FLOOR

SCALE 1:200

BUILT UP AREA CALCULATION FOR GROUND FLOOR MAHAVEER SIGNATURE

AREA NAME	LENGTH	WIDTH	Area(Sq.M)
BLOCK	13.351	7.356	98.209
BLOCK AREA TOTAL =98.209Sq.M			
TOTAL Deduction =0.000Sq.M			
Net BuiltUp Area =98.209 Sq.M			

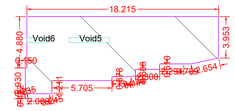

BUILT-UP AREA CALCULATION GROUND FLOOR

SCALE 1:200

BUILT UP AREA CALCULATION FOR GROUND FLOOR MAHAVEER SIGNATURE

AREA NAME	LENGTH	WIDTH	Area(Sq.M)
BLOCK	16.365	7.809	101.370
BLOCK AREA TOTAL =101.370Sq.M			
VoidI	-	-	1.007
VoidII	-	-	1.606
TOTAL Deduction =2.613Sq.M			
Net BuiltUp Area =98.757 Sq.M			

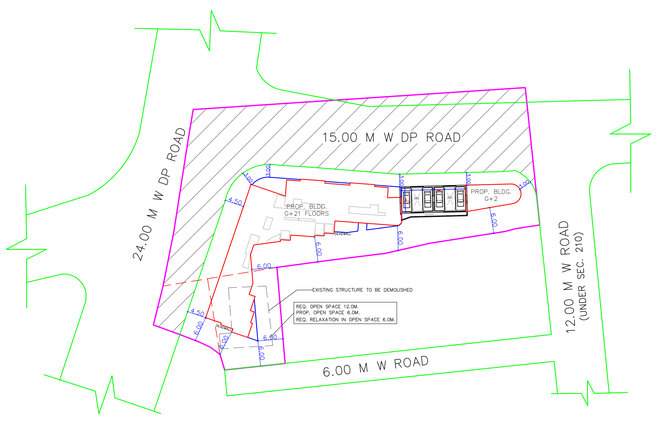

LAYOUT PLAN

SCALE 1:500

N

PROFORMA - I			
A		AREA STATEMENT	IN SQ.MT.
1	A)	AREA OF PLOT	
	a)	AS PER OWNERSHIP DOCUMENT (7/12)	3656.81
	b)	AS PER MEASUREMENT SHEET	3656.81
	c)	AS PER SITE POSSESION	3656.81
2		DEDUCTIONS FOR	
	a)	15.00 M. W. D.P. ROAD AREA	1015.00
	b)	24.00 M. W. D.P. ROAD AREA	507.00
	c)	TOTAL (a+b)	1522.00
3		BALANCE AREA OF PLOT (1 Minus 2)	2134.810
4		AMMENITY SPACE IF APPLICABLE	--
	a)	REQUIRED	--
	b)	ADJUSTMENT OF IF ANY	--
	c)	BALANCE PROPOSED	--
5		NET PLOT AREA (3-4 (C))	2134.810
6		RECREATIONAL OPEN SPACE (IF APPLICABLE)	--
	a)	REQUIRED R.G.	--
	b)	PROPOSED R.G.	--
7		INTERNAL ROAD AREA	--
8		PLOTABLE AREA	--
9		BUILT UP AREA WITH REF. TO BASIC FSI AS PER FRONT ROAD WIDTH (SR.NO. 5 X BASIC FSI) 2134.810 X 1.10 = 2348.291	2348.291
10		ADDITION OF FSI ON PAYMENT PREMIUM	
		MAXIMUM PERMISSIBLE PREMIUM FSI BASED ON ROAD WIDTH/TOD ZONE	
		PROPOSED FSI ON PAYMENT OF PREMIUM 3656.810 X 0.5 = 1828.405	1828.405
11		IN-SITU FSI/TDR LOADING	--
	a)	D P. ROAD 15M & 24M 1015.00 X 2.00= 2030.00 507.00 X 2.00= 1014.00 TOTAL = 3044.000	3044.000
	b)	TDR AREA 3656.81 X 1.15 = 4205.331 - 3044.000 = 1161.331	1161.331
	c)	TOTAL IN-SITU/TDR LOADING PROPOSED (11 (a)+(b)+(c)	4205.331
12		ADDITIONAL FSI AREA UNDER CHAPTER NO.7	--
13		TOTAL ENTITLEMENT OF FSI IN THE PROPOSAL	
14	a)	[9+10+11(c) or 12 WHICHEVER IS APPLICABLE	8382.027
	b)	ANCILLARY AREA FSI UPTO 60% OR 80% WITH PAYMENT OF CHARGES COMMERCIAL AREA 1123.760 X 0.8 = 899.008 SQ.MT RESIDENTIAL AREA 7258.267 X 0.6 = 4354.960 SQ.MT TOTAL = 5253.968 SQ.MT OUT OF THIS = 5252.372 SQ.MT	5252.372
	c)	TOTAL ENTITLEMENT (a+b)	13634.399
14		MAXIMUM UTILISATION LIMIT OF FSI (BUILDING POTENTIAL) PERMISSIBLE AS PER ROAD WIDTH As per Regulation no. 6.1 or 6.2 or 6.3 or 6.4 as applicable)x1.6 or1.8	
15		TOTAL BUILT UP AREA IN PROPOSAL (EXCLUDING AREA AT SR. NO.17(b)	
	a)	PROPOSED BUILT UP AREA (AS PER P LINE)	13634.399
	b)	EXISTING BUILT UP AREA	0.000
	c)	TOTAL (a+b)	13634.399
16		FSI CONSUMED (15/13)	
17		AREA FOR INCLUSIVE HOUSING IF ANY	
	a)	REQUIRED (20% OF SR. NO.:9)	
	b)	PROPOSED (20% OF SR. NO.:9)	

Proforma I : Area Statement	
1.Area of plot (Minimum area of a, b, c to be considered)	3656.810
(a) As per ownership document (7/12, CTS extract)	3656.810
(b) as per TILR or City Survey measurement sheet	3656.810
(c) as per Demarcated drawing area	3656.810
LESS	-
2.Area not in possession	0.000
3. Area Proposed for development (out of 1-2)	3656.810
4.Deductions for	-
(a) Proposed D.P / D.P. Road widening Area / Service Road / Highway widening	1522.000
(b) Any D.P. Reservation area	0.000
(c) Green Belt	0.000
Total (a+b+c)	1522.000
5.Balance area of plot (3-4)	2134.810
6. Amenity Space	0.000
(Applicable if (1) > 20000 sqmt	-
(Required -(a) Upto 20000 sqmt - Nil	-
(b) Above 20000 sqmt - (a) + 5% of Total area	0.000
7. Net Plot Area (5-6)	2134.810
8. Recreational Open Space	-
(a) If area (5) is more than 4000 sqmt - 10 % of (5) is required.	0.000
Proposed _____	0.000
(b) If area is less than 4000 sqmt -Check -	-
i) If it is full number like 1,2,125,419,etc. As per 7.12 abstract or City Survey Number - No Recreational open space is required	-
ii) If it is subdivision like 1/2 ,2/5 , 125/1 419/1 etc.then recreational open space is required.	-
(A) 10 % Subject to minimum 200 sqmt	0.000
Proposed _____	0.000
(B) Exemption to leave open space subject to availing basic F.S.I of 75 %	-
(C) Exemption to leave open space subject to payment of 10 % land value of land at (7) as per annual statement of rate.	-
Architect/ Licensed Engineer/ Supervisor name and signature	
Registration No. of Architect/ License no. of Licensed Engineer/ Supervisor: CA/2019/106930	

Certificate of Area:
Certified that the plot under reference was surveyed by me on_____ and the dimensions of sides etc. of plot stated on plan are as measured on site and the area so worked out tallies with the area stated in document of Ownership/ T.P. Scheme Records/Land Records Department/City Survey records.

Signature
(Name of Architect/ Licensed Engineer/ Supervisor.)

Owner's Declaration :
I/We undersigned hereby confirm that I/We would abide by plans approved by Authority / Collector. I/We would execute the structure as per approved plans. Also I/We would execute the work under supervision of proper technical person so as to ensure the quality and safety at the work site.

Owner (s) name and signature

FOR, MRS.PAYAL RAJESH GUPTA & JAI ALPESH CHS. LTD.& OTHERS
POA, MAHAVEER TRADERS.
THROUGH - PARTNER: SHRI RAJESH O. GUPTA
Postal Address : 4 Micasa Building,Plot No.37,24th Off Turner Road,Opp Tava Restaurant,Bandra West,Mumbai,Mumbai-400050,Maharashtra.

DESCRIPTION OF PROJECT :
Type of Proposal : Mixed
BUILDING ON CTS. NO. 949, 950, 940, 951, 952, 938/A, AT VILLAGE - GANDHARE, TAL. KALYAN DIST. THANE.
SITE ADDRESS :
CTS NO. 949, 950, 940, 951, 952, 938/A, AT VILLAGE -GANDHARE TAL. KALYAN DIST. THANE.

Name Of Architect : Tejas Anil Nirgude

LOGO	ADDRESS OF OFFICE	
	OFFICE - 5TH FLOOR, MIDTOWN EMBASSY, BEHIND VASANT VALLEY BUS DEPOT, OPP. NARAYANA SCHOOL, GANDHARE, KALYAN - 421301	
OWNERS SIGN -		TECHNICAL PERSON SIGN
	SCALE -	Date: 01/12/25
	JOB NO - KDMCC-25-133119	CHECK BY -

LAYOUT PLAN | SHEET NO. 1/4

SUBMISSION DRAWING

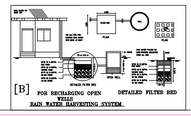

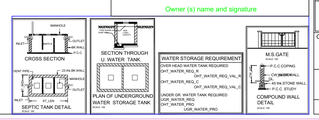

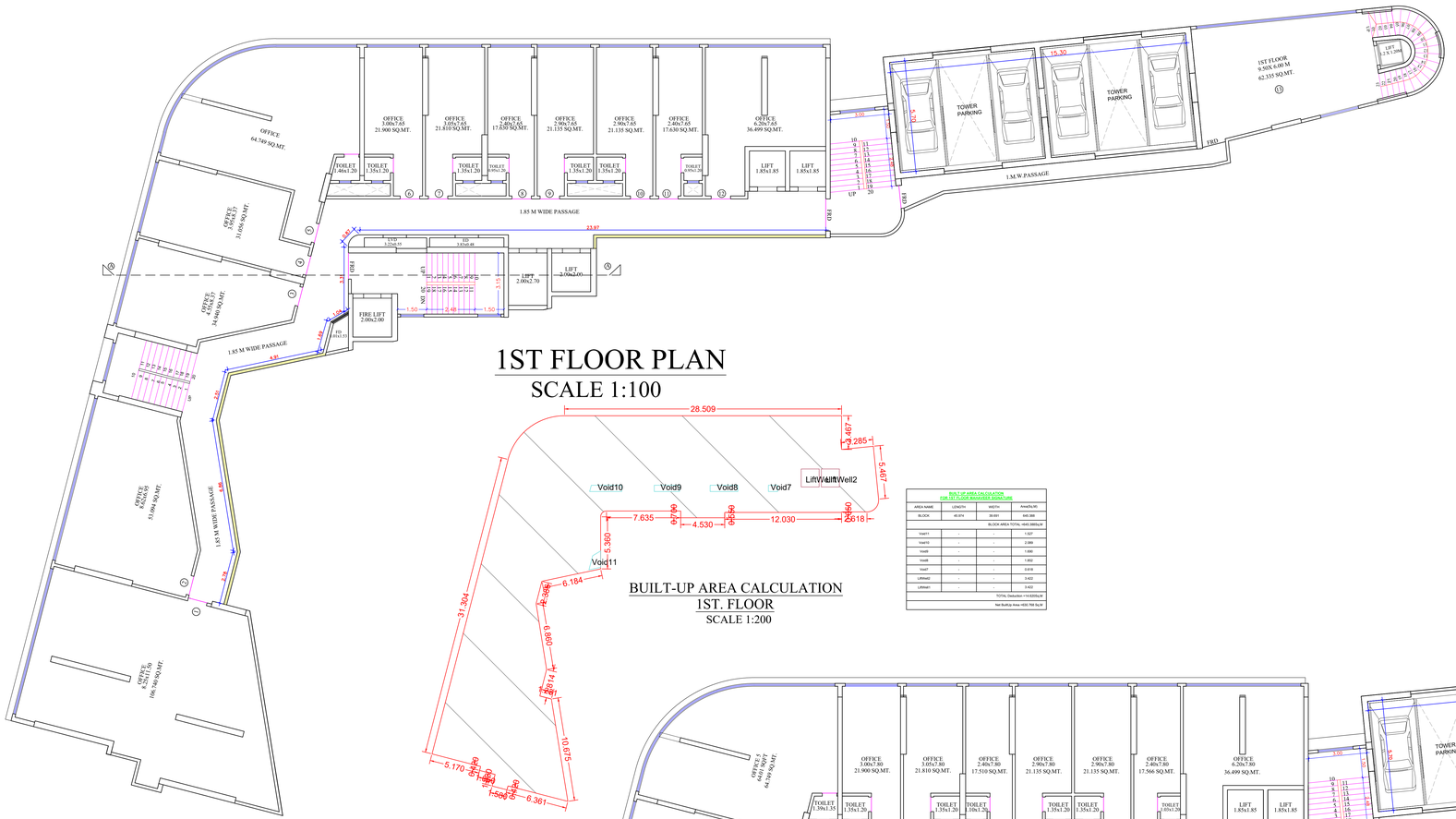

1ST FLOOR PLAN
SCALE 1:100

BUILT-UP AREA CALCULATION
1ST. FLOOR
SCALE 1:200

BUILT-UP AREA CALCULATION
FOR 1ST FLOOR BHAVESH SIGNATURE

AREA NAME	LENGTH	WIDTH	Area(Sq.M)
BLOCK	45.974	39.885	645.388
BLOCK AREA TOTAL =645.388SqM			
Void11	-	-	1.527
Void10	-	-	2.089
Void9	-	-	1.690
Void8	-	-	1.852
Void7	-	-	0.618
LiftWell2	-	-	3.422
LiftWell1	-	-	3.422
TOTAL Deduction =14.620SqM			
Net BuiltUp Area =630.768 SqM			

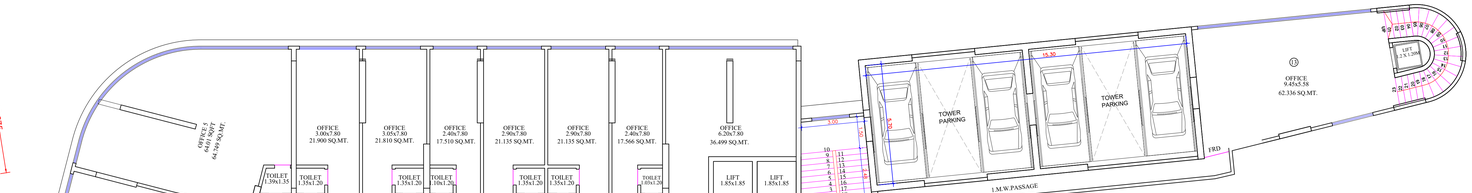

2ND FLOOR PLAN
SCALE 1:100

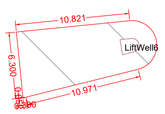

BUILT-UP AREA CALCULATION
1ST. FLOOR
SCALE 1:200

BUILT-UP AREA CALCULATION
FOR 1ST FLOOR BHAVESH SIGNATURE

AREA NAME	LENGTH	WIDTH	Area(Sq.M)
BLOCK	10.391	7.056	98.286
BLOCK AREA TOTAL =98.286SqM			
LiftWell6	-	-	2.112
TOTAL Deduction =2.112SqM			
Net BuiltUp Area =96.177 SqM			

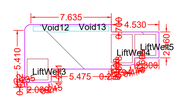

BUILT-UP AREA CALCULATION
1ST. FLOOR
SCALE 1:200

BUILT-UP AREA CALCULATION
FOR 1ST FLOOR BHAVESH SIGNATURE

AREA NAME	LENGTH	WIDTH	Area(Sq.M)
BLOCK	12.765	5.999	76.729
BLOCK AREA TOTAL =76.729SqM			
Void12	-	-	1.936
Void13	-	-	1.653
LiftWell3	-	-	4.000
LiftWell4	-	-	3.400
LiftWell5	-	-	3.000
TOTAL Deduction =14.989SqM			
Net BuiltUp Area =61.739 SqM			

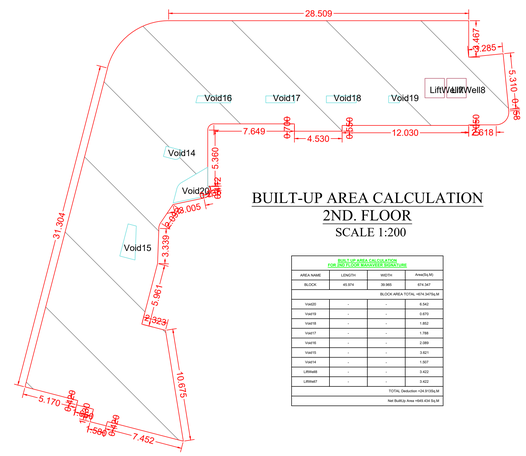

BUILT-UP AREA CALCULATION
2ND. FLOOR
SCALE 1:200

BUILT-UP AREA CALCULATION
FOR 2ND FLOOR BHAVESH SIGNATURE

AREA NAME	LENGTH	WIDTH	Area(Sq.M)
BLOCK	45.974	39.885	674.347
BLOCK AREA TOTAL =674.347SqM			
Void20	-	-	5.542
Void19	-	-	0.675
Void18	-	-	1.852
Void17	-	-	1.798
Void16	-	-	2.089
Void15	-	-	3.621
Void14	-	-	1.527
LiftWell8	-	-	3.422
LiftWell7	-	-	3.422
TOTAL Deduction =19.515SqM			
Net BuiltUp Area =654.832 SqM			

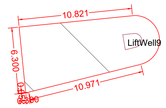

BUILT-UP AREA CALCULATION
2ND. FLOOR
SCALE 1:200

BUILT-UP AREA CALCULATION
FOR 2ND FLOOR BHAVESH SIGNATURE

AREA NAME	LENGTH	WIDTH	Area(Sq.M)
BLOCK	10.391	7.056	98.286
BLOCK AREA TOTAL =98.286SqM			
LiftWell9	-	-	2.112
TOTAL Deduction =2.112SqM			
Net BuiltUp Area =96.177 SqM			

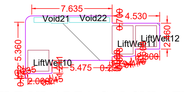

BUILT-UP AREA CALCULATION
2ND. FLOOR
SCALE 1:200

BUILT-UP AREA CALCULATION
FOR 2ND FLOOR BHAVESH SIGNATURE

AREA NAME	LENGTH	WIDTH	Area(Sq.M)
BLOCK	12.765	5.999	76.727
BLOCK AREA TOTAL =76.727SqM			
Void22	-	-	1.936
Void21	-	-	1.653
LiftWell12	-	-	4.000
LiftWell11	-	-	3.400
LiftWell10	-	-	4.000
TOTAL Deduction =14.989SqM			
Net BuiltUp Area =61.738 SqM			

FLOOR PLAN | SHEET NO. 2/4

Proforma I : Area Statement

1. Area of plot (Minimum area of a, b, c to be considered)	3656.810
(a) As per ownership document (7/12, CTS extract)	3656.810
(b) as per TILR or City Survey measurement sheet	3656.810
(c) as per Demarcated drawing area	3656.810
LESS	-
2.Area not in possession	0.000
3. Area Proposed for development (out of 1-2)	3656.810
4.Deductions for	-
(a) Proposed D.P./ D.P. Road widening Area / Service Road / Highway widening	1522.000
(b) Any D.P. Reservation area	0.000
(c) Green Belt	0.000
Total (a+b+c)	1522.000
5.Balance area of plot (3-4)	2134.810
6. Amenity Space	0.000
(Applicable if (1) > 20000 sqmt	-
(Required -(a) Upto 20000 sqmt - Nil	-
(b) Above 20000 sqmt - (a) + 5% of Total area	0.000
7. Net Plot Area (5-6)	2134.810
8. Recreational Open Space	-
(a) If area (5) is more than 4000 sqmt - 10 % of (5) is required.	0.000
Proposed____	0.000
(b) If area is less than 4000 sqmt -Check -	-
i) If it is full number like 1,2,125,419,etc. As per 7.12 abstract or City Survey Number - No Recreational open space is required	-
ii) If it is subdivision like 1/2 ,2/5 , 125/1 419/1 etc.then recreational open space is required.	-
(A) 10 % Subject to minimum 200 sqmt	0.000
Proposed _____	0.000
(B) Exemption to leave open space subject to availing basic F.S.I of 75 %	-
(C) Exemption to leave open space subject to payment of 10 % land value of land at (7) as per annual statement of rate.	-

Architect/ Licensed Engineer/ Supervisor name and signature

Registration No. of Architect/ License no. of Licensed Engineer/ Supervisor: CA/2019/106930

FOR, MRS.PAYAL RAJESH GUPTA & JAI ALPESH CHS. LTD.& OTHERS
POA. MAHAVEER TRADERS.
THROUGH - PARTNER: SHRI.RAJESH O. GUPTA
Postal Address : 4 Micasa Building,Plot No.37,24th Off Turner Road,Opp.Tava Restaurant,Bandra West,Mumbai,Mumbai-400050,Maharashtra.

DESCRIPTION OF PROJECT :

Type of Proposal : Mixed
BUILDING ON CTS. NO. 949, 950, 940, 951, 952, 938/A, AT VILLAGE - GANDHARE, TAL. KALYAN DIST. THANE.

SITE ADDRESS :
CTS NO. 949, 950, 940, 951, 952, 938/A, AT VILLAGE -GANDHARE TAL. KALYAN DIST. THANE.

Name Of Architect : Tejas Anil Nirgude

LOGO | ADDRESS OF OFFICE
OFFICE -
5TH FLOOR, MIDTOWN EMBASSY, BEHIND VASANT VALLEY BUS DEPOT, OPP. NARAYANA SCHOOL , GANDHARE, KALYAN - 421301

OWNERS SIGN - | TECHNICAL PERSON SIGN

SCALE - | Date: 01/12/25
JOB NO - KDMCC-25-133119 | CHECK BY -

SUBMISSION DRAWING

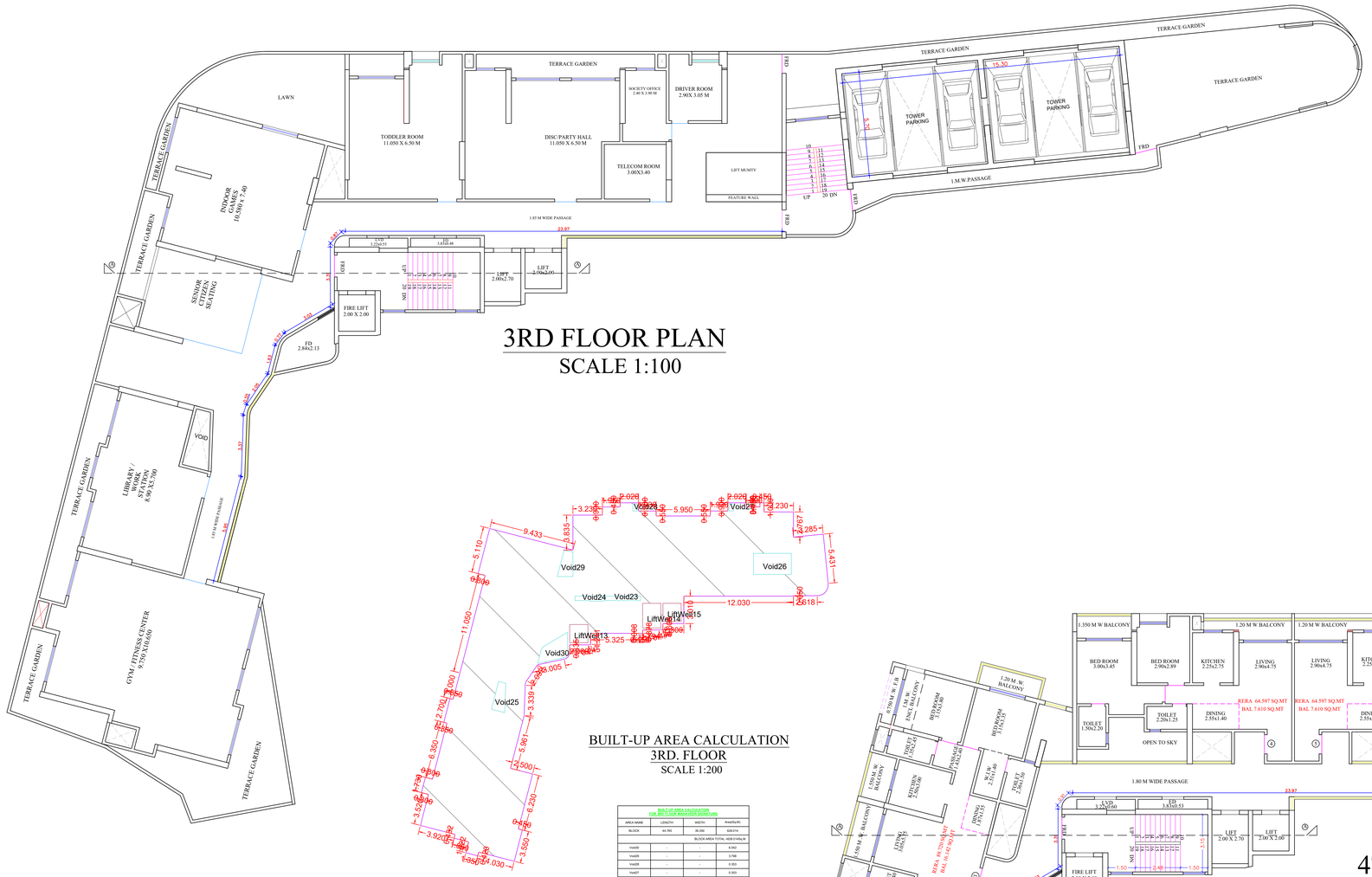

3RD FLOOR PLAN

SCALE 1:100

BUILT-UP AREA CALCULATION
3RD. FLOOR
SCALE 1:200

BUILT UP AREA CALCULATION
FOR 3RD FLOOR BANQUET HOOR Plan

AREA NAME	LENGTH	WIDTH	Area(Sq.M)
BLOCK	44.765	39.350	629.014
BLOCK AREA TOTAL =629.014Sq.M			
Void36	-	-	3.542
Void28	-	-	3.798
Void28	-	-	3.353
Void27	-	-	5.800
Void26	-	-	9.610
Void25	-	-	3.621
Void24	-	-	1.653
Void23	-	-	1.606
LiftWell16	-	-	4.500
LiftWell14	-	-	5.400
LiftWell13	-	-	4.500
TOTAL Deducted =41.185Sq.M			
Net Built.Up Area =588.848 Sq.M			

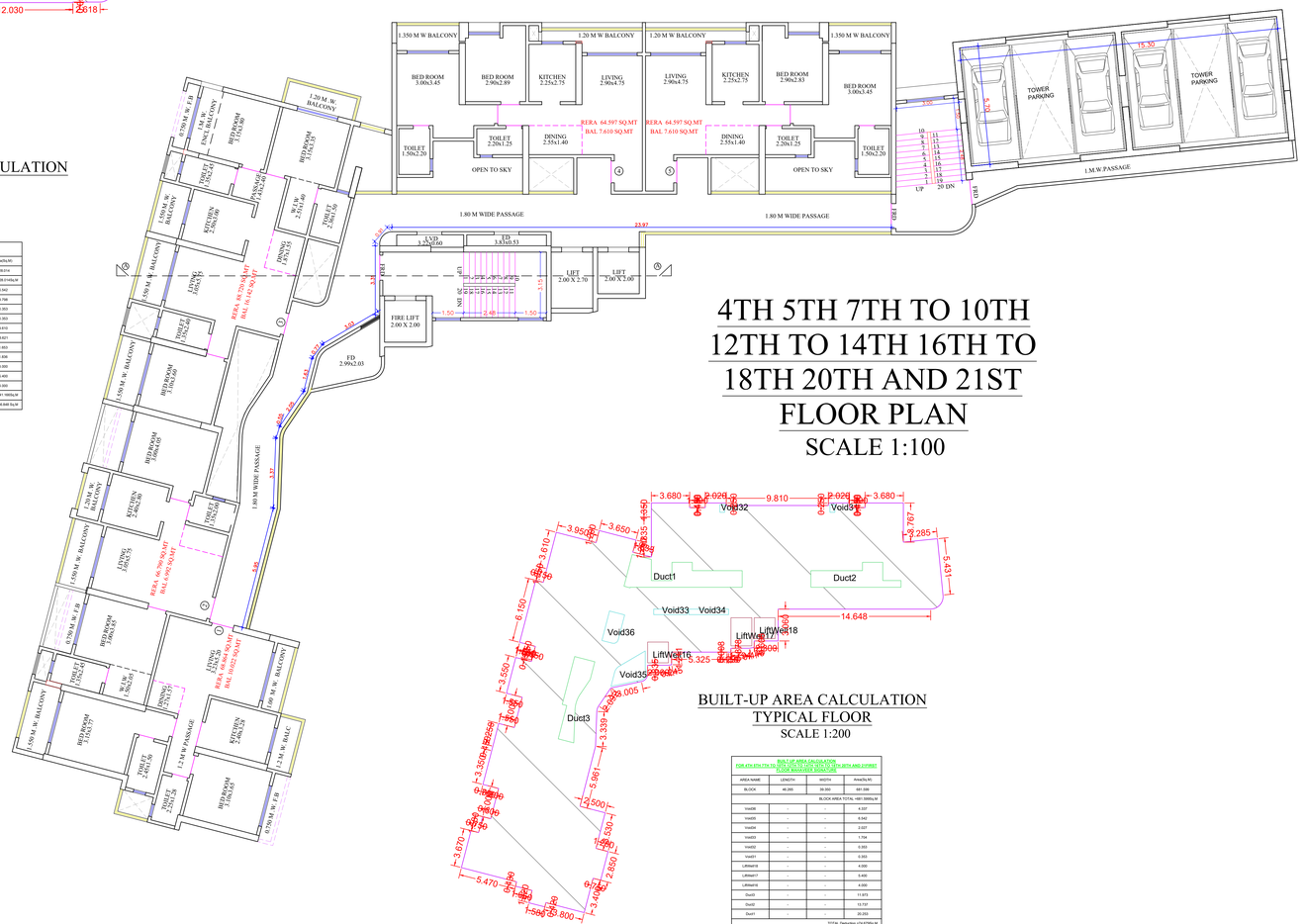

4TH 5TH 7TH TO 10TH 12TH TO 14TH 16TH TO 18TH 20TH AND 21ST FLOOR PLAN

SCALE 1:100

BUILT-UP AREA CALCULATION
TYPICAL FLOOR
SCALE 1:200

BUILT UP AREA CALCULATION
FOR 4TH 5TH 7TH TO 10TH 12TH TO 14TH 16TH TO 18TH 20TH AND 21ST FLOOR NO=NO OF FLOOR=20

AREA NAME	LENGTH	WIDTH	Area(Sq.M)
BLOCK	46.285	39.350	681.286
BLOCK AREA TOTAL =681.286Sq.M			
Void36	-	-	4.337
Void35	-	-	6.442
Void34	-	-	2.027
Void33	-	-	1.704
Void32	-	-	5.053
Void31	-	-	5.400
LiftWell18	-	-	4.500
LiftWell17	-	-	5.400
LiftWell16	-	-	4.500
Duct3	-	-	11.073
Duct2	-	-	13.737
Duct1	-	-	26.230
TOTAL Deducted =74.679Sq.M			
Net Built.Up Area =606.605 Sq.M			

FLOOR PLAN | SHEET NO. 3/4

Proforma 1 : **Area Statement**

1. Area of plot (Minimum area of a, b, c to be considered)	3656.810
(a) As per ownership document (7/12, CTS extract)	3656.810
(b) as per TILR or City Survey measurement sheet	3656.810
(c) as per Demarcated drawing area	3656.810
LESS	-
2.Area not in possession	0.000
3. Area Proposed for development (out of 1-2)	3656.810
4.Deductions for	-
(a) Proposed D.P./ D.P. Road widening Area / Service Road / Highway widening	1522.000
(b) Any D.P. Reservation area	0.000
(c) Green Belt	0.000
Total (a+b+c)	1522.000
5.Balance area of plot (3-4)	2134.810
6. Amenity Space	0.000
(Applicable if (1) > 20000 sqmt	-
(Required -(a) Upto 20000 sqmt - Nil	-
(b) Above 20000 sqmt - (a) + 5% of Total area	0.000
7. Net Plot Area (5-6)	2134.810
8. Recreational Open Space	-
(a) If area (5) is more than 4000 sqmt - 10 % of (5) is required.	0.000
Proposed ____	0.000
(b) If area is less than 4000 sqmt -Check -	-
i) If it is full number like 1,2,125,419,etc. As per 7.12 abstract or City Survey Number - No Recreational open space is required	-
ii) If it is subdivision like 1/2 ,2/5 , 125/1 419/1 etc.then recreational open space is required.	-
(A) 10 % Subject to minimum 200 sqmt	0.000
Proposed _____	0.000
(B) Exemption to leave open space subject to availing basic F.S.I of 75 %	-
(C) Exemption to leave open space subject to payment of 10 % land value of land at (7) as per annual statement of rate.	-

Architect/ Licensed Engineer/ Supervisor name and signature

Registration No. of Architect/ License no. of Licensed Engineer/ Supervisor: CA/2019/106930

FOR. MRS.PAYAL RAJESH GUPTA & JAI ALPESH CHS. LTD.& OTHERS
PDA. MAHAVEER TRADERS.
THROUGH - PARTNER: SHRI RAJESH G GUPTA
Postal Address : 4 Micasa Building,Plot No.37,24th Off Turner Road,Opp Tava Restaurant,Bandra West,Mumbai,Mumbai-400050,Maharashtra.

DESCRIPTION OF PROJECT :

Type of Proposal : Mixed
BUILDING ON CTS. NO. 949, 950, 940, 951, 952, 938/A, AT VILLAGE - GANDHARE, TAL. KALYAN DIST. THANE.

SITE ADDRESS :
CTS NO. 949, 950, 940, 951, 952, 938/A, AT VILLAGE -GANDHARE TAL. KALYAN DIST. THANE.

Name Of Architect : Tejas Anil Nirgude

LOGO

ADDRESS OF OFFICE
OFFICE -
5TH FLOOR, MIDTOWN EMBASSY, BEHIND VASANT VALLEY BUS DEPOT, OPP. NARAYANA SCHOOL, GANDHARE, KALYAN - 421301

OWNERS SIGN -

TECHNICAL PERSON SIGN

SCALE - | Date: 01/12/25

JOB NO - KDMCC-25-133119 | CHECK BY -

SUBMISSION DRAWING

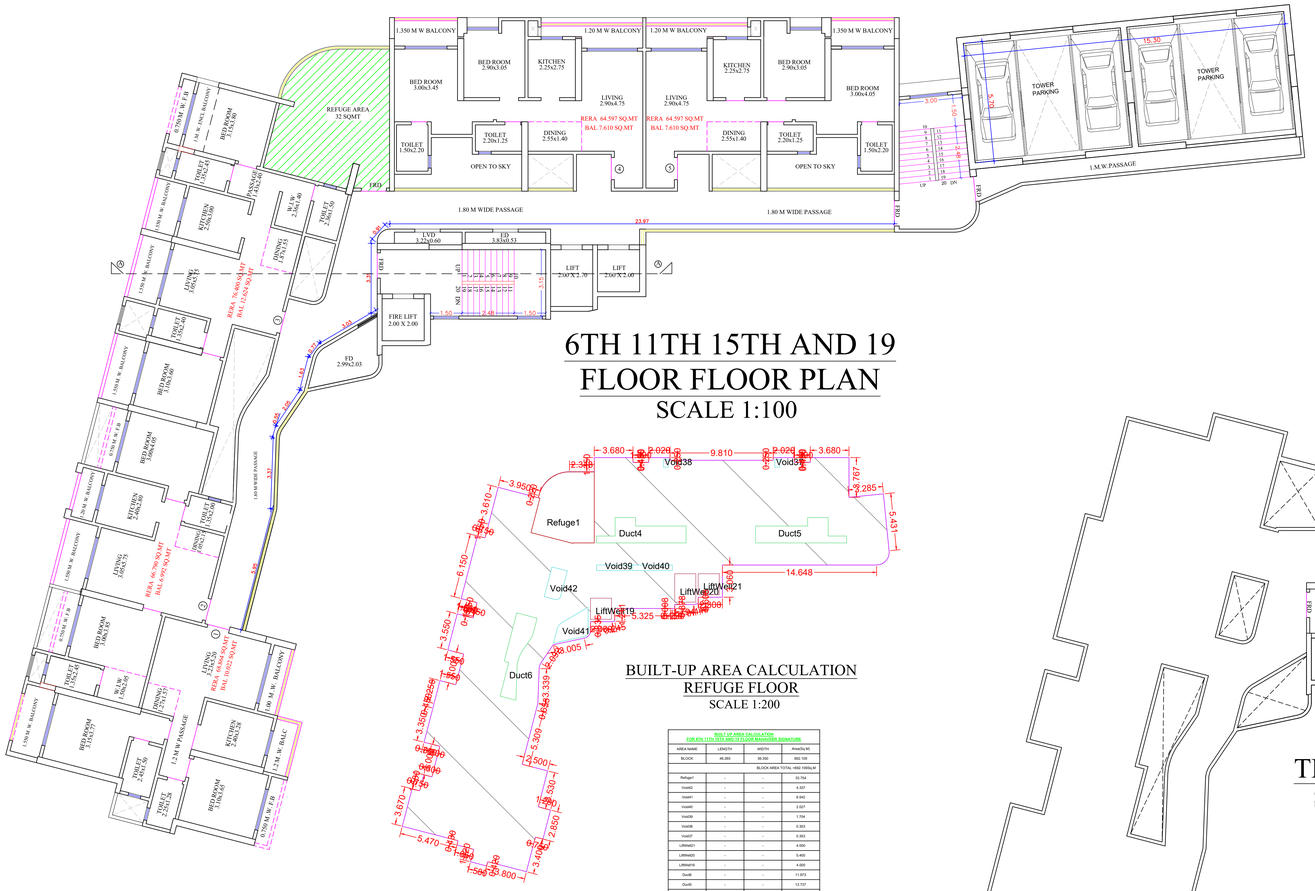

6TH 11TH 15TH AND 19 FLOOR FLOOR PLAN

SCALE 1:100

BUILT-UP AREA CALCULATION
REFUGE FLOOR

SCALE 1:200

BUILT UP AREA CALCULATION
FOR 6TH 11TH 15TH AND 19 FLOOR MAGNIFER SIGNATURE

AREA NAME	LENGTH	WIDTH	Area(Sq.M)
BLDG	46.285	36.550	691.105
BLDG AREA TOTAL =691.105Sq.M			
Refuge1	-	-	33.764
Void42	-	-	4.337
Void41	-	-	6.042
Void40	-	-	2.027
Void39	-	-	1.764
Void38	-	-	0.283
Void37	-	-	0.353
LiftWell21	-	-	4.000
LiftWell20	-	-	5.400
LiftWell19	-	-	4.000
Duct6	-	-	11.073
Duct5	-	-	13.737
Duct4	-	-	13.487
TOTAL Deduction =101.6775Sq.M			
Net Built-Up Area =589.432 Sq.M			

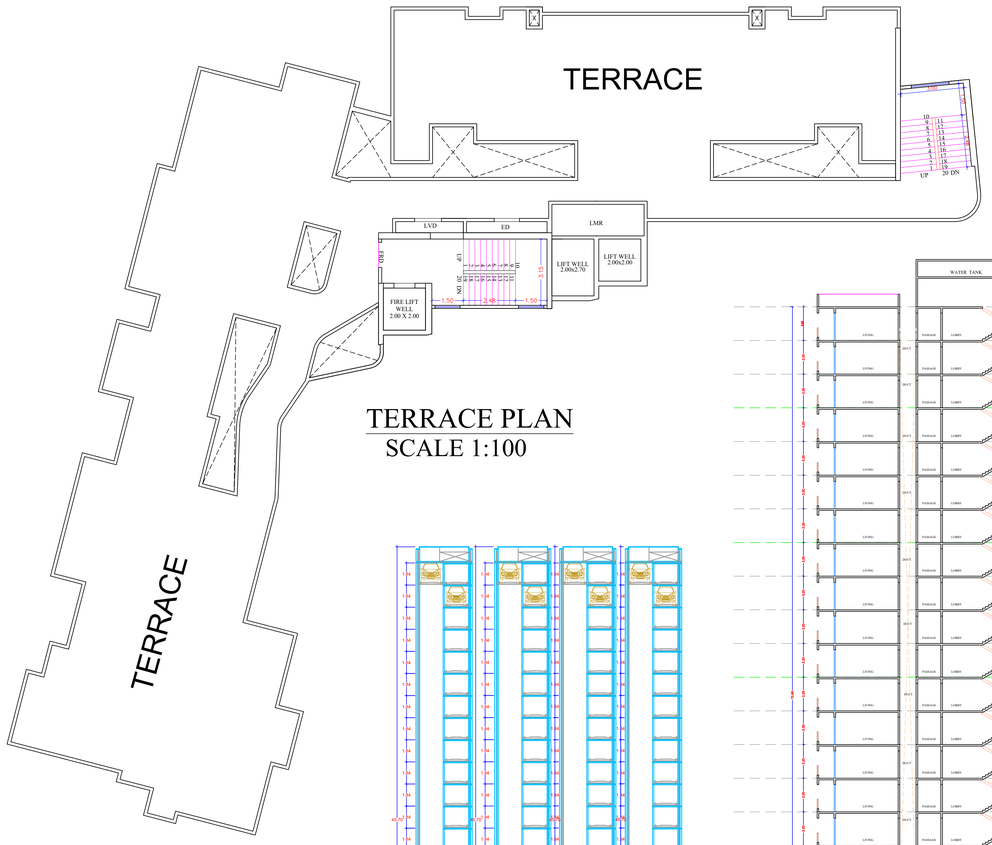

TERRACE PLAN

SCALE 1:100

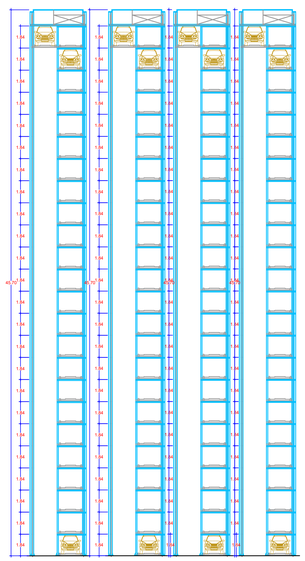

PARKING TOWER SECTION PLAN

SCALE 1:200



SECTION PLAN AA

SCALE 1:200

FLOOR PLAN | SHEET NO. 4/4

Proforma I : Area Statement	
1. Area of plot (Minimum area of a, b, c to be considered)	3656.810
(a) As per ownership document (7/12, CTS extract)	3656.810
(b) as per TILR or City Survey measurement sheet	3656.810
(c) as per Demarcated drawing area	3656.810
LESS	-
2.Area not in possession	0.000
3. Area Proposed for development (out of 1-2)	3656.810
4.Deductions for	-
(a) Proposed D.P./ D.P. Road widening Area / Service Road / Highway widening	1522.000
(b) Any D.P. Reservation area	0.000
(c) Green Belt	0.000
Total (a+b+c)	1522.000
5.Balance area of plot (3-4)	2134.810
6. Amenity Space	0.000
(Applicable if (1) > 20000 sqmt	-
(Required -(a) Upto 20000 sqmt - Nil	-
(b) Above 20000 sqmt - (a) + 5% of Total area	0.000
7. Net Plot Area (5-6)	2134.810
8. Recreational Open Space	-
(a) If area (5) is more than 4000 sqmt - 10 % of (5) is required.	0.000
Proposed___	0.000
(b) If area is less than 4000 sqmt -Check -	-
i) If it is full number like 1,2,125,419,etc. As per 7.12 abstract or City Survey Number - No Recreational open space is required	-
ii) If it is subdivision like 1/2 ,2/5 , 125/1 419/1 etc.then recreational open space is required.	-
(A) 10 % Subject to minimum 200 sqmt	0.000
Proposed _____	0.000
(B) Exemption to leave open space subject to availing basic F.S.I of 75 %	-
(C) Exemption to leave open space subject to payment of 10 % land value of land at (7) as per annual statement of rate.	-
Architect/ Licensed Engineer/ Supervisor name and signature	
Registration No. of Architect/ License no. of Licensed Engineer/ Supervisor: CA/2019/106930	

FOR. MRS.PAYAL RAJESH GUPTA & JAI ALPESH CHS. LTD.& OTHERS
POA. MAHAVEER TRADERS.
THROUGH - PARTNER: SHRI RAJESH O. GUPTA
Postal Address : 4 Micasa Building,Plot No.37,24th Off Turner Road,Opp.Tava Restaurant,Bandra West,Mumbai,Mumbai-400050,Maharashtra.

DESCRIPTION OF PROJECT :

Type of Proposal : Mixed
BUILDING ON CTS. NO. 949, 950, 940, 951, 952, 938/A,
AT VILLAGE - GANDHARE, TAL. KALYAN DIST. THANE.
SITE ADDRESS :
CTS NO. 949, 950, 940, 951, 952, 938/A, AT VILLAGE -GANDHARE
TAL. KALYAN DIST. THANE.

Name Of Architect : Tejas Anil Nirgude

LOGO	ADDRESS OF OFFICE
	OFFICE - 5TH FLOOR, MIDTOWN EMBASSY, BEHIND VASANT VALLEY BUS DEPOT, OPP. NARAYANA SCHOOL, GANDHARE, KALYAN - 421301

OWNERS SIGN -	TECHNICAL PERSON SIGN
SCALE -	Date: 01/12/25
JOB NO - KDMCC-25-133119	CHECK BY -

SUBMISSION DRAWING