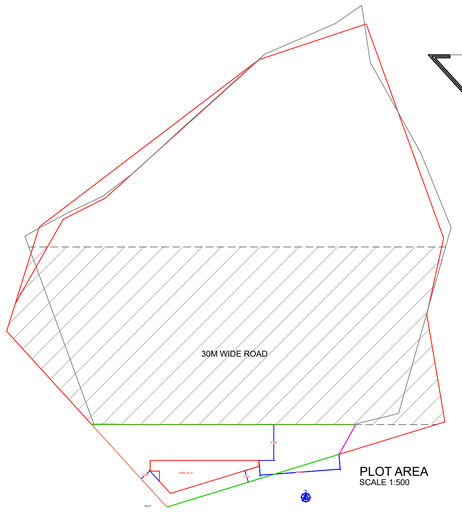

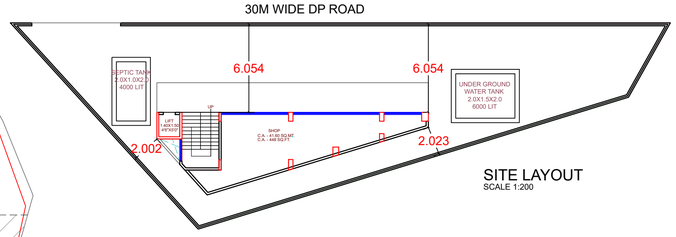

SITE LAYOUT
SCALE 1:200

FSI DETAILS										
9 Index	Basic FSI (on serial no 7)	Premium FSI (on serial no 3)	TDR/DR (on serial no 3)	Incentive FSI for green building if Applicable (on basic FSI)	Additional FSI (10.10.1 Note:3)	Ancillary Area 60% of (2+3+4+5)	Ancillary Area 80% of (2+3+4+5)	Total	Inclusive Housing (25%) If Applicable	Drawing Value
9.1 Permissible Index	1.100	0.500	1.400	0.000	0.000	0.000	0.000	3.000	0.000	0.000
9.2 Existing Consumed Index	0.000	0.000	0.000	0.000	0.000	0.000	0.000	0.000	0.000	0.000
9.3 Balance Index to be Consumed	1.100	0.500	1.400	0.000	0.000	0.000	0.000	0.000	0.000	0.000
9.4 Total Permissible PLine Area	297.000	135.000	378.000	0.000	0.000	150.000	36.776	996.776	0.000	0.000
9.5 Proposed P Line Area (Should not exceed 9.4)	297.000	0.000	0.000	0.000	0.000	43.312	0.000	340.312	0.000	340.312
9.6 Index Consumed	1.100	0.000	0.000	0.000	0.000	0.000	0.000	1.100	0.000	0.000

VAZE VILLA															
BUILDING	FLOORS	FSI AREA						BALCONY	TERRACE	LIFT	LIFTWELL	DUCT	VENT	OTHER	TOTAL
		COMM.	RESI.	IND.	EDU.	INS.	MEZZ.	PROP.					SHAFT	DEDUCTION	FSI AREA
VAZE VILLA	THIRD FLOOR	0.000	96.049	0.000	0.000	0.000	0.000	36.713	0.000	2.094	2.094	0.000	0.000	0.000	93.955
VAZE VILLA	FIRST FLOOR	0.000	96.049	0.000	0.000	0.000	0.000	36.713	0.000	2.094	2.094	0.000	0.000	0.000	93.955
VAZE VILLA	SECOND FLOOR	0.000	96.049	0.000	0.000	0.000	0.000	36.713	0.000	2.094	2.094	0.000	0.000	0.000	93.955
VAZE VILLA	GROUND FLOOR	46.902	13.639	0.000	0.000	0.000	0.000	0.000	0.000	2.094	2.094	0.000	0.000	0.000	58.447
VAZE VILLA	TOTAL	46.902	301.786	0.000	0.000	0.000	0.000	110.139	0.000	8.376	8.376	0.000	0.000	0.000	340.312

Carpet Area Table								
Building Name	Floor Name	Carpet name	Tenement No	Carpet Area	Enclosed Balcony Area	Normal Balcony Area	Mezzanine Area	Total Carpet Area
VAZE VILLA	GROUND FLOOR	shop	1	42.526	0.000	0.000	0.000	42.526
VAZE VILLA	SECOND FLOOR	second floor	1	42.728	36.713	0.000	0.000	79.441
VAZE VILLA	FIRST FLOOR	first floor	1	42.728	36.713	0.000	0.000	79.441
VAZE VILLA	THIRD FLOOR	third floor	1	42.728	36.713	0.000	0.000	79.441

Parking Check (Table 8B)								
			RATIO			Required		
Building Name	USE	TENAMENT AREA	car	scooter	NO.OF Tenat/Area/Units	car	scooter	Transport Vehicle/Ambulance/Mini Bus
VAZE VILLA	Residential	parking not required	0	0	2	0.000	0.000	-
VAZE VILLA	Commercial	For every 100 sq.m. carpet area or fraction thereof	2	6	43.926	0.879	2.636	-
Total	-	-	-	-	-	0.879	2.636	-
Visitors parking(5%)	-	-	-	-	-	0.000	0.000	-
Total	-	-	-	-	-	0.879	2.636	0.000

Parking Check As Per Multiplying Factor 0.800							
	Required			Proposed			
Building Name	Car	Scooter	Transport Vehicle/Ambulance/Mini bus	Car	Scooter	Transport Vehicle/Ambulance/Mini bus	Status
Total	1	2	0	1	2	0	OK

Project Details
Proposal code-KDMCC-25-96066
Zone Type-Residential Zone
Location-Non-Congested
Name of service-Building Development
Sub service--
Cts No./Survey No.--
Tahsil-27 Village
Mouza-Golawali
Prorata Value-0.000
Separation/CRZ Zone Area:-

LEGENDS:
PLOT BOUNDRY SHOWN WHITE
PROPOSED WORK SHOWN RED
DRAINAGE LINE SHOWN YELLOW LIGHT
SEWER LINE SHOWN GREEN LIGHT
ENCLOSED BAL SHOWN BROWN
TERRACE SHOWN DARK YELLOW
OPEN BAL SHOWN BRAWN
EXISTING SHOWN BLUE HATCHED

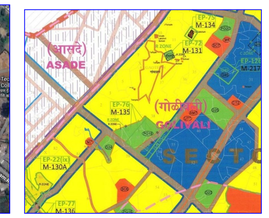

Reserved for Stamps of Approval plan

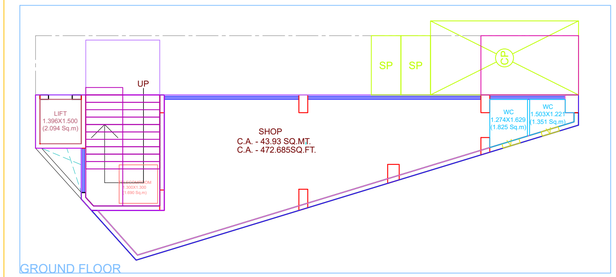

GROUND FLOOR

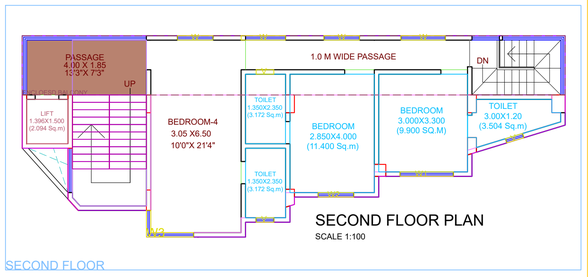

SECOND FLOOR PLAN
SCALE 1:100

SECOND FLOOR

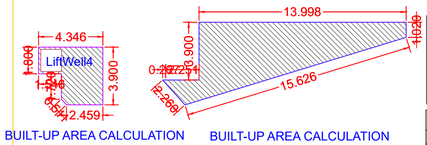

BUILT-UP AREA CALCULATION
GROUND VAZE VILLA

BUILT UP AREA CALCULATION FOR GROUND FLOOR VAZE VILLA			
AREA NAME	LENGTH	WIDTH	Area(Sq.M)
BLOCK	16.456	5.581	46.902
BLOCK AREA TOTAL =46.902Sq.M			
TOTAL Deduction =0.000Sq.M			
Net Built(Up Area =46.902 Sq.M			

BUILT-UP AREA CALCULATION
GROUND VAZE VILLA

BUILT UP AREA CALCULATION FOR GROUND FLOOR VAZE VILLA			
AREA NAME	LENGTH	WIDTH	Area(Sq.M)
BLOCK	4.346	3.900	13.639
BLOCK AREA TOTAL =13.639Sq.M			
LiftWell4	-	-	2.094
TOTAL Deduction =2.094Sq.M			
Net Built(Up Area =11.545 Sq.M			

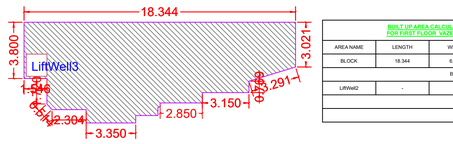

BUILT-UP AREA CALCULATION FIRST VAZE VILLA

BUILT UP AREA CALCULATION FOR FIRST FLOOR VAZE VILLA			
AREA NAME	LENGTH	WIDTH	Area(Sq.M)
BLOCK	18.344	6.800	96.049
BLOCK AREA TOTAL =96.049Sq.M			
LiftWell2	-	-	2.094
TOTAL Deduction =2.094Sq.M			
Net Built(Up Area =93.955 Sq.M			

ENCLOSED BALCONY

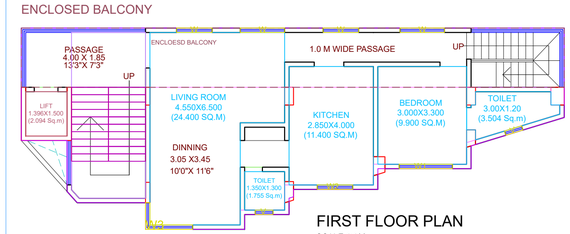

FIRST FLOOR PLAN
SCALE 1:100

FIRST FLOOR

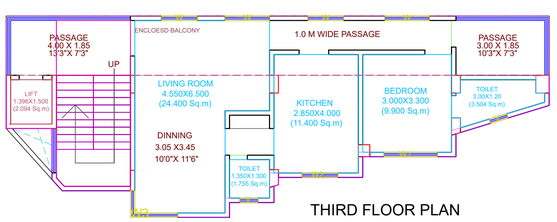

THIRD FLOOR PLAN
SCALE 1:100

THIRD FLOOR

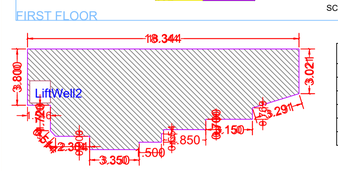

BUILT-UP AREA CALCULATION SECOND VAZE VILLA

BUILT UP AREA CALCULATION FOR SECOND FLOOR VAZE VILLA			
AREA NAME	LENGTH	WIDTH	Area(Sq.M)
BLOCK	18.344	6.800	96.049
BLOCK AREA TOTAL =96.049Sq.M			
LiftWell3	-	-	2.094
TOTAL Deduction =2.094Sq.M			
Net Built(Up Area =93.955 Sq.M			

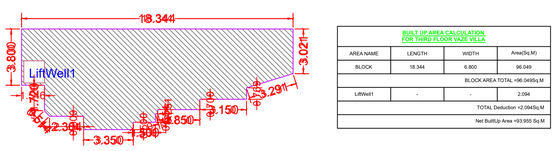

BUILT-UP AREA CALCULATION THIRD FLOOR VAZE VILLA

BUILT UP AREA CALCULATION FOR THIRD FLOOR VAZE VILLA			
AREA NAME	LENGTH	WIDTH	Area(Sq.M)
BLOCK	18.344	6.800	96.049
BLOCK AREA TOTAL =96.049Sq.M			
LiftWell1	-	-	2.094
TOTAL Deduction =2.094Sq.M			
Net Built(Up Area =93.955 Sq.M			

VAZE VILLA

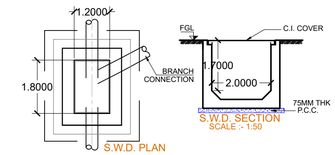

S.W.D. PLAN

S.W.D. SECTION
SCALE :- 1:50

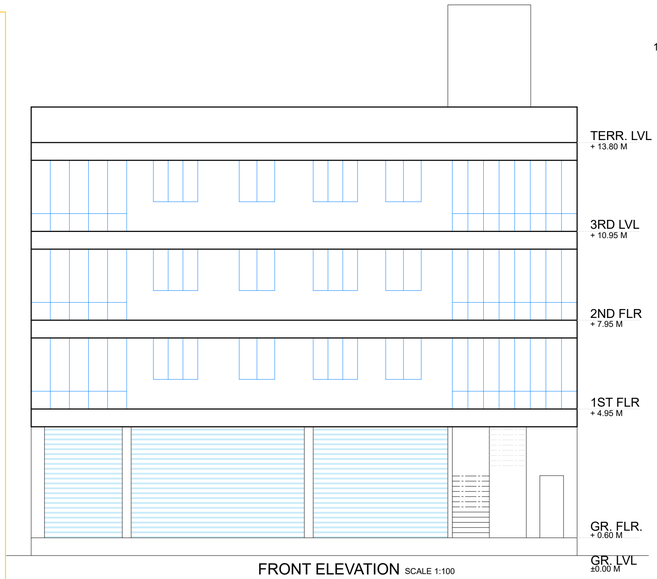

FRONT ELEVATION SCALE 1:100

Telecom Room			
Building	Req. Size	Prop. Size	Status
VAZE VILLA	Walkin/Room	1.300X1.300	OK

SCHEDULE OF OPENING				
BLD NAME	NAME	LENGTH	HEIGHT	Nos.
VAZE VILLA	W1	1.800	3.000	3
VAZE VILLA	W2	1.200	3.000	3
VAZE VILLA	W3	0.750	3.000	3
VAZE VILLA	W	1.200	6.000	6
VAZE VILLA	W	1.500	6.000	6
VAZE VILLA	V	0.600	1.200	9

PROFORMA – I : AREA STATEMENT

	AREA STATEMENT		
SR.NO.	DESCRIPTION		AREA (SQMT)
1.	AREA OF PLOT (PLOT-A)		
	a)	AS PER (7/12 , CTS EXTRACT)	270.00
	b)	AS PER MEASUREMENT SHEET	0
2.	DEDUCTION IF ANY		-
	a)	PROPOSED D.P. ROAD	0.0
	b)	AREA NOT IN POSSESSION	0.0
	TOTAL (a+b+c)		0.0
3.	BALANCE AREA OF PLOT (1-2)		270.00
4.	AMENITY SPACE (IF APPLICABLE)		
	a)	REQUIRED (5% OF S.NO.3)	-
	b)	ADJUSTMENT OF 2(b) , IF ANY -	-
	c)	PROPOSED	-
5.	NET PLOT AREA (3 - 4(a))		270.00
6.	RECREATIONAL OPEN SPACE (IF APPLICABLE)		
	a)	REQUIRED (10% OF S.NO.5)	-
	b)	PROPOSED	-
7.	INTERNAL ROAD AREA		-
8.	PLOTABLE AREA (IF APPLICABLE)		-
9.	BUILT-UP AREA WITH REFERENCE TO BASIC F.S.I. AS PER FRONT ROAD WIDTH (NET PLOT AREA X 1.1)		297.00
10.	ADDITIONAL FSI ON PAYMENT OF PREMIUM		
	a)	MAXIMUM PERMISSIBLE PREMIUM FSI BASED ON ROAD WIDTH (0.50)	135.00
	b)	PROPOSED FSI ON PAYMENT OF PREMIUM	0.00
11.	IN-SITU FSI / TDR LOADING		
	a)	IN-SITU AREA AGAINST D.P. ROAD [2.0 X SR. NO. 2(a)]	378.00
	b)	IN-SITU AREA AGAINST AMENITY SPACE IF HANDED OVER	-
	c)	TDR AREA AS PER ROAD WIDTH (GROSS PLOT AREA X 0.90)	0.00
	d)	TOTAL IN-SITU / TDR LOADING PROPOSED	0.00
12.	TOTAL ENTITLEMENT OF FSI IN THE PROPOSAL		
	a)	9+10+11+12	297.00
	b)	ANCILLARY AREA FSI UPTO 60% WITH PAYMENT OF CHARGES (RESI)(293.41X0.6)	43.312
	c)	ANCILLARY AREA FSI UPTO 80% WITH PAYMENT OF CHARGES (COM)(46.905X0.8)	0.00
	d)	TOTAL ENTITLEMENT (a+b+c)	340.312
13.	MAXIMUM UTILIZATION LIMIT OF FSI (BUILDING POTENTIAL) PERMISSIBLE AS PER ROAD WIDTH		996.776
14.	TOTAL BUILT UP AREA IN PROPOSAL		
	a)	PROPOSED BUILT-UP AREA RESIDENTIAL (AS PER P-LINE)	293.410
	b)	PROPOSED BUILT-UP AREA COMMERCIAL (AS PER P-LINE)	46.902
	c)	TOTAL (a+b)	340.312
15.	AREA FOR INCLUSIVE HOUSING		
	a)	REQUIRED (20% OF SR.NO.5)	-
	b)	PROPOSED	-
16.	F.S.I. CONSUMED [15 (d) / 13 (d)]		1.00

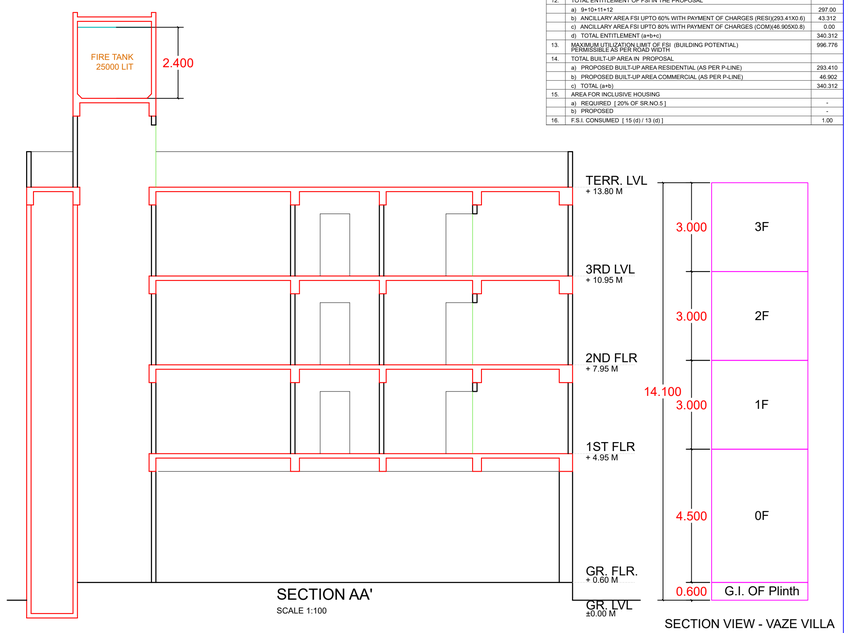

SECTION AA'
SCALE 1:100

SECTION VIEW - VAZE VILLA

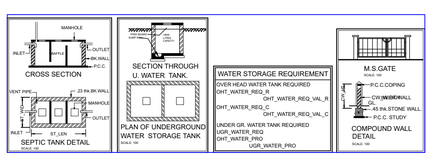

WATER STORAGE REQUIREMENT
OVER HEAD WATER TANK REQUIRED
OHT_WATER_REQ_R
OHT_WATER_REQ_VAL_R
OHT_WATER_REQ_C
OHT_WATER_REQ_VAL_C
UNDER GR. WATER TANK REQUIRED
UGR_WATER_REQ
OHT_WATER_PRO
UGR_WATER_PRO

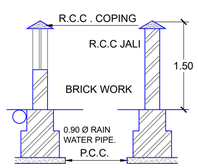

SEC. OF COMP. WALL
SCALE 1:50

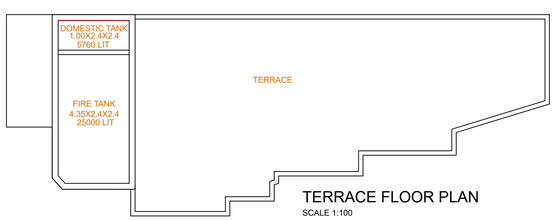

TERRACE FLOOR PLAN
SCALE 1:100

Proforma I : Area Statement

1. Area of plot (Minimum area of a, b, c to be considered)	270.000
(a) As per ownership document (7/12, CTS extract)	270.000
(b) as per TILR or City Survey measurement sheet	270.000
(c) as per Demarcated drawing area	371.107
LESS	-
2.Area not in possession	0.000
3. Area Proposed for development (out of 1-2)	270.000
4.Deductions for	-
(a) Proposed D.P./ D.P. Road widening Area / Service Road / Highway widening	0.000
(b) Any D.P. Reservation area	0.000
(c) Green Belt	0.000
Total (a+b+c)	0.000
5.Balance area of plot (3-4)	270.000
6. Amenity Space	0.000
(Applicable if (1) > 20000 sqmt	-
(Required -(a) Upto 20000 sqmt - Nil	-
(b) Above 20000 sqmt - (a) + 5% of Total area	0.000
7. Net Plot Area (5-6)	270.000
8. Recreational Open Space	-
(a) If area (5) is more than 4000 sqmt - 10 % of (5) is required.	0.000
Proposed___	0.000
(b) If area is less than 4000 sqmt -Check -	-
i) If it is full number like 1,2,125,419,etc. As per 7.12 abstract or City Survey Number - No Recreational open space is required	-
ii) If it is subdivision like 1/2 ,2/5 , 125/1 419/1 etc.then recreational open space is required.	-
(A) 10 % Subject to minimum 200 sqmt	0.000
Proposed _____	0.000
(B) Exemption to leave open space subject to availing basic F.S.I of 75 %	-
(C) Exemption to leave open space subject to payment of 10 % land value of land at (7) as per annual statement of rate.	-

Architect/ Licensed Engineer/ Supervisor name and signature

Registration No. of Architect/ License no. of Licensed Engineer/ Supervisor: CA/2000/26709

Certificate of Area:
Certified that the plot under reference was surveyed by me on_____ and the dimensions of sides etc. of plot stated on plan are as measured on site and the area so worked out tallies with the area stated in document of Ownership/ T.P. Scheme Records/Land Records Department/City Survey records.

Signature
(Name of Architect/ Licensed Engineer/ Supervisor.)

Owner's Declaration -
I/We undersigned hereby confirm that I/We would abide by plans approved by Authority / Collector. I/We would execute the structure as per approved plans. Also I/We would execute the work under supervision of proper technical person so as to ensure the quality and safety at the work site.

Owner (s) name and signature

Name Of : Owner Suryakant Trimbak Vaze

Postal Address : SHREE GANESH KRUPA BUILDING,KALYAN SHIL ROAD,DOMBIVALI EAST,Thane,Maharashtra-421203

Phone No.:7045643131

DESCRIPTION OF PROJECT :

Type of Proposal : Mixed
BUILDING ON CTS. NO./SURVEY NO.--

SITE ADDRESS :
S. NO. 58 H. NO. 5

Name Of Architect : ankur arvind shetye

LOGO

ADDRESS OF OFFICE
OFFICE -
02, shree amar chs, off manpada road,near octroi naka, dombivili (e),tal kalyan,dist thane.

OWNERS SIGN -

TECHNICAL PERSON SIGN
ANKUR ARVIND SHETYE
Digitally signed by ANKUR ARVIND SHETYE
Date: 2026.02.27 15:18:27 +05'30'

SCALE -	Date: 28/11/25
JOB NO - KDMCC-25-96066	CHECK BY -

SUBMISSION DRAWING