SHEET 01

PROPOSED PARKING AREA STATEMENT FOR BUILDING COMMERCIAL 1 ,2 AND TOWER A, B, C & D(PT. DEVELOPER & PT. INCLUSIVE HOUSING)

REQUIRED PARKING		TOTAL PARKING PROPOSED	
CAR	SCOOTER	CAR-COMPOSITE	SCOOTER
606	1,235	1,087 -113 = 974 NOS	559+678 (COMPOSITE PARKING) =1,237 NOS

PROPOSED PARKING AREA STATEMENT FOR BUILDING COMMERCIAL 1 ,2 AND TOWER A, B, C & D(PT. DEVELOPER & PT. INCLUSIVE HOUSING)

PARKING	PODIUM PARKING		TOWER -A & B		TOWER - C		TOTAL	
	CAR	SCOOTER	CAR	SCOOTER	CAR	SCOOTER	CAR	SCOOTER
GROUND(PT.) +STILT(PT.)	133	00	38	24	58	31	229	55
PODIUM 01	178	41	56	103	48	37	282	181
PODIUM 02	179	41	64	103	53	38	296	182
PODIUM 03	163	00	64	103	53	38	280	141
TOTAL PROPOSED PARKING							1087	559

REQUIRED PARKING AREA STATEMENT FOR BUILDING COMMERCIAL 1 ,2 AND TOWER A, B, C & D(PT. DEVELOPER & PT. INCLUSIVE HOUSING)

REQUIRED CAR PARKING

TYPE OF BLDG	TOTAL FLATS/ SHOPS/	FOR EVERY 100.00 SQ.MT. AREA OR FRACTION THERE OF 2 CAR & 6 SCOOTERS	FOR EVERY 200.00 SQ.MT. AREA OR FRACTION THERE OF 3 CAR & 11 SCOOTERS	MULTI PURPOSE HALL - FOR EVERY 100.00 SQ.MT. AREA OR FRACTION THERE OF -1 CARS & 5 SCOOTERS	RESTAURANT AND CAFETERIA - FOR EVERY 50.00 SQ.MT. AREA OR FRACTION THERE OF 3 CARS & 8 SCOOTERS	LODGING -FOR EVERY 5 ROOMS 1 CARS & 6 SCOOTERS	FOR EVERY TENAMENT ABOVE 150 SQ.MT. 2 CAR & 1 SCOOTERS	FOR EVERY TENAMENT BETWEEN 80 TO 150 SQ.MT. 1 CAR & 1 SCOOTERS	FOR EVERY 2 TENAMENT BETWEEN 40 TO 80 SQ.MT. 1CAR & 2 SCOOTERS	FOR EVERY 2 TENAMENT BETWEEN 20 TO 40 SQ.MT. 1CAR & 2 SCOOTERS	REQUIRED PARKING		ADDITIONAL 5% VISITORS PARKING		MULTIPLYING FACTOR 0.80		MINIMUM PARKING REQUIRED	
											CAR	SCOOTER	CAR	SCOOTER	CAR	SCOOTER	CAR	SCOOTER
COMMERCIAL 01		1,945.807		2,466.011	248.649	05 NOS.		---	---	---	70	286	---	---	56	229	56	229
COMMERCIAL 02		1,000.077			1,953.505						59	373	---	---	47	298	47	298
COMMERCIAL BELOW PODIUM		705.819									14	42			11	34	11	34
COMMERCIAL TOWER D		389.469									08	23			06	18	06	18
TOTAL																	120	579
TOWER A	122 NOS	---	---				40 NOS	82 NOS	---	---	162	122	08	06	136	128	136	128
TOWER B	122 NOS	---	---				40 NOS	82 NOS	---	---	162	122	08	06	136	128	136	128
TOWER C	321 NOS	---	---					132 NOS	189 NOS	---	226	321	05	09	190	337	190	337
TOWER D (DEVELOPER)	12 NOS	---	---					---	12 NOS		06	12	00	01	05	13	05	13
TOTAL	577 NOS						80 NOS	296 NOS	201 NOS								467	606
TOWER D (INCLUSIVE HOUSING)	48 NOS								45 NOS	03 NOS	23	48	01	02	19	50	19	50
TOTAL NO. OF REQUIRED PARKING																	606	1,235

PARKING AREA REQUIRED FOR CAR = 606 X 13.750 = 8,332.500 SQ.MT.

PARKING AREA REQUIRED FOR SCOOTER =1,235 X 2.00 = 2,470.000 SQ.MT.

BUILT UP AREA STATEMENT

FLOOR	COMMERCIAL 01 AREA (SQ.MT.)	TOWER A AREA (SQ.MT.)	TOWER B AREA (SQ.MT.)	TOWER C AREA (SQ.MT.)	COMMERCIAL BELOW PODIUM AREA (SQ.MT.)	CLUBHOUSE AREA (SQ.MT.)
GROUND(PT.) +STILT (PT.) FLOOR	1,283.462	367.969	172.554	777.349	0.000	0.000
1ST PODIUM LEVEL	1,389.805	0.000	0.000		0.000	0.000
2ND PODIUM LEVEL	1,480.362	0.000	0.000		0.000	0.000
3RD PODIUM LEVEL	1,480.362	0.000	0.000		434.072	0.000
EDECK PODIUM LEVEL		606.994	349.886		243.691	976.157
1ST FLOOR		818.182	818.182	1,169.795	298.394	976.157
2ND FLOOR		818.182	818.182	1,169.795		
3RD FLOOR (REFUGE)		776.737	776.737	1,095.579		
4TH FLOOR		818.182	818.182	1,169.795		
5TH FLOOR		818.182	818.182	1,169.795		
6TH FLOOR		818.182	818.182	1,169.795		
7TH FLOOR (REFUGE)		776.737	776.737	1,095.579		
8TH FLOOR		818.182	818.182	1,169.795		
9TH FLOOR		832.559	832.559	1,169.795		
10TH FLOOR		818.182	818.182	1,169.795		
11TH FLOOR (REFUGE)		776.737	776.737	1,095.579		
12TH FLOOR		818.182	818.182	1,169.795		
13TH FLOOR		818.182	818.182	1,169.795		
14TH FLOOR		818.182	818.182	1,169.795		
15TH FLOOR (REFUGE)		791.114	791.114	1,095.579		
16TH FLOOR (WATERTANK)		749.352	749.352	1,107.377		
17TH FLOOR		818.182	818.182	1,169.795		
18TH FLOOR		818.182	818.182	1,169.795		
19TH FLOOR (REFUGE)		776.737	776.737	1,095.579		
20TH FLOOR		818.182	818.182	1,169.795		
21ST FLOOR		832.559	832.559	1,169.795		
22ND FLOOR		769.742	769.742	1,169.795		
23RD FLOOR (REFUGE)		776.737	776.737	1,095.579		
24TH FLOOR		818.182	818.182	1,169.795		
25TH FLOOR		818.182	818.182	1,169.795		
26TH FLOOR		818.182	818.182	1,169.795		
27TH FLOOR (REFUGE)		791.114	791.114	1,095.579		
28TH FLOOR		818.182	818.182	1,169.795		
29TH FLOOR		818.182	818.182	1,169.795		
30TH FLOOR		818.182	818.182	1,169.795		
31ST FLOOR (REFUGE)		776.737	776.737	1,095.579		
32ND FLOOR		818.182	818.182	1,169.795		
33RD FLOOR		818.182	818.182	1,169.795		
		26,608.684	26,608.684			
TOTAL	5,633.991	54,192.331	38,469.529	777.349	976.157	
TOTAL AREA	1,06,258.102					

FLOOR	AREA (SQ.MT.)
GROUND(PT.) +STILT (PT.) FLOOR	1,283.462
1ST FLOOR	750.363
2ND FLOOR	795.766
3RD FLOOR	795.766
4TH FLOOR	795.766
5TH FLOOR	538.707
6TH FLOOR	444.255
7TH FLOOR (REFUGE)	--
8TH FLOOR	--
9TH FLOOR	--
10TH FLOOR	--
11TH FLOOR	--
12TH FLOOR (REFUGE)	--
13TH FLOOR	--
14TH FLOOR	--
15TH FLOOR	--
16TH FLOOR	--
17TH FLOOR (REFUGE)	--
18TH FLOOR	248.713
19TH FLOOR	248.713
20TH FLOOR	248.713
21ST FLOOR	248.713
TOTAL	4,790.798

	COMMERCIAL 02 AREA (SQ.MT.)	TOWER D (INCLU HOUSING + DEVELOPER) DEVELOPER COMMERCIAL AREA (SQ.MT.)	DEVELOPER RESIDENTIAL AREA (SQ.MT.)	INCLUSIVE HOUSING AREA
GROUND(PT.) +STILT (PT.) FLOOR	367.969	172.554	777.349	0.000
1ST FLOOR	0.000	0.000		0.000
2ND FLOOR	0.000	0.000		0.000
3RD FLOOR	0.000	0.000		434.072
4TH FLOOR	606.994	349.886		243.691
5TH FLOOR	818.182	1,169.795		298.394
6TH FLOOR	818.182	1,169.795		
7TH FLOOR (REFUGE)	776.737	1,095.579		
8TH FLOOR	818.182	1,169.795		
9TH FLOOR	832.559	1,169.795		
10TH FLOOR	818.182	1,169.795		
11TH FLOOR	776.737	1,095.579		
12TH FLOOR	818.182	1,169.795		
13TH FLOOR	818.182	1,169.795		
14TH FLOOR	818.182	1,169.795		
15TH FLOOR	791.114	1,095.579		
16TH FLOOR	749.352	1,107.377		
17TH FLOOR	818.182	1,169.795		
18TH FLOOR	818.182	1,169.795		
19TH FLOOR	776.737	1,095.579		
20TH FLOOR	818.182	1,169.795		
21ST FLOOR	832.559	1,169.795		
22ND FLOOR	769.742	1,169.795		
23RD FLOOR	776.737	1,095.579		
24TH FLOOR	818.182	1,169.795		
25TH FLOOR	818.182	1,169.795		
26TH FLOOR	818.182	1,169.795		
27TH FLOOR	791.114	1,095.579		
28TH FLOOR	818.182	1,169.795		
29TH FLOOR	818.182	1,169.795		
30TH FLOOR	818.182	1,169.795		
31ST FLOOR	776.737	1,095.579		
32ND FLOOR	818.182	1,169.795		
33RD FLOOR	818.182	1,169.795		
TOTAL	423.095	994.852	4,176.167	
TOTAL AREA	1,06,396.009			

SECURITY CABIN 01- 23.005	23.005
SECURITY CABIN 02- 31.037	31.037
SECURITY CABIN 03- 4.840	4.840
TOILET BLOCK - 79.025	79.025
TOTAL PROPOSED AREA	1,06,396.009

AREA STATEMENT

C.T.S.NOS.	AREA AS PER C.T.S.
C.T.S. NO.- 30	13,355.690 SQ.MT.
C.T.S. NO.- 31 PT.	10,000.000 SQ.MT.
C.T.S. NO.- 32	159.200 SQ.MT.
C.T.S. NO.- 33	99.750 SQ.MT.
TOTAL AREA	23,614.640 SQ.MT.

PROFORMA - I

	IN SQ.M
A. AREA STATEMENT	
1. AREA OF PLOT (Minimum area of a,b,c to be considered)	
(a) As per ownership document (AS PER C.T.S)	23,614.640
(c) As per measurement sheet.	-------
(d) As per site (Deducting 162.621 Sq.mt. Not in Possession)	23,452.019
2. DEDUCTIONS FOR	
(a) Proposed D.P./D.P.Road widening area/Service Road/Highway widening. (30.00 MT. WIDE D.P. ROAD) (15.00 MT. WIDE D.P. ROAD)	3258.043 1612.998
(b) Any D. P. Reservation area	
TOTAL (a + b)	4,871.041
3. BALANCE AREA OF PLOT (1 MINUS 2)	18,580.978
4. Amenity space (if applicable)	
(a) Required.	-------
(b) Adjustment of 2(b), if any.	-------
(c) Balanced Proposed	-------
5. Net plot Area (3 - 4 (c))	18,580.978
6. Recreational Open Space (if applicable)	
(a) Required.	1,858.097
(b) Proposed.	1,873.164
7. Internal Road area	-------
8. Plotable area (if applicable)	
9. Built up area with reference to Basic F.S.I as per front road width. (Sr.No.5 x basic FSI) (18,580.978 X 1.1)	20,439.076
10. Addition of FSI on payment of premium.	
(a) Maximum Permissible premium FSI-based on road width/TOD zone.	11,726.009
(b) Proposed FSI on payment of premium. (23,452.019 X 0.50)	11,726.009
11. In-situ FSI/ TDR loading	
(a) In-situ area against D.P.road(2.0 x sr.no.2(a))and reservation,if any 3,258.043 X 2 =6,516.086 (30 mt. wide Road) 1,612.998 X 2 =3,225.996 (15 mt. wide Road)	6,516.086 3,225.996
(b) In-situ area against Amenity Space if handed over (2.0 or 1.85 x Sr.no.4(b) and /or(c)	-------
(c) T.D.R.@140% **23,452.019 X140% =32,832.826 - 9,742.082 = 23,090.744**	23,090.744
(d) Total In-situ FSI/ TDR loading proposed (11(a)+(b))	32,832.826
12. Additional FSI area under Chapter no.7 Green Building Incentive FSI (5% of Basic FSI) (5% x 20,439.076)	1,021.953
13. Total entitlement of FSI in the proposal.	
(a) 9 +10(b)+11(d) or 12 whichever is applicable.	66,019.864
(b) Ancillary area F.S.I. upto 60% or 80% ~~with~~ payment of charges. 6458.000 X 80% = 5,166.400 59,561.864 X 60% = 35,737.118	40,903.518
(c) Total entitlement (a+b)	106,923.382
14. Maximum utilisation of limit of FSI(building poential)Permissible as per Road width(as per Regulation no.6.1or 6.2 or 6.3 or 6.4 as applicable)x(1.6 or1.8)	4.88
15. Total Built-up Area in proposal (excluding area at Sr.no.17b)	
(a) Existing Built -up Area	-------
(b) Proposed Built -up Area (as per 'P-line')	1,06,396.009
(c) Total (a+b)	1,06,396.009
16. F.S.I. Consumed (15/ 13) (should not be more than sr.no.14 above)	0.99
17. Area for Inclusive Housing, if any (a) Required (20% of Sr.no.9) (20,439.076 X 20%=4,087.815)	4,087.815
(b) Proposed	4,176.167
TOTAL PROPOSED F.S.I.	**1,06,396.009**
TOTAL PROPOSED CONSTRUCTION AREA	**1,59,663.009**

AREA STATEMENT- AREA UNDER 30.00 MT WIDE ROAD

ADDITIONS	
A1 1/2 X 13.804 X 2.114 =	14.991 SQ.M
A2 1/2 X 23.262 X 12.549 =	145.832 SQ.M
A3 1/2 X 26.774 X 19.258 =	257.767 SQ.M
A4 1/2 X 44.189 X 19.258 =	425.914 SQ.M
A5 1/2 X 44.189 X 19.851 =	438.818 SQ.M
A6 1/2 X 44.837 X 18.581 =	417.487 SQ.M
A7 1/2 X 46.601 X 1.848 =	43.100 SQ.M
A8 1/2 X 24.262 X 0.141 =	1.712 SQ.M
A9 1/2 X 49.262 X 17.963 =	442.157 SQ.M
A10 1/2 X 49.262 X 17.396 =	428.205 SQ.M
A11 1/2 X 45.529 X 13.287 =	302.100 SQ.M
TOTAL AREA =	3258.043 SQ.M

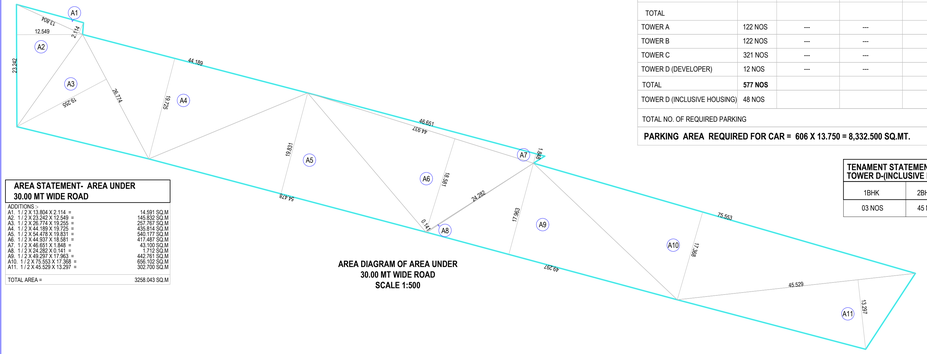

AREA DIAGRAM OF AREA UNDER 30.00 MT WIDE ROAD
SCALE 1:500

TENAMENT STATEMENT TOWER D-(INCLUSIVE HOUSING)

1BHK	2BHK	TOTAL
03 NOS	45 NOS	48 NOS

TENEMENT, SHOPS,RESTAURANT,BANQUET AND ROOMS STATEMENT FOR BUILDING COMMERCIAL 1 ,2 AND TOWER A, B, C & D(DEVELOPER)

	TOTAL	TENEMENTS 2 B/H/K	3 B/H/K	4 B/H/K	5 B/H/K	DUPLEX (6B/H/K)	SHOP	CAFETERIA/ RESTAURANT	BANQUET	ROOMS
COMMERCIAL 01	---	---	---	---	---	---	15 NOS	01 NOS	02 NOS	05 NOS
COMMERCIAL 02	---	---	---	---	---	---	09 NOS	05 NOS	---	---
COMMERCIAL BELOW PODIUM	---	---	---	---	---	---	16 NOS	---	---	---
TOWER A	122 NOS	---	82 NOS	31 NOS	08 NOS	01 NOS	---	---	---	---
TOWER B	122 NOS	---	82 NOS	31 NOS	08 NOS	01 NOS	---	---	---	---
TOWER C	321NOS	188 NOS	133 NOS	---	---	---	---	---	---	---
TOWER D (DEVELOPER)	12 NOS	12 NOS	---	---	---	---	03 NOS	---	---	---
TOTAL	577 NOS	200 NOS	297 NOS	62 NOS	16 NOS	02 NOS	43 NOS	06 NOS	02 NOS	05 NOS

FSI - NON FSI STATEMENT

TYPE OF BLDGS	NO. OF FLOORS	FSI AREA SQ.MT.	NON FSI AREA SQ.MT.	TOTAL SQ.MT.
COMMERCIAL 01	GROUND +3 FLOORS	5,633.991	39.000	5,672.991
TOWER A AND B	GR.(PT.)+STILT(PT.)+3 PODIUM+EDECK FLOOR+33 FLOORS	54,192.331	11,413.000	65,605.331
TOWER C	STILT(PT.)+3 PODIUM+EDECK FLOOR+33 FLOORS	38,469.529	8,565.000	47,034.529
TOWER D(PT. DEVELOPER PT. INCLUSIVE HOUSING)	GR.(PT.)+STILT(PT.)+21 FLOORS	1,417.947	4,379.000	5,796.947
COMMERCIAL 02	GROUND +6 FLOORS	4,790.798	410.000	5200.798
CLUB HOUSE	3RD PODIUM +2 FLOORS	976.157	213.000	1,189.157
PODIUM (COMM. BELOW PODIUM,SECURITY CABIN 1,2,3 AND TOILET BLOCK)	------	915.256	28,248.000	29,163.256
TOTAL AREA		**1,06,396.009**	**53,267.000**	**1,59,663.009**

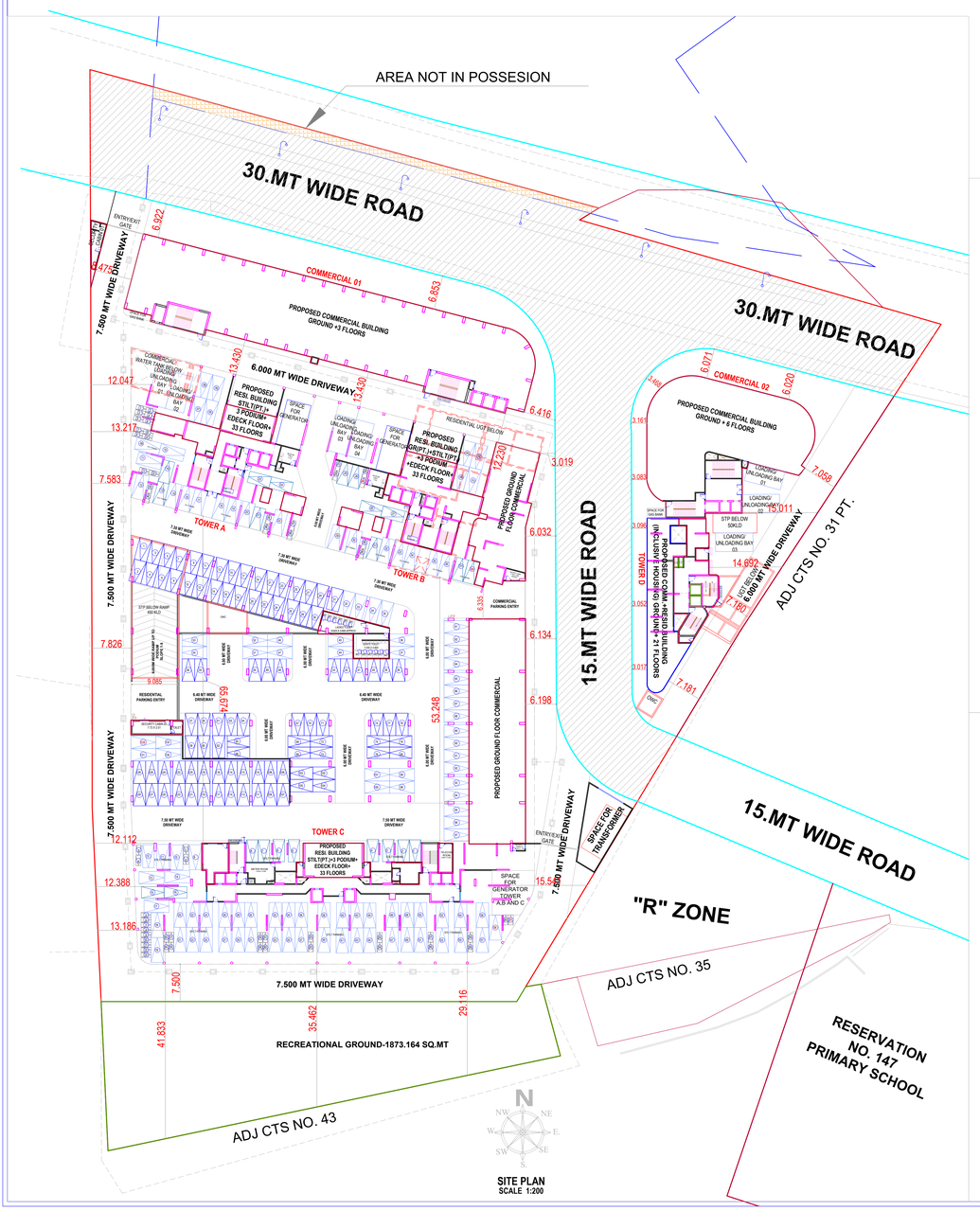

SITE PLAN
SCALE 1:200

AREA STATEMENT- AREA UNDER 15.00 MT WIDE ROAD

PLOT AREA STATEMENT - road ADDITIONS	
A8 2 / 3 X 25.396 X 3.812 =	64.862 SQ.M
A1 1 / 2 X 49.488 X 14.422 =	356.668 SQ.M
A2 1 / 2 X 49.488 X 15.318 =	378.553 SQ.M
A3 1 / 2 X 66.001 X 15.318 =	497.843 SQ.M
A4 1 / 2 X 56.894 X 13.939 =	396.323 SQ.M
A5 1 / 2 X 25.396 X 13.390 =	170.052 SQ.M
A6 1 / 2 X 22.223 X 5.150 =	57.232 SQ.M
A7 1 / 2 X 15.011 X 0.845 =	6.342 SQ.M
TOTAL ADDITIONS =	1782.637 SQ.M
STANDARD DEDUCTIONS :-	
D1 2 / 3 X 6.514 X 2.219 =	14.079 SQ.M
D2 1 / 2 X 32.863 X 5.986 =	98.267 SQ.M
D3 2 / 3 X 24.837 X 4.015 =	66.139 SQ.M
TOTAL STANDARD DEDUCTIONS :-	169.639 SQ.M
NET AREA = 1782.637-169.639=	1612.998 SQ.M

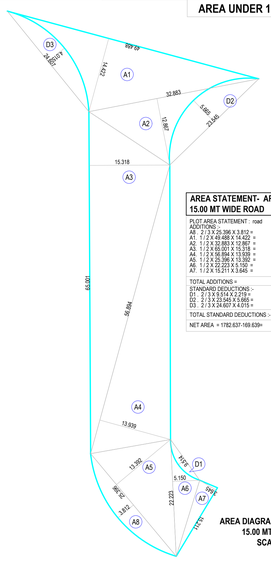

AREA DIAGRAM OF AREA UNDER 15.00 MT WIDE ROAD
SCALE 1:200

AREA UNDER 15.00MT WIDE ROAD

RECREATIONAL GROUND

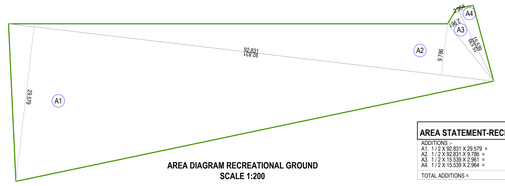

AREA DIAGRAM RECREATIONAL GROUND
SCALE 1:200

AREA STATEMENT-RECREATIONAL GROUND

ADDITIONS :-	
A1 1 / 2 X 92.831 X 23.639 =	1372.924 SQ.M
A2 1 / 2 X 92.831 X 9.786 =	453.553 SQ.M
A3 1 / 2 X 15.539 X 2.981 =	23.093 SQ.M
A4 1 / 2 X 15.539 X 2.964 =	23.013 SQ.M
TOTAL ADDITIONS =	1873.164 SQ.M

BUILT-UP AREA STATEMENT : SECURITY CABIN 02

AREA OF BLOCK [ABCD] = 10.450 X 2.970 = 31.037 SQ.M

BUILT UP AREA DIAGRAM OF SECURITY CABIN 02
SCALE 1:200

BUILT-UP AREA STATEMENT : SECURITY CABIN 01

AREA OF BLOCK [ABC] =12 X 13.224 X 3.479 = 23.005 SQ.M

BUILT UP AREA DIAGRAM OF SECURITY CABIN 01
SCALE 1:100

BUILT-UP AREA STATEMENT : TOILET BLOCK

AREA OF BLOCK [ABCD] = 14.372 X 9.699 = 139.394 SQ.M	
STANDARD DEDUCTIONS	
1. 7.542 X 5.000	35.210
2. 1/2 X 4.230 X 1.036	2.193
3. 1/2 X 13.750 X 3.342	22.976
TOTAL DEDUCTIONS	60.369
NET AREA= 139.394-60.369	79.025

BUILT UP AREA DIAGRAM OF TOILET BLOCK
SCALE 1:200

BUILT-UP AREA STATEMENT : SECURITY CABIN 03

AREA OF BLOCK [ABCD] = 3.025X 1.600 = 4.840 SQ.M

BUILT UP AREA DIAGRAM OF SECURITY CABIN 03
SCALE 1:200

NOTES:
BOUNDARY OF PLOT BOUNDED RED.
PROPOSED WORK SHOWN IN PINK.
AREA UNDER SET BACK SHOWN IN HATCH STRUCTURES TO BE DEMOLISHED SHOWN IN YELLOW HATCH.
RECREATION SHOWN IN GREEN
DRAINAGE LINE SHOWN IN YELLOW

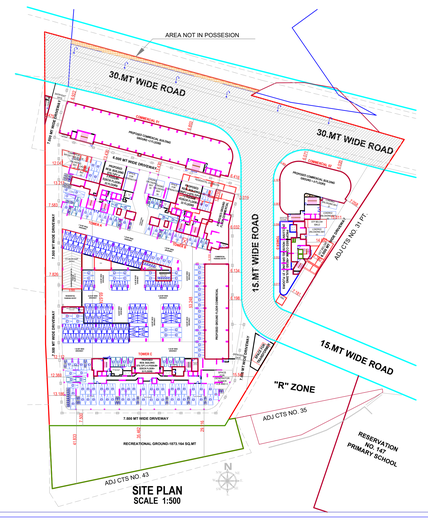

SITE PLAN
SCALE 1:500

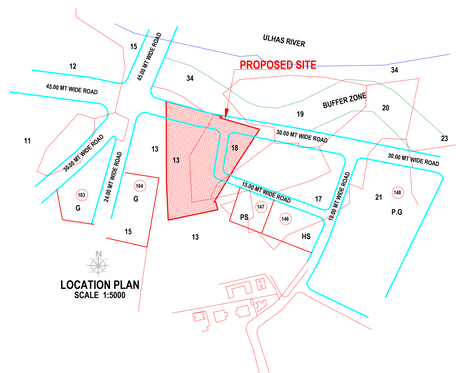

LOCATION PLAN
SCALE 1:5000

CERTIFICATE OF AREA

CERTIFIED THAT THE PLOT UNDER REFERENCE WAS SURVEYED BY ME ON 15.05.2025 AND THE DIMENSION OF SIDES ETC. OF PLOT STATED ON PLAN ARE AS MEASURED ON SITE AND THE AREA SO WORKED OUT TALLIES WITH THE AREA STATED IN DOCUMENT OF OWNERSHIP / T.P. SCHEME RECORD S/ LAND RECORDS DEPT/CITY SURVEY RECORDS.

ARCHITECT SIGNATURE.

OWNER'S DECLARATION

I/WE UNDERSIGNED HEREBY CONFIRM THAT I/WE WOULD ABIDE BY PLANS APPROVED BY AUTHORITY / COLLECTOR. I/WE WOULD EXECUTE THE STRUCTURE AS PER APPROVED PLANS. ALSO I/WE WOULD EXECUTE THE WORK UNDER SUPERVISION OF PROPER TECHNICAL PERSON SO AS TO ENSURE THE QUALITY AND SAFETY AT THE WORK SITE.

M/S. ANABAR PROPERTIES PVT.LTD.
OWNER (S) NAME

MADHAV CORPORATION THROUGH PARTNERS
MR. RAJA ROCHALANI
P. O. A. HOLDER SIGNATURE

ENGINEER'S CERTIFICATE

I HEREBY CERTIFY THAT THE WORK OF STRUCTURAL DRAWINGS FOR THE ABOVE MENTIONED WORK ARE PREPARE BY US AND THE WORK, AS PER AS STRUCTURAL DRAWINGS ARE CONCERNED, SHALL BE CARRIED OUT AS SPECIFIED IN APPENDIX 'C'. I SHALL BE RESPONSIBLE FOR THE ADEQUACY OF THE STRUCTURAL DESIGN AS PER AS STRUCTURAL DRAWINGS ARE CONCERNED.

ENGINEER'S SIGNATURE.

Name of Owner : M/S. ANABAR PROPERTIES PVT.LTD.

DESCRIPTION OF PROJECT :
Type of Proposal: COMMERCIAL AND RESIDENTIAL

SITE ADDRESS :
PROPOSED BUILDING ON PLOT BEARING:
CTS NO. 30,CTS NO.31 (PT.),CTS NO.32 & CTS NO.33
VILLAGE BARAVE ,TAL:KALYAN, AT DIST.-THANE

Name Of Architect : SHOBHANA JAYANT DESHPANDE

LOGO	ADDRESS OF OFFICE
CREATIONS ARCHITECTS & INTERIOR DESIGNERS	OFFICE - A- 104/105-EVEREST TOWER, SANTOSHI MATA ROAD, KALYAN(W) 421301 PHONE NO.0251-2313140

OWNERS SIGN -	TECHNICAL PERSON SIGN
MR. RAJA ROCHALANI PARTNER OF MADHAV CORPORATION	SHOBHANA DESHPANDE Architect

SCALE - 1:100	Date: 06/01/2026
JOB NO -	CHECK BY -

SUBMISSION DRAWING