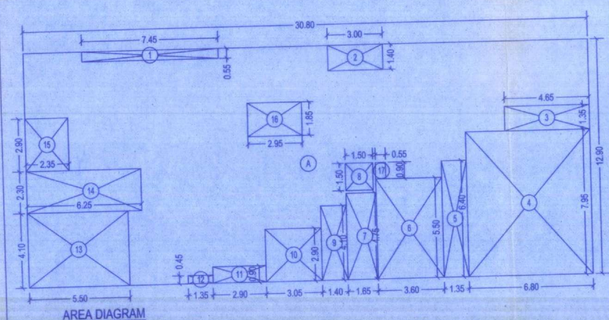

AREA DIAGRAM
1ST TO 7TH FLOOR SCALE 1: 150

BUILT UP AREA CALCULATION

1ST TO 7TH FLOOR				
A	30.80 X 12.90 X 1 NO	=	397.32	SQ.MT.
TOTAL ADDITION		=	397.32	SQ.MT.

DEDUCTIONS

1	7.45 X 0.55 X 1 NO	=	4.10	SQ.MT.
2	3.00 X 1.40 X 1 NO	=	4.20	SQ.MT.
3	4.65 X 1.35 X 1 NO	=	6.28	SQ.MT.
4	6.80 X 7.95 X 1 NO	=	54.06	SQ.MT.
5	1.35 X 6.40 X 1 NO	=	8.64	SQ.MT.
6	3.60 X 5.50 X 1 NO	=	19.80	SQ.MT.
7	1.65 X 4.75 X 1 NO	=	7.84	SQ.MT.
6	1.50 X 1.50 X 1 NO	=	2.25	SQ.MT.
9	1.40 X 4.10 X 1 NO	=	5.74	SQ.MT.
10	3.05 X 2.90 X 1 NO	=	8.84	SQ.MT.
11	2.90 X 0.90 X 1 NO	=	2.61	SQ.MT.
12	1.35 X 0.45 X 1 NO	=	0.61	SQ.MT.
13	5.50 X 4.10 X 1 NO	=	22.55	SQ.MT.
14	6.25 X 2.30 X 1 NO	=	14.38	SQ.MT.
15	2.35 X 2.90 X 1 NO	=	6.82	SQ.MT.
16	2.95 X 1.85 X 1 NO	=	5.46	SQ.MT.
17	0.55 X 0.90 X 1 NO	=	0.50	SQ.MT.
TOTAL DEDUCTION		=	174.68	SQ.MT.
TOTAL BUILT UP AREA		=	222.64	SQ.MT.

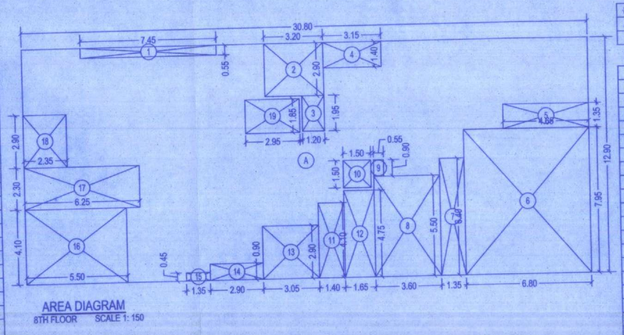

AREA DIAGRAM
8TH FLOOR SCALE 1: 150

BUILT UP AREA CALCULATION

8TH FLOOR				
A	30.80 X 12.90 X 1 NO	=	397.32	SQ.MT.
TOTAL ADDITION		=	397.32	SQ.MT.

DEDUCTIONS

1	7.45 X 0.55 X 1 NO	=	4.10	SQ.MT.
2	3.20 X 2.90 X 1 NO	=	9.28	SQ.MT.
3	1.20 X 1.95 X 1 NO	=	2.34	SQ.MT.
4	3.15 X 1.40 X 1 NO	=	4.41	SQ.MT.
5	4.65 X 1.35 X 1 NO	=	6.28	SQ.MT.
6	6.80 X 7.95 X 1 NO	=	54.06	SQ.MT.
7	1.35 X 6.40 X 1 NO	=	8.64	SQ.MT.
8	3.60 X 5.50 X 1 NO	=	19.80	SQ.MT.
9	0.55 X 0.90 X 1 NO	=	0.50	SQ.MT.
10	1.50 X 1.50 X 1 NO	=	2.25	SQ.MT.
11	1.40 X 4.10 X 1 NO	=	5.74	SQ.MT.
12	1.65 X 4.75 X 1 NO	=	7.84	SQ.MT.
13	3.05 X 2.90 X 1 NO	=	8.84	SQ.MT.
14	2.90 X 0.90 X 1 NO	=	2.61	SQ.MT.
15	1.35 X 0.45 X 1 NO	=	0.61	SQ.MT.
16	5.50 X 4.10 X 1 NO	=	22.55	SQ.MT.
17	6.25 X 2.30 X 1 NO	=	14.38	SQ.MT.
18	2.35 X 2.90 X 1 NO	=	6.82	SQ.MT.
19	2.95 X 1.85 X 1 NO	=	5.46	SQ.MT.
TOTAL DEDUCTION		=	186.51	SQ.MT.
TOTAL BUILT UP AREA		=	210.81	SQ.MT.

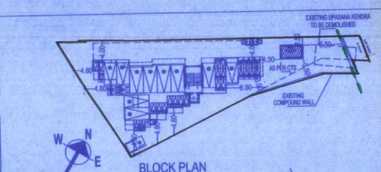

BLOCK PLAN
SCALE 1: 500

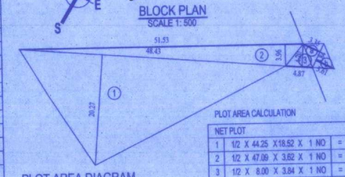

PLOT AREA DIAGRAM
SCALE 1: 500

PLOT AREA CALCULATION

NET PLOT				
1	1/2 X 44.25 X19.52 X 1 NO	=	499.76	SQ.MT.
2	1/2 X 47.09 X 3.62 X 1 NO	=	85.23	SQ.MT.
3	1/2 X 8.00 X 3.84 X 1 NO	=	15.36	SQ.MT.
TOTAL ADDITION		=	510.35	SQ.MT.

PLOT AREA CALCULATION

ROAD SET - BACK AREA				
a	1/2 X 4.98 X 2.33 X 1 NO	=	5.81	SQ.MT.
b	1/2 X 4.98 X 2.59 X 1 NO	=	6.44	SQ.MT.
TOTAL ADDITION		=	12.25	SQ.MT.

DESCRIPTION OF PROPOSAL & PROPERTY

PROPOSED BUILDING ON PLOT BEARING CTS No. 9559 TO 9569
MOUJE - DOMBIVLI, TAL- KALYAN, DIST-THANE.
FOR.

STAMP OF APPROVAL OF PLAN

OFFICE OF THE KALYAN DOMBIVLI MUNICIPAL CORPORATION, KALYAN.
Building Permit No. :- KDMC/TPD/BP/DOM/2022-23/53/184.
Date :- 24/08/2023.

SANCTIONED

ASSISTANT DIRECTOR OF TOWN PLANNING
Kalyan-Dombivli Municipal Corporation

SUMMARY	
FLOOR	BUILT-UP AREA IN SQ.MT
GR. FLR	19.55
1ST FLR	222.64
2ND FLR	222.64
3RD FLR	222.64
4TH FLR	222.64
5TH FLR	222.64
6TH FLR	222.64
7TH FLR	222.64
8TH FLR	210.81
TOTAL	1788.84

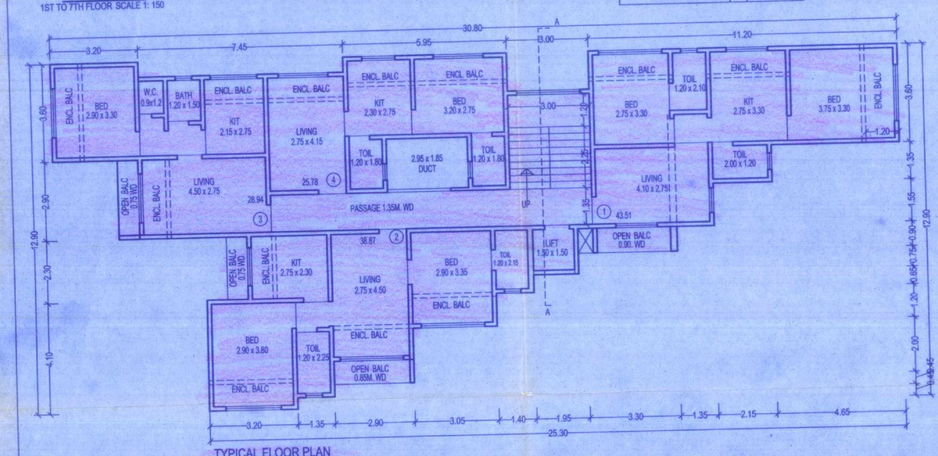

TYPICAL FLOOR PLAN
5TH, 6TH & 7TH FLOOR SCALE 1: 100

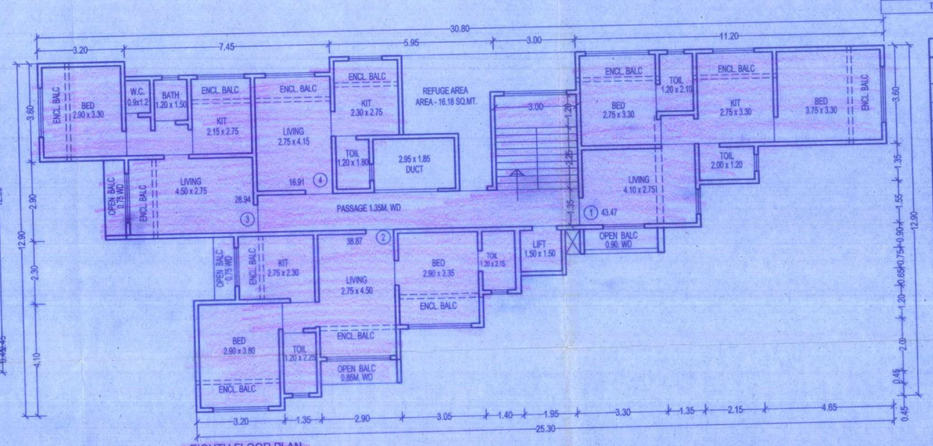

EIGHTH FLOOR PLAN
SCALE 1: 100

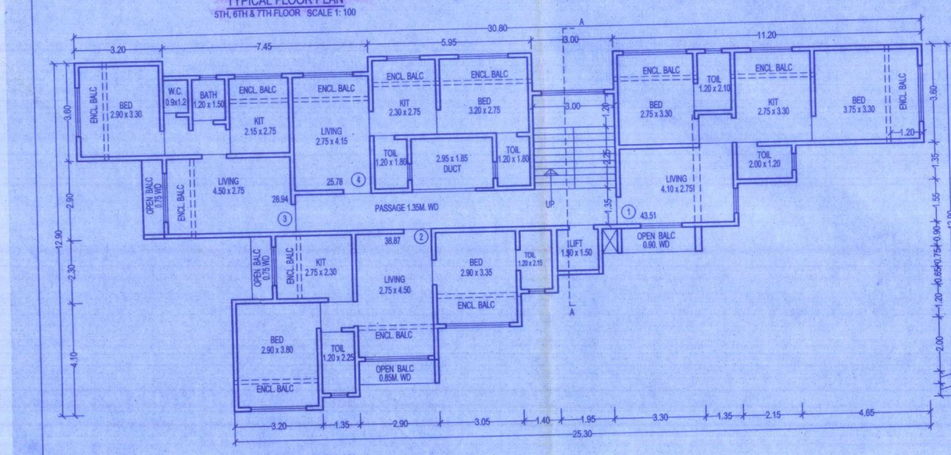

TYPICAL FLOOR PLAN
1ST TO 4TH FLOOR SCALE 1: 100

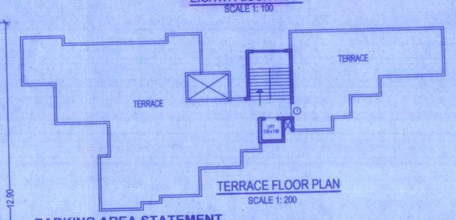

TERRACE FLOOR PLAN
SCALE 1: 200

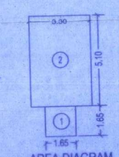

AREA DIAGRAM
STILT FLOOR SCALE 1: 150

BUILT UP AREA CALCULATION

STILT FLOOR				
1	1.65 X 1.65 X 1 NO	=	2.72	SQ.MT.
2	3.30 X 5.10 X 1 NO	=	16.83	SQ.MT.
TOTAL ADDITION		=	19.55	SQ.MT.

PARKING AREA STATEMENT

RESI.AREA	REQUIRED NO'S OF PARKING			PROPOSED NO'S OF PARKING	
	CAR. PARKING	TWO WHEELERS	PROP. FLAT	CAR. PARKING	TWO WHEELERS
For every two tenements with each tenement having carpet area less than 30 Sq.m	0 NO'S	4 NO'S	16.00	NIL	32.00
For every two tenements with each tenement having carpet area less than 40 Sq.m. but more than 30 sq.m.	1 NO'S	2 NO'S	8.00	4.00	8.00
For every two tenements with each tenement having carpet area equal to or above 40 sq.m. but less than 60 sq.m.	1 NO'S	5 NO'S	8.00	4.00	20.00
For every tenement having carpet area equal to or above 60 sq.m. but less than 150 sq.m.	1 NO'S	3 NO'S	NIL	NIL	NIL
For every 100 sq.m. carpet area or fraction thereof	2 NO'S	6 NO'S	NIL	NIL	NIL
visitor parking (5%)				0.40 NO'S	3.00 NO'S
TOTAL			32 NO'S	8.40 NO'S	63.00 NO'S
TOTAL PARKING REQUIRED				8.40 NO'S	63.00 NO'S
			80% OF	6.72 NO'S.	50.40 NOS
TOTAL PARKING PROVIDED	19.40 SCOOTER / 6 = 3.23 CAR 6.72+3.23 = 9.95 NO'S			9.95 NO'S.	31.00 NOS

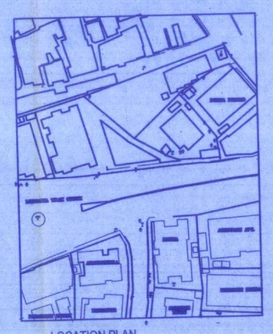

LOCATION PLAN

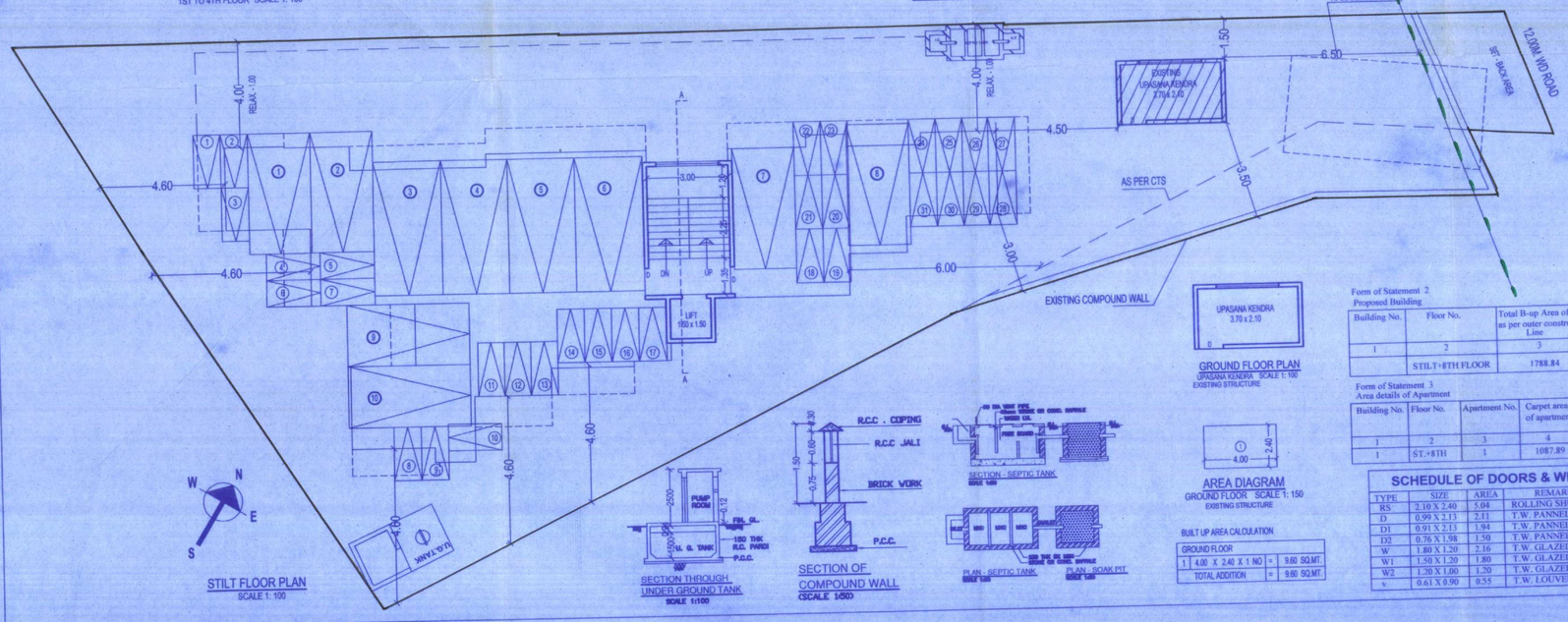

STILT FLOOR PLAN
SCALE 1: 100

SECTION THROUGH UNDER GROUND TANK
SCALE 1:100

SECTION OF COMPOUND WALL
(SCALE 1:50)

SECTION - SEPTIC TANK
SCALE 1:50

PLAN - SEPTIC TANK
SCALE 1:50

PLAN - SOAK PIT
SCALE 1:50

GROUND FLOOR PLAN
(UPASANA KENDRA SCALE 1: 100
EXISTING STRUCTURE

AREA DIAGRAM
GROUND FLOOR SCALE 1: 150
EXISTING STRUCTURE

BUILT UP AREA CALCULATION

GROUND FLOOR				
1	4.00 X 2.40 X 1 NO	=	9.60	SQ.MT.
TOTAL ADDITION		=	9.60	SQ.MT.

Form of Statement 2
Proposed Building

Building No.	Floor No.	Total B-up Area of floor as per outer construction Line
1	2	3
	STILT+8TH FLOOR	1788.84

Form of Statement 3
Area details of Apartment

Building No.	Floor No.	Apartment No.	Carpet area of apartment	Area of Bal. attached to Apart.	Area of Double height terraces attached to flat.
1	2	3	4	5	6
1	ST.+8TH	1	1087.89	375.22	NIL

SCHEDULE OF DOORS & WINDOWS

TYPE	SIZE	AREA	REMARKS
RS	2.10 X 2.40	5.04	ROLLING SHUTTER
D	0.99 X 2.13	2.11	T.W. PANNELLED DOOR
D1	0.91 X 2.13	1.94	T.W. PANNELLED DOOR
D2	0.76 X 1.98	1.50	T.W. PANNELLED DOOR
W	1.80 X 1.20	2.16	T.W. GLAZED WINDOW
W1	1.50 X 1.20	1.80	T.W. GLAZED WINDOW
W2	1.20 X 1.00	1.20	T.W. GLAZED WINDOW
v	0.61 X 0.90	0.55	T.W. LOUVERS WINDOW

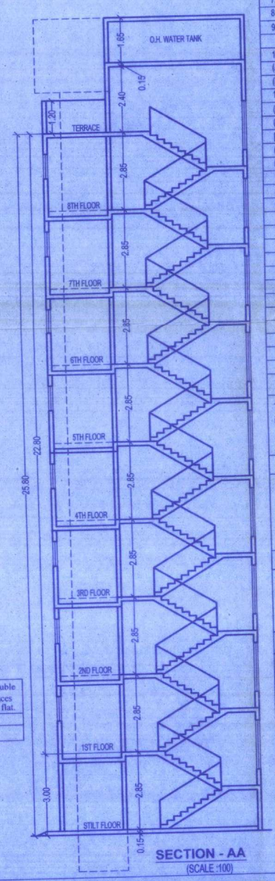

SECTION - AA
(SCALE :100)

AREA STATEMENT		SQ.MT
1. AREA OF PLOT		
(MINIMUM AREA OF A, B, C TO BE CONSIDERED)		522.60
(A) AS PER OWNERSHIP DOCUMENT (7/12, CTS EXTRACT)		-
(B)NOT IN POSSESSION AREA		522.60
(C) AS PER MEASUREMENT SHEET		522.60
(D) AS PER SITE		
2. DEDUCTIONS FOR		12.25
(A) PROPOSED D.P./ D.P. ROAD WIDENING AREA/SERVICE ROAD / HIGHWAY WIDENING		
(B) ANY D.P. RESERVATION AREA		
(B) ANY D.P. RESERVATION AREA		12.25
(TOTAL A+B)		510.35
3. BALANCE AREA OF PLOT (1-2)		
4. AMENITY SPACE (IF APPLICABLE)		
(A) REQUIRED -		
(B) ADJUSTMENT OF 2(B), IF ANY -		
(C) BALANCE PROPOSED -		510.35
5. NET PLOT AREA (3-4 (C))		NIL
6. RECREATIONAL OPEN SPACE (IF APPLICABLE)		
A) (A) REQUIRED -		
B) (B) PROPOSED -		NIL
7. INTERNAL ROAD AREA		NIL
8. PLOTABLE AREA (IF APPLICABLE)		
9. BUILT UP AREA WITH REFERENCE TO BASIC F.S.I. AS PER FRONT ROAD WIDTH (SR. NO. 5X(BASIC FSI)	510.35 x 1.10	561.39
10.ADDITION OF FSI ON PAYMENT OF PREMIUM		
(A)MAXIMUM PERMISSIBLE PREMIUM FSI - BASED ON ROAD WIDTH / TOD ZONE.		
(B) PROPOSED FSI ON PAYMENT OF PREMIUM.	510.35 x 0.50 = 255.18	255.18
11.IN-SITU FSI / TDR LOADING		NIL
(A)IN-SITU AREA AGAINST D.P. ROAD [2.0 X SR. NO. 2 (A)],IF ANY	12.25 x 2.00 = 24.50	24.50
(B)IN-SITU AREA AGAINST AMENITY SPACE IF HANDED OVER		NIL
[2.00 OR1.85 X SR. NO. 4 (B)AND /OR(C)]		NIL
(C)TDR AREA	510.35 x 65% = 331.72 - 24.50 = 307.22	300.00
(D) TOTAL IN-SITU / TDR LOADING PROPOSED (11 (A)+(B)+(C))		
12. ADDITIONAL FSI AREA UNDER CHAPTER NO. 7		NIL
13.TOTAL ENTITLEMENT OF FSI IN THE PROPOSAL		1141.07
(A) [9 + 10(B)+11(D)] OR 12 WHICHEVER IS APPLICABLE.	1141.07 x 0.60	684.64
(B) ANCILLARY AREA FSI UPTO 60% OR 80%WITH PAYMENT OF CHARGES.		1825.71
(C) TOTAL ENTITLEMENT (A+B)		
14. MAXIMUM UTILIZATION LIMIT OF F.S.I. (BUILDING POTENTIAL) PERMISSIBLE AS PER ROAD WIDTH (AS PER REGULATION NO. 6.1 OR 6.2 OR 6.3 OR 6.4 AS APPLICABLE) X 1.5 OR 1.8)		
15. TOTAL BUILT-UP AREA IN PROPOSAL (EXCLUDING AREA AT SR.NO.17 B)		1825.71
(A) EXISTING BUILT-UP AREA		9.60
(B) PROPOSED BUILT-UP AREA (AS PER 'P-LINE')		1788.84
(C) TOTAL (A+B)		1798.44
16.F.S.I. CONSUMED (15/13) (SHOULD NOT BE MORE THAN SERIAL NO.14 ABOVE.)		0.99
17.AREA FOR INCLUSIVE HOUSING, IF ANY		
(A) REQUIRED (20% OF SR.NO.5)		
(B) PROPOSED		

APPENDIX - C

The plans prepared by me are in accordance with the norms as specified by indian standard institute & i will be held responsible for damage in earthquake due to negligence of the standards.

MANOHAR
B.E. CIVIL
KDMC REGISTRN. No. 440
Engineers signature

Certificate of Area:

Certified that the plot under reference was surveyed by me on 10 - 07- 2019 and the dimensions of sides etc. of plot stated on plan are as measured on site and the area so worked out tallies with the area stated in document of Ownership/ T.P. Scheme Records/ Land Records Department/City Survey records.

Signature
(Name of Architect/Licensed Engineer/Supervisor.)

Owner's Declaration –

I/We undersigned hereby confirm that I/We would abide by plans approved by Authority / Collector. I/We would execute the structure as per approved plans. Also I/We would execute the work under supervision of proper technical person so as to ensure the quality and safety at the work site.

Owner (s) name and signature

NAME, ADDRESS & SIGNATURE OF OWNER

Shree - Sharad Rajaram Mhatre.

JOB No.	DRG No.	SCALE	DRAWN BY	CHECKED BY	DATE
R.K. 129	1	AS STATED			2 - 6 - 2023

NAME, ADDRESS & SIGNATURE OF ARCHITECT

B.S.RANADE
CA/75/02276

R. K. ASSOCIATES
206,207,208,2nd FLOOR,
JAGANNATH'S COMMERCE PLAZA,
NEAR GODREJ SHOWROOM,
MANPADA ROAD, DOMBIVLI (E.)