PRODUCED BY AN AUTODESK EDUCATIONAL PRODUCT

SCHEDULE OF DOORS & WINDOWS		
NO.	SIZE	REMARK
D	1.050 X 2.100	T. W. FRAMED MAIN DOOR
D1	0.900 X 2.100	T.W. FRAMED PANELED DOOR
D2	0.750 X 2.100	T.W. FRAMED GLAZED DOOR
FD	1.800 X 2.100	T.W. FRAMED GLAZED WINDOW
W	1.800 X 1.350	T.W. FRAMED GLAZED WINDOW
V	0.600 X 0.900	LOUVERED WINDOW
RS	————	ROLLING SHUTTER

FORM OF STATEMENT 1 EXISTING BUILDING TO BE RETAINED				
EXISTING BUILDING NO.	FLOOR NO	PLINTH AREA	TOTAL FLOOR AREA OF EXISTING BUILDING	USE/ OCCUPANCY OF FLOORS
NIL	NIL	NIL	NIL	NIL

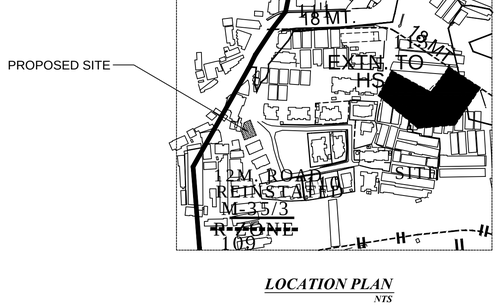

LOCATION PLAN
NTS

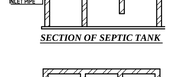

SECTION OF SEPTIC TANK

PLAN OF SEPTIC TANK

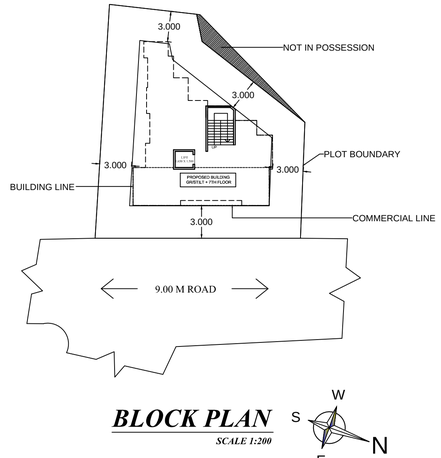

BLOCK PLAN
SCALE 1:200

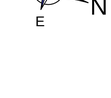

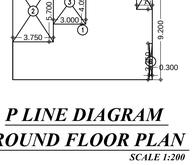

P LINE DIAGRAM
GROUND FLOOR PLAN
SCALE 1:200

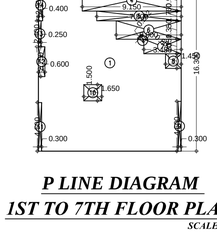

P LINE DIAGRAM
1ST TO 7TH FLOOR PLAN
SCALE 1:200

PARKING STATEMENT				
S.NO	CARPET AREA	NO. OF FLATS	PARK. REQUIRED (car)	PARK. REQUIRED (scoter)
01	TENEMENT HAVING CARPET AREA UP TO 30.00 SQ.MT.	14 NO'S.	0 NO'S.	14 NO'S.
02	TENEMENT HAVING CARPET AREA BETWEEN 30.00 SQ.MT. TO 80.00 SQ.MT	07 NO'S.	04 NO'S.	07 NO'S.
04	TENEMENT HAVING CARPET AREA BETWEEN 80.00 SQ.MT. TO 150.00 SQ.MT	———	———	———
05	TENEMENT HAVING CARPET AREA MORE THAN 150.00 SQ.MT	———	———	———
06	TOTAL (01 +02 + 03 + 04)	21 NO'S.	04 NO'S.	21 NO'S.
07	ADDED 5% VISITER PARKING (5% OF 04)	———	00 NO'S.	01 NO'S.
08	TOTAL RESIDENCE PARKING (06 + 07)	———	4 NO'S.	22
09	SHOP AREA PARKING FOR EVERY 100.00 SQ.MT ND OF CARS – 2. NO OF SCOOTER - 6. (SHOP C.A = 38.70 SQ.MT.)	———	01 NO'S.	02 NO'S.
10	OFFICE AREA PARKING FOR EVERY 200.00 SQ.MT ND OF CARS – 3. NO OF SCOOTER - 11. (OFFICE C.A = ——— SQ.MT.)	———	00 NO'S.	00 NO'S.
11	TOTAL PARKING (08 + 09+10)	———	5 NO'S.	24 NO'S.
12	TOTAL REQUIRED PARKING MULTIPLE FACTOR IS 0.80	———	04 NO'S.	———
13	COMPOSITE PARKING FOR 6 BIKE PROPOSED 1 CAR 12 NO'S BIKE = 2 NO'S CAR	———	02 NO'S.	———
14	TOTAL PARKING (11 + 12)	———	6 NO'S.	———
15	TOTAL PROPOSED PARKING	———	6 NO'S.	12 NO'S.



SECTION OF SUCTION TANK

PLAN OF SUCTION TANK

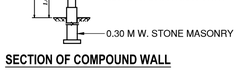

SECTION OF COMPOUND WALL

P LINE AREA CALCULATION

GROUND FLOOR					
1	12.900	X 9.200	X 1NO	=	118.680 SQ.MT.
			TOTAL ADDITION	=	118.680 SQ.MT. X

DEDUCTIONS

1	1/2 X 0.502	X 0.242	X 1NO	=	0.061 SQ.MT.
2	3.750	X 5.700	X 1NO	=	21.375 SQ.MT.
3	3.000	X 4.050	X 1NO	=	12.150 SQ.MT.
4	2.000	X 1.350	X 1NO	=	2.700 SQ.MT.
5	1.450	X 2.700	X 1NO	=	3.915 SQ.MT.
6	0.300	X 3.350	X 1NO	=	1.005 SQ.MT.
			TOTAL DEDUCTION	=	41.206 SQ.MT. Y1
TOTAL BUILT UP AREA [X – Y1]				=	77.474 SQ.MT. X1

P LINE AREA CALCULATION

1ST TO 7TH FLOOR					
1	13.200	X 16.300	X 1NO	=	215.160 SQ.MT.
			TOTAL ADDITION	=	215.160 SQ.MT. X

DEDUCTIONS

1	1/2 X 0.502	X 0.242	X 1NO	=	0.061 SQ.MT.
2	1.300	X 1.350	X 1NO	=	1.755 SQ.MT.
3	9.650	X 1.350	X 1NO	=	13.028 SQ.MT.
4	9.150	X 2.000	X 1NO	=	18.300 SQ.MT.
5	7.800	X 0.900	X 1NO	=	7.020 SQ.MT.
6	6.000	X 1.700	X 1NO	=	10.200 SQ.MT.
7	3.450	X 1.350	X 1NO	=	4.658 SQ.MT.
8	1.450	X 1.350	X 1NO	=	1.958 SQ.MT.
9	0.300	X 4.600	X 1NO	=	1.380 SQ.MT.
10	1.650	X 1.500	X 1NO	=	2.475 SQ.MT.
11	0.300	X 4.500	X 1NO	=	1.350 SQ.MT.
12	0.600	X 2.750	X 1NO	=	1.650 SQ.MT.
13	0.250	X 2.400	X 1NO	=	0.600 SQ.MT.
14	0.400	X 2.900	X 1NO	=	1.160 SQ.MT.
			TOTAL DEDUCTION	=	65.593 SQ.MT. Y1
TOTAL BUILT UP AREA [X – Y1]				=	149.567 SQ.MT. X1

FORM OF STATEMENT 3 AREA DETAILS OF APARTMENT			
BUILDING NO	FLOOR NO	SHOP NO.	CARPET AREA OF OFFICE, SHOPS
	GROUND FLOOR	01	6.420 SQ.MT
		02	6.580 SQ.MT
		03	9.100 SQ.MT
		04	9.100 SQ.MT
		05	7.500 SQ.MT

FORM OF STATEMENT 2 PROPOSED BUILDING		
BUILDING	FLOOR NO	TOTAL BUILT UP AREA OF FLOOR AS PER P LINE
G/STILT + 7TH FLOOR	GR. FLOOR	77.474 SQ.MT
	1ST FLOOR	149.567 SQ.MT
	2ND FLOOR	149.567 SQ.MT
	3RD FLOOR	149.567 SQ.MT
	4TH FLOOR	149.567 SQ.MT
	5TH FLOOR	149.567 SQ.MT
	6TH FLOOR	149.567 SQ.MT
	7TH FLOOR	149.567 SQ.MT
	TOTAL	1124.443 SQ.MT

FORM OF STATEMENT 3 AREA DETAILS OF APARTMENT				
BUILDING NO	FLOOR NO	APARTMENT NO.	CARPET AREA OF APARTMENT, SHOPS	AREA OF BALCONY ATTACHED TO APARTMENT
	1ST TO 7TH	01	25.282 SQ.MT	9.262 SQ.MT
		02	34.352 SQ.MT	13.843 SQ.MT
		03	29.865 SQ.MT	7.420 SQ.MT

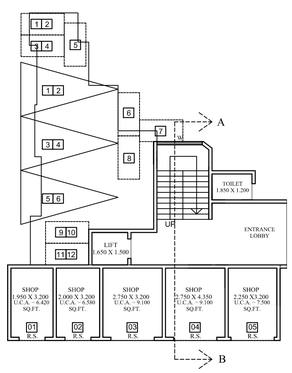

GROUND FLOOR PLAN
SCALE 1:100

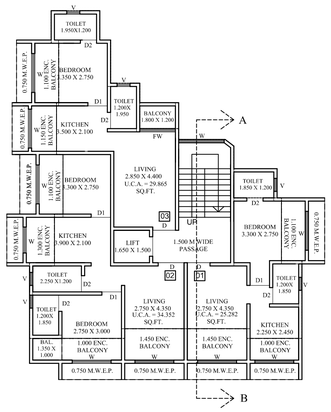

TYPICAL FLOOR PLAN
(1ST TO 7TH) SCALE 1:100

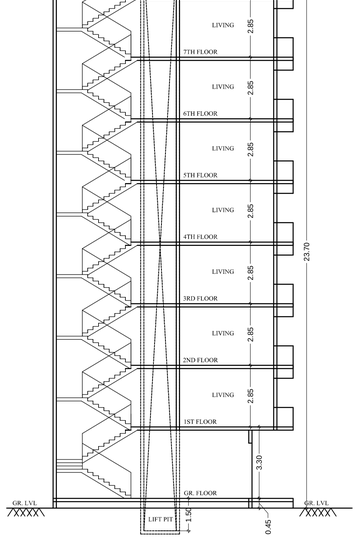

SECTION AT A-B
SCALE 1:100

PROFORMA - I : AREA STATEMENT

PROPOSED BUILDING ON PLOT BEARING S.NO. 110 H.NO. 1/A/1/B/14 PLOT NO. 19 AT VILLAGE - CHIKANGHAR TALUKA - KALYAN DIST - THANE.	SHEET NO - 01

STAMP OF APPROVAL OF PLANS

AREA STATEMENT			
1		AREA OF PLOT (MINIMUM AREA OF a, b,& c TO BE CONSIDER)	
	a	AS PER OWNNERSHIP DOCUMENT AS PER 7/12	379.000
	b	AS PER MEASUREMENT SHEET	==========
	c	AS PER SITE (379.000 - 4.250)	374.750
2		DEDUCTION FOR	
	a	D.P. ROAD WIDENING AREA/ SERVICE ROAD / HIGHWAY WIDENING.	==========
	b	EXISTING ROAD	N.A.
	C	ANY D.P. RESERVATION AREA	==========
	TOTAL (a+ b+c)		374.750
3	BALANCE AREA OF PLOT		374.750
4	AMENITY SPACE		N.A.
	a	REQURIED	=======
	b	ADJUSTMENT OF 2b	=======
	c	BALANCE PROPOSED	=======
5	NET PLOT AREA (3 - (4c))		374.750
6	RECREATIONAL OPEN SPACE		N.A.
	a	REQURIED	N.A.
	b	PROPOSED	N.A.
7	INTERNAL ROAD AREA		———
8	PLOTABLE AREA		———
9	BUILT UP AREA WITH THE REFERENCE TO BASIC FSI AS PER FRONT ROAD WITH (374.750 X 1.10)		412.225
10	ADDITION OF F.S.I. ON PAYMENT OF PREMIUM		
	a	MAXIMUM PERMISSIBLE PREMIUM FSI- BASED ON ROAD WITH / TOD ZONE	
	b	PROPOSED FSI ON PAYMENT OF PREMIUM (374.750 X 0.50 = 187.375)	187.375
11	IN SITU FSI /TDR LOADING		
	a	IN SITU AREA AGAINST DP ROAD	————
	b	AREA AGAINST AMENITY SPACE IF HANDOVER	———
	c	TDR AREA (374.750 X 0.40) = 185.600	149.900
	d	TOTAL IN SITU/ TDR LOADING PROPOSED {11 (a) + (b) +(c)}	149.900
12	ADDITIONAL FSI UNDER CHAPTER 7		N.A.
13	TOTAL ENTITLEMENT OF FSI IN PROPOSAL		
	a	{9 + 10(b)+11(d)} OR 12 SANCTION AREA PROPOSED AS PER UDCPR	749.500
	b	ANCILLARY AREA UP TO 60% OR 80% WITH PAYMENT OF CHARGE FOR RESIDENTIAL (705.400 X 60%) = 423.240 FOR COMMERCIAL (44.100 X 80%) = 38.280 — 461.520	461.520
	c	TOTAL PERMISSIBLE BUILT UP AREA (a + b)	1211.020
14	MAXIMUM UTILIZATION LIMIT OF FSI (BUILDING POTENTIAL) PERMISSIBLE AS PER ROAD WIDTH ((AS PER SQUATION NO 6.1 OR 6.2 OR 6.3 OR 6.4 AS APPLICABLE) X 1.6 OR 1.8		————
15	TOTAL BUILT UP AREA IN PROPOSAL (EXCLUDING SR.N0 17 b)		
	a	EXISTING BUILT UP AREA IN PROPOSAL	————
	b	PROPOSED BUILT UP AREA (AS PER P LINE)	1124.443
	c	TOTAL (a + b)	1124.443
16	FSI CONSUMED (15/13)		0.92
17	AREA FOR INCLUSIVE HOUSING, IF ANY		
	a	REQUIRED	
	b	PROPOSED	

CERTIFICATE OF AREA

CERTIFIED THAT THE PLOT UNDER REFERENCE WAS SURVEYED BY ME ON DATE THE DIMENSIONS OF SIDES ETC. OF PLOT STATED ON PLAN ARE AS MEASURED ON SITE AND THE AREA SO WORK OUT TALLIES WITH THE AREA STATED IN DOCUMENT OF OWNERSHIP/ T.P. SCHEME RECORD/ LAND RECORDS DEPARTMENT/ CITY SURVEY REC.

SIGNATURE OF ARCHITECT.

APPENDIX - C

THE PLANS PREPARED BY ME ARE IN ACCORDANCE WITH THE NORMS AS SPECIFIED BY INDIAN STANDARD INSTITUTE & WILL BE HELD RESPONSOBLE FOR ANY HARM CAUSED IN EARTHQUAKE DUE TO NEGLIENCE OF THE STANDARDS.

SIGNATURE OF ENGINEERS

OWNER'S DECLARATION

I WE UNDERSIGNED HEREBY CONFIRM THAT I WE ABIDE BY PLANS APPROVED BY AUTHORITY/ COLLECTOR. I/WE WOULD EXECUTE THE STRUCTURE AS PER APPROVED PLANS, ALSO I/WE WOULD EXECUTE THE WORK UNDER SUPERVISION OF PROPER TECHNICAL PERSON SA AS TO ENSURE THE QUAITY AND SAFETY AT THE WORK SITE.

SIGNATURE OF OWNER	SIGNATURE OF ARCHITECT

JOB.NO.	DRG.NO.	SCALE	DRAWN BY.	CHECKED BY.
35	01	AS SHOWN	SHUBHAM SALVI	M.D.K.

PRODUCED BY AN AUTODESK EDUCATIONAL PRODUCT
PRODUCED BY AN AUTODESK EDUCATIONAL PRODUCT
PRODUCED BY AN AUTODESK EDUCATIONAL PRODUCT