PROPOSED BUILDING ON LAND BEARING, S.NO. 82, H.NO.52 & H.NO.53, PLOT NO.116 & 117, AT VILLAGE:- G.B. PATHARLI, DOMBIVLI (E), TAL. - KALYAN, DIST-THANE.

FOR, SHREE RAJLAXMI PRASANNA CO-OP. HSG. SOC. LTD.

DRAWING SHEET NO.: 1/1

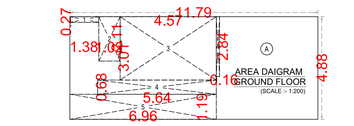

BUILT UP AREA CALCULATION				
GROUND FLOOR				
A	23.57X9.75X1 NO	=	229.81SQ.MT.	
	TOTAL ADDITION	=	229.81SQ.MT.	
DEDUCTIONS				
1	2.75X0.54X1 NO	=	1.49SQ.MT.	
2	2.03X4.22X1 NO	=	8.575Q.MT.	
3	9.13X6.02X1 NO	=	54.96SQ.MT.	
4	11.27X1.35X1 NO	=	15.21SQ.MT.	
5	0.32X5.68X1 NO	=	1.82SQ.MT.	
5	13.91X2.38X1 NO	=	33.11SQ.MT.	
	TOTAL DEDUCTION	=	115.16SQ.MT.	
	TOTAL BUILT UP AREA	=	114.65SQ.MT.	

BUILT-UP AREA STATEMENT :

1ST TO 3RD FLOOR

AREA OF BLOCK [ABCD] = 31.38 X 11.41 = 358.05 SQ.M

STANDARD DEDUCTIONS :-

D1. 3.91 X 1.04 =	4.07 SQ.M
D2. 2.90 X 1.79 =	5.19 SQ.M
D3. 4.78 X 1.04 =	4.97 SQ.M
D4. 5.03 X 1.52 =	7.65 SQ.M
D5. 1.37 X 1.38 =	1.89 SQ.M
D6. 1.22 X 1.05 =	1.28 SQ.M
D7. 0.75 X 7.84 =	5.88 SQ.M
D8. 4.65 X 0.22 =	1.02 SQ.M
D9. 2.90 X 1.60 =	4.64 SQ.M
D10. 1.70 X 2.14 =	3.64 SQ.M
D11. 0.77 X 2.14 =	1.65 SQ.M
D12. 2.90 X 1.08 =	3.13 SQ.M
D13. 3.20 X 0.33 =	1.06 SQ.M
D14. 1.22 X 1.55 =	1.89 SQ.M
D15. 8.08 X 1.38 =	11.15 SQ.M
D16. 0.42 X 4.27 =	1.79 SQ.M
D17. 1.88 X 1.90 =	3.57 SQ.M
D18. 1.22 X 0.46 =	0.56 SQ.M
TOTAL STANDARD DEDUCTIONS =	65.03 SQ.M
GROSS AREA (358.05 + 0.00) - 65.03 =	293.02 SQ.M
TOTAL DEDUCTIONS =	0.00 SQ.M
NET AREA :293.02 - 0.00 =	293.02 SQ.M
TOTAL NET AREA =	293.02 SQ.M

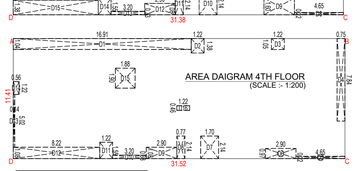

BUILT-UP AREA STATEMENT : 4TH FLOOR	
AREA OF BLOCK [ABCD] = 31.52 X 11.41 = 359.64 SQ.M	
STANDARD DEDUCTIONS :-	
D1. 16.91 X 1.04 =	17.59 SQ.M
D2. 1.22 X 1.38 =	1.68 SQ.M
D3. 1.22 X 1.05 =	1.28 SQ.M
D4. 0.75 X 7.84 =	5.88 SQ.M
D5. 4.65 X 0.22 =	1.02 SQ.M
D6. 2.90 X 0.97 =	2.81 SQ.M
D7. 1.70 X 2.14 =	3.64 SQ.M
D8. 0.77 X 2.14 =	1.65 SQ.M
D9. 3.20 X 0.33 =	1.06 SQ.M
D10. 1.22 X 1.55 =	1.89 SQ.M
D11. 1.22 X 1.05 =	1.28 SQ.M
D12. 8.22 X 1.05 =	8.63 SQ.M
D13. 0.14 X 5.02 =	0.70 SQ.M
D14. 0.56 X 1.22 =	0.68 SQ.M
D15. 1.88 X 1.90 =	3.57 SQ.M
D16. 1.22 X 0.46 =	0.56 SQ.M
TOTAL STANDARD DEDUCTIONS =	56.02 SQ.M
GROSS AREA (359.64 + 0.00) - 56.02 =	303.62 SQ.M
NET AREA :303.62 - 0.00 =	303.62 SQ.M
TOTAL NET AREA =	303.62 SQ.M

BUILT UP AREA CALCULATION				
SOC. OFF. / FIT. CENT. / DRIVERS ROOM				
A	[8.58X4.58]X1NO	=	39.30 SQ.MT.	
	TOTAL ADDITION	=	39.30 SQ.MT.	
DEDUCTIONS				
1	1.88X0.75X1NO	=	1.41 SQ.MT.	
2	1.37X1.09X1NO	=	1.49 SQ.MT.	
3	3.06X0.17X1NO	=	0.52 SQ.MT.	
4	1.88X2.05X1NO	=	3.85 SQ.MT.	
	TOTAL DEDUCTION	=	7.27 SQ.MT.	
TOTAL BUILT UP AREA		=	32.03 SQ.MT.	

PLOT AREA CALCULATION				
ROAD AREA				
i	1/2X11.89X 0.61X1 NO	=	3.63 SQ.MT.	
ii	1/2X14.53X 0.36X1 NO	=	2.62 SQ.MT.	
iii	1/2X 3.12X 1.72X1 NO	=	2.68 SQ.MT.	
	TOTAL ADDITION	=	8.93 SQ.MT.	
DEDUCTIONS				
a	2/3X 3.12X 0.44X1 NO	=	0.93 SQ.MT.	
	TOTAL DEDUCTION	=	0.93 SQ.MT.	
TOTAL BUILT UP AREA		=	8.00 SQ.MT.	

BUILT UP AREA CALCULATION				
5TH & 6TH FLOOR				
A	31.52X11.41X1 NO	=	359.64 SQ.MT.	
	TOTAL ADDITION	=	359.64 SQ.MT.	
DEDUCTIONS				
1	16.91X 1.04X1 NO	=	17.59 SQ.MT.	
2	1.22X 1.38X1 NO	=	1.68 SQ.MT.	
3	1.22X 1.05X1 NO	=	1.28 SQ.MT.	
4	0.75X 7.85X1 NO	=	5.89 SQ.MT.	
5	4.65X 0.22X1 NO	=	1.02 SQ.MT.	
6	2.90X 0.97X1 NO	=	2.81 SQ.MT.	
7	1.37X 0.46X1 NO	=	0.63 SQ.MT.	
8	3.95X 2.74X1 NO	=	10.82 SQ.MT.	
9	2.60X 2.29X1 NO	=	5.95 SQ.MT.	
10	1.37X 2.14X1 NO	=	2.93 SQ.MT.	
11	2.90X 1.08X1 NO	=	3.13 SQ.MT.	
12	3.20X 0.33X1 NO	=	1.06 SQ.MT.	
13	1.22X 1.55X1 NO	=	1.89 SQ.MT.	
14	8.22X 1.08X1 NO	=	8.88 SQ.MT.	
15	0.14X 5.02X1 NO	=	0.70 SQ.MT.	
16	0.56X 1.22X1 NO	=	0.68 SQ.MT.	
17	1.88X 1.90X1 NO	=	3.57 SQ.MT.	
	TOTAL DEDUCTION	=	70.51 SQ.MT.	
TOTAL BUILT UP AREA		=	289.13 SQ.MT.	

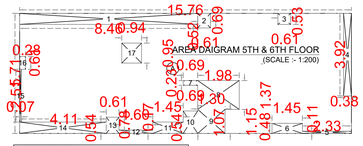

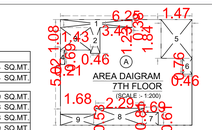

BUILT UP AREA CALCULATION				
TYPICAL FLOOR				
A	12.50X10.04X1 NO	=	125.50 SQ.MT.	
	TOTAL ADDITION	=	125.50 SQ.MT.	
DEDUCTIONS				
1	6.81X 0.75X1 NO	=	5.11 SQ.MT.	
2	0.91X 2.46X1 NO	=	2.24 SQ.MT.	
3	2.85X 2.15X1 NO	=	6.13 SQ.MT.	
4	0.42X 1.37X1 NO	=	0.58 SQ.MT.	
5	2.94X 3.68X1 NO	=	10.82 SQ.MT.	
6	0.91X 1.51X1 NO	=	1.37 SQ.MT.	
7	1.37X 1.22X1 NO	=	1.67 SQ.MT.	
8	4.58X 1.61X1 NO	=	7.37 SQ.MT.	
9	3.35X 1.05X1 NO	=	3.52 SQ.MT.	
	TOTAL DEDUCTION	=	38.81 SQ.MT.	
TOTAL BUILT UP AREA		=	86.69 SQ.MT.	

NET PLOT AREA				
1	1/2X37.46X14.04X1 NO	=	262.97 SQ.MT.	
2	1/2X38.03X 3.24X1 NO	=	61.61 SQ.MT.	
3	1/2X38.03X11.80X1 NO	=	224.38 SQ.MT.	
4	2/3X 3.32X 0.47X1 NO	=	1.04 SQ.MT.	
	TOTAL ADDITION	=	550.00 SQ.MT.	

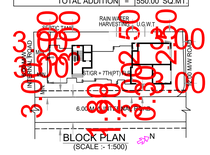

BUILT-UP + ANCILLARY AREA	
FLOORS	B.U.A + ANCILLARY
G.R. FLR.	114.66
1ST FLR	293.02
2ND FLR	293.02
3RD FLR	293.02
4TH FLR	303.62
5TH FLR	289.13
6TH FLR	289.13
7TH FLR	86.69
SOC. OFF. + TELECOM.	32.03+12.21= 44.24
TOTAL	2006.53

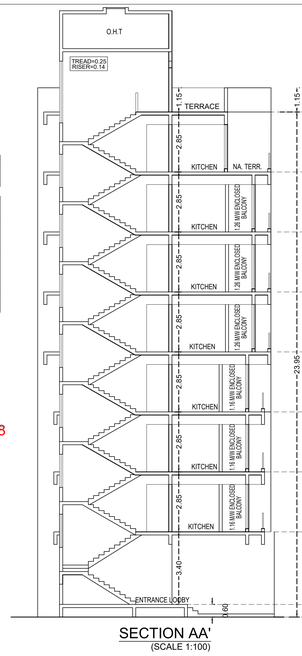

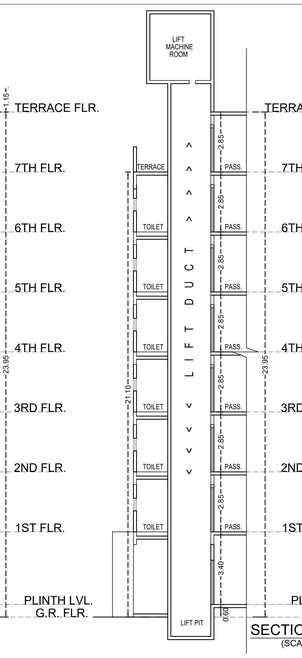

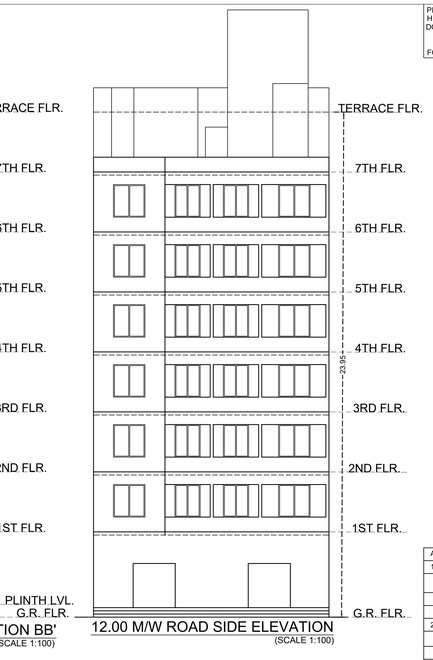

Owner Details		
Owner Name	Postal Address	Contact Number
M/s. Akshay Enterprises,	raghukool Heights, Flat No 501,R P Road,Kalyan,Thane, Maharashtra-421201	9920173615
Manan Atul Doshi	raghukool Heights, Flat No 501,R P Road,Kalyan,Thane, Maharashtra-421201	9920173615

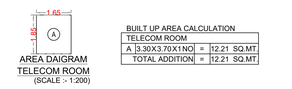

BUILT UP AREA CALCULATION				
TELECOM ROOM				
A	[3.30X3.70]X1NO	=	12.21 SQ.MT.	
	TOTAL ADDITION	=	12.21 SQ.MT.	

A	AREA STATEMENT	SQ.MT.
1	AREA OF PLOT (MINIMUM AREA OF A, B, C TO BE CONSIDERED)	
	(A) AS PER OWNERSHIP DOCUMENT (7/12, EXTRACT) (279.00 + 279.00 = 558.00)	558.00
	(B) AS PER MEASUREMENT SHEET	558.00
	(C) AS PER SITE	558.00
2	DEDUCTION	
	A. PROPOSED D.P./ D.P. ROAD WIDENING AREA/SERVICE ROAD /	8.00
	B. ANY D.P. RESERVATION AREA	NIL
	TOTAL A+B	8.00
3	BALANCE AREA OF THE PLOT (1 MINUS 2)	550.00
4	AMENITY SPACE (IF APPLICABLE)	
	A. REQUIRED -	N.A.
	B. ADJUSTMENT OF 2(B), IF ANY -	N.A.
	C. BALANCE PROPOSED -	N.A.
5	NET AREA OF PLOT (3 MINUS 4C)	550.00
6	RECREATIONAL OPEN SPACE (IF APPLICABLE)	
	A. REQUIRED -	NIL
	B. PROPOSED -	NIL
7	INTERNAL ROAD AREA	NIL
8	PLOTABLE AREA (IF APPLICABLE)	N.A.
9	BUILT UP AREA WITH REFERENCE TO BASIC F.S.I. AS PER FRONT ROAD WIDTH (550.00 X 1.10 = 605.00)	605.00
10	ADDITION OF FSI ON PAYMENT OF PREMIUM	
	A. MAXIMUM PERMISSIBLE PREMIUM FSI - BASED ON ROAD WIDTH / TOD ZONE. (558.00X 0.50 = 279.00)	279.00
	B. PROPOSED FSI ON PAYMENT OF PREMIUM.	193.70
11	IN-SITU FSI / TDR LOADING	
	A. IN-SITU AREA AGAINST D.P. ROAD [1.00 X 8.00 SR. NO. 2 (A)].IF ANY	8.00
	(B)IN-SITU AREA AGAINST AMENITY SPACE IF HANDED OVER [2.00 OR1.85 X SR. NO. 4 (B)AND /OR(C)],	N.A.
	C.TDR AREA (558.00 X 0.65 = 362.70 - 8.00 = 354.70)	260.00
	D.TOTAL IN-SITU / TDR LOADING PROPOSED 11 [(A)+(B)+(C)]	268.00
12	ADDITIONAL FSI AREA UNDER CHAPTER NO. 7 (12 MEMBER X15)	180.00
13	TOTAL ENTITLEMENT OF FSI IN THE PROPOSAL	
	A. [9 + 10(B)+11(D)] OR 12 WHICHEVER IS APPLICABLE.	1246.70
	B. ANCILLARY AREA FSI UPTO 60% OR 80%WITH PAYMENT OF CHARGES. COMMERCIAL (114.66 / 1.80 = 63.70 X 80% = 50.96) RESIDENTIAL (1891.87 / 1.60 = 1182.41 X 60% = 709.44)	760.40
	C. TOTAL ENTITLEMENT (A+B)	2007.10
14	MAXIMUM UTILIZATION LIMIT OF F.S.I. (BUILDING POTENTIAL) PERMISSIBLE AS PER ROAD WIDTH (AS PER REGULATION NO. 6.1 OR 6.2 OR 6.3 OR 6.4 AS APPLICABLE) X 1.6 OR 1.8) BASIC F.S.I. (550.00 X 1.10 = 605.00) PREMIUM FSI (558.00 X 0.50 = 279.00 } 63.70 X 1.80 = 114.66 T.D.R AGAINST (558.00 X 0.65 = 362.70) } 1183.00 X 1.60 = 1892.80 D.P. ROAD	2007.46
	TOTAL F.S.I = 1246.70	
15	TOTAL BUILT-UP AREA IN PROPOSAL.(EXCLUDING AREA AT SR.NO.17 B)	
	A. EXISTING BUILT-UP AREA.	NIL
	B. PROPOSED BUILT-UP AREA (AS PER 'P-LINE')	2006.53
	C. TOTAL (A+B)	2006.53
16	F.S.I. CONSUMED (15/13) (SHOULD NOT BE MORE THAN SERIAL NO.14 ABOVE.)	1.00
17	AREA FOR INCLUSIVE HOUSING, IF ANY	
	A. REQUIRED (20% OF SR.NO.5)	N.A.
	B. PROPOSED	N.A.

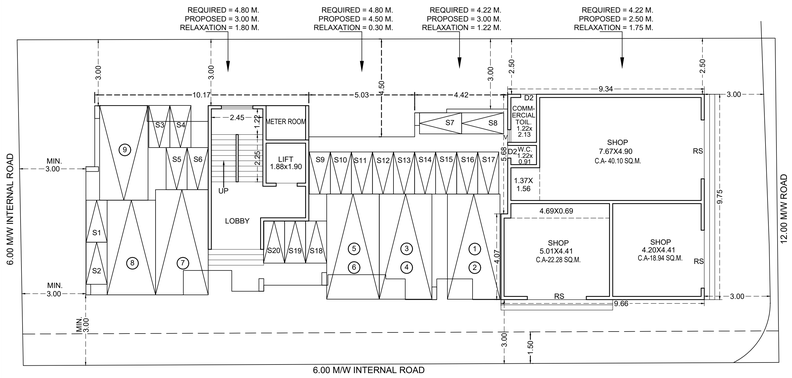

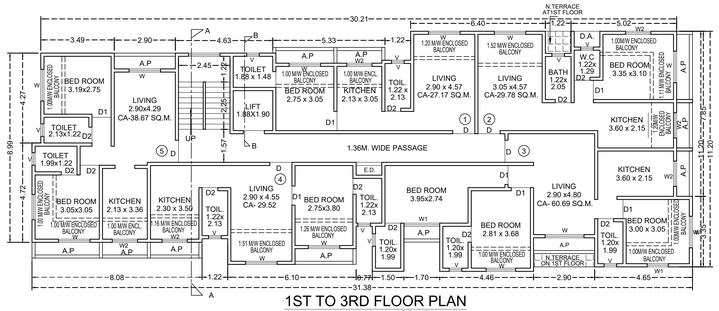

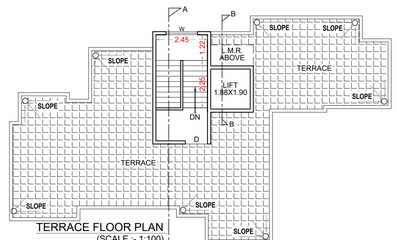

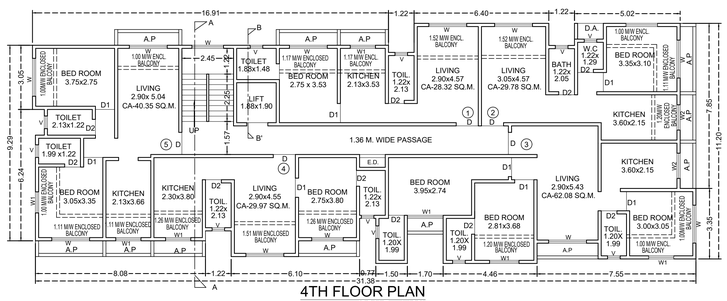

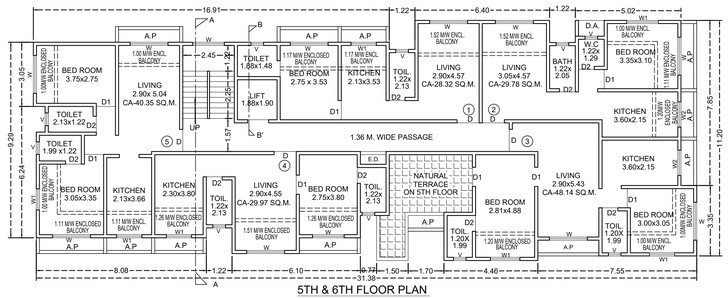

TENEMENT STATEMENT

FLOOR	NUMBER OF TENEMENT					
	BELOW 30 SQ.MT.	BET30-40 SQ.MT.	BET 40-80 SQ.MT.	BET 80-150 SQ.MT.	150 SQ.M & ABOVE	TOTAL
1ST FLOOR	3	1	1	-	-	05
2ND FLOOR	3	1	1	-	-	05
3RD FLOOR	3	1	1	-	-	05
4TH FLOOR	3	-	2	-	-	05
5TH FLOOR	3	-	2	-	-	05
6TH FLOOR	3	-	2	-	-	05
7TH FLOOR	1	1	-	-	-	02
TOTAL	19	4	09	-	-	32

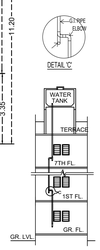

PARKING AREA STATEMENT			
PARKING SAPCE FOR EVERY	TENEMENT	4 WHEELER	2 WHEELER
UPTO 30 SQ.MT	2 TENEMENT	0	2
30 SQ.M TO 40 SQ.M	2 TENEMENT	1	2
40 SQ.M TO 80 SQ.M	2 TENEMENT	1	2
80 SQ.M TO 150 SQ.M	1 TENEMENT	1	1
150 SQ.M & ABOVE	1 TENEMENT	2	1
RESIDENTIAL PARKING FOR			
	NO. OF FLATS	4 WHEELER	2 WHEELER
UPTO 30 SQ.MT	19	...	19.00 (-0)
30 SQ.M TO 40 SQ.M	04	02.00	04.00 (-0)
40 SQ.M TO 80 SQ.M	09	04.50	09.00 (-0)
80 SQ.M TO 150 SQ.M	...	...	... (-0)
150 SQ.M & ABOVE	...	...	... (-0)
TOTAL PARKING REQUIRED (1+2+3+4+5)		06.50	32.00
5% VISITORS PARKING		00.32	01.60 (-0)
PARKING REQUIRED (1 TO 6)		06.82	33.60
APPLY OFF STREET PARKING MULTIPLYING FACTOR (80%)		05.45	N.A.
TOTAL PARKING REQUIRED		05.00	34.00 (-0)
COMMERCIAL (SHOPS) :			
FOR EVERY100 SQ.M. CARPET AREA. CARPET AREA IN SQ.MT. = 85.89 SQ.MT.		2 / 01.71	6 / 05.15 (-0)
COMMERCIAL (OFFICE'S) :			
FOR EVERY 200 SQ.M. BUILT-UP AREA. CARPET AREA IN SQ.MT. = 0.00 SQ.MT.		3 / NIL	11 / NIL (-0)
PARKING REQUIRED (9 + 10)		01.71	05.15
APPLY OFF STREET PARKING MULTIPLYING FACTOR (0.80%)		01.36	04.12
TOTAL PARKING REQUIRED		01.00	04.00 (-1)
TOTAL PARKING REQUIRED (8 + 11) (COMMERCIAL + RESIDENTIAL)		6 + 3 = 09 NOS	38 NOS
TOTAL PARKING PROPOSED		09 NOS	20 PROPOSED 18 CONVERT TO CARS 18/6 = 3.00 3 CARS

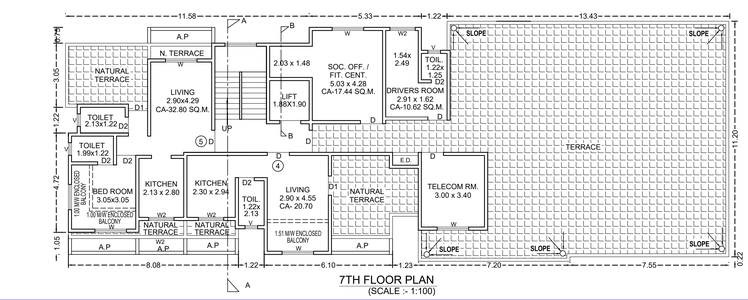

SCHEDULE OF DOORS & WINDOWS			
TYPE	SIZE	ROOM	DESCRIPTION
D	1.05x2.10	LIVING	T. W. FRAME DOOR
D1	0.91x2.10	BED	T. W. FRAME FLUSH DOOR
D2	0.75x2.00	BATH, TOILET	T. W. FRAME FLUSH DOOR

V E N T I L A T I O N S T A T E M E N T							
TYPE	SIZE	ROOM	ROOM SIZE	ROOM AREA	REQD. VENT	PROP. VENT	DESCRIPTION
W	1.80 X1.80	LIV	2.90X4.57	13.25 SQ.M	1.32 SQ.M	3.24 SQ.M.	ALUM. FRAME GLAZED WINDOW.
W	1.80 X1.82	BED	2.75X3.53	9.70 SQ.M	0.97 SQ.M	3.64 SQ.M.	ALUM. FRAME GLAZED WINDOW.
W1	1.20X1.20	KIT	2.13X3.53	7.51 SQ.M	0.75 SQ.M	2.40 SQ.M.	ALUM. FRAME GLAZED WINDOW.
V	0.60X0.75	TOIL	1.22X2.13	2.59 SQ.M	0.25 SQ.M	0.45 SQ.M.	ALUM. FRAME GLAZED LOUVERED.

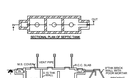

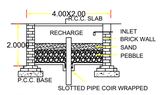

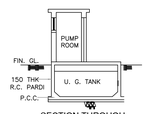

CERTIFICATE OF AREA

CERTIFIED THAT I HAVE SURVEYED THE PLOT UNDER REFERENCE ON 02/05/2024 & THE DIMENSIONS OF THE SIDES ETC. OF THE PLOT STATED ON THE PLANS ARE AS MEASURED ON THE SITE AND THE AREA SO WORKED OUT IS 558.00 SQ.M AND TALLIES WITH THE AREA STATED IN THE DOCUMENT OF OWNERSHIP/ /TOWN PLANNING SCHEME RECORDS.

SIGNATURE OF OWNER/P.O.A HOLDER — SIGNATURE OF LICENSED ARCHITECT

STRUCTURAL CERTIFICATE

THE PLANS PREPEARED BY US ARE IN ACCORDENCE WITH THE NORMS AS SPECIFIED BY INDIAN STANDARDS INSTITUTE AND WE WILL BE HELD RESPONSIBLE FOR ANY HARM CAUSED IN EARTHQUAKE DUE TO NEGLIGENCE OF THE STANDARDS.

SIGNATURE OF STRUCURAL ENGINEER

OWNER/P.O.A HOLDER DECLARATION

I/WE UNDERSIGNED HEREBY CONFIRM THAT I/WE WOULD ABIDE BY PLANS APPROVED BY AUTHORITY / COLLECTOR. I/WE WOULD EXECUTE THE STRUCTURE AS PER APPROVED PLANS. ALSO I/WE WOULD EXECUTE THE WORK UNDER SUPERVISION OF PROPER TECHNICAL PERSON SO AS TO ENSURE THE QUALITY AND SAFETY AT THE WORK SITE.

SHRI. MANAN ATUL DOSHI & OTHERS.
M/S. AKSHAY ENTERPRISES
Shop No.102, Abha CHS. Phadke Road, Village-Dombivli
Taluka - Kalyan, Dist - Thane.

NAME, ADDRESS & SIGNATURE OF ARCHITECT

Owner (s) name and signature

Proforma I : Area Statement

1. Area of plot(Minimum area of a, b, c to be considered) or area of subplot with sanctioned layout No. and subplot No.	558.000
(a) As per ownership document (7/12, CTS extract)	558.000
(b) as per TILR or City Survey measurement sheet	558.000
(c) as per Demarcated drawing area LESS	558.000
2.Area not in possession	0.000
3. Area Proposed for development (out of 1-2)	558.000
4 Deductions for(out of 3)	
(a) Proposed D.P./ D.P. Road widening Area/Proposed DP road, Road under MMC act	8.000
(b) Any D.P. Reservation area	0.000
(c) Green Belt	0.000
(Total a+b+c)	8.000
5. Balance area of plot (3-4)	550.000
6. Amenity Space Proposed	0.000
(Required -(a) Upto 20,000 sqmt - Nil -	-
(b) Above 20,000 and more - (a) + 5% of Total area	0.000
7. Net Plot Area (5-6)	550.000
8.Recreational Open Space (Not applicable if plots are from sanctioned layout)	-
(a). If area is more than (5) 4000 sqmt - 10 % of (5) is required.	0.000
Proposed.	1.00
(A)10 % Subject to minimum 200 sqmt(Not applicable if plots are from sanctioned layout or each plot admesuring less than 4000sq.m regularised under gunthewari act)	0.000
Proposed	0.000
(B)Exemption to leave open space subject to availing basic F.S.I of 75 %	-
(C)Exemption to leave open space subject to payment of 10 % land value of land at (7) as per annual statement of rate.	-
if (5) > 4000sq.m then Land admesuring 20% of (5) is to be utilised for inclusive housing	0.000
Proposed Area	0.000

Architect/ Licensed Engineer/ Supervisor name and signature

Registration No. of Architect/ License no. of Licensed Engineer/ Supervisor: CA/1999/24527

Certificate of Area:
Certified that the plot under reference was surveyed by me on _____ and the dimensions of sides etc. of plot stated on plan are as measured on site and the area so worked out tallies with the area stated in document of Ownership/ T.P. Scheme Records/Land Records Department/City Survey records.

Signature
(Name of Architect/ Licensed Engineer/ Supervisor.)
Owner's Declaration -
I/We undersigned hereby confirm that I/We would abide by plans approved by Authority / Collector. I/We would execute the structure as per approved plans. Also I/We would execute the work under supervision of proper technical person so as to ensure the quality and safety at the work site.

Postal Address : raghukool Heights, Flat No 501,R P Road,Kalyan,Thane,Maharashtra-421201

DESCRIPTION OF PROJECT :
Type of Proposal : Mixed
BUILDING ON CTS. NO./SURVEY NO.-82

SITE ADDRESS :
S.NO. 82, H.NO.52 AND H.NO.53, PLOT NO.116 & 117, AT VILLAGE:- G.B. PATHARLI, DOMBIVLI (E), TAL. - KALYAN, DIST-THANE.

Name Of Architect : Shirish Gajanan Nachane

LOGO : LANDMARK GROUP
CIVIL & ARCHITECTURAL SERVICES

OWNERS SIGN -	TECHNICAL PERSON SIGN SHIRISH G. NACHANE CA/99/24527.
SCALE -	Date: 25/11/25
JOB NO - KDMCC-25-126511	CHECK BY -

SUBMISSION DRAWING

SHREE RAJLAXMI PRASANNA CO-OPERATIVE HOUSING SOCIETY LTD

BUILDING	FLOORS	FSI AREA						BALCONY	TERRACE	LIFT	LIFTWELL	DUCT	VENT	OTHER	TOTAL
		COMM.	RESI.	IND.	EDU.	INS.	MEZZ.	PROP.					SHAFT	DEDUCTION	FSI AREA
SHREE RAJLAXMI PRASANNA CO-OPERATIVE HOUSING SOCIETY LTD	7TH FLOOR	0.000	130.923	0.000	0.000	0.000	0.000	0.000	0.000	0.000	0.000	0.000	0.000	0.000	130.923
SHREE RAJLAXMI PRASANNA CO-OPERATIVE HOUSING SOCIETY LTD	5TH-6TH FLOOR	0.000	585.458	0.000	0.000	0.000	0.000	0.000	0.000	0.000	7.144	0.000	0.000	0.000	578.314
SHREE RAJLAXMI PRASANNA CO-OPERATIVE HOUSING SOCIETY LTD	4TH FLOOR	0.000	307.782	0.000	0.000	0.000	0.000	0.000	0.000	3.572	3.572	0.561	0.000	0.000	303.649
SHREE RAJLAXMI PRASANNA CO-OPERATIVE HOUSING SOCIETY LTD	TYPICAL 1ST TO 3RD FLOOR	0.000	891.546	0.000	0.000	0.000	0.000	0.000	0.000	0.000	10.716	1.683	0.000	0.000	879.147
SHREE RAJLAXMI PRASANNA CO-OPERATIVE HOUSING SOCIETY LTD	GROUND F	92.406	22.288	0.000	0.000	0.000	0.000	0.000	0.000	0.000	0.000	0.000	0.000	0.000	114.694
SHREE RAJLAXMI PRASANNA CO-OPERATIVE HOUSING SOCIETY LTD	TOTAL	92.406	1937.997	0.000	0.000	0.000	0.000	0.000	0.000	3.572	21.432	2.244	0.000	0.000	2006.727

FSI DETAILS

10 Index	Basic FSI (on serial no 7)	Premium FSI (on serial no 3)	TDR/DR (on serial no 3)	Rehab Incentive FSI as per 7.6.2	Incentive fsi for green building If Applicable (on basic FSI)	Ancillary Area(60% of 2 + 3+4+5)	Ancillary Area(80% of 2 + 3+4+5)	Total	Drawing Value
10.1 Permissible Index	1.100	0.500	0.650	50%	0.000	0.000	0.000	2.250	0.000
10.2 Total Entitlement of FSI as per Reg 7.6.1 & 7.6.2	1.100	0.500	0.650	-	0.000	0.000	0.000	2.250	0.000
10.3 FSI Permissible for Redevelopment(Max of 10.1 and 10.2)	1.100	0.500	0.650	-	0.000	0.000	0.000	0.000	0.000
10.4 Total Permissible (P Line Area)	605.000	279.000	362.700	180.000	0.000	709.794	50.960	2187.454	0.000
10.5 Proposed P Line Area (should not exceed 10.4)	605.000	193.700	268.000	180.000	0.000	709.067	50.960	2006.727	2006.727
10.6 Index Consumed	1.100	0.347	0.480	0.000	0.000	0.000	0.000	1.927	0.000

Carpet Area Table

Building Name	Floor Name	Carpet name	Tenement No	Carpet Area	Enclosed Balcony Area	Normal Balcony Area	Mezzanine Area	Total Carpet Area
SHREE RAJLAXMI PRASANNA CO-OPERATIVE HOUSING SOCIETY LTD	GROUND F	SHOP	1	44.671	0.000	0.000	0.000	44.671
SHREE RAJLAXMI PRASANNA CO-OPERATIVE HOUSING SOCIETY LTD	GROUND F	SHOP	1	18.938	0.000	0.000	0.000	18.938
SHREE RAJLAXMI PRASANNA CO-OPERATIVE HOUSING SOCIETY LTD	GROUND F	SHOP	1	22.283	0.000	0.000	0.000	22.283
SHREE RAJLAXMI PRASANNA CO-OPERATIVE HOUSING SOCIETY LTD	TYPICAL 1ST TO 3RD FLOOR	101;201;301	3	27.865	0.000	0.000	0.000	27.865
SHREE RAJLAXMI PRASANNA CO-OPERATIVE HOUSING SOCIETY LTD	TYPICAL 1ST TO 3RD FLOOR	102;202;302	3	29.780	0.000	0.000	0.000	29.780
SHREE RAJLAXMI PRASANNA CO-OPERATIVE HOUSING SOCIETY LTD	TYPICAL 1ST TO 3RD FLOOR	103;203;303	3	60.687	0.000	0.000	0.000	60.687
SHREE RAJLAXMI PRASANNA CO-OPERATIVE HOUSING SOCIETY LTD	TYPICAL 1ST TO 3RD FLOOR	104;204;304	3	29.523	0.000	0.000	0.000	29.523
SHREE RAJLAXMI PRASANNA CO-OPERATIVE HOUSING SOCIETY LTD	TYPICAL 1ST TO 3RD FLOOR	105;205;305	3	38.667	0.000	0.000	0.000	38.667
SHREE RAJLAXMI PRASANNA CO-OPERATIVE HOUSING SOCIETY LTD	4TH FLOOR	401	1	28.317	0.000	0.000	0.000	28.317
SHREE RAJLAXMI PRASANNA CO-OPERATIVE HOUSING SOCIETY LTD	4TH FLOOR	402	1	29.780	0.000	0.000	0.000	29.780
SHREE RAJLAXMI PRASANNA CO-OPERATIVE HOUSING SOCIETY LTD	4TH FLOOR	403	1	62.076	0.000	0.000	0.000	62.076
SHREE RAJLAXMI PRASANNA CO-OPERATIVE HOUSING SOCIETY LTD	4TH FLOOR	404	1	29.969	0.000	0.000	0.000	29.969
SHREE RAJLAXMI PRASANNA CO-OPERATIVE HOUSING SOCIETY LTD	4TH FLOOR	405	1	40.352	0.000	0.000	0.000	40.352
SHREE RAJLAXMI PRASANNA CO-OPERATIVE HOUSING SOCIETY LTD	5TH-6TH FLOOR	501;601	2	28.317	0.000	0.000	0.000	28.317
SHREE RAJLAXMI PRASANNA CO-OPERATIVE HOUSING SOCIETY LTD	5TH-6TH FLOOR	502;602	2	29.780	0.000	0.000	0.000	29.780
SHREE RAJLAXMI PRASANNA CO-OPERATIVE HOUSING SOCIETY LTD	5TH-6TH FLOOR	503;603	2	48.139	0.000	0.000	0.000	48.139
SHREE RAJLAXMI PRASANNA CO-OPERATIVE HOUSING SOCIETY LTD	5TH-6TH FLOOR	504;604	2	29.969	0.000	0.000	0.000	29.969
SHREE RAJLAXMI PRASANNA CO-OPERATIVE HOUSING SOCIETY LTD	5TH-6TH FLOOR	505;605	2	40.352	0.000	0.000	0.000	40.352

Existing Building / Tenement Details

Sr.No	Building/Tenement No.	Carpet Area Per Tenement	BUA Per Tenement	Status Of Occupant	Number Of Tenements	Residential/ Non Residential	For Tenement Carpet below 27, 87SqM. Min 27.87 Sqm to be added	Total	Incentive 30%/50% per Tenement for owner	Total incenitve	15 Sqm BUA addition per tenement	Total of 15 sqmt Addition	Total
0	1	1.000	1.000	Tenent	1	Residential	26.870	26.870	0.500	0.000	15.000	15.000	42.870

Area utilisation of Roads and Reservations

Description of area utilisation			surrendered Area in(Sqm)	Quatam of DR/TDR generation	Total Quatam of DR/TDR generation	Area considered for DR utilisation	Remaining area for DRC generation
BUILDING	Reservation type	reseravation no	Name				
-	-	6.000.m DP Road Widening	8.000	16.000	16.000	0.000	0.000
-	-	Total	8.000	16.000	16.000	8.000	8.000

Parking Check (Table 8B)

Building Name	USE	TENAMENT AREA	RATIO car	RATIO scooter	NO.OF Tena/Area/Units	Required car	Required scooter	Transport Vehicle/Ambulance /Mini Bus
SHREE RAJLAXMI PRASANNA CO-OPERATIVE HOUSING SOCIETY LTD	Residential	For every two tenements with each tenement having carpet area equal to or above 40 sq.m. but less than 80 sq.m.	1	2	9	4.500	9.000	-
SHREE RAJLAXMI PRASANNA CO-OPERATIVE HOUSING SOCIETY LTD	Residential	For every two tenements with each tenement having carpet area less than 30 Sq.m.	0	2	18	0.000	18.000	-
SHREE RAJLAXMI PRASANNA CO-OPERATIVE HOUSING SOCIETY LTD	Residential	For every two tenements with each tenement having carpet area less than 40 Sq.m. but more than 30 sq.m.	1	2	3	1.500	3.000	-
SHREE RAJLAXMI PRASANNA CO-OPERATIVE HOUSING SOCIETY LTD	Commercial	For every 100 sq.m. carpet area or fraction thereof	2	6	85.891	1.718	5.153	-
Total	-	-	-	-	-	7.718	35.153	-
Visitors parking(5%)	-	-	-	-	-	0.300	1.500	-
Total	-	-	-	-	-	8.018	36.653	0.000

Parking Check As Per Multiplying Factor 0.800 (note: 1) 6 scooter equals to 1 car, proposed composite parking for car= 3)

Building Name	Required Car	Required Scooter	Required Transport Vehicle/Ambulance /Mini bus	Proposed Car	Proposed Scooter	Proposed Transport Vehicle/Ambulance /Mini bus	Status
Total	9	18	0	9	20	0	OK

Telecom Room

Building	Req. Size	Prop. Size	Status
SHREE RAJLAXMI PRASANNA CO-OPERATIVE HOUSING SOCIETY LTD	TelecomRoom	3.000X3.400	OK

SCHEDULE OF OPENING

BLD NAME	NAME	LENGTH	HEIGHT	Nos.
SHREE RAJLAXMI PRASANNA CO-OPERATIVE HOUSING SOCIETY LTD	V	0.600	1.200	22
SHREE RAJLAXMI PRASANNA CO-OPERATIVE HOUSING SOCIETY LTD	v	0.600	1.200	2

Project Details

Proposed code=KDMCC-25-126511
Zone Type=Residential Zone with Shop Use. (R-22)
Location=Non-Congested
Name of service=Redevelopment For Residential Building
Sub service=Redevelopment of Ganarbal buildings
Cts No./Survey No.=82
Tahsil=Sector-5
Mouze=G.B. Pathardi
Proposal Value=0.000
Deposited(%)/ Area Area=

Owner Details

Owner Name	Postal Address	Contact Number
M/s. Akshay Enterprises,	raghukool Heights, Flat No 501,R P Road,Kalyan,Thane, Maharashtra-421201	9920173615
Manan Atul Doshi	raghukool Heights, Flat No 501,R P Road,Kalyan,Thane, Maharashtra-421201	9920173615

Owner Details

Owner Name	Postal Address	Contact Number
M/s. Akshay Enterprises,	raghukool Heights, Flat No 501,R P Road,Kalyan,Thane, Maharashtra-421201	9920173615
Manan Atul Doshi	raghukool Heights, Flat No 501,R P Road,Kalyan,Thane, Maharashtra-421201	9920173615

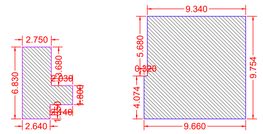

BUILT UP AREA CALCULATION
FOR GROUND F SHREE RAJLAXMI PRASANNA CO-OPERATIVE HOUSING SOCIETY LTD

AREA NAME	LENGTH	WIDTH	Area(Sq.M)
BLOCK	9.660	10.496	101.386
		BLOCK AREA TOTAL=101.386Sq.M	
		TOTAL Deduction=0.000Sq.M	
		Net BuiltUp Area=101.386 Sq.M	

BUILT UP AREA CALCULATION
FOR GROUND F SHREE RAJLAXMI PRASANNA CO-OPERATIVE HOUSING SOCIETY LTD

AREA NAME	LENGTH	WIDTH	Area(Sq.M)
BLOCK	9.754	9.660	93.868
		BLOCK AREA TOTAL=93.868Sq.M	
		TOTAL Deduction=0.000Sq.M	
		Net BuiltUp Area=93.868 Sq.M	

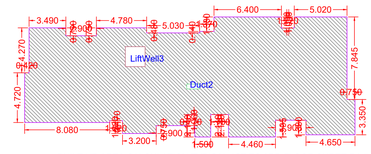

BUILT-UP AREA CALCULATION TYPICAL 1ST TO 3RD FLOOR SHREE RAJLAXMI PRASANNA CO-OPERATIVE HOUSING SOCIETY LTD

BUILT UP AREA CALCULATION
FOR TYPICAL 1ST TO 3RD FLOOR SHREE RAJLAXMI PRASANNA CO-OPERATIVE HOUSING SOCIETY LTD

AREA NAME	LENGTH	WIDTH	Area(Sq.M)
BLOCK	21.880	89.748	1961.782
		BLOCK AREA TOTAL=1961.782Sq.M	
LiftWell3	-	-	3.572
Duct2	-	-	2.561
		TOTAL Deduction=6.133Sq.M	
		Net BuiltUp Area=1955.649 Sq.M	

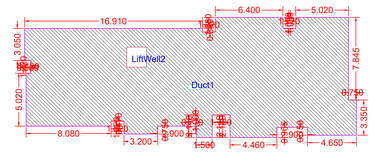

BUILT-UP AREA CALCULATION 4TH FLOOR SHREE RAJLAXMI PRASANNA CO-OPERATIVE HOUSING SOCIETY LTD

BUILT UP AREA CALCULATION
FOR 4TH FLOOR SHREE RAJLAXMI PRASANNA CO-OPERATIVE HOUSING SOCIETY LTD

AREA NAME	LENGTH	WIDTH	Area(Sq.M)
BLOCK	21.880	89.748	1961.782
		BLOCK AREA TOTAL=1961.782Sq.M	
LiftWell2	-	-	3.572
Duct1	-	-	2.561
		TOTAL Deduction=6.133Sq.M	
		Net BuiltUp Area=1955.649 Sq.M	

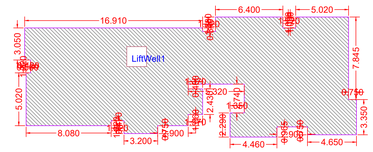

BUILT-UP AREA CALCULATION 5TH-6TH FLOOR SHREE RAJLAXMI PRASANNA CO-OPERATIVE HOUSING SOCIETY LTD

BUILT UP AREA CALCULATION
FOR 5TH-6TH FLOOR SHREE RAJLAXMI PRASANNA CO-OPERATIVE HOUSING SOCIETY LTD

AREA NAME	LENGTH	WIDTH	Area(Sq.M)
BLOCK	21.880	11.410	249.729
		BLOCK AREA TOTAL=249.729Sq.M	
LiftWell1	-	-	3.572
		TOTAL Deduction=3.572Sq.M	
		Net BuiltUp Area=246.157 Sq.M	

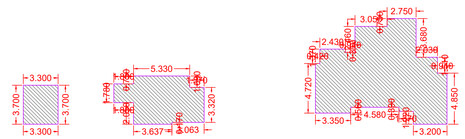

BUILT UP AREA CALCULATION
FOR 7TH FLOOR SHREE RAJLAXMI PRASANNA CO-OPERATIVE HOUSING SOCIETY LTD

AREA NAME	LENGTH	WIDTH	Area(Sq.M)
BLOCK	3.700	3.300	12.210
		BLOCK AREA TOTAL=12.210Sq.M	
		TOTAL Deduction=0.000Sq.M	
		Net BuiltUp Area=12.210 Sq.M	

BUILT UP AREA CALCULATION
FOR 7TH FLOOR SHREE RAJLAXMI PRASANNA CO-OPERATIVE HOUSING SOCIETY LTD

AREA NAME	LENGTH	WIDTH	Area(Sq.M)
BLOCK	8.600	4.580	39.418
		BLOCK AREA TOTAL=182.918Sq.M	
		TOTAL Deduction=0.000Sq.M	
		Net BuiltUp Area=182.918 Sq.M	

BUILT UP AREA CALCULATION
FOR 7TH FLOOR SHREE RAJLAXMI PRASANNA CO-OPERATIVE HOUSING SOCIETY LTD

AREA NAME	LENGTH	WIDTH	Area(Sq.M)
BLOCK	12.580	14.000	176.120
		BLOCK AREA TOTAL=176.120Sq.M	
		TOTAL Deduction=0.000Sq.M	
		Net BuiltUp Area=176.000 Sq.M	

Proforma I : Area Statement

1. Area of plot(Minimum area of a, b, c to be considered) or area of subplot with sanctioned layout No. and subplot No.	558.000
(a) As per ownership document (7/12, CTS extract)	558.000
(b) as per TILR or City Survey measurement sheet	558.000
(c) as per Demarcated drawing area	558.000
LESS	
2.Area not in possession	0.000
3. Area Proposed for development (out of 1-2)	558.000
4 Deductions for(out of 3) :	
(a) Proposed D.P./ D.P. Road widening Area/Proposed DP road, Road under MMC act	8.000
(b) Any D.P. Reservation area	0.000
(c) Green Belt	0.000
(Total a+b+c)	8.000
5. Balance area of plot (3-4)	550.000
6. Amenity Space Proposed	0.000
(Required -(a) Upto 20,000 sqmt - Nil	-
(b) Above 20,000 and more - (a) + 5% of Total area	0.000
7. Net Plot Area (5-6)	550.000
8.Recreational Open Space (Not applicable if plots are from sanctioned layout)	-
(a). If area is more than (5) 4000 sqmt - 10 % of (5) is required.	0.000
Proposed	0.000
(A)10 % Subject to minimum 200 sqmt(Not applicable if plots are from sanctioned layout or each plot admeuring less than 4000sq.m regularised under gunthewari act)	0.000
Proposed	0.000
(B)Exemption to leave open space subject to availing basic F.S.I of 75 %	-
(C)Exemption to leave open space subject to payment of 10 % land value of land at (7) as per annual statement of rate.	-
If (5) > 4000sq.m then Land admeuring 20% of (5) is to be utilised for inclusive housing	0.000
Proposed Area	0.000

Architect/ Licensed Engineer/ Supervisor name and signature

Registration No. of Architect/ License no. of Licensed Engineer/ Supervisor: CA/1999/24527

Certificate of Area:
Certified that the plot under reference was surveyed by me on_____ and the dimensions of sides etc. of plot stated on plan are as measured on site and the area so worked out tallies with the area stated in document of Ownership/ T.P. Scheme Records/Land Records Department/City Survey records.

Signature
(Name of Architect/ Licensed Engineer/ Supervisor.)

Owner's Declaration -
I/We undersigned hereby confirm that I/We would abide by plans approved by Authority / Collector. I/We would execute the structure as per approved plans. Also I/We would execute the work under supervision of proper technical person so as to ensure the quality and safety at the work site.

Owner (s) name and signature

Postal Address : raghukool Heights, Flat No 501,R P Road,Kalyan,Thane,Maharashtra-421201

DESCRIPTION OF PROJECT :

Type of Proposal : Mixed
BUILDING ON CTS. NO./SURVEY NO.-82

SITE ADDRESS :
S.NO. 82, H.NO.52 AND H.NO.53, PLOT NO.116 & 117, AT VILLAGE- G.B. PATHARLI, DOMBIVLI (E), TAL. - KALYAN, DIST-THANE.

Name Of Architect : Shirish Gajanan Nachane

LOGO	ADDRESS OF OFFICE
	OFFICE - 1st Floor Kailash Mansion, Agarkar Road, Dombivli (E)

OWNERS SIGN -	TECHNICAL PERSON SIGN

SCALE -	Date: 25/11/25
JOB NO - KDMCC-25-126511	CHECK BY -

SUBMISSION DRAWING