NOTES :

PLOT BOUNDRY SHOWN IN THICK BLACK.
PROPOSED WORK SHOWN IN RED FILLED
PROPOSED ROAD SHOWN IN BRICK BURNT SIENNA
EXISTING STRUCTURE TO BE DEMOLISHED SHOWN IN YELLOW HATCH
DRAINAGE WORK SHOWN IN RED DOTTED
SET BACK AREA SHOWN IN BLUE HATCHED
RESERVATION AREA SHOWN PINK
ALL EXTERNAL 0.15 AND INTERNAL WALLS ARE 0.15 MT. THK.
BRICK MASONRY WALL INCLUDING RESPECTIVELY
ALL TREAD AND RISERS ARE 0.25 M/W. AND 0.15 M/HT.

SCHEDULE OF DOORS & WINDOWS

TYPE	SIZE (LxH)	DESCRIPTION
D	1.00 x 2.10	T.W. FRAMED FULLY PANELLED SINGLE LEAF
D1	0.91 x 2.10	T.W. FRAMED FLUSH SINGLE LEAF
D2	0.75 x 2.00	MARBLE FRAME FLUSH DOOR SINGLE LEAF
W	1.50 x 2.10	ALUMINUM FRAME FULLY GLAZED SHUTTER
W1	2.10 x 1.20	ALUMINUM FRAME FULLY GLAZED SHUTTER
W2	2.10 x 2.10	ALUMINUM FRAME FULLY GLAZED SHUTTER
W3	1.20 x 1.20	ALUMINUM FRAME FULLY GLAZED SHUTTER
V	0.60 x 0.90	ALUMINUM FRAME GLASS LOUVERS AT 45°

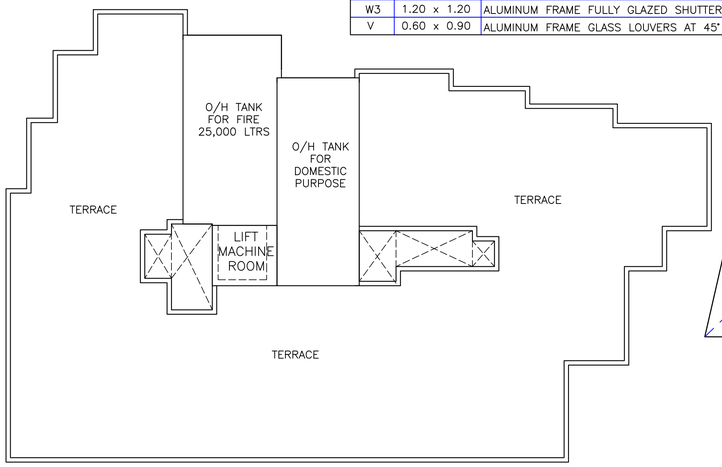

TERRACE FLOOR PLAN
(SCALE – 1:100)

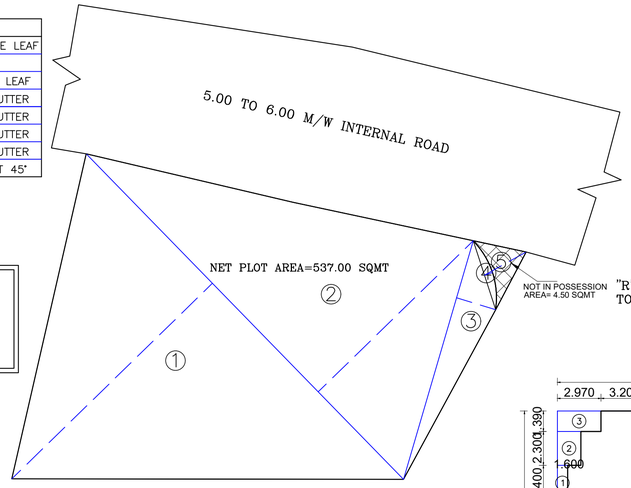

LINE AREA DIAGRAME
SCALE 1:200

PLOT AREA CALCULATION

	"R"ZONE AREA			
1	1/2 X30.50 X9.05 X 1NO	=	290.51 SQ.MT.	
2	1/2 X30.50 X14.67 X 1NO	=	223.67 SQ.MT.	
3	1/2 X14.76 X 2.83 X 1NO	=	20.88 SQ.MT.	
4	2/3 X 4.94 X 0.59 X 1NO	=	1.94 SQ.MT.	
	TOTAL ADDITION	=	537.00 SQ.MT.	X

	PLOT AREA NOT IN POSSESSION			
5	1/2 X 4.02 X 3.20 X 1NO	=	6.44 SQ.MT.	Y
	TOTAL	=	6.44 SQ.MT.	
	NOT IN POSSESSION 5 – 4		4.50 SQ.MT.	

"R" ZONE AREA + PLOT AREA NOT IN POSSESSION = TOTAL = 537.00 + 4.50 = 541.50 SQ.MT.

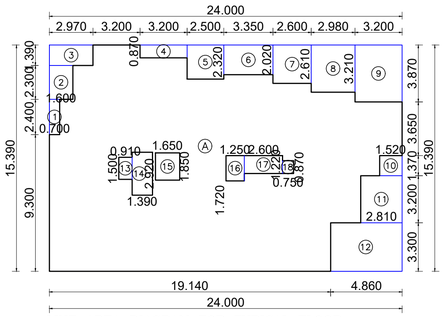

LINE AREA DIAGRAM FOR TYPICAL FLOOR
1ST TO 7TH FLOOR
(SCALE – 1:200)

PROPOSED SUMMARY

FLOOR	B/UP SQ.MT.	NO. OF TENEMENTS
GROUND	013.602	–
FIRST	274.221	04 NOS
SECOND	274.221	04 NOS
THIRD	274.221	04 NOS
FOURTH	274.221	04 NOS
FIFTH	274.221	04 NOS
SIXTH	274.221	04 NOS
SEVENTH	274.221	04 NOS
TOTAL	1933.149	28 NOS

B/UP AREA CALCULATIONS FOR – 1ST TO 7TH FLOOR

TYPICAL FLOOR – 1ST TO 7TH FLOOR				
A	24.000 X 15.390 X 1NO	=	369.360 SQ.MT.	
	TOTAL ADDITION	=	369.360 SQ.MT.	X

DEDUCTIONS

1	0.700 X 2.400 X 1NO	=	1.680 SQ.MT.	
2	1.600 X 2.300 X 1NO	=	3.680 SQ.MT.	
3	2.970 X 1.390 X 1NO	=	4.128 SQ.MT.	
4	3.200 X 0.870 X 1NO	=	2.784 SQ.MT.	
5	2.500 X 2.320 X 1NO	=	5.800 SQ.MT.	
6	3.350 X 2.020 X 1NO	=	6.767 SQ.MT.	
7	2.600 X 2.610 X 1NO	=	6.786 SQ.MT.	
8	2.980 X 3.210 X 1NO	=	9.566 SQ.MT.	
9	3.200 X 3.870 X 1NO	=	12.384 SQ.MT.	
10	1.520 X 1.370 X 1NO	=	2.082 SQ.MT.	
11	2.810 X 3.200 X 1NO	=	8.992 SQ.MT.	
12	4.860 X 3.300 X 1NO	=	16.038 SQ.MT.	
13	0.910 X 1.500 X 1NO	=	1.365 SQ.MT.	
14	1.390 X 2.920 X 1NO	=	4.059 SQ.MT.	
15	1.650 X 1.850 X 1NO	=	3.053 SQ.MT.	
16	1.250 X 1.720 X 1NO	=	2.150 SQ.MT.	
17	2.600 X 1.220 X 1NO	=	3.172 SQ.MT.	
18	0.750 X 0.870 X 1NO	=	0.653 SQ.MT.	
	TOTAL DEDUCTION	=	95.139 SQ.MT.	Y1
	TOTAL BUILT UP AREA [X – Y1]	=	274.221 SQ.MT.	X1

THUS,
BUILT UP AREA 1ST TO 7TH FLOOR OF= 271.171 SQ.MT.

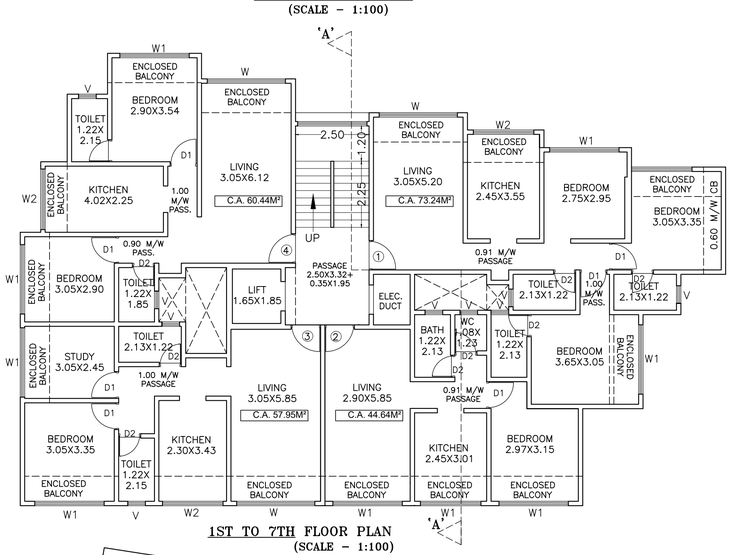

1ST TO 7TH FLOOR PLAN
(SCALE – 1:100)

PARKING STATEMENT

CARPET AREA	NO OF TENEMENTS / CARPET AREA	PERMISSIBLE PARKING 4 WHEELER	PERMISSIBLE PARKING 2 WHEELER
UPTO 30 SQ.MT. (FOR EVERY TWO TEN.– 0 CAR, 2 SCOOTER)	0	00	0
30 – 80 SQ.MT. (FOR EVERY TWO TEN.– 1 CAR, 2 SCOOTER)	28	14	28
80–150 SQ.MT. (FOR EVERY SINGLE TEN.– 1 CAR, 1 SCOOTER)	00	00	00
ABOVE 150 SQ.MT. (FOR EVERY SINGLE TEN.– 2 CAR, 1 SCOOTER)	00	00	00
COMMERCIAL (FOR EVERY 100 SQ.MT.– 2 CAR, 6 SCOOTER)	00	00	00
VISITORS 5%	–	0.70	1.40
TOTAL PARKING	28 FLATS	14.70 NOS	29.40 NOS
TOTAL REQUIRED PARKING (CAR PARKING X 0.80)	–	11.76 NOS	29.40 NOS

COMPOSITE PARKING
18.00 TWO WHEELERS CONVERTED INTO CARS = 18/6 = 3
THUS,
FOUR WHEELERS – 11.76 + 3.00 = 14.76 NO.S REQUIRED , 22.00 PROPOSED
TWO WHEELERS – 29.40 – 18.00 = 11.40 NO.S REQUIRED , 15.00 PROPOSED

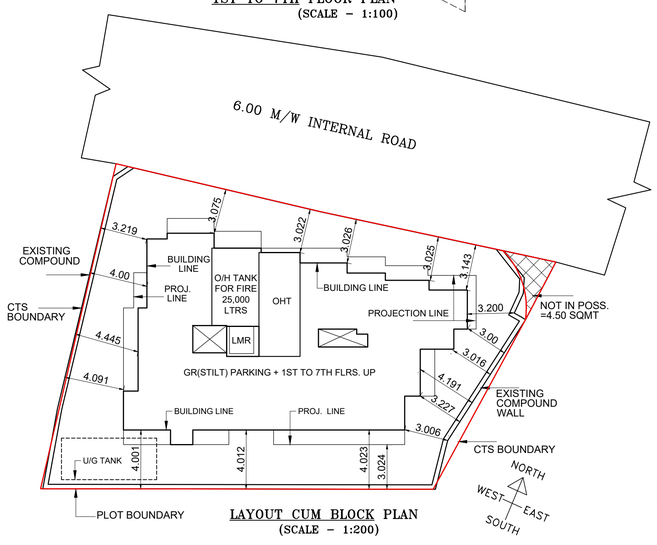

LAYOUT CUM BLOCK PLAN
(SCALE – 1:200)

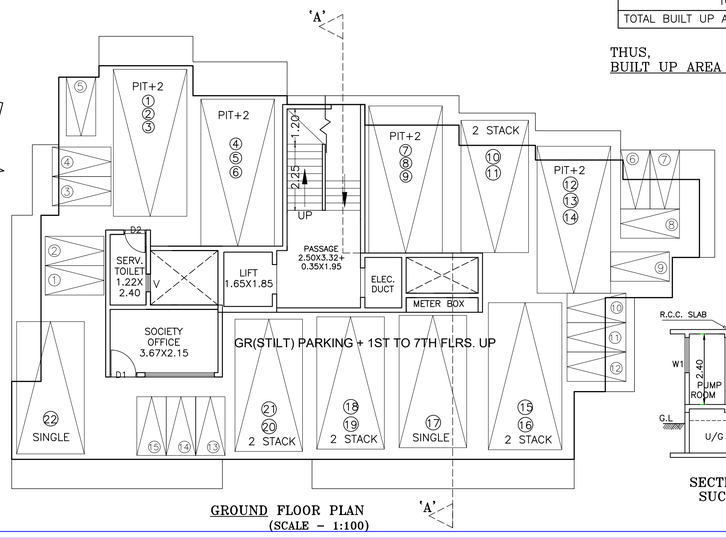

GROUND FLOOR PLAN
(SCALE – 1:100)

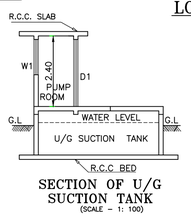

SECTION OF U/G SUCTION TANK
(SCALE – 1: 100)

PROPOSED SITE

LOCATION PLAN
(SCALE 1:2500)

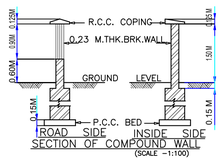

SECTION OF COMPOUND WALL
(SCALE –1:100)

STAMPS OF APPROVAL OF PLANS : Sheet NO:–01/02

AREA STATEMENT

	SQ.MT.
1. Area of plot (Minimum area of a, b, c to be considered)	
(a) As per ownership document (PRC)	541.500
(b) As per measurement sheet	541.500
(c) As per site (PLOT AREA NOT IN POSSESSION : 4.5M²) THUS, REMAINING PLOT = 541.50–4.50=537.00 SQ.MT.	537.000
2. Deductions for	
(a) Proposed D.P. Road (DEAD END APPROACH VIA 12.00 M/W D.P.)	N I L
(b) Any D.P. Reservation area	N I L
(C) Area under Existing Road	N I L
TOTAL (a+b+c)	N I L
3. Balance area of Plot (1–2)	537.000
4. Amenity Space (if applicable)	N.A.
(a) Required –	N I L
(b) Balance Proposed –	N I L
5. Net Plot Area [3–4(b)]	537.000
6. Recreational open space (if applicable)	N.A.
(a) Required .	N.A.
(b) Proposed –	N I L
7. Internal Road Area	N I L
8. Plotable area (if applicable) (5–6)	537.000
9. Built up area with reference to Basic F.S.I. as per front road width(Sr.no.5 X basic FSI)(537.00X1.10)	590.700
10. Addition of F.S.I. on payment of premium.	
(a) Maximum permissible premium FSI– based on road width/TOD Zone – 0.50 X 537.00 = 268.50 SQ.MT.	–
(b) Proposed FSI on payment of premium (66%)	177.55
11. In–situ FSI / TDR loading	
(a) In–situ area against D.P./R.P. road [2.0 x Sr. No. 2(a)],	N.A.
(b) In–situ area against Amenity Space if handed over [2.00 or 1.85 x Sr. No. 4(b) and /or(c)],	N.A.
(c) TDR area 537.00 X 65% =349.05 SQ.MT.(PERMISSIBLE) 349.05–119.05 = 230.00 SQ.MT. PROPOSED TDR (66%) (119.05 SQ.MT. TDR BALANCE)	230.000
(d) Total in–situ / TDR loading proposed [11(a)+(b)+(c)]	230.000
12. Additional FSI area under Chapter No. 7 14 X 15 = 210 SQ.MT.	210.000
13. Total entitlement of FSI in the proposal	
(a) [9 + 10(b)+11(d)] or 12 whichever is applicable.	1208.25
(b) Ancillary Area FSI upto 60% or 80% with payment 60% ANCILLARY = 1208.25 X 60% = 724.95 SQ.MT.	724.95
(c) Total entitlement (a+b)	1933.200
14. Maximum utilization limit of F.S.I.(building potential)Permissible as per Road width {(as per Regulation No.6.1 or 6.2 or 6.3 or 6.4 as applicable)X 1.6}{ (1.10+50%+0.65X1.60)	3.60
15. Total Built–up Area in proposal. (Including area at Sr.No. 17b)	
(a) Existing Built–up Area.	N I L
(b) Proposed Built–up Area (as per 'P–line')	1933.149
(c) Total (a+b)	1933.149
BALANCE AREA	0.05

Certificate of Area:

Certified that the plot under reference was surveyed by me on 03/12/2024 and the dimensions of sides etc. of plot stated on plan are as measured on site and the area so worked out 541.50 SQ.MT.S tallies with the area stated in document of Ownership/ T.P. Scheme Records/ Land Records Department/City Survey records.

Signature
(Name of Architect/ Licensed Engineer/ Supervisor.)

Structural Engineer Certificate

I hereby certify that the structural drawings for the above mentioned work are prepared by us and the work, as far as structural drawings are concerned; I shall be responsible for the adequacy of the Structural Designs .

Signature
(Structural Engineer)

Owner's Declaration –

I/We undersigned hereby confirm that I/We would abide by plans approved by Authority /Collector. I/We would execute the structure as per approved plans. Also I/We would execute the work under supervision of proper technical person so as to ensure the quality and safety at the work site.

Owner (s) Name And Signature

DESCRIPTION OF PROPOSAL AND PROPERTY

PROPOSED RESIDENTIAL BUILDING ON S.NO.– 208/8/C(OLD) ,S.NO.– 69/8/L(NEW) , CTS NO. 6758, VILLAGE– CHOLE, DOMBIVALI–(E), TAL– KALYAN, DIST– THANE.

JAYDEEP CO.OP.HSG SOC. (OWNER)

MR. ROHIT GAMBHIRRAO (P.A.HOLDER)

M/S TRI MILLENNIUM REALTIES

DRG. SH. NO.	SCALE	DESIGN BY	DRAWN BY	CHECKED BY
01 OF 02	AS STATED	---		

SIGNATURE OF ARCHITECT | NAME AND ADDRES OF ARCHITECT

RACHANA SHILP
R.C. MODAK
Sreeji Arcade,
First Floor,
Above H.D.F.C.Bank,
Phadke Cross Road,
Dombivli (E)
C.A. NO. 1984 / 08623

Reserved for Stamps of Approval plan

Rajan Chandrakant Modak

Digitally signed by Rajan Chandrakant Modak
Date: 2026.03.10 15:26:54 +05'30'

Proforma I : Area Statement

1. Area of plot(Minimum area of a, b, c to be considered) or area of subplot with sanctioned layout No. and subplot No.	541.500
(a) As per ownership document (7/12, CTS extract)	541.500
(b) as per TILR or City Survey measurement sheet	541.500
(c) as per Demarcated drawing area	552.768
LESS	
2.Area not in possession	4.500
3. Area Proposed for development (out of 1-2)	537.000
4.Deductions for(out of 3)	
(a) Proposed D.P./ D.P. Road widening Area/Proposed DP road, Road under MMC act	0.000
(b) Any D.P. Reservation area	0.000
(c) Green Belt	0.000
(Total a+b+c)	0.000
5. Balance area of plot (3-4)	537.000
6. Amenity Space Proposed	0.000
(Required -(a) Upto 20,000 sqmt - Nil	-
(b) Above 20,000 and more - (a) + 5% of Total area	0.000
7. Net Plot Area (5-6)	537.000
8.Recreational Open Space (Not applicable if plots are from sanctioned layout)	-
(a). If area is more than (5) 4000 sqmt - 10 % of (5) is required.	0.000
Proposed	0.000
(A)10 % Subject to minimum 200 sqmt(Not applicable if plots are from sanctioned layout or each plot admesuring less than 4000sq.m regularised under gunthewari act)	0.000
Proposed	0.000
(B)Exemption to leave open space subject to availing basic F.S.I of 75 %	-
(C)Exemption to leave open space subject to payment of 10 % land value of land at (7) as per annual statement of rate.	-
If (5) > 4000sq.m then Land admesuring 20% of (5) is to be utilised for inclusive housing	0.000
Proposed Area	0.000

Architect/ Licensed Engineer/ Supervisor name and signature

Registration No. of Architect/ License no. of Licensed Engineer/ Supervisor: CA/1984/08623

Certificate of Area:
Certified that the plot under reference was surveyed by me on _____ and the dimensions of sides etc. of plot stated on plan are as measured on site and the area so worked out tallies with the area stated in document of Ownership/ T.P. Scheme Records/Land Records Department/City Survey records.

Signature
(Name of Architect/ Licensed Engineer/ Supervisor.)

Owner's Declaration -
I/We undersigned hereby confirm that I/We would abide by plans approved by Authority / Collector. I/We would execute the structure as per approved plans. Also I/We would execute the work under supervision of proper technical person so as to ensure the quality and safety at the work site.

Owner (s) name and signature

Name Of : Owner Rohit Sharad Gambhirrao JAYDEEP CO.OP.HSG SOCIPOA MS TRI MILLENNIUM REALITIES THROUGH MR ROHIT GAMBHIRRAO
Postal Address : 2205, Elymus, Building No. 12,Regency Anantam,Kalyan,Thane,Maharashtra-421203

Phone No.:9769696843

DESCRIPTION OF PROJECT :

Type of Proposal : Residential
BUILDING ON CTS. NO./SURVEY NO.-208

SITE ADDRESS :
PROPOSED RESIDENTIAL BUILDING ON S.NO - 208/8/C(OLD) ,S.NO.- 69/8/L(NEW) , CTS NO. 6758, VILLAGE- CHOLE, DOMBIVALI-(E), TAL- KALYAN, DIST- THANE.

Name Of Architect : RAJAN CHANDRAKANT MODAK

LOGO | ADDRESS OF OFFICE
OFFICE -
phadke cross road

OWNERS SIGN - M/S TRI MILLENNIUM REALTIES

TECHNICAL PERSON SIGN
R.C. MODAK
C.A. NO. 1984 / 08623

SCALE - | DATE: 08/03/26
JOB NO - KDMCC-26-28340 | CHECK BY -

SUBMISSION DRAWING

JAYDEEP CHS															
BUILDING	FLOORS	FSI AREA						BALCONY	TERRACE	LIFT	LIFTWELL	DUCT	VENT	OTHER	TOTAL
		COMM.	RESI.	IND.	EDU.	INS.	MEZZ.	PROP.					SHAFT	DEDUCTION	FSI AREA
JAYDEEP CHS	STILT FLOOR	0.000	13.603	0.000	0.000	0.000	0.000	0.000	0.000	0.000	0.000	0.000	0.000	0.000	13.603
JAYDEEP CHS	TYPICAL 1ST TO 7TH FLOOR	0.000	2020.711	0.000	0.000	0.000	0.000	0.000	0.000	21.368	21.368	79.785	0.000	0.000	1919.559
JAYDEEP CHS	TOTAL	0.000	2034.314	0.000	0.000	0.000	0.000	0.000	0.000	21.368	21.368	79.785	0.000	0.000	1933.162

FSI DETAILS										
10 Index	Basic FSI (on serial no 7)	Premium FSI (on serial no 3)	TDR/DR (on serial no 3)	Rehab Incentive FSI as per 7.6.2	Incentive fsi for green building If Applicable (on basic FSI)	Ancillary Area(60% of 2 + 3+4+5)	Ancillary Area(80% of 2 + 3+4+5)	Total	Drawing Value
10.1 Permissible Index	1.100	0.500	0.650	50%	0.000	0.000	0.000	2.250	0.000
10.2 Total Entitlement of FSI as per Reg 7.6.1 & 7.6.2	1.100	0.500	0.650	0.500	0.000	0.000	0.000	2.250	0.000
10.3 FSI Permissible for Redevelopment(Max of 10.1 and 10.2)	1.100	0.500	0.650	0.500	0.000	0.000	0.000	2.250	0.000
10.4 Existing Consumed Index	0.000	0.000	0.000	0.000	0.000	0.000	0.000	0.000	-
10.5 Balance Index to be Consumed (10.3 - 10.4)	1.100	0.500	0.650	0.500	0.000	0.000	0.000	2.250	-
10.6 Total Permissible (P Line Area)	590.700	268.500	349.050	210.000	0.000	724.950	0.000	2143.200	0.000
10.7 Proposed P Line Area (should not exceed 10.4)	590.700	177.550	230.000	210.000	0.000	724.912	0.000	1933.162	1933.162
10.8 Index Consumed	1.100	0.331	0.428	0.500	0.000	0.000	0.000	1.859	0.000

Project Details
Proposal code: KDMCC-26-28340
Zone Type: Residential Zone - (R1)
Location: Non-Congested
Name of service: Redevelopment For Dangerous Building
Sub service: Redevelopment of tenanted buildings
Cts No./Survey No.: 208
Tahsil: Sector-5
Mouza: Old Dombivali
Prorata Value: 0.000
Separation/CRZ Zone Area: -

Carpet Area Table								
Building Name	Floor Name	Carpet name	Tenement No	Carpet Area	Enclosed Balcony Area	Normal Balcony Area	Mezzanine Area	Total Carpet Area
JAYDEEP CHS	TYPICAL 1ST TO 7TH FLOOR	101;201;301;401;501;601;701	7	73.237	0.000	0.000	0.000	73.237
JAYDEEP CHS	TYPICAL 1ST TO 7TH FLOOR	102;202;302;402;502;602;702	7	44.639	0.000	0.000	0.000	44.639
JAYDEEP CHS	TYPICAL 1ST TO 7TH FLOOR	103;203;303;403;503;603;703	7	57.953	0.000	0.000	0.000	57.953
JAYDEEP CHS	TYPICAL 1ST TO 7TH FLOOR	104;204;304;404;504;604;704	7	60.436	0.000	0.000	0.000	60.436

Parking Check As Per Multiplying Factor 0.800 (note: 1) 6 scooter equals to 1 car, proposed composite parking for car= 3)							
	Required			Proposed			
Building Name	Car	Scooter	Transport Vehicle/Ambulance /Mini bus	Car	Scooter	Transport Vehicle/Ambulance /Mini bus	Status
Total	15	11	0	22	15	0	OK

SCHEDULE OF OPENING				
SLD NAME	NAME	LENGTH	HEIGHT	Nos
JAYDEEP CHS	V	0.600	1.200	2

Parking Check (Table 8B)								
			RATIO			Required		
Building Name	USE	TENAMENT AREA	car	scooter	NO.OF Tens/Area/Units	car	scooter	Transport Vehicle/Ambulance /Mini Bus
JAYDEEP CHS	Residential	For every two tenements with each tenement having carpet area equal to or above 40 sq.m. but less than 80 sq.m.	1	2	28	14.000	28.000	-
Total	-	-	-	-	-	14.000	28.000	-
Visitors parking(5%)	-	-	-	-	-	0.700	1.400	-
Total	-	-	-	-	-	14.700	29.400	0.000

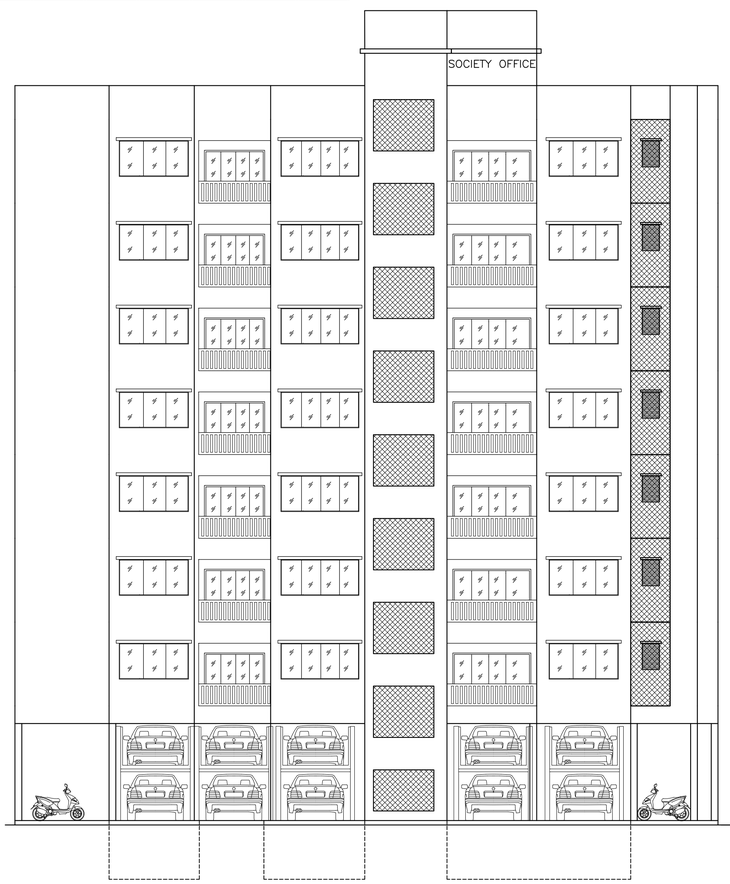

ELEVATION
(SCALE - 1:100)

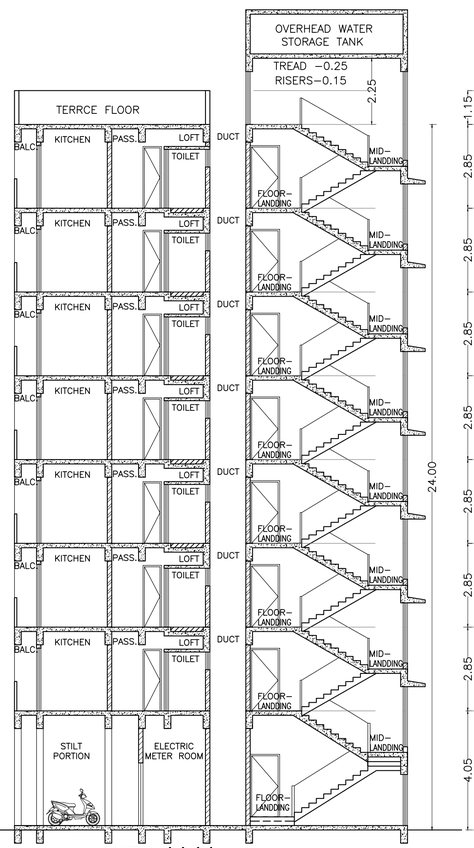

SECTION 'A'-'A'
(SCALE - 1:100)

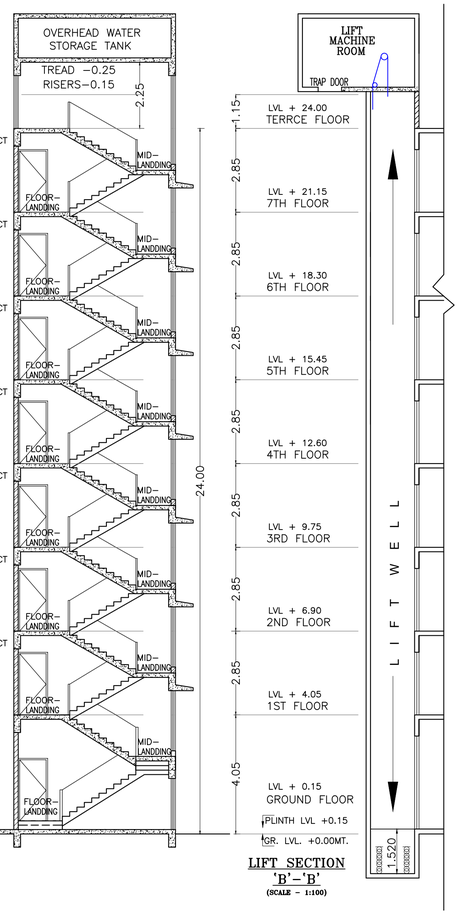

LIFT SECTION 'B'-'B'
(SCALE - 1:100)

STAMPS OF APPROVAL OF PLANS : Sheet NO:-02/02

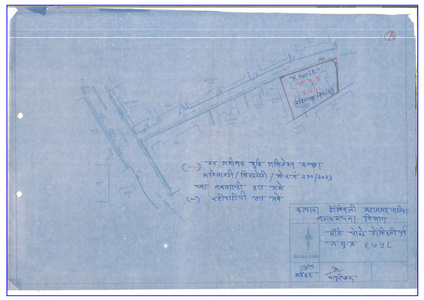

Reserved for Stamps of Approval plan

Structural Engineer Certificate

I hereby certify that the structural drawings for the above mentioned work are prepared by us and the work, as far as structural drawings are concerned; I shall be responsible for the adequacy of the Structural Designs .

Signature
(Structural Engineer)

DESCRIPTION OF PROPOSAL AND PROPERTY

PROPOSED RESIDENTIAL BUILDING ON S.NO.- 208/8/C(OLD) ,S.NO.- 69/8/L(NEW) , CTS NO. 6758, VILLAGE- CHOLE, DOMBIVALI-(E), TAL- KALYAN, DIST- THANE.

JAYDEEP CO.OP.HSG SOC. (OWNER)

MR. ROHIT GAMBHIRRAO (P.A.HOLDER)

M/S TRI MILLENNIUM REALTIES

DRG. SH. NO.	SCALE	DESIGN BY	DRAWN BY	CHECKED BY
02 OF 02	AS STATED	---		

SIGNATURE OF ARCHITECT

NAME AND ADDRES OF ARCHITECT

RACHANA SHILP
R.C. MODAK
Sreeji Arcade,
First Floor,
Above H.D.F.C.Bank,
Phadke Cross Road,
Dombivli (E)

C.A. NO. 1984 / 08623

Rajan Chandrakant Modak

Digitally signed by Rajan Chandrakant Modak
Date: 2026.03.10 15:27:41 +05'30'

Proforma I : Area Statement	
1. Area of plot(Minimum area of a, b, c to be considered) or area of subplot with sanctioned layout No. and subplot No.	541.500
(a) As per ownership document (7/12, CTS extract)	541.500
(b) as per TILR or City Survey measurement sheet	541.500
(c) as per Demarcated drawing area	552.768
LESS	
2.Area not in possession	4.500
3. Area Proposed for development (out of 1-2)	537.000
4.Deductions for(out of 3)	
(a) Proposed D.P./ D.P. Road widening Area/Proposed DP road, Road under MMC act	0.000
(b) Any D.P. Reservation area	0.000
(c) Green Belt	0.000
(Total a+b+c)	0.000
5. Balance area of plot (3-4)	537.000
6. Amenity Space Proposed	0.000
(Required -(a) Upto 20,000 sqmt - Nil	-
(b) Above 20,000 and more - (a) + 5% of Total area	0.000
7. Net Plot Area (5-6)	537.000
8.Recreational Open Space (Not applicable if plots are from sanctioned layout)	-
(a). If area is more than (5) 4000 sqmt - 10 % of (5) is required.	0.000
Proposed___	0.000
(A)10 % Subject to minimum 200 sqmt(Not applicable if plots are from sanctioned layout or each plot admesuring less than 4000sq.m regularised under gunthewari act)	0.000
Proposed _____	0.000
(B)Exemption to leave open space subject to availing basic F.S.I of 75 %	-
(C)Exemption to leave open space subject to payment of 10 % land value of land at (7) as per annual statement of rate.	-
If (5) > 4000sq.m then Land admesuring 20% of (5) is to be utilised for inclusive housing	0.000
Proposed Area	0.000

Architect/ Licensed Engineer/ Supervisor name and signature

Registration No. of Architect/ License no. of Licensed Engineer/ Supervisor: CA/1984/08623

Certificate of Area:
Certified that the plot under reference was surveyed by me on_____ and the dimensions of sides etc. of plot stated on plan are as measured on site and the area so worked out tallies with the area stated in document of Ownership/ T.P. Scheme Records/Land Records Department/City Survey records.

Signature
(Name of Architect/ Licensed Engineer/ Supervisor.)

Owner's Declaration -
I/We undersigned hereby confirm that I/We would abide by plans approved by Authority / Collector. I/We would execute the structure as per approved plans. Also I/We would execute the work under supervision of proper technical person so as to ensure the quality and safety at the work site.

Owner (s) name and signature

Name Of : Owner Rohit Sharad Gambhirrao JAYDEEP CO.OP.HSG SOCPOA MS TRI MILLENNIUM REALITIES THROUGH MR ROHIT GAMBHIRRAO
Postal Address : 2205, Elymus, Building No. 12,Regency Anantam,Kalyan,Thane,Maharashtra-421203

Phone No.:9769696843

DESCRIPTION OF PROJECT :

Type of Proposal : Residential
BUILDING ON CTS. NO./SURVEY NO.-208

SITE ADDRESS :
PROPOSED RESIDENTIAL BUILDING ON S.NO.- 208/8/C(OLD) ,S.NO.- 69/8/L(NEW) , CTS NO. 6758, VILLAGE- CHOLE, DOMBIVALI-(E), TAL- KALYAN, DIST- THANE.

Name Of Architect : RAJAN CHANDRAKANT MODAK

LOGO | ADDRESS OF OFFICE
OFFICE -
phadke cross road

OWNERS SIGN - M/S TRI MILLENNIUM REALTIES

TECHNICAL PERSON SIGN
R.C. MODAK
C.A. NO. 1984 / 08623

SCALE -	DATE: 08/03/26
JOB NO - KDMCC-26-28340	CHECK BY -

SUBMISSION DRAWING