SHEELA ARIN															
BUILDING	FLOORS	FSI AREA						BALCONY	TERRACE	LIFT	LIFTWELL	DUCT	VENT	OTHER	TOTAL
		COMM.	RESI.	IND.	EDU.	INS.	MIZZ.	PROP.					SHAFT	DEDUCTION	FSI AREA
SHEELA ARIN	BASEMENT FLOOR	108.311	0.000	0.000	0.000	0.000	0.000	0.000	0.000	0.000	3.000	0.000	0.000	0.000	105.311
SHEELA ARIN	GROUND FLOOR	84.269	20.895	0.000	0.000	0.000	0.000	0.000	0.000	3.000	3.000	0.000	0.000	0.000	102.164
SHEELA ARIN	1ST TO 4TH FLOOR	0.000	978.944	0.000	0.000	0.000	0.000	164.724	0.000	0.000	12.000	43.200	0.000	0.000	923.744
SHEELA ARIN	TOTAL	192.580	999.839	0.000	0.000	0.000	0.000	164.724	0.000	3.000	18.000	43.200	0.000	0.000	1131.219

FSI DETAILS										
9 Index	Basic FSI (on serial no 7)	Premium FSI (on serial no 3)	TDR/DR (on serial no 3)	Incentive FSI for green building # Affordable (on basic FSI)	Additional FSI (15.10.1 Note:3)	Ancillary Area 60% of (2+3+4+5)	Ancillary Area 80% of (2+3+4+5)	Total	Inclusive Housing (20%) If Applicable	Drawing Value
9.1 Permissible n.o.c	1.100	0.500	0.900	0.000	0.000	0.000	0.000	2.500	0.000	0.000
9.2 Existing Consumed Index	0.000	0.000	0.000	0.000	0.000	0.000	0.000	0.000	0.000	0.000
9.3 Balance Index to be Consumed	1.100	0.500	0.900	0.000	0.000	0.000	0.000	0.000	0.000	0.000
9.4 Consumed Permissible F.S.I in Area	462.242	234.110	421.398	0.000	0.000	409.770	87.522	1615.042	0.000	0.000
9.5 Proposed P Line Area (Should not exceed 9.4)	462.242	234.110	96.000	0.000	0.000	259.157	79.710	1131.219	0.000	1131.219
9.6 Index Consumed	1.100	0.500	0.205	0.000	0.000	0.000	0.000	1.805	0.000	0.000

Carpet Area Table									
Building Name	Floor Name	Carpet name	Tenement No	Carpet Area	Enclosed Balcony Area	Normal Balcony Area	Mezzanine Area	Total Carpet Area
SHEELA ARIN	1ST TO 4TH FLOOR	1	4	47.328	3.130	8.406	0.000	50.458
SHEELA ARIN	1ST TO 4TH FLOOR	4	4	38.822	0.000	5.150	0.000	38.822
SHEELA ARIN	1ST TO 4TH FLOOR	3	4	30.837	7.020	2.574	0.000	37.857
SHEELA ARIN	1ST TO 4TH FLOOR	2	4	42.954	8.680	6.221	0.000	51.634
SHEELA ARIN	GROUND FLOOR	1	1	33.880	0.000	0.000	0.000	33.880
SHEELA ARIN	GROUND FLOOR	2	1	9.760	0.000	0.000	0.000	9.760
SHEELA ARIN	GROUND FLOOR	3	1	21.772	0.000	0.000	0.000	21.772
SHEELA ARIN	BASEMENT FLOOR	1	1	62.020	0.000	0.000	0.000	62.020
SHEELA ARIN	BASEMENT FLOOR	2	1	23.176	0.000	0.000	0.000	23.176

Area utilisation of Roads and Reservations						
Description of area utilisation			surrendered Area in(Sq.M)	Quatam of DR/TDR generation	Total Quatam of DR/TDR generation	Area considered for DR utilisation	Remaining area for DRC generation
BUILDING	Reservation type	reservation no	Name				
-	-		15.000 m DP Road Widening	48.000	96.000	96.000	0.000	0.000
-	-	Total		48.000	96.000	96.000	0.000	96.000

Parking Check (Table 8B)								
			RATIO			Required		
Building Name	USE	TENAMENT AREA	car	scooter	NO.OF Tena/Area/Units	car	scooter	Transport Vehicle/Ambulance /Mini Bus
SHEELA ARIN	Residential	For every two tenements with each tenement having carpet area equal to or above 40 sq.m. but less than 80 sq.m.	1	2	8	4.000	8.000	-
SHEELA ARIN	Residential	For every two tenements with each tenement having carpet area less than 40 Sq.m. but more than 30 sq.m.	1	2	8	4.000	8.000	-
SHEELA ARIN	Commercial	For every 300 sq.m. carpet area or fraction thereof	1	3	85.196	0.284	0.852	-
SHEELA ARIN	Commercial	For every 100 sq.m. carpet area or fraction thereof	2	6	65.412	1.308	3.925	-
Total	-	-	-	-	-	9.592	20.777	-
Visitors parking(5%)	-	-	-	-	-	0.480	0.800	-
Total	-	-	-	-	-	9.992	21.577	0.000

Parking Check As Per Multiplying Factor 0.800 (note: 1) 6 scooter equals to 1 car, proposed composite parking for car= 4)							
	Required			Proposed			
Building Name	Car	Scooter	Transport Vehicle/Ambulance /Mini bus	Car	Scooter	Transport Vehicle/Ambulance /Mini bus	Status
Total	12	0	0	14	0	0	OK

Telecom Room			
Building	Req. Size	Prop. Size	Status
SHEELA ARIN	TelecomRoom	3.000X3.400	OK

SCHEDULE OF OPENING				
DLO NAME	NAME	LENGTH	HEIGHT	Nos.
SHEELA ARIN	V	0.450	1.200	1
SHEELA ARIN	V	0.600	1.200	10

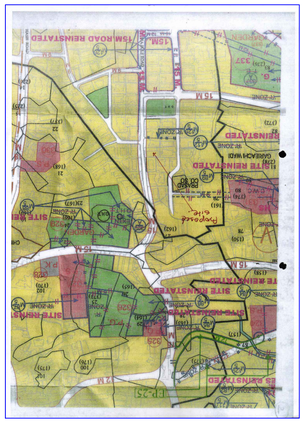

Project Details
Proposal code -KDMCC-25-87444
Zone Type - Residential Zone
Location - Non-Congested
Name of service - Building Development
Sub service -
Cts No./Survey No. - -
Tahal : Section-5
Mouja : Navagaon
Prorata Value : 0.000

Owner Details		
Owner Name	Postal Address	Contact Number
gorakah infra	RAJVAND,RETI BANDAR ROAD,DOMBIVALI, Thane,Maharashtra-421202	8976887821
himanshu rajesh moze	dombivli west	8976887821
vandana rajesh moze	dombivli west	8976887821

LEGENDS:
PLOT BOUNDRY SHOWN WHITE
PROPOSED WORK SHOWN RED
DRAINAGE LINE SHOWN YELLOW LIGHT
WATER LINE SHOWN BLUE DOTTED
SEPTIC TANK SHOWN BROWN
TERRACE SHOWN DARK YELLOW
OPEN BAL SHOWN BRAWN
EXISTING SHOWN BLUE HATCHED

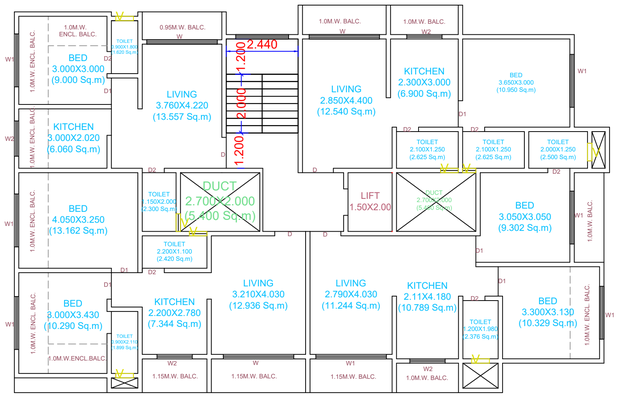

1ST TO 4TH FLOOR

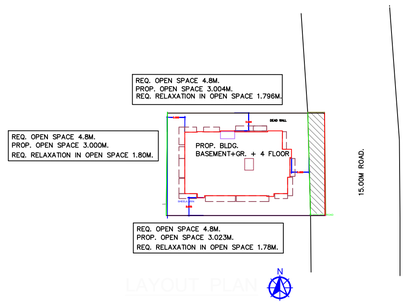

LAYOUT PLAN

PROFORMA-1 AREA STATEMENT

AREA STATEMENT		IN SQ.MT
1 (A) AREA OF PLOT		
(a) AS PER OWNERSHIP DOCUMENT		468.22
(b) AS PER MEASUREMENT SHEET		
(c) AS PER POSSESSION		468.22
2 DEDUCTIONS FOR		
(a) PROPOSED 9.0M D.P ROAD		48.00
(b) ANY RESERVATION		---
(c) TOTAL (a+b)		
3 BALANCE PLOT AREA (1 Minus 2)		420.22
4 AMENITY SPACE IF APPLICABLE		---
(a) REQUIRED		
(b) ADJUSTMENT OF IF ANY		
(c) BALANCE PROPOSED		
5 NET PLOT AREA (3-4(c))		
6 RECREATIONAL OPEN SPACE (IF APPLICABLE)		---
(a) REQUIRED (10%)		
(b) PROPOSED		
7 INTERNAL ROAD AREA		---
8 PLOTABLE AREA		---
9 BUILT UP AREA WITH REFERENCE TO BASIC FSI AS PER FRONT ROAD WIDTH (RR.NO 5 X BASIC FSI 450.22 X 1.10		462.242
10 ADDITION OF FSI ON PAYMENT PREMIUM		
(a) MAXIMUM PERMISSIBLE PREMIUM FSI BASED ON ROAD WIDTH /TOD ZONE		---
(b) PROPOSED FSI ON PAYMENT OF PREMIUM 468.22 X 0.50 = 234.11		234.110
11 IN-SITU FSI/TDR LOADING		---
(a) D.P ROAD 15.0M		96.000
(b) IN-SITU AREA AGAINST AMENITY SPACE IF HANDED OVER (2.00 OR 1.85 X SR. NO.4 (b) AND/or (C)		
(c) TDR AREA		
(d) TOTAL IN-SITU / TDR LOADING PROPOSED (11 (a)+(b)+(c)		
12 ADDITIONAL FSI AREA UNDER CHAPTER NO.7		
13 TOTAL ENTITLEMENT OF FSI IN THIS PROPOSAL		
(a) [9+10(b)+11(d) or 12 WHICHEVER IS APPLICABLE		792.362
(b) ANCILLARY AREA FSI UPTO 60% OR 80% WITH PAYMENT OF CHARGES COMMERCIAL AREA = 106.88 X 80% = 85.504 SQ.MT RESIDENTIAL AREA = 855.272 X 60% = 411.885 SQ.MT TOTAL = 496.807 SQ.MT OUT OF THIS 338.867		338.867
(c) TOTAL ENTITLEMENT (a+b)		1131.219
14 MAXIMUM UTILIZATION LIMIT OF FSI (BUILDING POTENTIAL) PERMISSIBLE AS PER ROAD WIDTH as per Regulation no. 6.1 or 6.2 or 6.4 as applicable) x 1.8 or 1.5		---
15 TOTAL BUILT UP AREA IN PROPOSAL (EXCLUDING AREA AT SR. NO.17(b)		
(a) EXISTING SANCTION BUILT UP AREA		
(b) PROPOSED BUILT UP AREA (AS PER P LINE)		1131.219
(c) TOTAL (a+b)		1131.219
16 FSI CONSUMED (15/13)		
17 AREA FOR INCLUSIVE HOUSING IF ANY		
(a) REQUIRED (20% OF SR. NO.3)		
(b) PROPOSED (20% OF SR. NO.3)		

Certificate of Area:
Certified that the plot under reference was surveyed by me on_____ and the dimensions of sides etc. of plot stated on plan are as measured on site and the area so worked out tallies with the area stated in document of Ownership/ T.P. Scheme Records/Land Records Department/City Survey records.

Signature
(Name of Architect/ Licensed Engineer/ Supervisor.)

Owner's Declaration -
I/We undersigned hereby confirm that I/We would abide by plans approved by Authority / Collector. I/We would execute the structure as per approved plans. Also I/We would execute the work under supervision of proper technical person so as to ensure the quality and safety at the work site.

Owner (s) name and signature

Reserved for Stamps of Approval plan

Proforma I : Area Statement	
1. Area of plot (Minimum area of a, b, c to be considered) or area of subplot with sanctioned layout No. and subplot No.	468.220
(a) As per ownership document (7/12, CTS extract)	468.220
(b) as per TILR or City Survey measurement sheet	468.220
(c) as per Demarcated drawing area	468.220
LESS	-
2.Area not in possession	0.000
3. Entire area (1-2)	468.220
4.Deductions for	-
(a) Proposed D.P./ D.P. Road widening Area / Service Road / Highway widening	48.000
(b) Any D.P. Reservation area	0.000
(c) Green Belt	0.000
Total (a+b+c)	48.000
5.Balance area of plot (3-4)	420.220
6. Amenity Space	0.000
(Applicable if (1) > 20000 sqmt	-
(Required -(a) Upto 20000 sqmt - Nil	-
(b) Above 20000 sqmt - (a) + 5% of Total area	0.000
7. Net Plot Area (5-6)	420.220
8. Recreational Open Space	-
(a) If area (6) is more than 4000 sqmt - 10 % of (6) is required.	0.000
Proposed	0.000
(b) If area is less than 4000 sqmt -Check -	-
i) If it is full number like 1,2,125,419,etc. As per 7.12 abstract or City Survey Number - No Recreational open space is required	-
ii) If it is subdivision like 1/2 ,2/5 , 125/1 419/1 etc.then recreational open space is required.	-
(A) 10 % Subject to minimum 200 sqmt	0.000
Proposed	0.000
(B) Exemption to leave open space subject to availing basic F.S.I of 75 %	-
(C) Exemption to leave open space subject to payment of 10 % land value of land at (7) as per annual statement of rate.	-
Architect/ Licensed Engineer/ Supervisor name and signature	
Registration No. of Architect/ License no. of Licensed Engineer/ Supervisor: CA/1981/06472	

Postal Address : RAJVAND,RETI BANDAR ROAD,DOMBIVALI,Thane,Maharashtra-421202,dombivli west

DESCRIPTION OF PROJECT :
Type of Proposal : Mixed
BUILDING ON CTS. NO./SURVEY NO.--

SITE ADDRESS :
S.NO.229/A/19 AT VILLAGE NAVAGAON TALUKA, KALYAN, DIST. THANE

Name Of Architect : ANIL RAMCHANDRA NIRGUDE

LOGO	ADDRESS OF OFFICE
	OFFICE - 5TH FLOOR, MIDTOWN EMBASSY, BEHIND VASANT VALLEY BUS DEPOT, OPP. NARAYANA SCHOOL, GANDHARE, KALYAN - 421301

OWNERS SIGN -	TECHNICAL PERSON SIGN

SCALE -	Date: 18/11/25
JOB NO - KDMCC-25-87444	CHECK BY -

SUBMISSION DRAWING

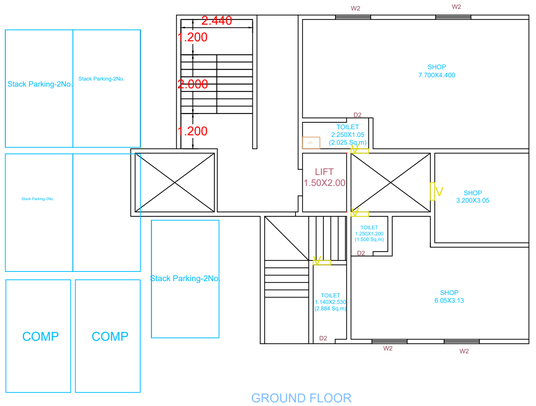

GROUND FLOOR

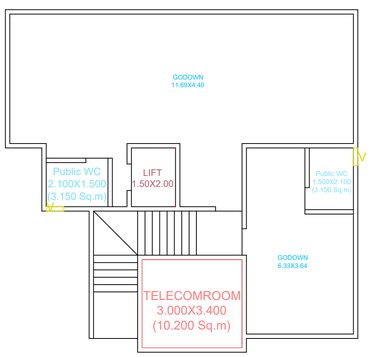

BASEMENT FLOOR

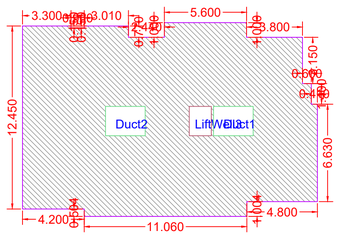

BUILT UP AREA CALCULATION FOR 1ST TO 4TH FLOOR SHEELA ARIN			
AREA NAME	LENGTH	WIDTH	Area(Sq.M)
BLOCK	20.060	13.184	244.736
		BLOCK AREA TOTAL =244.736Sq.M	
LiftWell3	-	-	3.000
Duct2	-	-	5.400
Duct1	-	-	5.400
		TOTAL Deduction =13.800Sq.M	
		Net BuiltUp Area =230.936 Sq.M	

BUILT-UP AREA CALCULATION 1ST TO 4TH FLOOR SHEELA ARIN

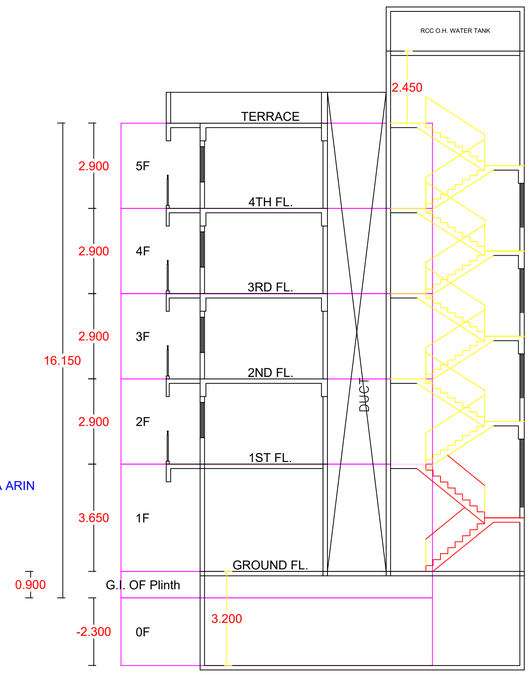

SECTION VIEW - SHEELA ARIN
SCALE 1:100

BUILT UP AREA CALCULATION FOR GROUND FLOOR SHEELA ARIN			
AREA NAME	LENGTH	WIDTH	Area(Sq.M)
BLOCK	11.180	7.850	84.269
		BLOCK AREA TOTAL =84.269Sq.M	
LiftWell2	-	-	3.000
		TOTAL Deduction =3.000Sq.M	
		Net BuiltUp Area =81.269 Sq.M	

BUILT UP AREA CALCULATION FOR GROUND FLOOR SHEELA ARIN			
AREA NAME	LENGTH	WIDTH	Area(Sq.M)
BLOCK	6.850	4.140	20.895
		BLOCK AREA TOTAL =20.895Sq.M	
		TOTAL Deduction =0.000Sq.M	
		Net BuiltUp Area =20.895 Sq.M	

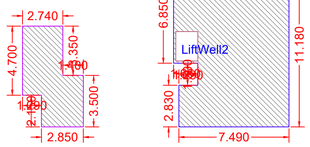

BUILT-UP AREA CALCULATION GROUND FLOOR SHEELA ARIN

BUILT-UP AREA CALCULATION GROUND FLOOR SHEELA ARIN

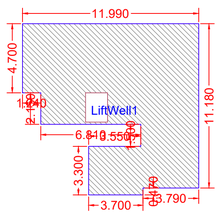

BUILT-UP AREA CALCULATION BASEMENT FLOOR SHEELA ARIN
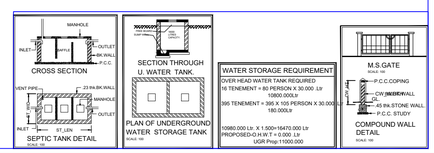
BUILT UP AREA CALCULATION FOR BASEMENT FLOOR SHEELA ARIN			
AREA NAME	LENGTH	WIDTH	Area(Sq.M)
BLOCK	11.990	11.650	108.311
		BLOCK AREA TOTAL =108.311Sq.M	
LiftWell1	-	-	3.000
		TOTAL Deduction =3.000Sq.M	
		Net BuiltUp Area =105.311 Sq.M