| SARVOJI-1 PREM | | | | | | | | | | | | | | | |
|---|---|---|---|---|---|---|---|---|---|---|---|---|---|---|---|
| BUILDING | FLOORS | FSI AREA | | | | | | | | | | | | | |
| | | COMM. | RESI. | INO. | EOU. | INS. | MGZZ. | PBOX. | BALCONY | TERRACE | LIFT | LIFTWELL | DUCT | VENT SHAFT | OTHER DEDUCTION | TOTAL FSI AREA |
| SARVODAY PREM | 2ND TO 7TH FLOOR | 0.000 | 1114.046 | 0.000 | 0.000 | 0.000 | 0.000 | 0.000 | 0.000 | 16.418 | 2.160 | 0.000 | 0.000 | 0.000 | 1101.488 |
| SARVODAY PREM | 1ST FLOOR | 0.000 | 186.341 | 0.000 | 0.000 | 0.000 | 0.000 | 0.000 | 0.000 | 2.453 | 0.360 | 0.000 | 0.000 | 0.000 | 183.528 |
| SARVODAY PREM | STILT/GROUND FLOOR | 173.015 | 26.993 | 0.000 | 0.000 | 0.000 | 0.000 | 0.000 | 0.000 | 2.402 | 2.266 | 0.000 | 0.000 | 0.000 | 197.810 |
| SARVODAY PREM | TOTAL | 173.015 | 1327.380 | 0.000 | 0.000 | 0.000 | 0.000 | 0.000 | 0.000 | 2.465 | 19.278 | 2.520 | 0.000 | 0.000 | 1482.826 |

| | | FSI ON PLOT | | | | | | | |
|---|---|---|---|---|---|---|---|---|---|
| Sr. | Index | Basic FSI ( on serial no.1 ) | Premium FSI ( on serial no.2 ) | TDR/DR (on serial no.3 ) | Rehab Incentive FSI as per 7.6.2 | Incentive for low green building & Affordable Housing FSI ( on serial no.4 ) | Ancillary Area(40% of 2.1+3+4) | Ancillary Area(50% of 2.1+3+4) | Total | Drawing Value |
| 1 | 1.1 Permissible Index | 1.100 | 0.000 | 0.400 | 50% | 0.000 | 0.000 | 0.000 | 2.000 | 0.000 |
| 2 | 1.2 Total Consumed Index of FSI as per Reg.7.6.1 & 7.6.2 | 1.100 | 0.000 | 0.400 | 0.500 | 0.000 | 0.000 | 0.000 | 2.000 | 0.000 |
| 3 | 1.3 FSI Permissible for Redevelopment(Sale Component) 1.1+0.5 = 1.6 | 1.100 | 0.500 | 0.400 | 0.500 | 0.000 | 0.000 | 0.000 | 2.500 | 0.000 |
| 4 | 1.4 Existing Consumed Index | 0.000 | 0.000 | 0.000 | 0.000 | 0.000 | 0.000 | 0.000 | 0.000 | - |
| 5 | 1.5 Balance Index to be Consumed 1.5-1.4 = 1.6-4 | 1.100 | 0.500 | 0.400 | 0.500 | 0.000 | 0.000 | 0.000 | 2.500 | - |
| 6 | 1.6 Total Proposed Index ( F Line Area ) | 505.230 | 229.650 | 183.725 | 210.710 | 0.000 | 454.574 | 73.888 | 1152.772 | 0.000 |
| 7 | 1.7 Proposed F Line Area ( should match with 1.6 ) | 505.230 | 198.160 | 0.000 | 210.710 | 0.000 | 490.558 | 73.000 | 1482.658 | 1482.658 |
| 8 | 1.8 Excess Consumed | 1.100 | 0.401 | 0.000 | 0.000 | 0.000 | 0.000 | 0.000 | 1.501 | 0.000 |

**Project Details**

Proposed code: KDMCC-26--21320
Zone Type: Residential Zone -- [R1]
Location: Non--Congested
Name of service: Redevelopment For Dangerous Building.
Name of project: Redevelopment of Senarted buildings
Cts No./Survey No.: 3359
Tehsil: Section-2
Mouze: Dombivali
Plotarea Value: 5,000
Separated:Old Zone Area :-

| Carpet Area Table | | | | | | | | |
|---|---|---|---|---|---|---|---|---|
| Building Name | Floor Name | Carpet name | Tenament No. | Carpet Area | Enclosed Balcony Area | Normal Balcony Area | Mezzanine Area | Total Carpet Area |
| SARVODAY PREM | STILT/GROUND FLOOR | SHOP 1 | 1 | 25.740 | 0.000 | 0.000 | 0.000 | 25.740 |
| SARVODAY PREM | STILT/GROUND FLOOR | SHOP 2 | 1 | 20.966 | 0.000 | 0.000 | 0.000 | 20.966 |
| SARVODAY PREM | STILT/GROUND FLOOR | SHOP 3 | 1 | 17.105 | 0.000 | 0.000 | 0.000 | 17.105 |
| SARVODAY PREM | STILT/GROUND FLOOR | SHOP 4 | 1 | 17.044 | 0.000 | 0.000 | 0.000 | 17.044 |
| SARVODAY PREM | STILT/GROUND FLOOR | SHOP 5 | 1 | 11.303 | 0.000 | 0.000 | 0.000 | 11.303 |
| SARVODAY PREM | STILT/GROUND FLOOR | SHOP 6 | 1 | 10.440 | 0.000 | 0.000 | 0.000 | 10.440 |
| SARVODAY PREM | STILT/GROUND FLOOR | SHOP 7 | 1 | 14.383 | 0.000 | 0.000 | 0.000 | 14.383 |
| SARVODAY PREM | STILT/GROUND FLOOR | SHOP 8 | 1 | 18.529 | 0.000 | 0.000 | 0.000 | 18.529 |
| SARVODAY PREM | 1ST FLOOR | 102 | 1 | 38.211 | 0.000 | 0.000 | 0.000 | 38.211 |
| SARVODAY PREM | 1ST FLOOR | 102 | 1 | 38.715 | 0.000 | 0.000 | 0.000 | 38.715 |
| SARVODAY PREM | 1ST FLOOR | 102 | 1 | 39.805 | 0.000 | 0.000 | 0.000 | 39.805 |
| SARVODAY PREM | 1ST FLOOR | 102 | 1 | 28.780 | 0.000 | 0.000 | 0.000 | 28.780 |
| SARVODAY PREM | 2ND TO 7TH FLOOR | 202,302,402,502,602,702 | 6 | 38.715 | 0.000 | 0.000 | 0.000 | 38.715 |
| SARVODAY PREM | 2ND TO 7TH FLOOR | 201,301,401,501,601,701 | 6 | 38.211 | 0.000 | 0.000 | 0.000 | 38.211 |
| SARVODAY PREM | 2ND TO 7TH FLOOR | 203,303,403,503,603,703 | 6 | 39.800 | 0.000 | 0.000 | 0.000 | 39.800 |
| SARVODAY PREM | 2ND TO 7TH FLOOR | 204,304,404,504,604,704 | 6 | 28.780 | 0.000 | 0.000 | 0.000 | 28.780 |

| Parking Check As Per Multiplying Factor 0.800 (meter / 6 scooter equals to 1 car, proposed composite parking for cars= 0 | | | | | | |
|---|---|---|---|---|---|---|
| Building Name | Car | Scooter | Transport Vehicle(Ambulance Bus) | Car | Scooter | Transport Vehicle(Ambulance Bus) |
| | | | | Required | | |
| Total | 16 | 12 | 0 | 16 | 12 | 0 |

| Tatkaal Rooms | | | |
|---|---|---|---|
| Building | Req. Size | Prov. Size | Status |
| SARVODAY PREM | 0.000X0.400 | 0.000X0.400 | - |
| SARVODAY PREM | Reg. Tatkaal Rooms | 1 | FAIL |

| SCHEDULE OF OPENING | | | |
|---|---|---|---|
| SLO NAME | NAME | LENGTH | HEIGHT |
| SARVODAY PREM | V | 0.750 | 1.200 |
| SARVODAY PREM | V | 0.600 | 1.200 |

| Parking Check (Table 16) | | | | | | | | | |
|---|---|---|---|---|---|---|---|---|---|
| | | | RATIO | | | Required | | | |
| Building Name | USE | TENAMENT AREA | car | scooter | NO.OF Tenat/Area/Units | car | scooter | Transport Vehicle(Ambulance Bus) | |
| SARVODAY PREM | Commercial | For every 100 sq.mt. carpet area or part thereof | 2 | 6 | 135.510 | 2.710 | 8.131 | - | |
| SARVODAY PREM | Residential | For every two tenements with each tenement having carpet area less than 30 Sq.m. | 0 | 2 | 7 | 0.000 | 7.000 | - | |
| SARVODAY PREM | Residential | For every two tenement having carpet area more than 30 Sq.m. but more than 50 sq.m. | 1 | 2 | 21 | 10.500 | 21.000 | - | |
| Total | | | - | - | - | 13.210 | 36.131 | - | |
| Visitors parking(5%) | - | - | - | - | - | 0.525 | 1.400 | - | |
| Total | | | - | - | - | 13.735 | 37.531 | 2.000 | |

BUILT-UP AREA CALCULATION STILT-GRIUND FLOOR SARVODAY PREM

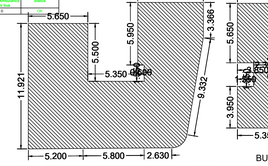

BUILT-UP AREA CALCULATION 1ST FLOOR SARVODAY PREM

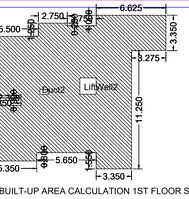

BUILT-UP AREA CALCULATION 2ND TO 7TH FLOOR SARVODAY PREM

| BUILT UP AREA CALCULATION FOR STILT/GROUND FLOOR SARVODAY PREM | | | |
|---|---|---|---|
| AREA NAME | LENGTH | WIDTH | Area(Sq.M) |
| BLOCK | 9.157 | 2.900 | 26.563 |
| BLOCK AREA TOTAL =27.0 SQ.M. | | | |
| TOTAL Deduction =0.000Sq.M. | | | |
| Net Built-Up Area =26.563 Sq.M. | | | |

| BUILT UP AREA CALCULATION FOR 1ST FLOOR SARVODAY PREM | | | |
|---|---|---|---|
| AREA NAME | LENGTH | WIDTH | Area(Sq.M) |
| BLOCK | 19.425 | 9.332 | 181.264 |
| BLOCK AREA TOTAL =181.264Sq.M. | | | |
| TOTAL Deduction =0.000Sq.M. | | | |
| Net Built-Up Area =181.264 Sq.M. | | | |

| BUILT UP AREA CALCULATION FOR 1ST FLOOR SARVODAY PREM | | | |
|---|---|---|---|
| AREA NAME | LENGTH | WIDTH | Area(Sq.M) |
| BLOCK | 17.625 | 14.600 | 257.325 |
| Lift(Lift) | - | - | 2.400 |
| Deck1 | - | - | 0.360 |
| TOTAL Deduction =2.760Sq.M. | | | |
| Net Built-Up Area =183.576 Sq.M. | | | |

| BUILT UP AREA CALCULATION FOR 2ND TO 7TH FLOOR SARVODAY PREM | | | |
|---|---|---|---|
| AREA NAME | LENGTH | WIDTH | Area(Sq.M) |
| BLOCK | 17.625 | 14.600 | 188.947 |
| BLOCK AREA TOTAL =188.947Sq.M. | | | |
| LIFTWEL | - | - | 2.400 |
| Deck1 | - | - | 0.360 |
| TOTAL Deduction =2.760Sq.M. | | | |
| Net Built-Up Area =183.576 Sq.M. | | | |

**FOR CC-1 (AS PER UDCPR) - 1.10 + 0.50 + 0.40 = 2.00**

1/1

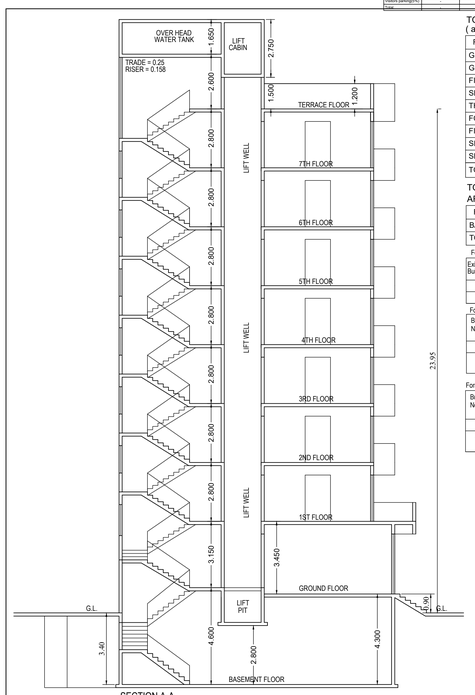


SECTION A-A
SCALE - 1:100

TOTAL P- LINE AREA STATEMENT
( area in sq.mt.):-

| FLOOR | P - LINE AREA |
|---|---|
| GROUND FLOOR | 171.48 |
| GROUND FLOOR | 26.119 |
| FIRST FLOOR | 183.576 |
| SECOND FLOOR | 183.576 |
| THIRD FLOOR | 183.576 |
| FOURTH FLOOR | 183.576 |
| FIFTH FLOOR | 183.576 |
| SIXTH FLOOR | 183.576 |
| SEVENTH FLOOR | 183.576 |
| TOTAL AREA = | 1482.63 |

TOTAL BASEMENT PARKING AREA STATEMENT ( area in sq.mt.):-

| FLOOR | P - LINE AREA |
|---|---|
| BASEMENT FLOOR | 210.423 |
| TOTAL AREA = | 210.423 |

Form of Statement 1 Existing Building to be retained

| Existing Building No. | Floor No. | Plinth Area | Total Floor Area of Existing Building Use | Occupancy of Floors. |
|---|---|---|---|---|
| 1 | 2 | 3 | 4 | 5 |
| -- | -- | -- | -- | -- |

Form of Statement 2 Proposed Building

| Building No. | Floor No. | Total B-up Area of floor as per outer construction Line |
|---|---|---|
| 1 | 2 | 3 |
| | BASEMENT + GROUND + 1ST TO 7TH FLR. | 1482.63 |

Form of Statement 3 Area details of Apartment

| Building No. | Floor No. | Apartment No. | Carpet area of apartment | Area of Bal. attached to Apart. | Area of Double height terraces attached to flat. |
|---|---|---|---|---|---|
| 1 | 2 | 3 | 4 | 5 | 6 |
| 1 | BASEMENT + GROUND + 1ST TO 7TH FLR. | 1 | 1165.45 | 46.90 | NIL |

P -LINE AREA CALCULATION

| GROUND RESIDENTIAL FLOOR | | | | SQ.MT. |
|---|---|---|---|---|
| 1 | 4.900 X 6.750 X 1 NO | | = | 33.075 |
| DEDUCTIONS | | | | |
| 1 | 0.950 X 0.450 X 1 NO | | = | 0.428 |
| 2 | 0.150 X 5.050 X 1 NO | | = | 0.758 |
| 3 | 2.150 X 2.000 X 1 NO | | = | 4.300 |
| 4 | 0.950 X 1.547 X 1 NO | | = | 1.470 |
| TOTAL DEDUCTION | | | = | 6.956 |
| NET P-LINE AREA | | | = | 26.119 |

P- LINE AREA DIAGRAM FOR GROUND FLOOR
RESIDENTIAL AREA SCALE 1:200

PARKING STATEMENT

| SR NO. | OCCUPANCY | SIZE OF TENAMENT | | NO.OFF UNITS | PARKING REQUIRED | | | |
|---|---|---|---|---|---|---|---|---|
| | | | | | 4 - W | 4% VISITORS | 2 - W | 4% VISITORS |
| | RESIDENTIAL | SQM CARPET | | | | | | |
| | every tenement | 150 & ABOVE | | | | | | |
| | every tenement | 80 TO 150 | | | | | | |
| | every two tenement | 40 TO 80 | | 00 | 0.00 | 0.00 | 0.00 | 0.00 |
| | every two tenement | 30 TO 40 | | 21 | 10.50 | 0.525 | 21.00 | 1.05 |
| | every two tenement | less than 30 | | 07 | NIL | NIL | 07.00 | 0.35 |
| | Total | | | 28 | 10.50 | 0.525 | 28.00 | 1.40 |
| | | | | | 11.03 | | 29.40 | |
| | COMMERCIAL 100 /1 | | | | | | | |
| | LIBRARY RESERVATION NO. | NIL | 146.53 | | 2.93 | 0.15 | 8.79 | 0.44 |
| | TOTAL PARKING | | | | 14.11 | | 38.63 | |
| | COMMERCIAL | 0.8 OF TOTAL PARKING | | | 11.29 | | 38.63 | |
| | PARKING REQUIRED | | | | 11.00 | | 39.00 | |
| | | converting 1car x 6 two wheeler | | | 4.67 | | 28 / 6 = 4.67 | |
| | | PROVIDED | | | 15.67 | | 12.00 | |

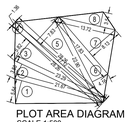

PLOT AREA DIAGRAM
SCALE 1:500

| PLOT AREA CALCULATION | | | | | | | SQ.MT. |
|---|---|---|---|---|---|---|---|
| 1 | 21.665 | X | 5.638 | X | 1 | NO | = 61.074 |
| 2 | 23.290 | X | 3.880 | X | 1/2 | | = 45.183 |
| 3 | 27.118 | X | 5.821 | X | 1/2 | | = 78.927 |
| 4 | 28.261 | X | 1.360 | X | 1/2 | | = 19.217 |
| 5 | 28.261 | X | 7.827 | X | 1/2 | | = 110.599 |
| 6 | 22.902 | X | 4.157 | X | 1/2 | | = 47.602 |
| 7 | 17.828 | X | 8.127 | X | 1/2 | | = 72.444 |
| 8 | 13.725 | X | 3.543 | X | 1/2 | | = 24.314 |
| TOTAL ADDITION | | | | | | | = 459.360 |

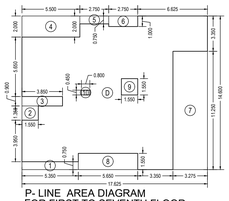

P- LINE AREA DIAGRAM
FOR FIRST TO SEVENTH FLOOR
SCALE 1:200

P -LINE AREA CALCULATION

| FIRST TO SEVENTH FLOOR | | | | | | | SQ.MT. |
|---|---|---|---|---|---|---|---|
| D | 17.625 | X | 14.600 | X | 1 | NO | = 257.325 |
| DEDUCTIONS | | | | | | | |
| 1 | 5.350 | X | 0.750 | X | 1 | NO | = 4.013 |
| 2 | 1.550 | X | 1.350 | X | 1 | NO | = 2.093 |
| 3 | 3.850 | X | 0.900 | X | 1 | NO | = 3.465 |
| 4 | 5.500 | X | 2.000 | X | 1 | NO | = 11.000 |
| 5 | 2.750 | X | 0.750 | X | 1 | NO | = 2.063 |
| 6 | 2.750 | X | 1.000 | X | 1 | NO | = 2.750 |
| 7 | 3.275 | X | 11.250 | X | 1 | NO | = 36.844 |
| 8 | 5.650 | X | 1.550 | X | 1 | NO | = 8.758 |
| 9 | 1.550 | X | 1.550 | X | 1 | NO | = 2.403 |
| 10 | 0.800 | X | 0.450 | X | 1 | NO | = 0.360 |
| TOTAL DEDUCTION | | | | | | | = 73.749 |
| NET P-LINE AREA | | | | | | | = 183.576 |

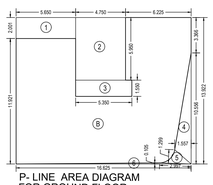

P- LINE AREA DIAGRAM FOR GROUND FLOOR
COMMERCIAL AREA SCALE 1:200

P -LINE AREA CALCULATION

| GROUND COMMERCIAL FLOOR | | | | SQ.MT. |
|---|---|---|---|---|
| B | 16.625 X 13.922 X 1 NO | | = | 231.453 |
| DEDUCTIONS | | | | |
| 1 | 5.65 X 2.001 X 1 NO | | = | 11.306 |
| 2 | 4.75 X 5.95 X 1 NO | | = | 28.26 |
| 3 | 5.35 X 1.75 X 1 NO | | = | 9.362 |
| 4 | 10.556 X 1.557 X 0.50 | | = | 8.218 |
| 5 | 2.997 X 1.299 X 0.50 | | = | 1.946 |
| 6 | 16.625 X 0.105 X 0.50 | | = | 0.873 |
| TOTAL DEDUCTION | | | = | 59.97 |
| NET P LINE AREA | | | = | 171.48 |

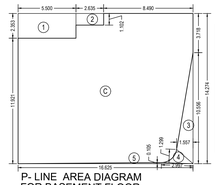

P- LINE AREA DIAGRAM
FOR BASEMENT FLOOR
SCALE 1:200

P -LINE AREA CALCULATION

| BASEMENT FLOOR | | | | SQ.MT. |
|---|---|---|---|---|
| C | 16.625 X 14.274 X 1 NO | | = | 237.305 |
| DEDUCTIONS | | | | |
| 1 | 5.50 X 2.353 X 1 NO | | = | 12.941 |
| 2 | 2.635 X 1.102 X 1 NO | | = | 2.904 |
| 3 | 10.556 X 1.557 X 0.50 | | = | 8.218 |
| 4 | 2.997 X 1.299 X 0.50 | | = | 1.946 |
| 5 | 16.625 X 0.105 X 0.50 | | = | 0.873 |
| TOTAL DEDUCTION | | | = | 26.882 |
| NET P-LINE AREA | | | = | 210.423 |

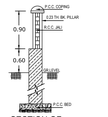

SECTION OF COMPOUND WALL.
SCALE 1:50

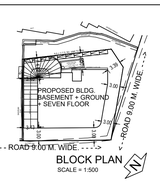


BLOCK PLAN
SCALE = 1:500

LOCATION PLAN
NOT TO SCALE - REFERENCE: D.P.)



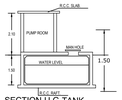

SECTION U.G.TANK.
SCALE 1:100

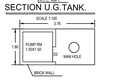

PLAN OF U.G. TANK.
SCALE 1:100

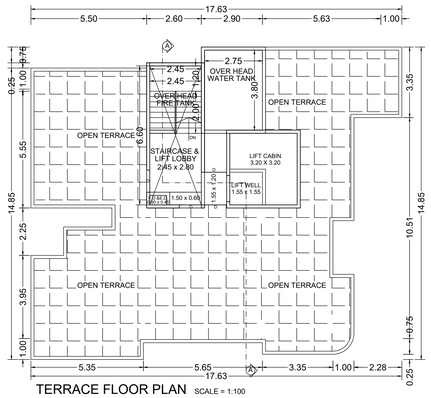


TERRACE FLOOR PLAN SCALE = 1:100

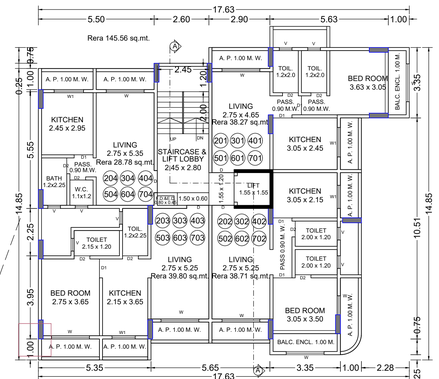


SECOND TO SEVENTH FLOOR PLAN SCALE = 1:100

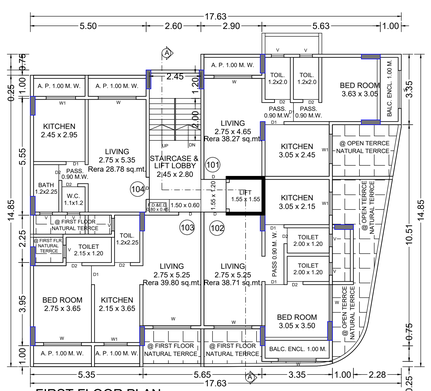


FIRST FLOOR PLAN SCALE = 1:100

| | | |
|---|---|---|
| | AREA STATEMENT | |
| | AREA OF PLOT :- | |
| | ( MINIMUM AREA OF A,B,C, TO BE CONSIDERED) | 459.30 |
| (a) | AS PER OWNERSHIP DOCUMENT | 459.30 |
| (b) | AS PER MEASUREMENT SHEET | |
| (c) | AS PER SITE | 459.30 |
| 2 | DEDUCTIONS FOR | |
| (a) | PROPOSED D.P. / D.P.ROAD WIDENING AREA /SERVICE ROAD | 00.00 |
| (b) | ANY D.P. RESERVATION AREA | |
| | ( TOTA a+b) | 00.00 |
| 3 | BALANCE AREA OF PLOT ( 1-2) | 430.43 |
| 4 | AMENITY SPACE (IF APPLICABLE) | |
| (a) | REQUIRED- | |
| (b) | ADJUSTMENT OF 2 (B),IF ANY | |
| (c) | BALANCE PROPOSED - | |
| 5 | NET PLOT AREA ( 3-4 (C) ) | 430.43 |
| 6 | RECREATIONAL OPEN SPACE (IF APPLICABLE) | |
| (a) | REQUIRED- | |
| (b) | PROPOSED - | |
| 7 | INTERNAL ROAD AREA | |
| 8 | PLOTABLE AREA (IF APPLICABLE) | 430.43 |
| 9 | BUILT UP AREA WITH REFERENCE TO BASIC F.I.S. AS PER FRONT ROAD WIDTH (SR.NO.5Xbasic FSI) | 505.23 |
| 10 | ADDITION OF FSI ON PAYMENT OF PREMIUM | |
| (a) | MAXIMUM PERMISSIBLE PREMIMUM FSI - BASED OR WIDTH /TOD ZONE | 229.65 |
| (b) | PROPOSED FSI ON PAYMENT OF PREMIUM. | 198.16 |
| 11 | IN -SITU FSI / TDR LOADING | |
| (a) | IN- SITU AREA AGAINST D.P.ROAD (2.0XSR.NO.2(A).IF ANY | |
| (b) | IN- SITU AREA AGAINST AMENITY SPCEIF HANDED OVER (2.00 OR .85 X SR.NO.4 (B) AND /OR (C) | |
| (c) | TDR AREA | 000.00 |
| (d) | TOTAL IN -SITU/TDR LOADING PROPOSED (11 (a)+(b)+(c)) | 000.00 |
| 12 | ADDITIONAL FSI AREA UNDER CHAPTER NO. 7 TENEMT 50% | |
| | AS PER PR CARD 459.30 - OWNER 27.87 = 431.43 | 215.71 |
| | TOTAL ENTITLEMENT OF FSI IN THE PROPOSAL | 919.10 |
| 13 (a) | ( 9+10(B) +11(D) OR 12 WHICHEVER IS APPLICABLE. | |
| (b) | ANCILLARY AREA FSI UP TO 60% OR 80% 1318.86 /1.60 = 824.29 X 60% = 494.57 | |
| | COMMERCIAL ANCILLARY AREA FSI UP TO 80% WITH PAYMENT OF CHARGES | 568.46 |
| | 166.24 / 1.80 = 92.36 X 80% = 73.89 | |
| | WITH PAYMENT OF CHARES | |
| (c) | TOTAL ENTITLEMENT (A+B) | 1487.56 |
| 14 | MAXIMUM UTILIZATION LIMIT OF F.S.I.(BUILDING POTENTIAL) PERMISSIBLE AS PER ROAD WIDTH ( AS PER REGULATION NO.6.1 OR 6.3 OR 6.4 AS APPLICABLE )X 1.60R 1.8 | |
| 15 | TOTAL EBUILT UP AREA IN PROPOSAL (EXCLUDING AREA AT SR.17B) | |
| (a) | EXISTING BUILT UP AREA. | |
| (b) | PROPOSED BUILT UP AREA ( AS PER 'P- LINE' ) | 1482.63 |
| (c) | TOTAL (A+B) | |
| 16 | FSI CONSUMED ( 15/13) SHOULD NOT BE MORE THEN SERIAL NO.14 ABOVE) | 0.99 |
| 17 | AREA FOR INCLUSIVE HOUSING ,IF ANY | |
| (a) | REQUIRED (20%OF SR.NO.5) | |
| (b) | PROPOSED | |
| | **CERTIFICATE OF AREA:** | |

**CERTIFICATE OF AREA**

CERTIFIED THAT THE PLOT UNDER REFERENCE WAS SURVEYED BY ME ON 15.09.2025 & THE DIMENSIONS OF SIDES ETC. OF PLOT ARE AS MEASURED ON SITE AND THE AREA SO 459.00 sq.mt. WORKED OUT TALLIES WITH THE AREA STATED IN DOCUMENT OF OWNERSHIP/ T.P. SCHEME SCHEME RECORDS /LAND RECORDS DEPARTMENT / CITY SURVEY RECORDS.

**CERTIFICATE OF STRUCTURAL**

THE PLANS PREPAIRED BY ME ARE IN ACCORDANCE WITH THE NORMS AS SPECIFIED BY INDIAN STANDARD INSTITUTE & I WILL BE HELD RESPONSIBLE FOR ANY HARM CAUSED IN EARTHQUAKE DUE TO NEGLIGENCE OF THE STANDARDS, I HAVE CONFIRMED THE PROPOSED CONSTRUCTION IS AS PER THE NORMS AS PER THE NORMS AS SPECIFIED BY INDIAN STANDARD INSTITUTE FOR RESISTANCE OF EARTHQUAKE.

SING.OF R.C.C. CONSULTANT

**OWNER'S DECLARATION:**

I/WE UNDERSIGNED HEREBY CONFIRM THAT I/WE WOULD ABIDE BY PLANS APPROVED BY AUTHORITY / COLLECTOR. I/W WOULD EXECUTE THE STRUCTURE AS PER APPROVED PLANS. ALSO, I/WE WOULD EXECUTE TH EWORK UNDER SUPERVISION OF PROPER TECHNICAL PERSON SO AS TO ENSURE THE QUALITY & SAFETY AT THE WORK SITE.

RUDRA INFRATECH

**DESCRIPTION OF PROPOSAL AND PROPERTY**

PROPOSED BUILDING ON PLOT BEARING C.T.S. NO. 3359 TO 3365, 3538, AT VILL. - NAVI DOMBIVLI (W), TAL - KALYAN, DIST. THANE., SECTOR-2 & WARD-H
NAME OF PROPOSED BUILDING: 'SARVODAY PREM'

| NAME OF OWNER | SIGNATURE |
|---|---|
| | |
| **NAME OF DEVELOPERS** | |
| RUDRA INFRATECH<br>FLAT NO. 02, AMBA MATA CHS, AGARKAR ROAD LANE, NAHRU ROAD, DOMBIVLI EAST. 421 201 | |
| **ARCHITECT** | **SIGNATURE** |
| **AR. SANDEEP S. PARANJPE**<br>CA/91/13784 | |

ARCHITECTS
602, Shree Laxmi Narayan Prasad, Nandivali Road, Near Pragati College, Dombivli East, Tal- Kalyan, Thane - Mumbai- (M.H.), pin 421 201 Mob. 9821352938

| SCALE | DRAWN BY | CHK BY | DATE | JOB NO. | DRG.NO. | RV |
|---|---|---|---|---|---|---|
| AS SHOWN | SURENDRA | S.P.PARANJPE | 04.02.2026 | | | 0 |

**Proforma I : Area Statement**

| | | |
|---|---|---|
| 1. Area of plot(Minimum area of a, b, c to be considered) or area of subplot with sanctioned layout No. and subplot No. | | 459.300 |
| (a) As per ownership document (7/12, CTS extract) | | 459.300 |
| (b) as per TILR or City Survey measurement sheet | | 459.300 |
| (c) as per Demarcated drawing area | | 459.997 |
| LESS | | |
| 2.Area not in possession | | 0.000 |
| 3. Area Proposed for development ( out of 1-2 ) | | 459.300 |
| 4.Deductions for( out of 3 ) | | |
| (a) Proposed D.P./ D.P. Road widening Area/Proposed DP road, Road under MMC act | | 0.000 |
| (b) Any D.P. Reservation area | | 0.000 |
| (c) Green Belt | | 0.000 |
| 5.Total a+b+c | | 0.000 |
| 5. Balance area of plot (3-4) | | 459.300 |
| 6. Amenity Space Proposed | | 0.000 |
| (Required -(a) Upto 20,000 sqmt - Nil | | - |
| (b) Above 20,000 and more - (a) * 5% of Total area | | 0.000 |
| 7. Net Plot Area (5-6 ) | | 459.300 |
| 8.Recreational Open Space ( Not applicable if plots are from sanctioned layout ) | | - |
| (a). If area is more than (5) 4000 sqmt - 10 % of (5) is required. | | 0.000 |
| Proposed | | 0.000 |
| (A)10 % Subject to minimum 200 sqmt( Not applicable if plots are from sanctioned layout or each plot admeasuring less than 4000sq.m regularised under gunthewari act ) | | 0.000 |
| Proposed | | 0.000 |
| (B)Exemption to leave open space subject to availing basic F.S.I. of 75 % | | - |
| (C)Exemption to leave open space subject to payment of 10 % land value of land at ( 7 ) as per annual statement of rate. | | - |
| if (5) > 4000sq.m then Land admeasuring 20% of (5) is to be utilised for Inclusive housing | | 0.000 |
| Proposed Area | | 0.000 |
| Architect/ Licensed Engineer/ Supervisor name and signature | | |
| Registration No. of Architect/ License no. of Licensed Engineer/ Supervisor: CA/1991/13784 | | |
| Certificate of Area:<br>Certified that the plot under reference was surveyed by me on,_____ and the dimensions of sides etc. of plot stated on plan are as measured on site and the area so worked out tallies with the area stated in document of Ownership/ T.P. Scheme Records/Land Records Department/City Survey records. | | |
| Signature<br>(Name of Architect/ Licensed Engineer/ Supervisor.) | | |
| Owner's Declaration -<br>I/We undersigned hereby confirm that I/We would abide by plans approved by Authority / Collector. I/We would execute the structure as per approved plans. Also I/We would execute the work under supervision of proper technical person so as to ensure the quality and safety at the work site. | | |
| Owner (s) name and signature | | |

Name Of Owner RUDRA INFRATCH AMAN MAHENDRA CHAPLOT PARTNERS OTHERS

Postal Address : 301 Maitri Indira Sadan,Ganpati Mandir Road,Kalyan,Thane,Maharashtra-421201

Phone No.- 9619370725

**DESCRIPTION OF PROJECT :**

Type of Proposal : Mixed
BUILDING ON CTS. NO./SURVEY NO.-3359

SITE ADDRESS :
PROPOSED BUILDING ON PLOT BEARING C.T.S. NO. 3359 TO 3365, 3538, AT VILL. - NAVI DOMBIVLI (W), TAL - KALYAN, DIST. THANE., SECTOR-2 & WARD-H NAME OF PROPOSED BUILDING:

Name Of Architect : SANDEEP SHRIKRISHNA PARANJPE

| LOGO | ADDRESS OF OFFICE<br>OFFICE -<br>DOMBIVLI |
|---|---|
| OWNERS SIGN - | TECHNICAL PERSON SIGN |
| SCALE - | DATE: Date: 24/02/26 |
| JOB NO - KDMCC-26-21320 | CHECK BY - zoom |

**SUBMISSION DRAWING**