SWASTIK CHS															
BUILDING	FLOORS	FSI AREA						BALCONY	TERRACE	LIFT	LIFTWELL	DUCT	VENT	OTHER	TOTAL
		COMM.	RESI.	IND.	EDU.	INS.	MEZZ.	PROP.					SHAFT	DEDUCTION	FSI AREA
SWASTIK CHS	TYPICAL 1ST TO 6TH FLOOR	0.000	1912.722	0.000	0.000	0.000	0.000	317.142	0.000	19.440	19.440	103.086	0.000	0.000	1790.196
SWASTIK CHS	7TH FLOOR	0.000	318.787	0.000	0.000	0.000	0.000	52.857	0.000	0.000	3.240	17.181	0.000	0.000	298.366
SWASTIK CHS	GROUND FLOOR	0.000	16.315	0.000	0.000	0.000	0.000	0.000	0.000	4.410	0.000	0.000	0.000	0.000	16.315
SWASTIK CHS	TOTAL	0.000	2247.824	0.000	0.000	0.000	0.000	369.999	0.000	23.850	22.680	120.267	0.000	0.000	2104.877

FSI DETAILS										
10 Index	Basic FSI/Exst BUA (on serial no 7)	Incentive FSI as per 7.6.1	Premium FSI (on serial no 3)	TDR/DR (on serial no 3)	Rehab Incentive FSI as per 7.6.2	Incentive fsi for green building If Applicable (on basic FSI)	Ancillary Area(60% of 2 + 3+4+5)	Ancillary Area(80% of 2 + 3+4+5)	Total	Drawing Value
10.1 Permissible Index	1.100	30%/15 sq.mtr per ten.	0.500	0.900	50%	0.000	0.000	0.000	2.500	0.000
10.2 Total Entitlement of FSI as per Reg 7.6.1 & 7.6.2	1.100	0.308	0.390	0.702	0.500	0.000	0.000	0.000	2.500	0.000
10.3 FSI Permissible for Redevelopment(Max of 10.1 and 10.2)	1.100	0.308	0.390	0.702	0.500	0.000	0.000	0.000	2.500	0.000
10.4 Existing Consumed Index	0.000	0.000	0.000	0.000	0.000	0.000	0.000	0.000	0.000	0.000
10.5 Balance Index to be Consumed (10.3 - 10.4)	1.100	0.308	0.390	0.702	0.500	0.000	0.000	0.000	2.500	0.000
10.6 Total Permissible (P Line Area)	588.720	165.000	208.671	375.609	0.500	0.000	791.532	0.000	2130.032	0.000
10.7 Proposed P Line Area (should not exceed 10.4)	588.720	165.000	202.000	363.000	0.500	0.000	785.657	0.000	2104.877	2104.877
10.8 Index Consumed	1.100	0.308	0.377	0.678	0.500	0.000	0.000	0.000	2.464	0.000

Project Details
Proposal code: KDMCC-26-09658
Zone Type: Residential Zone
Location: Non-Congested
Name of service: Redevelopment For Dangerous Building
Sub service: Redevelopment of multi-dwelling building of owner and tenanted building
Cts No./Survey No.: 230
Tahsil: Sector-2
Mouza: Dombivali
Prorata Value: 0.000
Separation/CRZ Zone Area: -

Parking Check (Table 8B)									
			RATIO			Required			
Building Name	USE	TENAMENT AREA	car	scooter	NO.OF Tena/Area/Units	car	scooter	Transport Vehicle/Ambulance /Mini Bus	
SWASTIK CHS	Residential	For every two tenements with each tenement having carpet area equal to or above 40 sq.m. but less than 80 sq.m.	1	2	28	14.000	28.000	-	
SWASTIK CHS	Residential	For every two tenements with each tenement having carpet area less than 40 Sq.m. but more than 30 sq.m.	1	2	6	3.000	6.000	-	
Total	-	-	-	-	-	17.000	34.000	-	
Visitors parking(5%)	-	-	-	-	-	0.850	1.700		
Total	-	-	-	-	-	17.850	35.700	0.000	

Carpet Area Table								
Building Name	Floor Name	Carpet name	Tenement No	Carpet Area	Enclosed Balcony Area	Normal Balcony Area	Mezzanine Area	Total Carpet Area
SWASTIK CHS	7TH FLOOR	701	1	40.779	13.200	0.000	0.000	53.979
SWASTIK CHS	7TH FLOOR	702	1	42.732	9.516	0.000	0.000	52.248
SWASTIK CHS	7TH FLOOR	704	1	44.703	9.140	3.611	0.000	53.843
SWASTIK CHS	7TH FLOOR	705	1	39.611	12.490	0.000	0.000	52.101
SWASTIK CHS	TYPICAL 1ST TO 6TH FLOOR	101;201;301;401;501 ;601	6	40.778	13.200	0.000	0.000	53.978
SWASTIK CHS	TYPICAL 1ST TO 6TH FLOOR	102;202;302;402;50 2;602	6	39.846	9.516	0.000	0.000	49.362
SWASTIK CHS	TYPICAL 1ST TO 6TH FLOOR	103;203;303;403;50 3;603	6	32.874	4.900	0.000	0.000	37.774
SWASTIK CHS	TYPICAL 1ST TO 6TH FLOOR	104;204;304;404;50 4;604	6	43.180	9.140	3.611	0.000	52.320
SWASTIK CHS	TYPICAL 1ST TO 6TH FLOOR	105;205;305;405;50 5;605	6	39.611	12.490	0.000	0.000	52.101

Harsh Tushar Shah

Digitally signed by Harsh Tushar Shah
Date: 2026.02.17 18:35:26 +05'30'

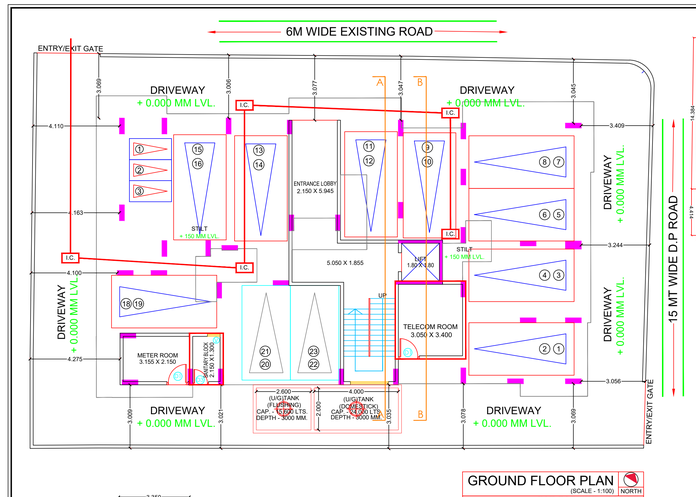

GROUND FLOOR PLAN (SCALE - 1:100) NORTH
CAR PARKING = 20 NOS.

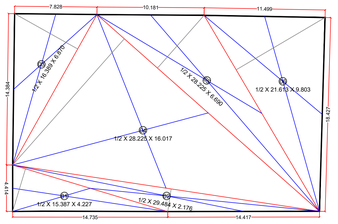

PLOT AREA CALCULATION DAIGRAM (SCALE - 1:300) NORTH

TABLE NO. 8 - PARKING REQUIREMENTS FOR MULTY FAMILY RESIDENTIAL WITH COMMERCIAL AREA						
				As per Notification, dtd. 28.12.2022		
SR.NO.	OCCUPANCY	REQUIRED PARKING RATE	TOTAL NO. OF FLAT	PARKING SPACES REQ. (NON CONGESTED AREA)		PARKING SPACE PROP. (NON CONGESTED AREA)	
				CAR	SCOOTER	CAR	SCOOTER
1	RESIDENTIAL	For every tenement having carpet area of 150 sq.m. and above	0	2	1	0.00	0.00
2		For every tenement having carpet area equal to or above 80 sq.m. but less than 150 sq.m.	0	1	1	0.00	0.00
3		For every two tenements with each tenement having carpet area equal to or above 40 sq.m. but less than 80 sq.m.	15	1	2	7.50	15.00
4		For every two tenements with each tenement having carpet area less than 40 sq.m. but more than 30 sq.m.	19	1	2	9.50	19.00
5		For every two tenements with each tenement having carpet area less than 30 sq.m.	0	0	2	0.00	0.00
6	COMMERCIAL	For every 100 sq.m. carpet area or fraction thereof.	0	2	6	0.00	0.00
7	Office & I.T. Building	For every 200 sq.m. carpet area or fraction thereof.	0	3	11	0.00	0.00
Parking Requirement (Quantum)			Residential			17	34
			Commercial			0	0
Add 5% Visitors Parking for Residential area						1	2
TOTAL						18	**36**
With Multiplying Factor on total Parking as per Table 8C - 0.8				Multiplying Factor Not applicable for Scooter Parking		14	36
PARKING REQUIREMENT (Greater of A and B)				CAR	SCOOTER		
				14	36		
COMPOSITE PARKING ONE CAR WITH TWO SCOOTERS MAY BE ALLOWED.				- - -	- - -		
SIX SCOOTERS PARKING MAY BE ALLOWED TO BE CONVERTED IN ONE CAR PARKING (32/6)				6	36		
REQUIRED PARKING (After conversion)				20	0		
PROPOSED PARKING				20	0		

PROFORMA - 1 : Area Statement	
PROJECT DETAILS :- PROPOSED REDEVELOPMENT OF SWASTIK CHS ON PLOT BEARING C.T.S. NO.,230, MOUJE -DOMBIVILI	SHEET NO. 01/02

PROFORMA - 1			
Sr. No.			Area (Sq.M.)
1		**Area of plot (Minimum area of a,b,c to be considered)**	
	A	As per ownership document (7/12, CTS extract)	535.200
	B	As per measurement sheet	535.200
	C	As per site	535.200
		Deductions for	
2	A	Proposed D.P./ D.P. Road widening Area/Service Road/ Highway widening	0.000
	B	Any D.P. Reservation area	0.000
		(total a + b)	0.000
3		**Balance area of Plot (1 - 2)**	535.200
4	A	Amenity Space (if applicable)	0.000
	B	Adjustment of 2(b) if any -	0.000
	C	Balance Proposed -	0.000
5		**Net Plot Area (3-4 (c))**	535.200
6		Recreational Open Space (if applicable)	
	A	Required 10% Of Plot Area	0.000
	B	Proposed	0.000
7		Internal Road Area	0.000
8		**Potable area (if applicable)**	0.000
9		Built up area with reference to Basic F.S.I. as per front road width (Sr.No. 3 a area FSI 1.10)	588.720
10		**Addition of FSI on payment of premium**	
	A	Maximum permissible premium FSI - based on road width/ TOD Zone. (plot area X 0.5 premium FSI)	267.600
	B	Proposed FSI on pajment required	202.000
		In-situ FSI / TDR loading	0.000
11	A	Ancillary area against D.P. road [2.0 x Sr. No. 2 (a)], if any	0.000
	B	Ancillary area against Amenity Space if handed over [2.00 or 1.85 x Sr. No. 4 (b) and / or (c)]	0.000
	C	EW area (0.4 x Plot Area)	451.680
	D	Total Ancillary / TDR loading proposed (11 (a)+(b)+(c))	363.000
12		**Addition FSI area under Chapter No. 7**	0.000
		Total Commercial Area	0.000
		Total Residential B.U.A. (11 X 15 + 1st SQ.M.)	165.000
		Total entitlement of FSI in the proposal	0.000
13	A	[9 + 10(b)+11(d)] or 12 whichever is applicable.	1318.720
	B	Total Commercial B.U.A. consumed	0.000
	C	Ancillary Area F.S.I. up to 80% with payment of charges.	0.000
	D	Total Residential B.U.A. available (12A - 12B)	1318.720
	E	Available Ancillary Area F.S.I. up to 80% with payment of charges. (Residential = 13(F.A) X 80%)	791.232
	F	Total entitlement (12B+12C+12D+12E)	2109.952
14		**Maximum utilisation limit of F.S.I. (building potential) Permissible as per Road width (Cus per Regulation No. 6.1 or 6.2 or 6.3 or 6.4 as applicable) x 1.6 or 1.8), read with Note 3 of 10.10.1**	2109.952
15		Total Built-up Area of proposal. (excluding area of sr.No.17b)	0.000
	A	Existing Built-up Area	0.000
	B	Proposed Built-up Area (as per 'P-line')	
		Commercial	0.000
		Residential	2104.877
	C	Total (a + b)	2104.877
16		**F.S.I. Consumed (15/3) (should not be more than serial No.14 above.)**	**2109.952**
17		**F.S.I. Balance**	**5.075**
18		Area for Inclusive Housing, if any	0.00
	A	Required (20% of Sr.No.3)	0.00
	B	Proposed	0.00

NOTE: The proposed chajjas over openings for protection from sun and rain and architectural features for decorations/ aesthetic purpose shall not be used for any habitable purpose.

*CERTIFICATE OF AREA :

Certified that the plot under reference was surveyed by me on Dt. ..... and the dimensions of sides etc. of plot stated on plan are measured on site and the area so worked out tallies with the area stated in document of Ownership / T.P. Scheme Records / Land Records Department / City Survey records.

Ar. Harsh Shah
(Name and Signature of Architect)

*OWNER'S DECLARATION :

I/We undersigned hereby confirm that I/We would abide by plans approved by Authority / Collector. I/We would execute the structure as per approved plans. Also I/We would execute the work under supervision of proper technical person so as to ensure the quality and safety at the work site.

1) M/s. YOGIRAJ REALTORS.

RASIKLAL SHAHA
(Owner (s) Name, Address and Signature)

Name, Address & Sign of Architect

A-ONE ARCHITECTS
ARCHITECTURE . INTERIOR DESIGN . TOWN PLANNING
Ar. Harsh Shah (Reg. No. CA/2020/119810)

SCALE	SHEET NO.
As mentioned	01/03
DATE 18.11.2025	NORTH
DRAWN BY Harsh	

Owner Details		
Owner Name	Postal Address	Contact Number
Rasiklal Velji Shaha	12 MANKARNIKA SOCIETY,GOPAL NAGAR LANE NO 3,Kalyan,Thane,Maharashtra-421201	9892031111
Rasiklal shaha	12 manakarnika society gopal nagar lane no 3dombivli east	9892031111

Proforma I : Area Statement

1. Area of plot(Minimum area of a,b, c to be considered) or area of subplot with sanctioned layout No. and subplot No.		535.200
(a) As per ownership document (7/12, CTS extract)		535.200
(b) as per TILR or City Survey measurement sheet		535.200
(c) as per Demarcated drawing area		546.808
LESS		
2.Area not in possession		0.000
3. Area Proposed for development (out of 1-2)		535.200
4.Deductions for(out of 3)		
(a) Proposed D.P./ D.P. Road widening AreaProposed DP road, Road under MMC act		0.000
(b) Any D.P. Reservation area		0.000
(c) Green Belt		0.000
5.Total a+b+c)		0.000
5. Balance area of plot (3-4)		535.200
6. Amenity Space Proposed		0.000
(Required -(a) Upto 20,000 sqmt - Nil		-
(b) Above 20,000 and more - (a) * 5% of Total area		0.000
7. Net Plot Area (5-6)		535.200
8.Recreational Open Space (Not applicable if plots are from sanctioned layout)		-
(a). If area is more than (5) 4000 sqmt - 10 % of (5) is required.		0.000
Proposed		0.000
(A)10 % Subject to minimum 200 sqmt(Not applicable if plots are from sanctioned layout or each plot admeasuring less than 4000sq.m regularised under gunthewari act)		0.000
Proposed		0.000
(B)Exemption to leave open space subject to availing basic F.S.I of 75 %		-
(C)Exemption to leave open space subject to payment of 10 % (and value of land at (7) as per annual statement of rate.		-
if (5) > 4000sq.m then Land admeasuring 20% of (5) is to be utilised for inclusive housing		0.000
Proposed Area		0.000
Architect/ Licensed Engineer/ Supervisor name and signature		
Registration No. of Architect/ License no. of Licensed Engineer/ Supervisor. CA/2020/119810		
Certificate of Area: Certified that the plot under reference was surveyed by me on_____ and the dimensions of sides etc. of plot stated on plan are as measured on site and the area so worked out tallies with the area stated in document of Ownership/ T.P. Scheme Records/Land Records Department/City Survey records.		
Signature (Name of Architect/ Licensed Engineer/ Supervisor.)		
Owner's Declaration - I/We undersigned hereby confirm that I/We would abide by plans approved by Authority / Collector. I/We would execute the structure as per approved plans. Also I/We would execute the work under supervision of proper technical person so as to ensure the quality and safety at the work site.		
Owner (s) name and signature		

Postal Address : 12 MANKARNIKA SOCIETY,GOPAL NAGAR LANE NO 3,Kalyan,Thane,Maharashtra-421201,12 manakarnika society gopal nagar lane no 3dombivli east

DESCRIPTION OF PROJECT :

Type of Proposal : Residential
BUILDING ON CTS. NO./SURVEY NO.-230

SITE ADDRESS :
SWASTIK CHS ON PLOT BEARING CTS NO. 230, MOUJE -DOMBIVILI

Name Of Architect : harsh tushar shah

LOGO	ADDRESS OF OFFICE
A-ONE ARCHITECTS	OFFICE - 13, SHIVAJI PATH

OWNERS SIGN -	TECHNICAL PERSON SIGN
1) M/s. YOGIRAJ REALTORS.	Ar. Harsh Shah

SCALE -	DATE: Date: 05/02/26
JOB NO - KDMCC-26-09658	CHECK BY - zoom

SUBMISSION DRAWING



AREA CALCULATION DIAGRAM BOX FOR GROUND FLOOR (TELECOM ROOM)

AREA CALCULATION DIAGRAM BOX FOR GROUND FLOOR (SANITARY BLOCK)

BUILT-UP AREA CALCULATION STATEMENT FOR GROUND FLOOR (TELECOM ROOM)									
A	OVERALL DIMENSION:								
	3.350	X	3.700	X	1	=	12.395	Sq. Mts.	
	TOTAL					=	12.395	Sq. Mts.	
B	DEDUCTIONS: NIL								
TOTAL B.U.A CONSUMED FOR GROUND FLOOR (TELECOM ROOM) (12.395 X 1 FLOOR)						=	12.395	Sq. Mts.	

BUILT-UP AREA CALCULATION STATEMENT FOR GROUND FLOOR (SANITARY BLOCK)									
A	OVERALL DIMENSION:								
	1.600	X	2.450	X	1	=	3.920	Sq. Mts.	
	TOTAL					=	3.920	Sq. Mts.	
B	DEDUCTIONS: NIL								
TOTAL B.U.A CONSUMED FOR GROUND FLOOR (SANITARY BLOCK) (3.920 X 1 FLOOR)						=	3.920	Sq. Mts.	

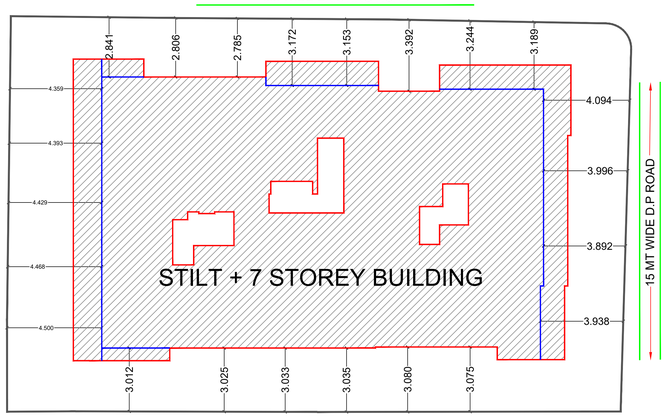

BLOCK PLAN (SCALE - 1:100) NORTH

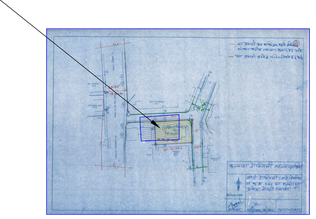

SECTION THROUGH U.G. TANK

SITE UNDER REFERENCE

LOCATION PLAN

PLOT AREA CALCULATION ON TRIANGULATION METHOD										
A	OVERALL DIMENSION:									
1	0.500	x	15.387	x	4.227	x	1	=	32.520	Sq. Mts.
2	0.500	x	29.484	x	2.176	x	1	=	32.079	Sq. Mts.
3	0.500	x	16.389	x	6.870	x	1	=	56.296	Sq. Mts.
4	0.500	x	28.225	x	16.017	x	1	=	226.040	Sq. Mts.
5	0.500	x	28.225	x	6.690	x	1	=	94.413	Sq. Mts.
6	0.500	x	21.613	x	9.803	x	1	=	105.936	Sq. Mts.
TOTAL AREA								=	547.284	Sq. Mts.
TOTAL PLOT AREA AS PER TRIANGULATION METHOD								=	547.284	Sq. Mts.

WATER CAPACITY CALCULATION (U.G. WATER TANK RESIDENTIAL UNITS)								
BUILDING	FLAT NOS.	REQUIRED DOMESTIC 135 L/TRS.	TOTAL DOM. LTRS. (A)	REQUIRED FLUSHING 270 L/TRS.		ADDITIONAL TOILET 180 L/TR. PER SIT	TOTAL FLUSHING LTRS. (B)	TOTAL LITERS (RES.) (A + B)
SHOP	NIL	80 X 0 X 5	0	270 X 00	0	180 X 0	0	0
FLATS	34	135 X 34 X 5	22950	270 X 34	9180	180 X 34	6120	15300
TOTAL	34		22950	0.000	9180	0.000	6120	15300

WATER CAPACITY REQUIRED FOR FIRE FIGHTING U.G. WATER TANK	
REQUIRED FIRE TANK	NIL
PROVIDED U.G. WATER TANK	
DOMESTIC TANK (RESIDENTIAL)	24000
FLUSHING TANK (RESIDENTIAL)	15600
DOMESTIC TANK (COMMERCIAL)	0
TOTAL PROVIDED WATER TANK CAPACITY	39600 LTRS.

AREA DETAILS OF APARTMENT (RESIDENTIAL)						
Building No.	Floor No.	Apartment No.	Rera Carpet Area of Apartment	Area of Encl. Balcony attached to Apartment	Area of Balcony attached to Apartment	Area of Natural terrace attached to Apartment
(1)	(2)	(3)	(4)	(5)	(6)	(7)
Residential	1st to 6th Floor	1	40.778 SQ.MTS.	13.200 SQ.MTS.	- - -	- - -
		2	39.846 SQ.MTS.	9.516 SQ.MTS.	- - -	- - -
		3	32.874 SQ.MTS.	4.900 SQ.MTS.	- - -	- - -
		4	43.181 SQ.MTS.	9.140 SQ.MTS.	3.611 SQ.MTS.	- - -
		5	39.611 SQ.MTS.	12.490 SQ.MTS.	- - -	- - -
	7th Floor	1	40.778 SQ.MTS.	13.200 SQ.MTS.	- - -	- - -
		2	42.732 SQ.MTS.	9.516 SQ.MTS.	- - -	- - -
		3	- - -	- - -	- - -	- - -
		4	44.703 SQ.MTS.	9.140 SQ.MTS.	3.611 SQ.MTS.	- - -
		5	39.611 SQ.MTS.	12.490 SQ.MTS.	- - -	- - -

REQUIRED O.H. WATER TANK CAPACITY		
BUILDING	TANK	50 % OF U.G. WATER TANK
RESIDENTIAL	DOMESTIC TANK	11475
	FLUSHING TANK	7650
COMMERCIAL	DOMESTIC TANK	0
TOTAL		19125 LTRS.
TOTAL REQUIRED O.H. WATER TANK		19125 LTRS.
REQUIRED O.H. WATER TANK CAPACITY FOR FIRE FIGHTING		
WING - A		10000 LTRS.
TOTAL		10000 LTRS.

PROPOSED O.H. WATER TANK CAPACITY		
BUILDING	TANK	CAPACITY
RESIDENTIAL	DOMESTIC TANK	15306 LTRS.
	FLUSHING TANK	9606 LTRS.
	COMMERCIAL TANK	0 LTRS.
	FIRE TANK	20528 LTRS.
TOTAL PROPOSED O.H. WATER TANK		45440 LTRS.

PROPOSED BUILDING (BUILT-UP AREA STATEMENT) (Residential)		
Building No.	Floor No.	Total Built-up Area of Floor, as per outer construction line
(1)	(2)	(3)
WING - A	GROUND	16.315 SQ.MTS.
	1ST FLOOR	298.366 SQ.MTS.
	2ND FLOOR	298.366 SQ.MTS.
	3RD FLOOR	298.366 SQ.MTS.
	4TH FLOOR	298.366 SQ.MTS.
	5TH FLOOR	298.366 SQ.MTS.
	6TH FLOOR	298.366 SQ.MTS.
	7TH FLOOR	262.068 SQ.MTS.
	SOC OFFICE & DRIVER ROOM (7TH FLOOR)	36.298 SQ.MTS.
	TOTAL	2104.877
TOTAL B.U.A PROPOSED		2104.877 SQ.MTS.

BUILT - UP AREA STATEMENT OF SERVICES		
a	Sanitary Block (Ground floor)	3.920
b	Telecom Room (Ground floor)	12.395
c	Society Office/Fitness Center/Creche (7th floor)	20.666
d	Driver's Room (7th floor)	15.632
e	Total (a+b+c+d)	52.613

TOTAL GROSS BUILT - UP AREA STATEMENT		
SR.NO.	Floor No.	AREA IN SQ.MTRS.
(1)	(2)	(3)
1	GROUND (STILT)	278.440 SQ.MTS.
2	GROUND (RESIDENTIAL)	0.000 SQ.MTS.
3	1ST FLOOR	298.366 SQ.MTS.
4	2ND FLOOR	298.366 SQ.MTS.
5	3RD FLOOR	298.366 SQ.MTS.
6	4TH FLOOR	298.366 SQ.MTS.
7	5TH FLOOR	298.366 SQ.MTS.
8	6TH FLOOR	298.366 SQ.MTS.
9	7TH FLOOR	262.068 SQ.MTS.
10	MUMTY SLAB AREA	22.748 SQ.MTS.
11	SERVICE AREA	52.613 SQ.MTS.
12	TOTAL	2406.065
TOTAL GROSS BUILT - UP AREA		2406.065 SQ.MTS.

PROFORMA - I : Area Statement

PROJECT DETAILS :-	SHEET NO.
PROPOSED REDEVELOPMENT OF SWASTIK CHS ON PLOT BEARING C.T.S. NO. 230, MOUJE -DOMBIVLI	02/02

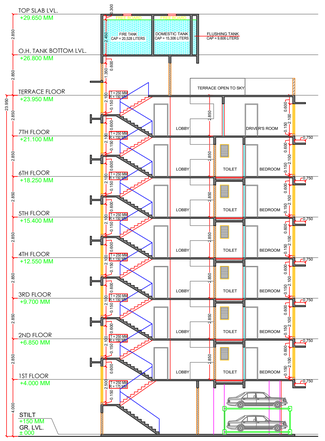

SECTION A - A

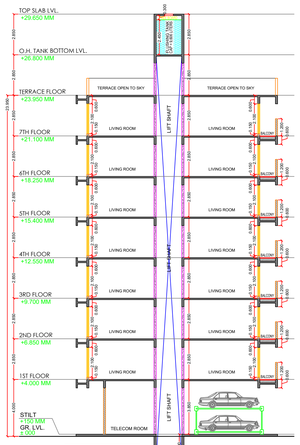

SECTION B - B

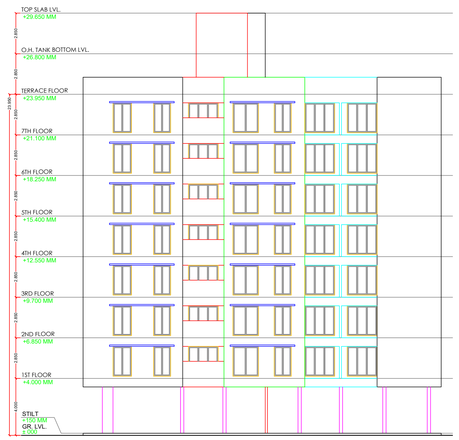

FRONT ROAD ELEVATION

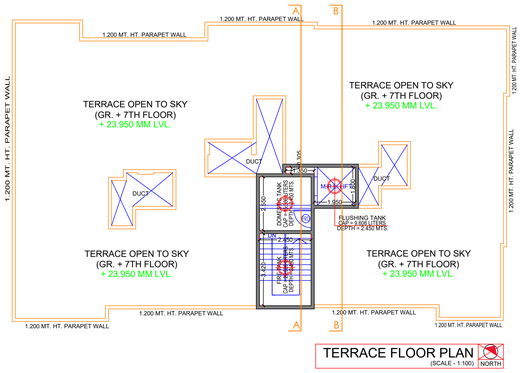

TERRACE FLOOR PLAN (SCALE - 1:100) NORTH

Harsh Tushar Shah

Digitally signed by Harsh Tushar Shah
Date: 2026.02.17 18:35:55 +05'30'

Parking Check As Per Multiplying Factor 0.800 (note: 1) 6 scooter equals to 1 car, proposed composite parking for car= 6)							
	Required			Proposed			
Building Name	Car	Scooter	Transport Vehicle/Ambulance /Mini bus	Car	Scooter	Transport Vehicle/Ambulance /Mini bus	Status
Total	20	0	0	20	3	0	OK

Existing Building / Tenanted Details												
Sr.No	Building/Tenament No.	Carpet Area Per Tenament	BUA Per Tenament	Status Of Occupant	Number Of Tenaments	Residential Non Residential	For Residential Carpet below 27, Carpet 27 to 35, Carpet Upto 50 to be added	Total	Incentive 35%/40% per Tenament Owner	Total incentive	15 Sqm BUA Parking Area Incentive	Total of 15 sqmt Addition	Total
0	1	48.772	61.000	Tenant	1:1	Residential	0.000	0.000	30.500	0.000	15.000	165.000	836.000

Telecom Room			
Building	Req. Size	Prop. Size	Status
SWASTIK CHS	3.000X3.400	3.050X3.400	OK
SWASTIK CHS	Req. Telecom Rooms=2	1	FAIL

SCHEDULE OF OPENING				
BLD NAME	NAME	LENGTH	HEIGHT	Nos.
SWASTIK CHS	V1	0.480	0.900	2
SWASTIK CHS	V	0.600	0.900	17

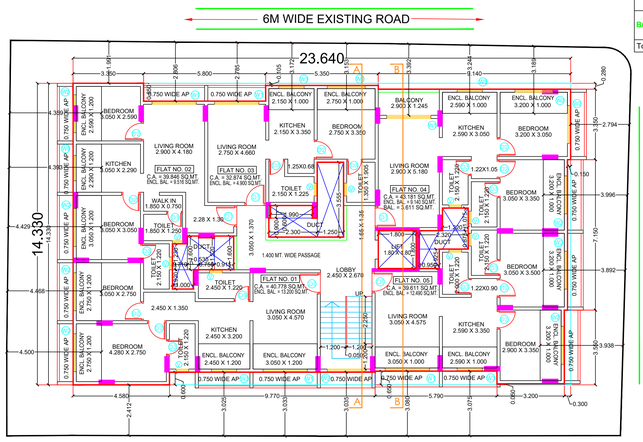

TYPICAL 1ST TO 6TH FLOOR PLAN (SCALE - 1:100) NORTH

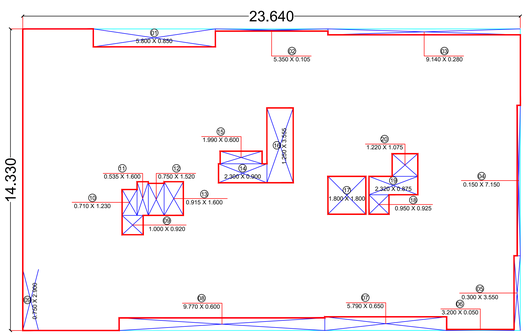

AREA CALCULATION DIAGRAM BOX FOR 1ST TO 6TH FLOOR

BUILT-UP AREA CALCULATION STATEMENT FOR 1ST TO 6TH FLOOR								
A	OVERALL DIMENSION:							
	23.640	X	14.330	X	1	=	338.761	Sq. Mts.
	TOTAL					=	338.761	Sq. Mts.
B	DEDUCTIONS:							
1	5.800	x	0.850	x	1	=	4.930	Sq. Mts.
2	5.350	x	0.105	x	1	=	0.562	Sq. Mts.
3	9.140	x	0.280	x	1	=	2.559	Sq. Mts.
4	0.150	x	7.150	x	1	=	1.073	Sq. Mts.
5	0.300	x	3.550	x	1	=	1.065	Sq. Mts.
6	3.200	x	0.050	x	1	=	0.160	Sq. Mts.
7	5.790	x	0.650	x	1	=	3.764	Sq. Mts.
8	9.770	x	0.600	x	1	=	5.862	Sq. Mts.
9	1.000	x	0.920	x	1	=	0.920	Sq. Mts.
10	0.710	x	1.230	x	1	=	0.873	Sq. Mts.
11	0.535	x	1.600	x	1	=	0.856	Sq. Mts.
12	0.750	x	1.520	x	1	=	1.140	Sq. Mts.
13	0.915	x	1.600	x	1	=	1.464	Sq. Mts.
14	2.300	x	0.900	x	1	=	2.070	Sq. Mts.
15	1.990	x	0.600	x	1	=	1.194	Sq. Mts.
16	1.250	x	3.555	x	1	=	4.444	Sq. Mts.
17	1.800	x	1.800	x	1	=	3.240	Sq. Mts.
18	0.950	x	0.925	x	1	=	0.879	Sq. Mts.
19	2.320	x	0.875	x	1	=	2.030	Sq. Mts.
20	1.220	x	1.075	x	1	=	1.311	Sq. Mts.
	TOTAL DEDUCTION					=	40.395	Sq. Mts.
NET B.U.A CONSUMED (A - B) (338.761 - 40.395)						=	298.37	Sq. Mts.
TOTAL B.U.A CONSUMED FOR 1ST TO 6TH FLOOR (298.368 X 6 FLOOR)						=	1790.196	Sq. Mts.
TOTAL NUMBER OF FLATS (05 FLATS X 06 FLOOR)						=	30	FLATS

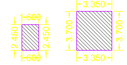

BUILT-UP AREA CALCULATION GROUND FLOOR SWASTIK CHS

BUILT-UP AREA CALCULATION FOR GROUND FLOOR			
AREA NAME	LENGTH	WIDTH	AreaSq.Mt.
BLOCK	2.450	1.600	3.920
		BLOCK AREA TOTAL =0.000Sq.M	
		TOTAL Deduction =0.000Sq.M	
		Net Builtup Area =3.920 Sq.M	

BUILT-UP AREA CALCULATION FOR GROUND FLOOR			
AREA NAME	LENGTH	WIDTH	AreaSq.Mt.
BLOCK	3.750	2.050	12.585
		BLOCK AREA TOTAL =12.585Sq.M	
		TOTAL Deduction =0.000Sq.M	
		Net Builtup Area =12.585 Sq.M	

Owner Details		
Owner Name	Postal Address	Contact Number
Rasiklal Velji Shaha	12 MANKARNIKA SOCIETY,GOPAL NAGAR LANE NO 3,Kalyan,Thane,Maharashtra-421201	9892031111
Rasiklal shaha	12 manakarnika society gopal nagar lane no 3dombivli east	9892031111

Proforma I : Area Statement	
1. Area of plot(Minimum area of a, b, c to be considered) or area of subplot with sanctioned layout No. and subplot No.	535.200
(a) As per ownership document (7/12, CTS extract)	535.200
(b) as per TILR or City Survey measurement sheet	535.200
(c) as per Demarcated drawing area	546.808
LESS	
2.Area not in possession	0.000
3. Area Proposed for development (out of 1-2)	535.200
4.Deductions for(out of 3)	
(a) Proposed D.P./ D.P. Road widening Area/Proposed DP road, Road under MMC act	0.000
(b) Any D.P. Reservation area	0.000
(c) Green Belt	0.000
(Total a+b+c)	0.000
5. Balance area of plot (3-4)	535.200
6. Amenity Space Proposed	0.000
(Required -(a) Upto 20,000 sqmt - Nil	
(b) Above 20,000 and more - - (a) + 5% of Total area	0.000
7. Net Plot Area (5-6)	535.200
8.Recreational Open Space (Not applicable if plots are from sanctioned layout)	-
(a). If area is more than (5) 4000 sqmt - 10 % of (5) is required.	0.000
Proposed	0.000
(A)10 % Subject to minimum 200 sqmt(Not applicable if plots are from sanctioned layout or each plot admeuring less than 4000sq.m regularised under gunthewari act)	0.000
Proposed	0.000
(B)Exemption to leave open space subject to availing basic F.S.I of 75 %	-
(C)Exemption to leave open space subject to payment of 10 % land value of land at (7) as per annual statement of rate.	-
8 (5) > 4000sq.m then Land admeuring 20% of (5) is to be utilised for inclusive housing	0.000
Proposed Area	0.000
Architect/ Licensed Engineer/ Supervisor name and signature	
Registration No. of Architect/ License no. of Licensed Engineer/ Supervisor: CA/2020/119810	

Certificate of Area :-
Certified that the plot under reference was surveyed by me on _____ and the dimensions of sides etc. of plot stated on plan are as measured on site and the area so worked out tallies with the area stated in document of Ownership/ T.P. Scheme Records/Land Records Department/City Survey records.

Signature
(Name of Architect/ Licensed Engineer/ Supervisor.)

Owner's Declaration :-
I/We undersigned hereby confirm that I/We would abide by plans approved by Authority / Collector. I/We would execute the structure as per approved plans. Also I/We would execute the work under supervision of proper technical person so as to ensure the quality and safety at the work site.

Owner (s) name and signature

Postal Address : 12 MANKARNIKA SOCIETY,GOPAL NAGAR LANE NO 3,Kalyan,Thane,Maharashtra-421201,12 manakarnika society gopal nagar lane no 3dombivli east

DESCRIPTION OF PROJECT :

Type of Proposal : Residential
BUILDING ON CTS. NO./SURVEY NO.-230

SITE ADDRESS :
SWASTIK CHS ON PLOT BEARING CTS NO. 230, MOUJE -DOMBIVILI

Name Of Architect : harsh tushar shah

LOGO	ADDRESS OF OFFICE
A-ONE	OFFICE 13, SHIVAJI PATH

OWNERS SIGN -	TECHNICAL PERSON SIGN
1) M/s. YOGIRAJ REALTORS,	Ar. Harsh Shah

SCALE -	DATE: Date: 06/02/26
JOB NO - KDMCC-26-09658	CHECK BY - zoom

SUBMISSION DRAWING

VENTILATION AREA STATEMENT			
Flat No. 01			
ROOM	AREA* IN SQ. MTS.	VENTILATION REQUIRED	VENTILATION PROVIDED
LIVING	19.871	1.987	4.410 (W1)
KITCHEN	5.635	0.564	2.520 (W3)
BEDROOM 01	9.842	0.984	3.780 (W2)
TOILET	2.735	0.274	0.540 (V)
BEDROOM 02	8.522	0.852	3.780 (W2)
TOILET	3.101	0.310	0.540 (V)

SCHEDULE OF DOORS & WINDOWS		
TYPE	SIZE IN MTR.	DESCRIPTION
FRD	1.200 X 2.250	T.W. PANELED DOOR
D1	1.000 X 2.250	T.W. PANELED DOOR
D2	0.900 X 2.250	T.W. FLUSH DOOR
D3	0.750 X 2.250	MARBLE FRAME DOOR
W1	2.100 X 2.100	ALUMINUM SLIDING WINDOW
W2	1.800 X 2.100	ALUMINUM SLIDING WINDOW
W3	1.200 X 2.100	ALUMINUM SLIDING WINDOW
V	0.600 X 0.900	ALUMINUM FRAME LOUVERED WINDOW

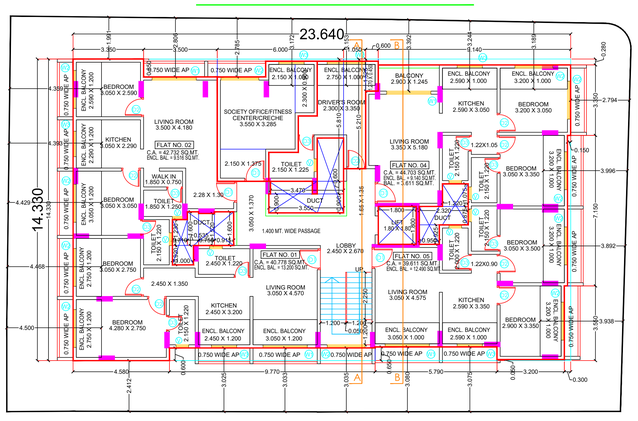

7TH FLOOR PLAN (SCALE - 1:100) NORTH

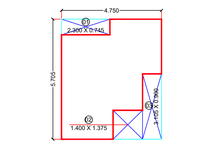

AREA CALCULATION DIAGRAM BOX FOR 7TH FLOOR SOCIETY OFFICE/FITNESS CENTER/CRECHE

BUILT-UP AREA CALCULATION STATEMENT FOR 7TH FLOOR (SOCIETY OFFICE/FITNESS CENTER/CRECHE)								
A	OVERALL DIMENSION:							
	4.750	X	5.705	X	1	=	27.099	Sq. Mts.
	TOTAL					=	27.099	Sq. Mts.
B	DEDUCTIONS:							
1	2.300	x	0.745	x	1	=	1.714	Sq. Mts.
2	1.400	x	1.375	x	1	=	1.925	Sq. Mts.
3	3.105	x	0.900	x	1	=	2.795	Sq. Mts.
	TOTAL DEDUCTION					=	6.433	Sq. Mts.
NET B.U.A CONSUMED (A - B) (27.099 - 6.433)						=	20.67	Sq. Mts.
TOTAL B.U.A CONSUMED FOR 7TH FLOOR (SOCIETY OFFICE/FITNESS CENTER/CRECHE) (20.666 X 1 FLOOR)						=	20.666	Sq. Mts.

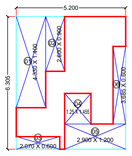

AREA CALCULATION DIAGRAM BOX FOR 7TH FLOOR (DRIVER'S ROOM)

BUILT-UP AREA CALCULATION STATEMENT FOR 7TH FLOOR (DRIVER'S ROOM)								
A	OVERALL DIMENSION:							
	5.200	X	6.305	X	1	=	32.786	Sq. Mts.
	TOTAL					=	32.786	Sq. Mts.
B	DEDUCTIONS:							
1	4.330	x	1.400	x	1	=	6.062	Sq. Mts.
2	2.600	x	0.900	x	1	=	2.340	Sq. Mts.
3	2.070	x	0.600	x	1	=	1.242	Sq. Mts.
4	1.250	x	1.455	x	1	=	1.819	Sq. Mts.
5	2.900	x	1.200	x	1	=	3.480	Sq. Mts.
6	3.685	x	0.600	x	1	=	2.211	Sq. Mts.
	TOTAL DEDUCTION					=	17.154	Sq. Mts.
NET B.U.A CONSUMED (A - B) (32.786 - 17.154)						=	15.63	Sq. Mts.
TOTAL B.U.A CONSUMED FOR 7TH FLOOR (DRIVER'S ROOM) (15.632 X 1 FLOOR)						=	15.632	Sq. Mts.

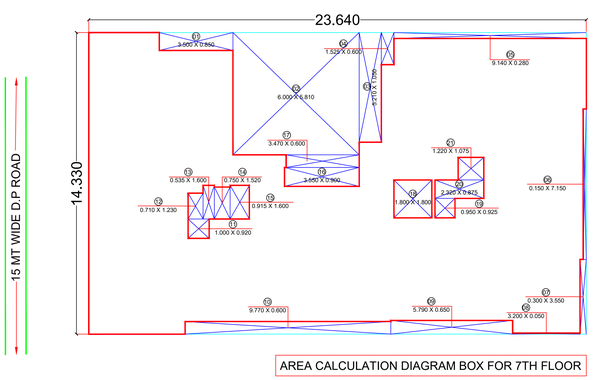

AREA CALCULATION DIAGRAM BOX FOR 7TH FLOOR

BUILT-UP AREA CALCULATION STATEMENT FOR 7TH FLOOR								
A	OVERALL DIMENSION:							
	23.640	X	14.330	X	1	=	338.761	Sq. Mts.
	TOTAL					=	338.761	Sq. Mts.
B	DEDUCTIONS:							
1	3.500	x	0.850	x	1	=	2.975	Sq. Mts.
2	6.000	x	5.810	x	1	=	34.860	Sq. Mts.
3	5.210	x	1.050	x	1	=	5.471	Sq. Mts.
4	1.525	x	0.600	x	1	=	0.915	Sq. Mts.
5	9.140	x	0.280	x	1	=	2.559	Sq. Mts.
6	0.150	x	7.150	x	1	=	1.073	Sq. Mts.
7	0.300	x	3.550	x	1	=	1.065	Sq. Mts.
8	3.200	x	0.050	x	1	=	0.160	Sq. Mts.
9	5.790	x	0.650	x	1	=	3.764	Sq. Mts.
10	9.770	x	0.600	x	1	=	5.862	Sq. Mts.
11	1.000	x	0.920	x	1	=	0.920	Sq. Mts.
12	0.710	x	1.230	x	1	=	0.873	Sq. Mts.
13	0.535	x	1.600	x	1	=	0.856	Sq. Mts.
14	0.750	x	1.520	x	1	=	1.140	Sq. Mts.
15	0.915	x	1.600	x	1	=	1.464	Sq. Mts.
16	3.550	x	0.900	x	1	=	3.195	Sq. Mts.
17	3.470	x	0.600	x	1	=	2.082	Sq. Mts.
18	1.800	x	1.800	x	1	=	3.240	Sq. Mts.
19	0.950	x	0.925	x	1	=	0.879	Sq. Mts.
20	2.320	x	0.875	x	1	=	2.030	Sq. Mts.
21	1.220	x	1.075	x	1	=	1.311	Sq. Mts.
	TOTAL DEDUCTION					=	76.693	Sq. Mts.
NET B.U.A CONSUMED (A - B) (338.761 - 76.693)						=	262.07	Sq. Mts.
TOTAL B.U.A CONSUMED FOR 7TH FLOOR (246.676 X 1 FLOOR)						=	262.068	Sq. Mts.
TOTAL NUMBER OF FLATS (04 FLATS X 01 FLOOR)						=	4	FLATS



BUILT-UP AREA CALCULATION 7TH FLOOR SWASTIK CHS

BUILT-UP AREA CALCULATION FOR 7TH FLOOR			
AREA NAME	LENGTH	WIDTH	AreaSq.Mt.
BLOCK	15.640	14.330	224.167
		BLOCK AREA TOTAL =224.167Sq.M	
Litterbin	-	-	0.240
Duct4	-	-	3.255
Duct5	-	-	7.758
Duct6	-	-	4.235
		TOTAL Deduction =15.488Sq.M	
		Net Builtup Area =208.679 Sq.M	

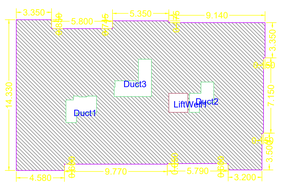

BUILT-UP AREA CALCULATION TYPICAL 1ST TO 6TH FLOOR SWASTIK CHS

BUILT-UP AREA CALCULATION FOR TYPICAL 1ST TO 6TH FLOOR SWASTIK CHS			
AREA NAME	LENGTH	WIDTH	AreaSq.Mt.
BLOCK	15.640	14.330	224.167
		BLOCK AREA TOTAL =1344.1016Sq.M	
Litterbin	-	-	0.240
Duct1	-	-	7.758
Duct2	-	-	4.235
Duct3	-	-	8.255
		TOTAL Deduction =20.488Sq.M	
		Net Builtup Area =1323.613 Sq.M	