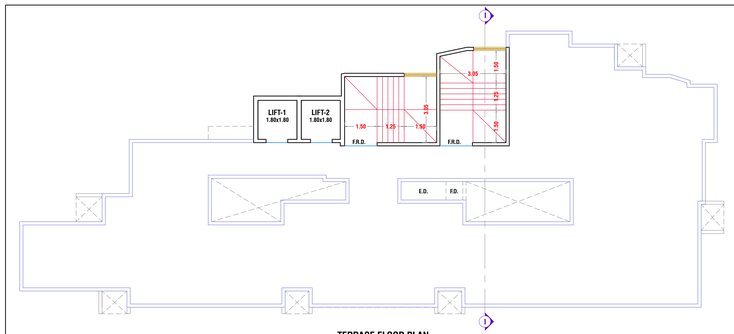


## TERRACE FLOOR PLAN
SCALE - 1:100

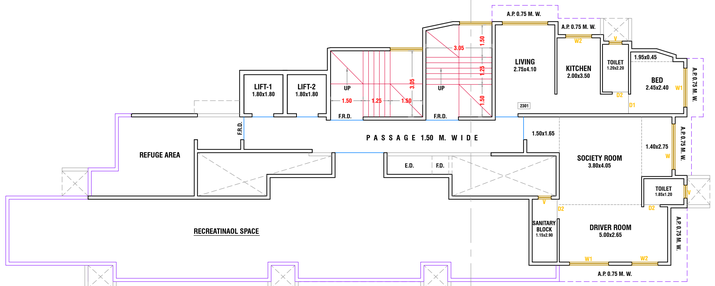


## TWENTY THIRD FLOOR PLAN
FOR REFUGE & RECREATIONAL
SCALE - 1:100

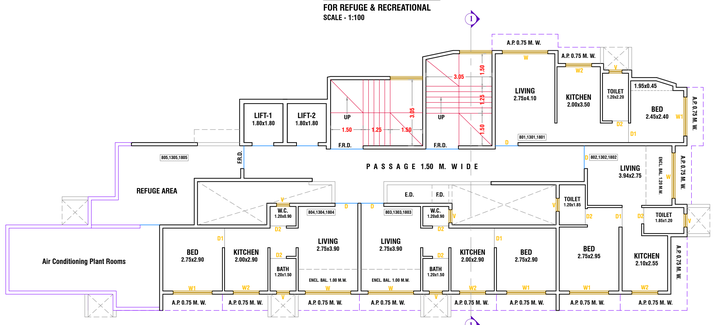


## REFUGE FLOOR PLAN
FOR 8th,13th & 18th
SCALE - 1:100

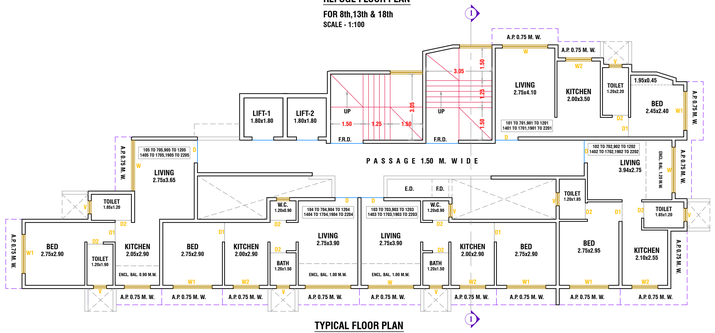


## TYPICAL FLOOR PLAN
FOR 1st TO 7th,9th TO 12th,14th TO 17th &19th TO 22nd
SCALE - 1:100

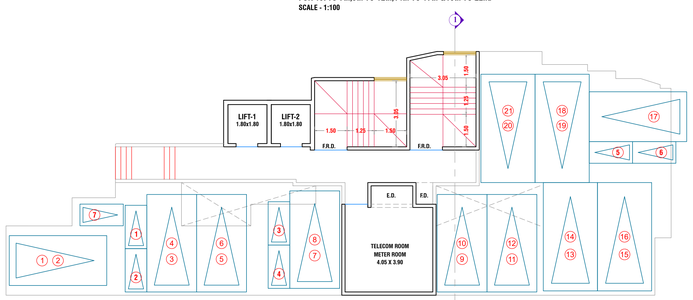


## STILT FLOOR PLAN
SCALE - 1:100

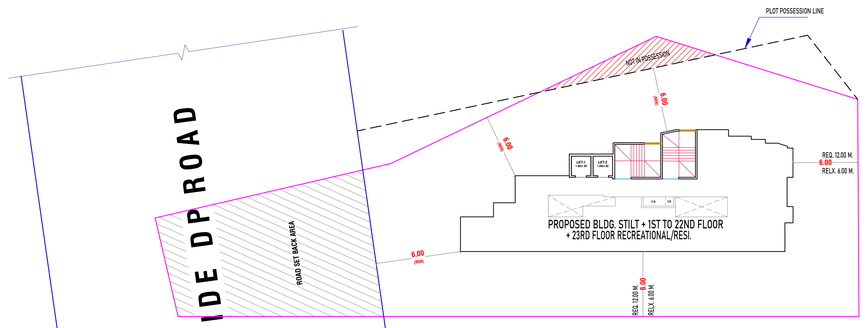


# BLOCK PLAN
SCALE - 1:200

### DOOR WINDOW SHCEDULE

| TYPE | SIZE IN MTS | DESCRIPTION OF PARTICULERS |
|---|---|---|
| D | 1.05 x 2.10 | T.W.FRAMED FULLY PANELLED SINGLE LEAF |
| D1 | 0.90 x 2.10 | T.W.FRAMED FULLY FLUSHED SINGLE LEAF |
| D2 | 0.75 x 2.00 | T.W. FRAMED PARTLY GLAZED SINTEX DOOR. |
| S.D. | 2.10 x 2.10 | ALLUMINIUM FRAME FULLY GLAZED SLIDING WINDOW |
| S.D.1 | 1.80 x 2.10 | ALLUMINIUM FRAME FULLY GLAZED SLIDING WINDOW |
| S.D.2 | 1.20 x 2.10 | ALLUMINIUM FRAME FULLY GLAZED SLIDING WINDOW |
| V | 0.60 x 0.90 | ALLUMINIUM FRAME GLASS LOUVERS |

### P-LINE AREA CALCULATION

| TYPICAL FLOOR (1ST TO 7TH,9TH TO 12TH,14TH TO 17TH & 19TH TO 22ND ) | | | | | | | | | |
|---|---|---|---|---|---|---|---|---|---|
| A | 30.70 | X | 11.25 | X | 1 NO | = | 345.38 | SQ.MT. | |
| | | | | | TOTAL ADDITION | = | 345.38 | SQ.MT. | X |

DEDUCTIONS

| | | | | | | | | | |
|---|---|---|---|---|---|---|---|---|---|
| 1 | 3.05 | X | 1.30 | X | 1 NO | = | 3.97 | SQ.MT. | |
| 2 | 5.05 | X | 6.75 | X | 1 NO | = | 34.09 | SQ.MT. | |
| 3 | 4.99 | X | 4.25 | X | 1 NO | = | 21.21 | SQ.MT. | |
| 4 | 4.05 | X | 2.25 | X | 1 NO | = | 9.11 | SQ.MT. | |
| 5 | 4.40 | X | 1.20 | X | 1 NO | = | 5.28 | SQ.MT. | |
| 6 | 1/2 X | 1.43 | X | 0.29 | X 1 NO | = | 0.21 | SQ.MT. | |
| 7 | 2.10 | X | 0.60 | X | 1 NO | = | 1.26 | SQ.MT. | |
| 8 | 1.30 | X | 0.90 | X | 1 NO | = | 1.17 | SQ.MT. | |
| 9 | 2.05 | X | 1.25 | X | 1 NO | = | 2.56 | SQ.MT. | |
| 10 | 1/2 X | 0.95 | X | 0.27 | X 1 NO | = | 0.13 | SQ.MT. | |
| 11 | 0.51 | X | 1.70 | X | 1 NO | = | 0.87 | SQ.MT. | |
| 12 | 0.55 | X | 2.70 | X | 1 NO | = | 1.49 | SQ.MT. | |
| 13 | 0.01 | X | 2.70 | X | 1 NO | = | 0.03 | SQ.MT. | |
| 14 | 0.75 | X | 2.65 | X | 1 NO | = | 1.99 | SQ.MT. | |
| 15 | 4.80 | X | 1.90 | X | 1 NO | = | 9.12 | SQ.MT. | |
| 16 | 3.05 | X | 0.90 | X | 1 NO | = | 2.75 | SQ.MT. | |
| 17 | 1.06 | X | 0.90 | X | 1 NO | = | 0.95 | SQ.MT. | |
| 18 | 1.99 | X | 1.05 | X | 1 NO | = | 2.09 | SQ.MT. | |
| 19 | 3.20 | X | 2.05 | X | 1 NO | = | 6.56 | SQ.MT. | |
| 20 | 1.80 | X | 1.80 | X | 2 NOS | = | 6.48 | SQ.MT. | |
| | | | | | TOTAL DEDUCTION | = | 111.32 | SQ.MT. | Y1 |
| TOTAL BUILT UP AREA [X - Y1] | | | | | | = | 234.06 | SQ.MT. | X1 |

### P-LINE AREA CALCULATION

| REFUGE FLOOR ( 8TH,13TH & 18TH ) | | | | | | | | | |
|---|---|---|---|---|---|---|---|---|---|
| B | 24.35 | X | 11.25 | X | 1 NO | = | 273.94 | SQ.MT. | |
| | | | | | TOTAL ADDITION | = | 273.94 | SQ.MT. | X |

DEDUCTIONS

| | | | | | | | | | |
|---|---|---|---|---|---|---|---|---|---|
| 1 | 2.06 | X | 0.85 | X | 1 NO | = | 1.75 | SQ.MT. | |
| 2 | 0.94 | X | 1.00 | X | 1 NO | = | 0.94 | SQ.MT. | |
| 3 | 4.95 | X | 2.00 | X | 1 NO | = | 9.90 | SQ.MT. | |
| 4 | 3.69 | X | 6.05 | X | 1 NO | = | 22.32 | SQ.MT. | |
| 5 | 4.05 | X | 2.25 | X | 1 NO | = | 9.11 | SQ.MT. | |
| 6 | 4.40 | X | 1.20 | X | 1 NO | = | 5.28 | SQ.MT. | |
| 7 | 1/2 X | 1.43 | X | 0.29 | X 1 NO | = | 0.21 | SQ.MT. | |
| 8 | 2.10 | X | 0.60 | X | 1 NO | = | 1.26 | SQ.MT. | |
| 9 | 1.30 | X | 0.90 | X | 1 NO | = | 1.17 | SQ.MT. | |
| 10 | 1.15 | X | 1.25 | X | 1 NO | = | 1.44 | SQ.MT. | |
| 11 | 0.90 | X | 1.25 | X | 1 NO | = | 1.13 | SQ.MT. | |
| 12 | 0.51 | X | 1.70 | X | 1 NO | = | 0.87 | SQ.MT. | |
| 13 | 1/2 X | 0.95 | X | 0.27 | X 1 NO | = | 0.13 | SQ.MT. | |
| 14 | 0.01 | X | 2.70 | X | 1 NO | = | 0.03 | SQ.MT. | |
| 15 | 0.55 | X | 2.70 | X | 1 NO | = | 1.49 | SQ.MT. | |
| 16 | 0.75 | X | 2.65 | X | 1 NO | = | 1.99 | SQ.MT. | |
| 17 | 4.80 | X | 1.90 | X | 1 NO | = | 9.12 | SQ.MT. | |
| 18 | 3.05 | X | 0.90 | X | 1 NO | = | 2.75 | SQ.MT. | |
| 19 | 1.80 | X | 1.80 | X | 2 NOS | = | 6.48 | SQ.MT. | |
| | | | | | TOTAL DEDUCTION | = | 77.37 | SQ.MT. | Y1 |
| TOTAL BUILT UP AREA [X - Y1] | | | | | | = | 196.57 | SQ.MT. | X1 |

### P-LINE AREA CALCULATION

| TWENTY THIRD FLOOR | | | | | | | | | |
|---|---|---|---|---|---|---|---|---|---|
| C | 20.66 | X | 11.25 | X | 1 NO | = | 232.43 | SQ.MT. | |
| | | | | | TOTAL ADDITION | = | 232.43 | SQ.MT. | X |

DEDUCTIONS

| | | | | | | | | | |
|---|---|---|---|---|---|---|---|---|---|
| 1 | 4.05 | X | 2.25 | X | 1 NO | = | 9.11 | SQ.MT. | |
| 2 | 4.40 | X | 1.20 | X | 1 NO | = | 5.28 | SQ.MT. | |
| 3 | 1/2 X | 1.43 | X | 0.29 | X 1 NO | = | 0.21 | SQ.MT. | |
| 4 | 2.10 | X | 0.60 | X | 1 NO | = | 1.26 | SQ.MT. | |
| 5 | 1.30 | X | 0.90 | X | 1 NO | = | 1.17 | SQ.MT. | |
| 6 | 1.15 | X | 1.25 | X | 1 NO | = | 1.44 | SQ.MT. | |
| 7 | 0.90 | X | 1.25 | X | 1 NO | = | 1.13 | SQ.MT. | |
| 8 | 0.51 | X | 1.70 | X | 1 NO | = | 0.87 | SQ.MT. | |
| 9 | 1/2 X | 0.95 | X | 0.27 | X 1 NO | = | 0.13 | SQ.MT. | |
| 10 | 0.55 | X | 2.70 | X | 1 NO | = | 1.49 | SQ.MT. | |
| 11 | 0.75 | X | 2.65 | X | 1 NO | = | 1.99 | SQ.MT. | |
| 12 | 3.00 | X | 1.85 | X | 1 NO | = | 5.55 | SQ.MT. | |
| 12a | 3.70 | X | 3.20 | X | 1 NO | = | 11.84 | SQ.MT. | |
| 13 | 1.95 | X | 1.90 | X | 1 NO | = | 3.71 | SQ.MT. | |
| 13a | 5.40 | X | 5.10 | X | 1 NO | = | 27.54 | SQ.MT. | |
| 13b | 4.26 | X | 5.25 | X | 1 NO | = | 22.37 | SQ.MT. | |
| 14 | 1.80 | X | 1.80 | X | 2 NOS | = | 6.48 | SQ.MT. | |
| | | | | | TOTAL DEDUCTION | = | 101.57 | SQ.MT. | Y1 |
| TOTAL BUILT UP AREA [X - Y1] | | | | | | = | 130.86 | SQ.MT. | X1 |

### P-LINE AREA CALCULATION

| TWENTY THIRD FLOOR | | | | | | | | | |
|---|---|---|---|---|---|---|---|---|---|
| D | 4.35 | X | 4.20 | X | 1 NO | = | 18.27 | SQ.MT. | |
| | | | | | TOTAL ADDITION | = | 18.27 | SQ.MT. | X |

P-LINE AREA DIAGRAM
FOR STILT FLOOR (TELECOM ROOM)
SCALE - 1:200

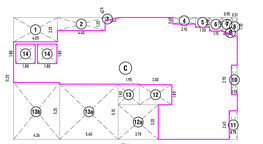

P-LINE AREA DIAGRAM
FOR 23RD FLOOR
SCALE - 1:200

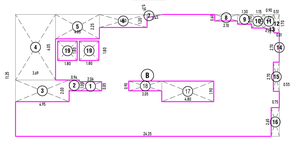

P-LINE AREA DIAGRAM
FOR 8TH,13TH & 18TH FLOOR
SCALE - 1:200

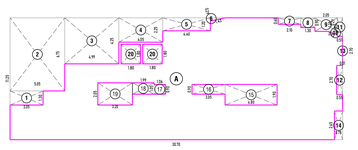

P-LINE AREA DIAGRAM
FOR 1ST TO 7TH,9TH TO 12TH,14TH TO 17TH & 19TH TO 22ND FLOOR
SCALE - 1:200

### FORM OF STATEMENT 2
SR.NO.9 (a)
PROPOSED BUILDING

| BUILDING NO. | FLOOR NO. | TOTAL BUILT UP AREA OF FLOOR AS PER OUTER CONSTRUCTION LINE |
|---|---|---|
| -- | STILT + 1ST TO 23RD FLOOR | 5179.55 SQ.MT. |

SITE UNDER REFRENCE

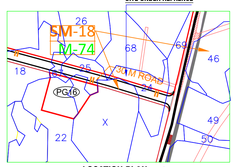


LOCATION PLAN

### P-LINE AREA STATEMENT

| FLOOR | P-LINE AREA SQ.MT. |
|---|---|
| STILT FLOOR | 18.27 |
| FIRST FLOOR | 234.06 |
| SECOND FLOOR | 234.06 |
| THIRD FLOOR | 234.06 |
| FOURTH FLOOR | 234.06 |
| FIVETH FLOOR | 234.06 |
| SIXTH FLOOR | 234.06 |
| SEVENTH FLOOR | 234.06 |
| EIGHT FLOOR | 196.57 |
| NINETH FLOOR | 234.06 |
| TENTH FLOOR | 234.06 |
| ELEVNTH FLOOR | 234.06 |
| TWELFTH FLOOR | 234.06 |
| THIRTEENTH FLOOR | 196.57 |
| FOURTEENTH FLOOR | 234.06 |
| FIFTEENTH FLOOR | 234.06 |
| SIXTEENTH FLOOR | 234.06 |
| SEVENEENTH FLOOR | 234.06 |
| EIGHTEENTH FLOOR | 196.57 |
| NINETEENTH FLOOR | 234.06 |
| TWENTEETH FLOOR | 234.06 |
| TWENTY-ONE FLOOR | 234.06 |
| TWENTY-TWO FLOOR | 234.06 |
| TWENTY-THREE FLOOR | 130.86 |
| TOTAL AREA | 5185.98 |

### FORM OF STATEMENT - 3
SR.NO.9 (g)

AREA DETAIL OF APARTMENT

| BUILDING NO. | FLOOR NO. | APARTMENT NO. | CARPET AREA OF APARTMENTS | AREA OF BALCONY ATTACHED TO APARTMENT | AREA OF DOUBLE HEIGHT TERRACES ATTACHED TO FLAT |
|---|---|---|---|---|---|
| -- | 1ST TO 7TH 9TH TO 12TH 14TH TO 17TH 19TH TO 22ND | 101 TO 201,901 TO 1201 1401 TO 1701,1901 TO 2201 | 29.90 SQ.MT. | NIL | NIL |
| | | 102 TO 202,902 TO 1202 1402 TO 1702,1902 TO 2202 | 29.49 SQ.MT. | 3.30 SQ.MT. | NIL |
| | | 103 TO 203,903 TO 1203 1403 TO 1703,1903 TO 2203 | 27.56 SQ.MT. | 2.75 SQ.MT. | NIL |
| | | 104 TO 204,904 TO 1204 1404 TO 1704,1904 TO 2204 | 27.56 SQ.MT. | 2.75 SQ.MT. | NIL |
| | | 105 TO 205,905 TO 1205 1405 TO 1705,1905 TO 2205 | 29.10 SQ.MT. | 1.85 SQ.MT. | NIL |
| | 8TH,13TH & 18TH | 801,1301,1801 | 29.90 SQ.MT. | NIL | NIL |
| | | 802,1302,1802 | 29.49 SQ.MT. | 3.30 SQ.MT. | NIL |
| | | 803,1303,1803 | 27.56 SQ.MT. | 2.75 SQ.MT. | NIL |
| | | 804,1304,1804 | 27.56 SQ.MT. | 2.75 SQ.MT. | NIL |
| | | 805,1305,1805 | REFUGE FLAT | | NIL |
| | 23RD | 2301 | 29.90 SQ.MT. | NIL | NIL |

## PARKING AREA STATEMENT

| | | Nos. OF FLATS | Nos. OF CAR | Nos. OF SCOOTER |
|---|---|---|---|---|
| 1 ) | FOR EVERY TENEMENT HAVING CARPET AREA OF 150 SQ.M. AND ABOVE (2 CAR, 1 SC) | NIL | NIL | NIL |
| 2 ) | FOR EVERY TENEMENT HAVING CARPET AREA EQUAL TO OR ABOVE 80 SQ.M. BUT LESS THAN 150 SQ.M(1 CAR, 1 SC) | NIL | NIL | NIL |
| 3 ) | FOR EVERY TWO TENEMENT WITH EACH TENEMENT HAVING CARPET AREA EQUAL TO OR ABOVE 40 SQ.M. BUT LESS THAN 80 SQ.M. (1 CAR, 2 SC) | NIL | NIL | NIL |
| 4 ) | FOR EVERY TWO TENEMENT WITH EACH TENEMENT HAVING CARPET AREA LESS THAN 40 SQ.M. BUT MORE THAN 30 SQ.M. (1 CAR, 2 SC) | NIL | NIL | NIL |
| 5 ) | FOR EVERY TWO TENEMENTS WITH EACH TENEMENT HAVING CARPET AREA LESS THAN 30 SQ.M. (0 CAR, 2 SC) | 108 NOS | NIL | 108 NOS |
| 7 ) | ADDITION 5% VISITOR PARKING | | NIL | 5.40 NOS |
| 8 ) | TOTAL REQUIRED PARKING | | NIL | 113.40 NOS |
| 9 ) | TOTAL REQUIRED PARKING CAR & SCOOTER ( 80% of 8 ) AS PER UDCPR REGULATION NO. 8.2.2 TABLE NO.8C | | NIL | --- |
| 10) | TOTAL PROPOSED PARKING | | 21 NOS | 7 NOS |

(SIX SCOOTER PARKING MAY BE ALLOWED TO BE CONVERTED INTO 1 CAR PARKING.)
TOTAL REQUIRED SCOOTER TO CONVERT IN CAR PARKING = 18 NOS CAR X 6 = 108 NOS SCOOTER
(ACC. TO PAGE NO. 139 OF U.D.P.C.R, CLAUSE NO. 8.1.1 SERIAL NO. v)

TOTAL REQUIRED SCOOTER PARKING - 113 NOS.
TOTAL PROPOSED SCOOTER PARKING COMPOSITE = 18 NOS.

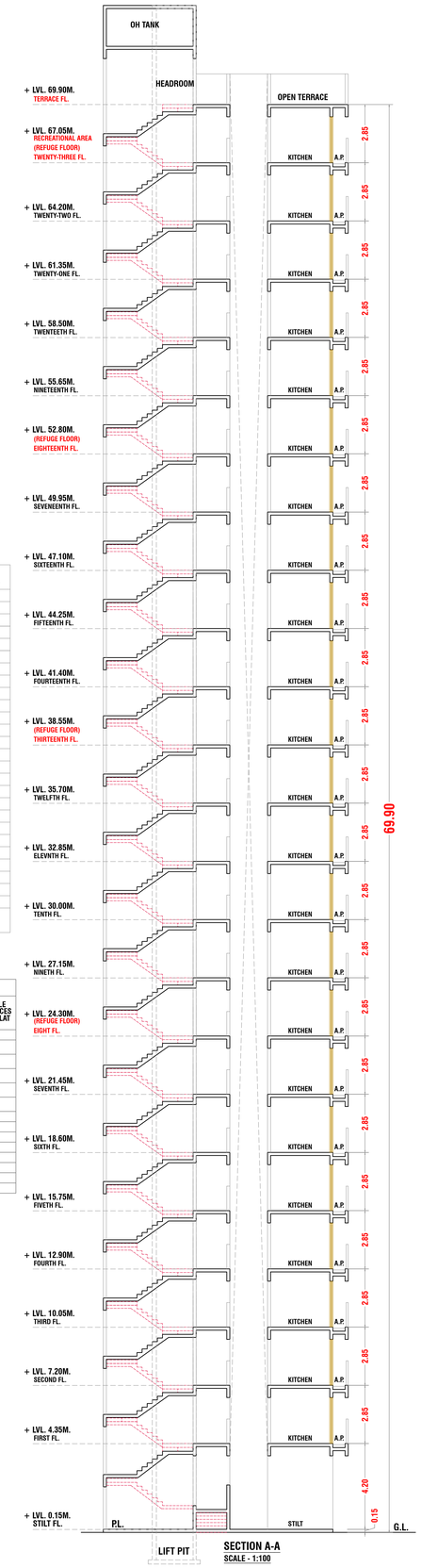


SECTION A-A
SCALE - 1:100

PROPOSED BUILDING ON LAND BEARING S NO.68/11/2 , AT MOUJE - NANDIVALI TARFE PANCHANAND TAL.KALYAN DIST. THANE

SHEET NO 1

STAMP OF APPROVAL

### AREA STATEMENT

| | | | SQ.MT. |
|---|---|---|---|
| 1. | Area of plot | | |
| | (Minimum area of a, b, c to be considered) | | |
| | (a) As per ownership document (7/12, CTS extract) | | 1200.00 |
| | (b) as per measurement sheet | | - - |
| | (c) as per site | 1200.00 - 32.00 | 1168.00 |
| 2. | Deductions for | | - - |
| | (a) Proposed D.P./ D.P. Road widening Area/Service Road | ( 30.00 M.W. ) | 236.50 |
| | (b) Any D.P. Reservation area | | - - |
| | (total a + b) | | 236.50 |
| 3. | Balance area of plot (1-2) | | 931.50 |
| 4. | Amenity Space (if applicable) | | - - |
| | (b) Adjustment of 2(b), if any - | | - - |
| | (c) Balance Proposed - | | - - |
| 5. | Net Plot Area (3-4 (c)) | | 931.50 |
| 6. | Recreational Open space (if applicable) | | - - |
| | a) (a) Required - | | - - |
| | b) (b) Proposed - | | - - |
| 7. | Internal Road area | | - - |
| 8. | Plotable area (if applicable) | | - - |
| 9. | Built up area with reference to Basic F.S.I. as per front road width (Sr. No. 5xbasic FSI) | | 1024.65 |
| 10. | Addition of FSI on payment of premium | | |
| | (a)Maximum permissible premium FSI - based on road width / TOD Zone. | (50% of 1c) | 584.00 |
| | (b) Proposed FSI on payment of premium. | | 584.00 |
| 11. | In-situ FSI / TDR loading | | - - |
| | (a)In-situ area against D.P road [2.0 x Sc. No. 2 (a)],if any | 2 x 236.50 | 473.00 |
| | (b)In-situ area against Amenity Space if handed over | | - - |
| | [2.00 or1.85 x Sc. No. 4 (b)and /or(c)], | | - - |
| | (c)TDR area | ( 1.40% OF 1c )-11a | 1162.20 |
| | (d) Total in-situ / TDR loading proposed (11 (a) + (b) + (c)) | | 1635.20 |
| 12. | Additional FSI area under Chapter No. 7 | | - - |
| 13. | Total entitlement of FSI in the proposal | | - - |
| | (a) [9 + 10(b) + 11(d)] or 12 whichever is applicable. | | 3243.85 |
| | (b) Ancilliary Area FSI upto 60% or 80%with payment of charges. | | 1946.31 |
| | (c) Total entitlement (a + b) | | 5190.16 |
| 14. | Maximum utilization limit of F.S.I. (building potential) Permissible as per Road width ((as per Regulation No. 6.1 or 6.2 or 6.3 or 6.4 as applicable) x 1.6 or 1.8) | | -- |
| 15. | Total Built-up Area in proposal (excluding area at Sr. No. 17 b) | | -- |
| (a) | Existing Built-up Area | | -- |
| (b) | Proposed Built-up Area (as per 'P-Line') | | 5185.98 |
| (c) | Total (a + b) | | 5185.98 |
| 16. | F.S.I. Consumed (15/13) (should not be more than serial No. 14 above) | | -- |
| 17. | Area for Inclusive Housing, if any | | -- |
| (a) | Required (20% of Sr. No. 5) | | -- |
| (b) | Proposed | | -- |

### CERTIFICATE OF AREA

CERTIFIED THAT I HAVE SURVEYED THE PLOT UNDER REFERENCE ON 10.06.2025 AND THAT THE DIMENSIONS OF SIDES ETC. OF THE PLOT STATED ON THE PLAN ARE AS MEASURED ON SITE AND THE AREA DO WORKED OUT IS 1168.00 SQMTS AND TALLIES WITH THE AREA STATED IN DOCUMENT OF OWNER SHIP , TOWN PLANNING SCHEME RECORDS.

SIGNATURE OF ARCHITECT

### OWNER'S DECLARATION

I/WE UNDERSIGNED HERBSY CONFIRM THAT I/WE WOULD ABIDE BY PLANS APPROVED BY AUTHORITY / COLLECTOR. I/WE WOULD EXECUTE THE STRUCTURE AS PER APPROVED PLANS. ALSO I/WE WOULD EXECUTE THE WORK UNDER SUPERVISION OF PROPER TECHNICAL PERSON SO AS TO ENSURE THE QUALITY AND SAFETY AT THE WORK SITE. OWNER (S) NAME AND SIGNATURE

P.O.A .HOLDER 'S NAME & SIGNATURE

M/S SHIVANSH SKYLINE THROUGH SHRI RAMESH MANGALDAS BHANUSHALI.

i-VISION DESIGN STUDIO LLP
ARCHITECT & INTERIOR DESIGNER

SNEHAL JAYPRAKASH WADYEKAR
( ARCHITECT )

| JOB NO. | DRAWING NO. | SCALE | DRAWN BY | CHECKED BY | REGISTRATION NO. OF ARCHITECT |
|---|---|---|---|---|---|
| SB_01 | NOC_01 | 1:100 | PPAVIN | H.R. | C.A./2018/98909 |