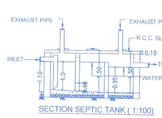

SECTION SEPTIC TANK (1:100)

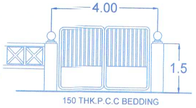

ENTRANCE GATE
(1 :100)

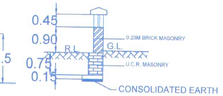

SECTION COMPOUND WALL
(1 : 100)

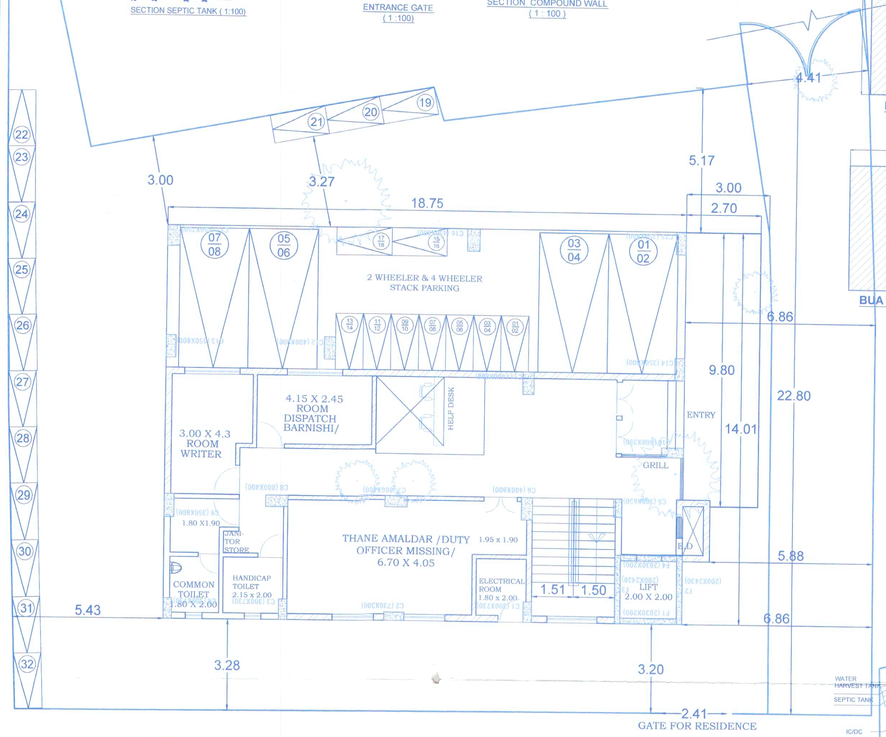

SITE PLAN SHOWING GROUND FLOOR (1: 100)

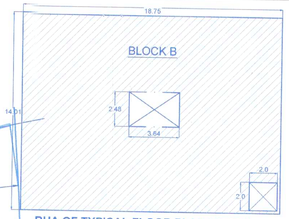

BUA OF TYPICAL FLOOR PLAN (1 :200)



BUA OF GROUND FLOOR PLAN (1 : 200)

BUILDING - PROPOSED POLICE STATION AT , KALYAN

B.U.A. OF GROUND FLOOR

S.no	Description	Length		Width			NO			Area in m²	REMARK
A	BLOCK A	18.750	X	8.900	X	1	1	=		166.875	
	BLOCK A (TOTAL SLAB)									166.8750	
B	Deduction										
	1	2.000	X	2.000	X	1	1	=		4.000	
	TOTAL DEDUCTION									4.0000	
	TOTAL BUA OF GROUND FLOOR									162.8750	

BUILDING - PROPOSED POLICE STATION AT , KALYAN

B.U.A. OF TYPICAL FLOOR

S.no	Description	Length		Width			NO			Area in sqm	REMARK
A	BLOCK B	18.750	X	14.000	X	1	1	=		262.500	
	BLOCK B (TOTAL SLAB)									262.5000	
B	Deduction										
	1	2.000	X	2.000	X	1	1	=		4.000	
	2	3.640	X	2.480	X	1	1	=		9.027	
	TOTAL DEDUCTION									13.0272	
	TOTAL BUA OF TYPICAL FLOOR									249.4728	
	TOTAL BUA OF 3 FLOORS									748.4184	

BUILDING - PROPOSED POLICE STATION AT , KALYAN

	TOTAL B.U.A. (G+3)	
	TOTAL BUA OF GROUND FLOOR	162.8750
	TOTAL BUA OF 3 FLOORS	748.4184
	GRAND TOTAL OF BUA	911.2934

PARKING STATEMENT

A.	PARKING REQUIRED BY REGULATION		
	CAR	08	
	SCOOTER / MOTOR CYCLE	32	
	CYCLE	--	
	OUTSIDE	--	
B	BY PROPOSED		
	CAR	08	
	SCOOTER / MOTOR CYCLE	32	
	CYCLE	--	
	OUTSIDE	--	

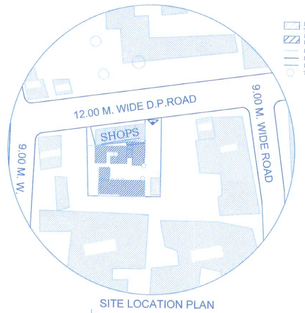

SITE LOCATION PLAN

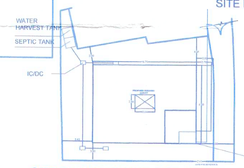

SITE PLAN SHOWING SITE OFFSET (1: 500)

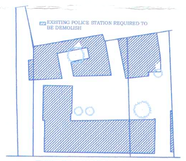

EXISTING LAYOUT (1:500)

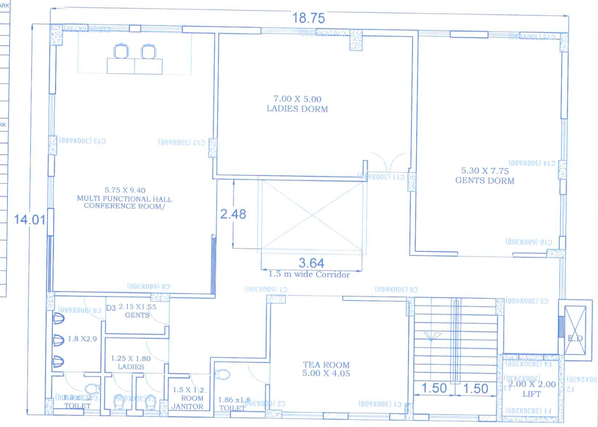

3RD FLOOR PLAN (1: 100)

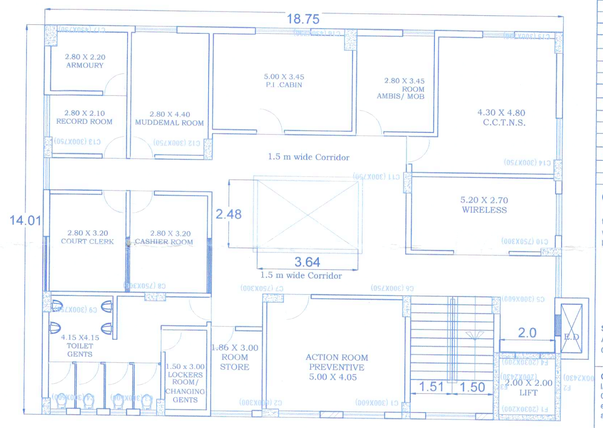

2ND FLOOR PLAN (1:100)

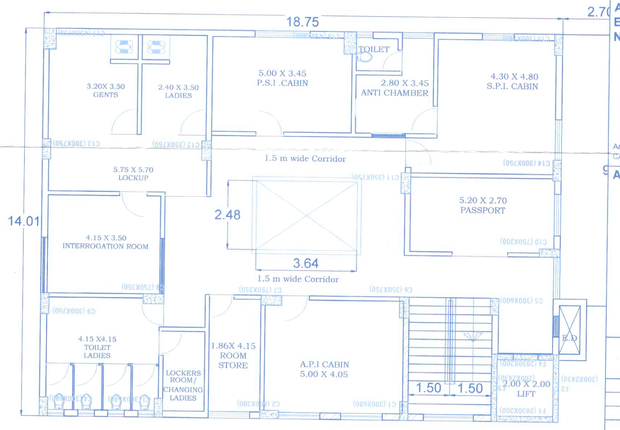

1ST FLOOR PLAN (1:100)

FRONT ELEVATION (1:100)

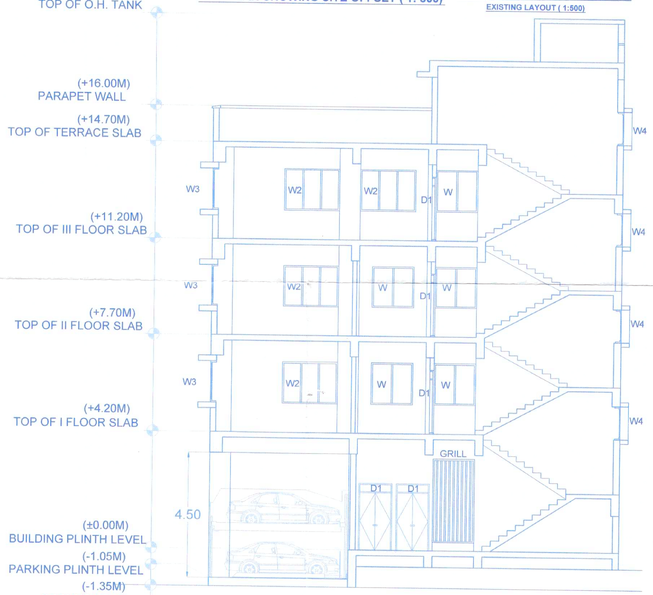

SECTION A- A' (1:100)

BAZARPETH POLICE STATION, KALYAN

Address: Survey No./CTS No./ Gat No. 1241 A, B, C.

SHEET: 01/01

PROFORMA : AREA STATEMENT

1.	Area of plot :	SQ. MT.
	(a) As per ownership documents	650.50
	1241 A + 1241 B + 1241 C = 379.60 + 68.60 + 202.30 = 650.50	
	(b) As per measurement sheet	
2.	(c) As per site	
	Deduction for :	
	(a) Proposed D.P. road widening	--
	(b) Any D.P. reservation area	--
3.	Total (a+b)	--
	(a) Balance area of plot 1	--
	(b) Balance area of plot 2	--
4.	Total (a+b)	NA
	Amenity space (if applicable) :	--
	(a) Required-	--
	(b) Andjustment of 2(b), if any-	--
5.	(c) Balanced proposed area	--
6.	Net plot area (3-4(c)) :	NA
	Recreational open space (if applicable)	
	(a) Required-	
7.	(b) Proposed-	NA
8.	Internal road area	NA
9.	Plotable area (if applicable)	1.1
10.	Basic FSI as per front road	NA
	Addition of FSI on payment of premium	
	(a) Maximum permissible premium	
	FSI- based on road width/TOD	
11.	(b) Proposed FSI on pay of premium	NA
	(a) In-situ area against DP road	
	(b) In-situ area against Amenity	
	Space if handed over	
	(2.00 or 1.85 x 4(b) and/or (c))	
	(c) TDR area	
	(d) total in-situ/ TDR loading	
	proposed (11(a)+(b)+(c))	
12.	Additional FSI area under ch 7	0.6
13.	Total entitlement of FSI in the proposal	
	(a) 9+10(b)+11(d) or 12, whichever is applicable	1.7
	(b) Ancillary area FSI upto 60% or 80% with payment	1.02
	of charges	
	(c) Total entitlement (a+b)	2.72
14.	Maximum utilization limit of FSI	2.72
	permissible as per road width	1769.36
	((as per Regulation no 6.1 or 6.2 or 6.3 as applicable)	
	x 1.6 or 1.8)	
15.	Total built-up area in proposal(excluding area at Sr. No. 17 b)	
	(a) Existing built-up area	00
	(b) Proposed built-up area (as per 'P-line')	911.2934
	(c) Total (a+b)	911.2934
16.	F.S.I. Consumed (15/13) (should not be more than Sr. no. 14)	1.40
17.	Area for inclusive housing, if any	NA
	(a) Required (20% of Sr. No. 5)	
	(b) Proposed	

Certificate of Area:

Certified that the plot under reference was surveyed by me on 10/08/2022 and the dimensions of sides etc. of plot stated on plan are as measured on site and the area so worked out tallies with the area stated in document of Ownership/ T.P. Scheme Records/ Land Records Department/ City Survey records.

Signature
Ar. Rafiq Momin
CA/97/21190

Owner's Declaration:
I/We undersigned hereby confirm that I/We would abide by plans approved by Authority / Collector. I/We would execute the structure as per approved plans. Also I/We would execute the work under supervision of proper technical person so as to ensure the quality and safety at the work site.

Owner (s) name and signature

Ashutosh Dumbare
Commissioner of Police,
Thane City.

Architect/ License Engineer/ Supervisor Name and Signature

Ar. Rafiq Momin
CA/97/21190

RCC Consultant Name and Signature

Er. Ram V. Marathe
NMMC/TP/SE/161

KDMC/STR/462

Approval Stamp:

SRUJAN INTERIORS & ARCHITECTS PVT. LTD.
455/456, 'A' WING, BALAJI BHAVAN, PLOT NO. 42A, SECT. 11, CBD BELAPUR (EAST), NAVI MUMBAI. PH. +91-22-67210224

Date.	14/03/2024
Drawing No.	01
Scale	Mentioned with Drawing's Name
Drawn By	Ar. Saffana Mulla
Checked By	Ar. Rafiq Momin
Registration No. of Architect	CA/97/21190