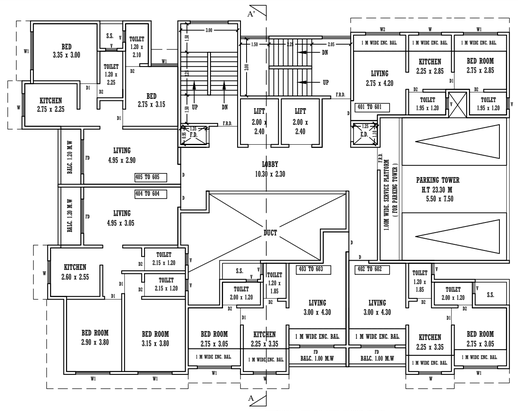

TYPICAL 4TH TO 6TH FLOOR PLAN
SCALE : 1:100

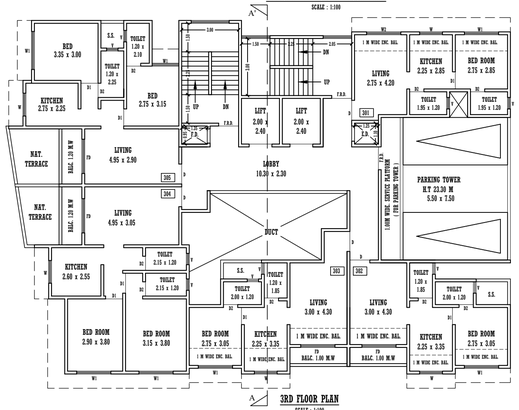

3RD FLOOR PLAN
SCALE : 1:100

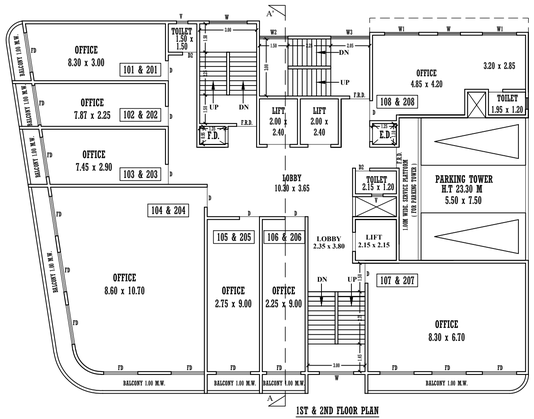

1ST & 2ND FLOOR PLAN
SCALE : 1:100

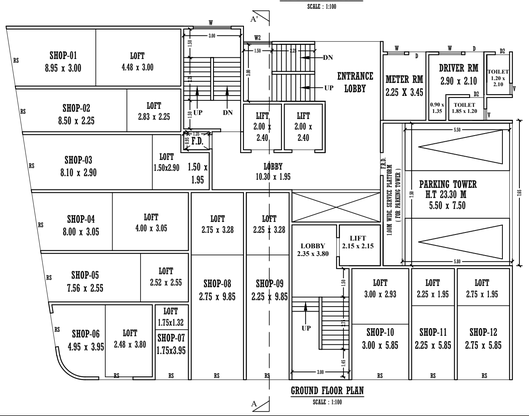

GROUND FLOOR PLAN
SCALE : 1:100

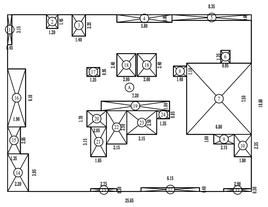

P-LINE AREA DIAGRAM
TYPICAL 3RD TO 6TH FLOOR
SCALE : 1:200

P-LINE AREA CALCULATION

TYPICAL 3RD TO 6TH FLOOR									
A	25.65	X	16.60	X	1 NO	=	427.89	SQ.MT.	
					TOTAL	=	427.89	SQ.MT.	X
DEDUCTIONS									
1	0.45	X	3.15	X	1 NO	=	1.42	SQ.MT.	
2	1.20	X	1.45	X	1 NO	=	1.74	SQ.MT.	
3	1.60	X	2.25	X	1 NO	=	3.15	SQ.MT.	
4	5.80	X	0.80	X	1 NO	=	4.64	SQ.MT.	
5	0.35	X	0.60	X	1 NO	=	0.61	SQ.MT.	
6	0.95	X	1.35	X	1 NO	=	1.28	SQ.MT.	
7	6.80	X	7.50	X	1 NO	=	51.00	SQ.MT.	
8	1.40	X	1.10	X	1 NO	=	1.54	SQ.MT.	
9	2.15	X	1.00	X	1 NO	=	2.15	SQ.MT.	
10	1.80	X	2.25	X	1 NO	=	4.05	SQ.MT.	
11	2.50	X	0.30	X	1 NO	=	0.75	SQ.MT.	
12	6.15	X	0.40	X	1 NO	=	2.46	SQ.MT.	
13	2.75	X	0.30	X	1 NO	=	0.82	SQ.MT.	
14	2.20	X	3.95	X	1 NO	=	8.69	SQ.MT.	
15	1.35	X	2.65	X	1 NO	=	3.58	SQ.MT.	
16	1.90	X	6.10	X	1 NO	=	11.59	SQ.MT.	
17	1.35	X	0.95	X	1 NO	=	1.28	SQ.MT.	
18	2.00	X	2.40	X	2 NOS	=	9.60	SQ.MT.	
19	7.20	X	1.00	X	1 NO	=	7.20	SQ.MT.	
20	2.85	X	1.70	X	1 NO	=	4.85	SQ.MT.	
21	1.65	X	3.15	X	1 NO	=	5.20	SQ.MT.	
22	2.15	X	3.50	X	1 NO	=	7.53	SQ.MT.	
23	3.15	X	2.50	X	1 NO	=	7.88	SQ.MT.	
24	1.35	X	0.85	X	1 NO	=	1.15	SQ.MT.	
					TOTAL DEDUCTION	=	167.76	SQ.MT.	Y1
TOTAL BUILT UP AREA (X - Y1)						=	259.23	SQ.MT.	X1



SECTION OF COMPOUND WALL
SCALE : 1:100

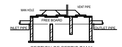

SECTION OF SEPTIC TANK
SCALE : 1:100

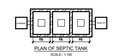

PLAN OF SEPTIC TANK
SCALE : 1:100

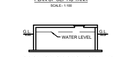

SECTION OF SECTION TANK
SCALE : 1:100

PLAN OF SUCTION TANK
SCALE : 1:100

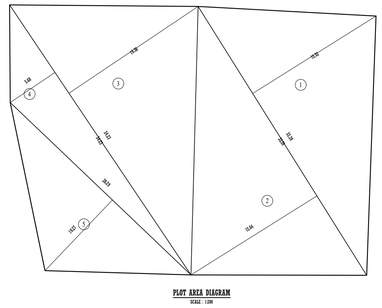

PLOT AREA DIAGRAM
SCALE : 1:200

PLOT AREA CALCULATION

1	1/2	X	33.30	X	15.22	X 1 NO	=	255.77	SQ.MT.
2	1/2	X	33.30	X	15.64	X 1 NO	=	260.11	SQ.MT.
3	1/2	X	34.23	X	16.58	X 1 NO	=	283.34	SQ.MT.
4	1/2	X	34.23	X	5.68	X 1 NO	=	97.21	SQ.MT.
5	1/2	X	26.32	X	10.30	X 1 NO	=	135.57	SQ.MT.
					TOTAL	=	1032.00	SQ.MT.	X

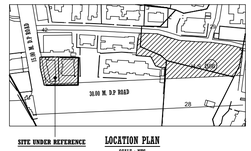

SITE UNDER REFERENCE

LOCATION PLAN
SCALE : NTS

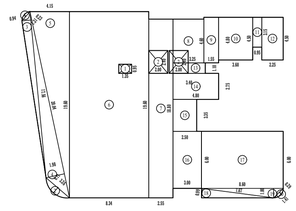

P-LINE AREA DIAGRAM
FIRST FLOOR
SCALE : 1:200

P-LINE AREA CALCULATION

FIRST FLOOR (COMMERCIAL)									
1	2/2	X	1.21	X	0.25	X 1 NO	=	0.30	SQ.MT.
2	2/2	X	3.26	X	0.71	X 1 NO	=	1.16	SQ.MT.
3	1/2	X	17.34	X	0.92	X 1 NO	=	8.16	SQ.MT.
4	1/2	X	20.04	X	1.05	X 1 NO	=	10.54	SQ.MT.
5	1/2	X	6.15	X	19.00	X 1 NO	=	58.67	SQ.MT.
6	8.24	X	19.00	X	1 NO	=	156.56	SQ.MT.
7	2.31	X	18.00	X	1 NO	=	41.58	SQ.MT.
8	3.25	X	4.60	X	1 NO	=	14.95	SQ.MT.
9	1.35	X	4.55	X	1 NO	=	6.14	SQ.MT.
10	3.60	X	4.50	X	1 NO	=	16.20	SQ.MT.
11	4.95	X	2.15	X	1 NO	=	2.99	SQ.MT.
12	2.25	X	4.50	X	1 NO	=	10.13	SQ.MT.
13	3.40	X	1.10	X	1 NO	=	3.74	SQ.MT.
14	4.80	X	2.75	X	1 NO	=	13.20	SQ.MT.
15	2.50	X	3.25	X	1 NO	=	8.13	SQ.MT.
16	2.00	X	4.00	X	1 NO	=	10.00	SQ.MT.
17	6.00	X	6.00	X	1 NO	=	51.00	SQ.MT.
18	1/2	X	3.42	X	0.90	X 1 NO	=	3.08	SQ.MT.
19	1/2	X	6.00	X	1.00	X 1 NO	=	4.50	SQ.MT.
20	2/3	X	1.41	X	0.25	X 1 NO	=	0.27	SQ.MT.
					TOTAL ADDITION	=	416.61	SQ.MT.	X
DEDUCTIONS									
1	1.20	X	0.95	X	1 NO	=	1.20	SQ.MT.
2	2.00	X	2.40	X	2 NOS	=	9.60	SQ.MT.
					TOTAL DEDUCTION	=	10.80	SQ.MT.	Y1
TOTAL BUILT UP AREA (X - Y1)						=	425.81	SQ.MT.	X1

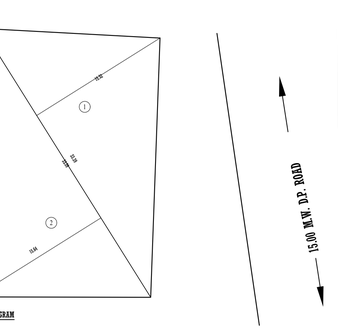

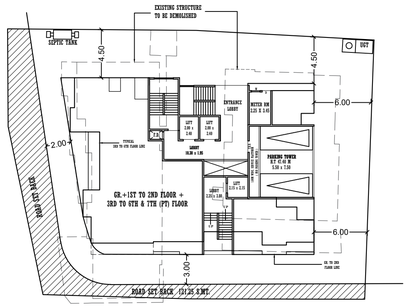

BLOCK PLAN
SCALE : 1:200

DOORS AND WINDOWS SCHEDULE

TYPE	SIZE	REMARKS
D	1.00 X 2.10	T.W. FRAMED PANELLED DOOR.
D1	0.90 X 2.10	T.W. FRAMED PANELLED DOOR.
D2	0.75 X 2.00	T.W. FRAMED PARTLY GLAZED (ENTEX DOOR.
W	1.20 X 1.50	T.W. FRAMED GLAZED PANELLED WINDOW.
W1	1.00 X 1.50	T.W. FRAMED GLAZED PANELLED WINDOW.
W2	1.50 X 1.50	T.W. FRAMED GLAZED PANELLED WINDOW.
W3	2.85 X 1.50	T.W. FRAMED GLAZED PANELLED WINDOW.
W4	2.10 X 1.50	T.W. FRAMED GLAZED PANELLED WINDOW.
FD	1.00 X 2.10	ALU. FRAMED GLAZED PANELLED FRENCH DOOR
V	0.60 X 0.60	T.W. FRAMED GLAZED LOUVERED WINDOW.

PROPOSED BUILDING	
FLOOR NO.	TOTAL BUILT-UP AREA OF FLOOR . EL PER GUTTER CONSTRUCTION LINE.
GR.+1ST TO 2ND FLOOR (COMM.) 3RD TO 6TH & 7TH (PT) (RESI.) FLOOR PLAN	2772.19

P-LINE AREA STATEMENT

FLOOR	BUILT UP AREA SQ.MT.
GROUND (COMM.)	368.41
1ST FLOOR (COMM.)	425.93
2ND FLOOR (COMM.)	425.93
3RD FLOOR	329.33
4TH FLOOR	329.33
5TH FLOOR	329.33
6TH FLOOR	329.33
7TH (PT) FLOOR	234.40
TOTAL AREA	2772.19

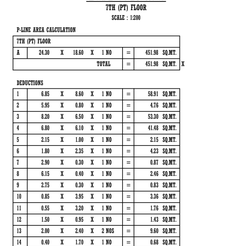

P-LINE AREA DIAGRAM
7TH (PT) FLOOR
SCALE : 1:200

P-LINE AREA CALCULATION

7TH (PT) FLOOR									
A	24.30	X	18.60	X	1 NO	=	451.98	SQ.MT.	
					TOTAL	=	451.98	SQ.MT.	X
DEDUCTIONS									
1	6.85	X	8.60	X	1 NO	=	58.91	SQ.MT.	
2	5.95	X	0.80	X	1 NO	=	4.76	SQ.MT.	
3	8.20	X	6.50	X	1 NO	=	53.30	SQ.MT.	
4	6.80	X	6.10	X	1 NO	=	41.48	SQ.MT.	
5	2.15	X	1.00	X	1 NO	=	2.15	SQ.MT.	
6	1.80	X	2.25	X	1 NO	=	4.05	SQ.MT.	
7	2.50	X	0.30	X	1 NO	=	0.87	SQ.MT.	
8	6.15	X	0.40	X	1 NO	=	2.46	SQ.MT.	
9	2.75	X	0.30	X	1 NO	=	0.83	SQ.MT.	
10	8.85	X	3.95	X	1 NO	=	3.26	SQ.MT.	
11	0.55	X	3.20	X	1 NO	=	1.76	SQ.MT.	
12	1.50	X	0.95	X	1 NO	=	1.42	SQ.MT.	
13	2.00	X	2.40	X	2 NOS	=	9.60	SQ.MT.	
14	0.60	X	1.70	X	1 NO	=	0.68	SQ.MT.	
15	1.85	X	1.35	X	1 NO	=	2.22	SQ.MT.	
16	3.80	X	3.50	X	1 NO	=	13.30	SQ.MT.	
17	2.70	X	1.00	X	1 NO	=	2.70	SQ.MT.	
18	3.15	X	3.50	X	1 NO	=	11.03	SQ.MT.	
19	1.25	X	1.85	X	1 NO	=	2.56	SQ.MT.	
					TOTAL DEDUCTION	=	217.58	SQ.MT.	Y1
TOTAL BUILT UP AREA (X - Y1)						=	234.40	SQ.MT.	X1

PARKING AREA STATEMENT

	ONE PARKING AREA FOR EVERY TENEMENTS	Nos. OF FLATS	Nos. OF CAR	Nos. OF SCOOTER
1.1	FOR EVERY TENEMENT HAVING CARPCT AREA OF 100 SQ.M. AND ABOVE	NIL	NIL	NIL
1.2	FOR EVERY TENEMENT HAVING CARPCT AREA EQUAL TO OR ABOVE 80 SQ.M. BUT LESS THAN 100 SQ.M.	NIL	NIL	NIL
1.3	FOR EVERY TWO TENEMENT WITH EACH TENEMENT HAVING CARPCT AREA EQUAL TO OR ABOVE 40 SQ.M. BUT LESS THAN 80 SQ.M.	9	9 NOS	9 NOS
1.4	FOR EVERY TWO TENEMENT WITH EACH TENEMENT HAVING CARPCT AREA LESS THAN 40 SQ.M. BUT MORE THAN 30 SQ.M.	NIL	NIL	NIL
1.5	FOR EVERY TWO TENEMENTS WITH EACH TENEMENT HAVING CARPCT AREA LESS THAN 30 SQ.M.	14	NIL	14 NOS
1.6	COMMERCIAL AREA PARKING AREA 401.01/ 100.00 SM		9 NOS	25 NOS
	COMMERCIAL AREA PARKING AREA 801.06 / 200.00 SM		13 NOS	42 NOS
1.7	TOTAL	23	22 NOS	91 NOS
1.8	ADDITION 5% RESI. VISITOR PARKING (5% of 5)		1 NOS	5 NOS
1.9	TOTAL REQUIRED PARKING		23 NOS	100 NOS
1.10	TOTAL REQUIRED PARKING CAR & SCOOTER (80% of 5) AS PER UNDER REGULATION NO. 6.2.2 TABLE NO.3C		22 NOS	---
	TOTAL PROPOSED PARKING		29 NOS	

(SIX SCOOTER PARKING MAY BE ALLOWED TO BE CONVERTED INTO 1 CAR PARKING.)
TOTAL REQUIRED CARS TO CONVERT IN SCOOTER PARKING = 17 NOS CAR X 6 = 102 NOS SCOOTER

CARPET AREA STATEMENT

FLOOR NO.	FLAT NO.	CARPET AREA OF FLAT	AREA OF BALCONY ATTACHED TO THE FLAT	AREA OF DOUBLE HEIGHT TERRACES ATTACHED TO THE FLAT
3RD FLOOR	5 NOS.	301	25.35 SQ.MT.	8.50 SQ.MT.	NIL
		302	29.00 SQ.MT.	9.95 SQ.MT.	NIL
		303	29.92 SQ.MT.	11.01 SQ.MT.	NIL
		304	19.42 SQ.MT.	3.28 SQ.MT.	NIL
		305	52.25 SQ.MT.	3.04 SQ.MT.	NIL
4TH TO 6TH FLOOR	15 NOS.	401,501,601	25.35 SQ.MT.	8.50 SQ.MT.	NIL
		402,502,602	29.00 SQ.MT.	9.95 SQ.MT.	NIL
		403,503,603	29.92 SQ.MT.	11.01 SQ.MT.	NIL
		404,504,604	19.42 SQ.MT.	3.28 SQ.MT.	NIL
		405,505,605	52.25 SQ.MT.	3.04 SQ.MT.	NIL
7TH (PT) FLOOR	3 NOS.	702	29.00 SQ.MT.	9.95 SQ.MT.	NIL
		703	29.92 SQ.MT.	11.01 SQ.MT.	NIL
		704	19.42 SQ.MT.	3.28 SQ.MT.	NIL

1ST & 2ND FLOOR PLAN
SCALE : 1:100

GROUND FLOOR PLAN
SCALE : 1:100

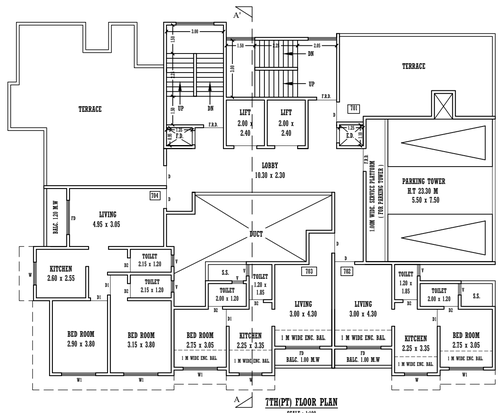

7TH(PT) FLOOR PLAN
SCALE : 1:100

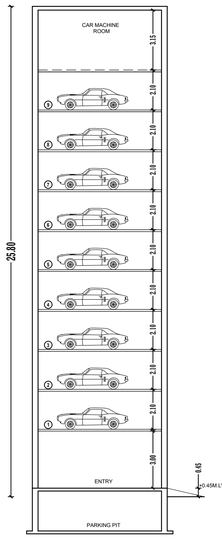

SECTION BB'
SCALE : 1:100

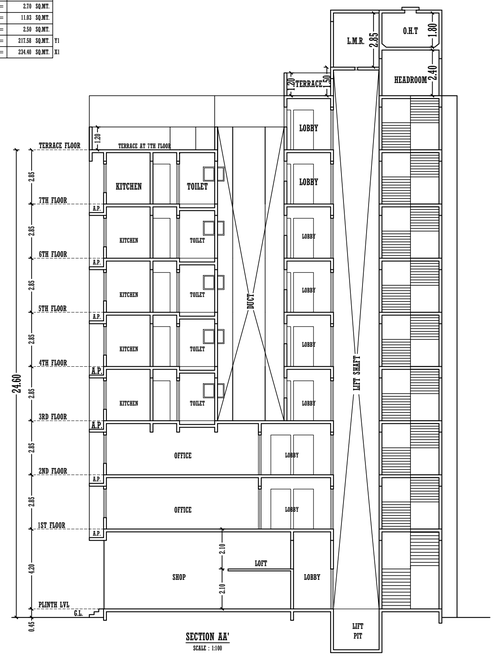

SECTION AA'
SCALE : 1:100

APPROVING AUTHORITY

SHEET NO - 1/1

CONTENT :- BLOCK PLAN, LOCATION PLAN, BUILT UP AREA STATEMENT, PLOT AREA STATEMENT, RERA CARPCT AREA STATEMENT, PARKING STATEMENT, GROUND FLOOR PLAN, 1ST & 2ND FLOOR PLAN & 3RD TO 6TH FLOOR PLAN, SECTIONS.

AREA STATEMENT			SQ.M.
1.	Area of plot		
	(Minimum area of a, b, c to be considered)	(526.00 + 504.00)	1030.00
(a)	As per ownership document		1030.00
(b)	as per measurement sheet		
(c)	as per site		
2.	Deductions for		
(a)	Proposed D.P. / D.P. Road widening Area / Service Road / Highway widening		121.75
(b)	Any D.P. Reservation area		
	(Total a+b)		121.75
3.	BALANCE AREA OF PLOT (1-2)		908.25
4.	Amenity Space (if applicable)		----
(a)	Required -		----
(b)	Adjustment of 2(b), if any -		----
(c)	Balance Proposed -		----
5.	Net Plot Area [3-4(c)]		908.25
6.	Recreational Open space (if applicable)		----
(a)	Required -		----
(b)	Proposed -		----
7.	Internal Road area		----
8.	Plotable area (if applicable)		----
9.	Built up area with reference to Basic F.S.I. as per front road width (Sr. No. 5 x basic FSI)	(1.10 x 908.25)	999.07
10.	Addition of FSI on payment of premium	(0.5 x 1030.00 = 515.00)	
(a)	Maximum permistible premium FSI - based on road width / TOD Zone		515.00
(b)	Proposed FSI on payment of premium	(0.50 OF 1b)	86.00
11.	In-site FSI / TDR loading		
(a)	In-site area against D.P. road [2.10 x Sr. No. 3 (a)]	(121.75 X 2 = 243.50)	243.50
(b)	In-site area against Amenity Space if handed over		
	[2.00 or 1.85 x Sr. No. 4 (b) and / or (c)]		
(c)	TDR area	(1.40 x 1030.00 = 1442.00)	
(d)	Total in-situ / TDR loading proposed [11 (a) + (b) + (c)]		
12.	Additional FSI area under Chapter No. 7	(23 X 15)	345.00
13.	Total entitlement of FSI in the proposal		
(a)	[9 + 10(b) + 11(d)] or 12 whichever is applicable		1673.57
(b)	Ancillary Area FSI upto 60% with payment of charges	COMM. 80% OF 1220.47/1.0 = 678.03 80% OF 678.03 = 542.42 RESI. 60% OF 1673.57 - 678.03 = 995.54 60% OF 995.54 = 597.32	1139.74
(c)	Total entitlement (a + b)		2813.31
14.	Maximum utilization limit of F.S.I. (building potential) Permissible as per Road width ([as per Regulation No. 6.1 or 6.2 or 6.3 or 6.4 as applicable) x 1.6 or 1.8)		2813.31
15.	Total Built-up Area in proposal (excluding area at Sr. No. 17 b)		
(a)	Previous Sanctioned Built-up Area		
(b)	Proposed Built-up Area (as per 'P-Line')		2772.19
(c)	Total (a + b)		2772.19
16.	F.S.I. Consumed (15/13) (should not be more than serial No. 14 above)		0.99
17.	Area for Inclusive Housing, if any		----
(a)	Required (20% of Sr. No. 5)		----
(b)	Proposed		----

APPENDIX - C

THE PLANS PREPARED BY ME ARE IN ACCORDANCE WITH THE NORMS AS SPECIFIED BY INDIAN STANDARD INSTITUTE & I WILL BE HELD RESPONSIBLE FOR ANY HARM CAUSED IN EARTHQUAKE DUE TO NEGLIENCE OF THE STANDARDS.

ENGINEERS SIGNATURE

OWNER'S DECLARATION –

I/WE UNDERSIGNED HEREBY CONFIRM THAT I/WE WOULD ABIDE BY PLANS APPROVED BY AUTHORITY / COLLECTOR. I/WE WOULD EXECUTE THE STRUCTURE AS PER APPROVED PLANS. ALSO I/WE WOULD EXECUTE THE WORK UNDER SUPERVISION OF PROPER TECHNICAL PERSON SO AS TO ENSURE THE QUALITY AND SAFETY AT THE WORK SITE.

OWNER (S) NAME AND SIGNATURE

CERTIFICATE OF AREA

CERTIFIED THAT I HAVE SURVEYED THE PLOT UNDER REFERENCE ON 18/07/2024 AND THAT THE DIMENSIONS OF THE SIDES ETC. OF THE PLOT STATED ON THE PLAN ARE AS MEASURED ON SITE AND THE AREA SO WORKED OUT IS 1030.00 SQ.MTS. AND TALLIES WITH THE AREA STATED IN THE DOCUMENT OF OWNERSHIP/TOWN PLANNING SCHEME RECORDS.

SIGNATURE OF ARCHITECT.

DESCRIPTION OF PROPOSAL & PROPERTY

REDEVELOPMENT OF EXISTING BLDG.ON PLOT BEARING C.T.S NO. 14444, 14299 AT VILLAGE- KATEMANIVALI, TAL.- KALYAN, DIST. THANE .

NAME & SIGNATURE OF OWNER	SIGNATURE OF ARCHITECT
M/S. K S. DEVLOPERS , THROUGH PARTNERS. SIGNATURE.	(VERONIQUE JOHN) (CA/87/15318)

DOC.NO.	JOB.NO.	SCALE	DATE	DRAWN BY.	CHECKED BY.
1	K - 20	AS SHOWN	01/11/2024	DESIG.	PRAVEEN

NORTH

ARCHITECTS & CONSULTANTS

Le-een Consultants
ARCHITECTS, INTERIOR DESIGNERS,
REGD. VALUERS & PROJECT CONSULTANTS.
S-1, RAJASHREE TOWER, RAMBAUG, LANE No. 6,
KALYAN(WEST)-421 301. Tel. 2320302