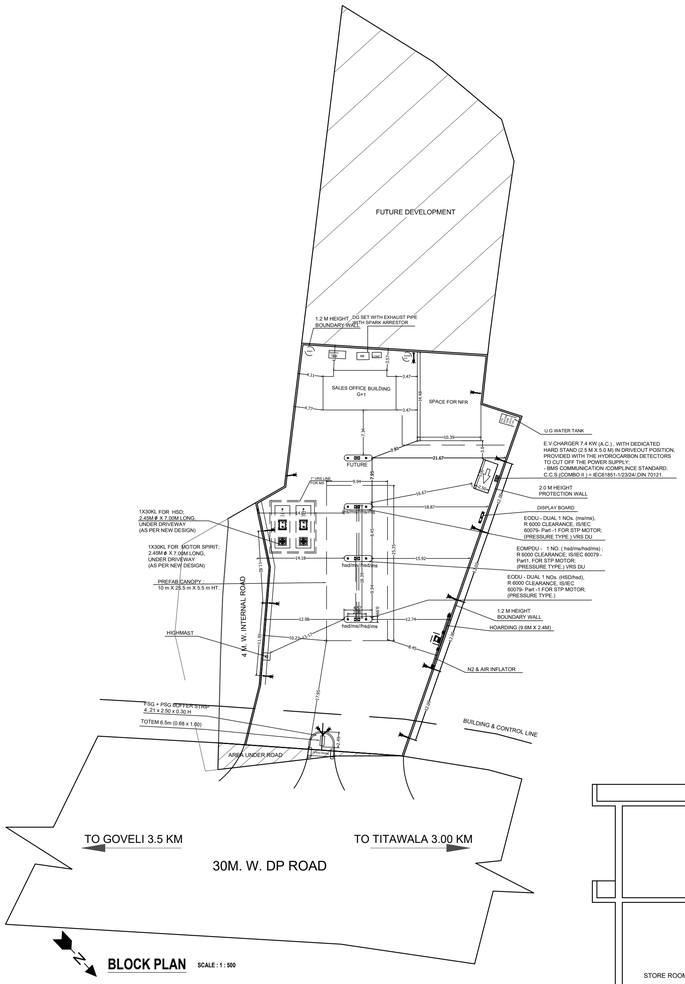

BLOCK PLAN SCALE : 1 : 500

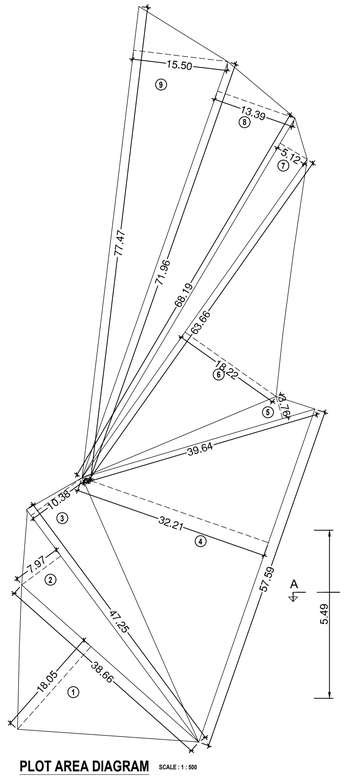

PLOT AREA DIAGRAM SCALE : 1 : 500

AREA UNDER ROAD SCALE : 1 : 500

AREA UNDER ROAD CALCULATION					
Sr.No.	1/2	Base	Height	No.	Area(Sq.m.)
1	0.50	19.3	4.30	1	41.50
2	0.50	29.73	0.80	1	11.89
TOTAL ADDITION					53.40

PLOT AREA CALCULATION					
Sr.No.	1/2	Base	Height	No.	Area(Sq.m.)
1	0.50	38.66	18.05	1	348.91
2	0.50	47.25	7.97	1	188.29
3	0.50	47.25	10.38	1	245.23
4	0.50	57.59	32.21	1	927.49
5	0.50	39.64	3.76	1	74.52
6	0.50	63.66	18.22	1	579.94
7	0.50	68.19	5.12	1	174.57
8	0.50	71.96	13.39	1	481.77
9	0.50	77.47	15.50	1	600.39
TOTAL ADDITION					3608.00

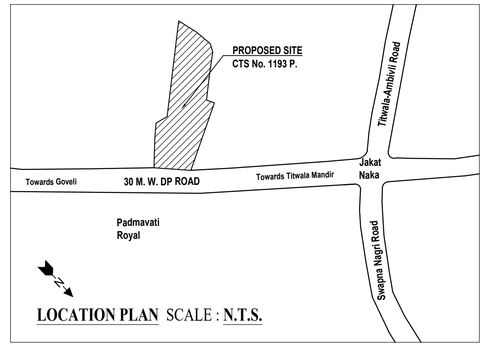

LOCATION PLAN SCALE : N.T.S.

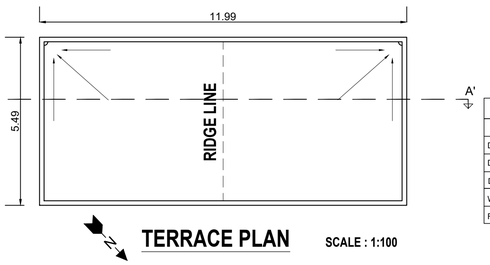

TERRACE PLAN SCALE : 1:100

DOOR / WINDOW SCHEDULE FOR OPENINGS			
	SPECIFICATION	SIZE	SILL
D1	PANELED DOOR	1.00X2.30	0.00
D2	FLUSH DOOR	0.90X2.30	0.00
D3	BACKALITE DOOR	0.75X2.10	0.00
W1	ALUMINIUM SLIDING WINDOW	1.80X2.00	0.30
R/S	ROLLING SHUTTER	1.20X2.00	0.30

REFERENCES
S - SUCTION PIPE 50 NB.
V - VENT PIPE 40 NB.
F - FILL PIPE 80 NB.
D - DIP PIPE 50 NB.
EV - EXTENDED VENT.
EFP - EXTENDED FILL PIPE.
- ILLUMINATION POST.
VALVE ON U.G. PIPE LINE.
DPS - DOUBLE POLE SWITCH.
FSG - FACILITY SIGNAGE.
PSG - PRODUCT SIGNAGE.
ADVP - ADVERTISEMENT POST.
EODU - ELECTRICALLY OPERATED DESPENSING UNIT FOR M.S.& H.S.D.
EOMPD - ELECTRICALLY OPERATED MULTY PRODUCT DISPENSING UNIT.

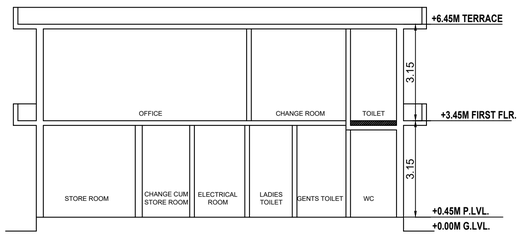

SECTION AA'

SCALE : 1:100

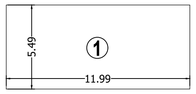

AREA DIAGRAM FIRST FLOOR

SCALE : 1:200

P-LINE AREA STATEMENT		
GROUND FLOOR (SALES OFFICE)		
Sr.No.	FLOOR	AREA (SQ.M.)
1	GROUND	75.05
1	FIRST	65.83
TOTAL AREA		140.87

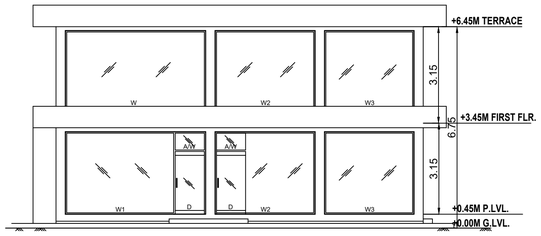

ELEVATION

SCALE : 1:100

P-LINE BUILT UP AREA CALCULATION				
GROUND FLOOR (SALES OFFICE)				
Sr.No.	Length	Width	No.	Area(Sq.m.)
1	11.99	5.49	1	65.83
1	9.22	1.00	1	9.22
TOTAL ADDITION				75.05

P-LINE BUILT UP AREA CALCULATION				
FIRST FLOOR (SALES OFFICE)				
Sr.No.	Length	Width	No.	Area(Sq.m.)
1	11.99	5.49	1	65.83
TOTAL ADDITION				65.83

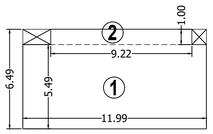

AREA DIAGRAM GROUND FLOOR

SCALE : 1:200

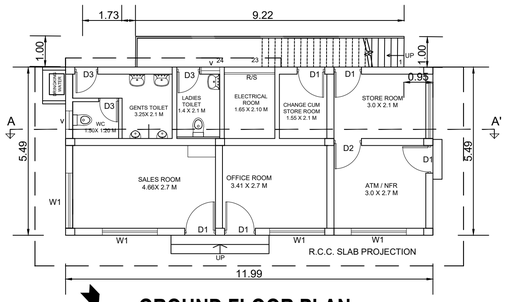

GROUND FLOOR PLAN SCALE : 1:100

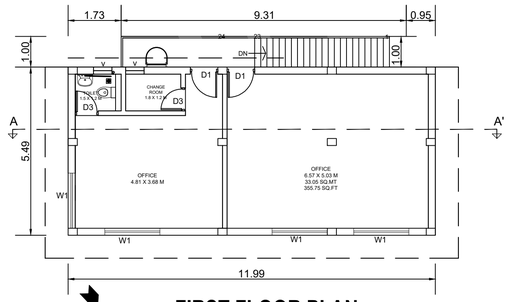

FIRST FLOOR PLAN

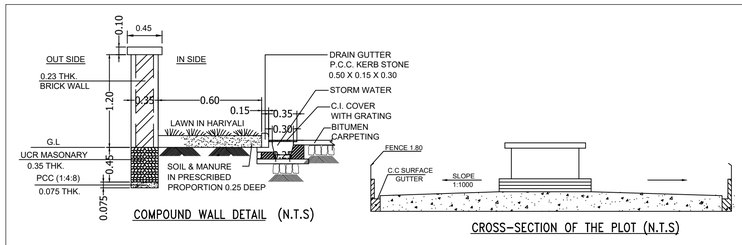

COMPOUND WALL DETAIL (N.T.S)

CROSS-SECTION OF THE PLOT (N.T.S)

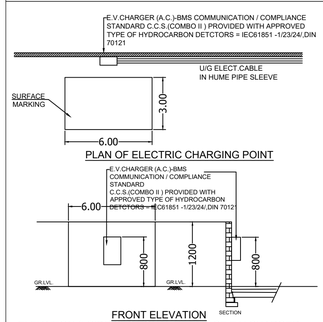

PLAN OF ELECTRIC CHARGING POINT

FRONT ELEVATION

ELEVATION & SIDE SECTIONAL DETAIL OF E.V.CHARGER

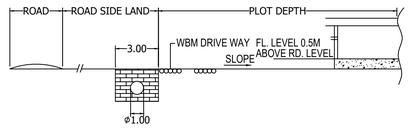

L-SECTION SHOWING DRIVE WAY IN RELATION TO ROAD

M.S WELDED FUEL STORAGE TANK DETAILS.				
TANK CAPACITY IN (KL)	LENGTH OF THE TANK IN (mm)	DIAMETER OF TANK IN (mm)	SHELL PLATE THICKNESS IN (mm)	ENDPLATE THICKNESS IN (mm)
30	7000	2450	6	8
30	7000	2450	6	8

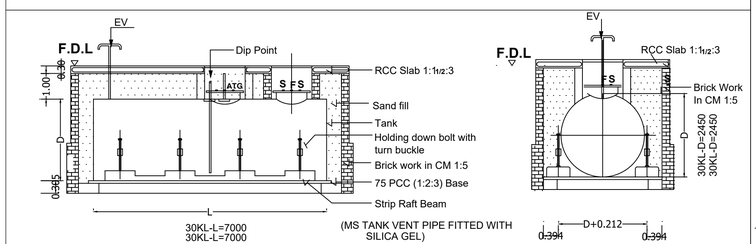

Longitudinal Section of Under RCC Tank

Cross Section

TANK INSTALLATION DETAIL

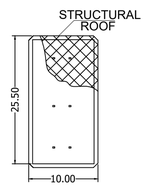

CANOPY

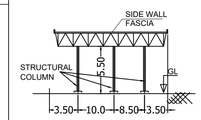

CANOPY DETAIL VIEW 'X'

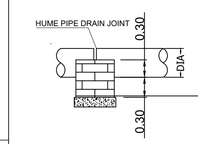

DRAIN JOINT DETAILS (N.T.S)

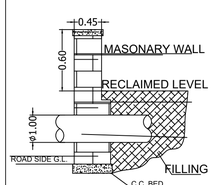

ROAD SIDE H.P DRAIN AND CULVERT WALL DETAILS(N.T.S)

PROFORMA -1 : AREA STATEMENT | **1 / 1**

PROPOSED FUEL STATION, ON PLOT BEARING CTS No. 1193 P. (Old S. NO.: 98/5/A), AT VILLAGE: TITWALA, TALUKA: KALYAN, DISTRICT: THANE, STATE: MAHARASHTRA. PIN: 421605

STAMPS OF APPROVAL OF PLANS:

AREA STATEMENT

1.	Area of plot (Minimum area of a, b, c to be considered)	
(a)	As per ownership document (PR Card)	3900.00
(b)	as per measurement sheet	3900.00
(c)	as per site	3661.40
2.	Deductions for	
(a)	Proposed D.P./ D.P. Road widening Area/Service Road / Highway widening	53.40
(b)	Any D.P. Reservation area	--
	(Total a+b)	--
3.	Balance area of plot (1-2)	3608.00
4.	Amenity Space (5%)	
(a)	Required - (5%)	-
(b)	Adjustment of 2(b), if any -	-
(c)	Balance Proposed -	-
5.	Net Plot Area (3- 4 (c))	3608.00
6.	Recreational Open space	
(a)	Required -	0.00
(b)	Proposed -	0.00
7.	Internal Road area	
8.	Plotable area (if applicable)	NA
9.	Built up area with reference to Basic F.S.I. as per front road width 3608.00 X 0.2)	721.60
10.	Addition of FSI on payment of premium	
(a)	Maximum permissible premium FSI	--
(b)	Proposed FSI on payment of premium.	
11.	In-situ FSI / TDR loading	--
(a)	In-situ area against D.P. road -	--
(b)	In-situ area against Amenity Space if handed over [2.00 or1.85 x Sr. No. 4 (b)and /or(c)],	
(c)	TDR area	
(d)	Total in-situ / TDR loading proposed (11 (a)+(b)+(c))	--
12.	Additional FSI area under Chapter No. 7	
13.	Total entitlement of FSI in the proposal	
(a)	[9 + 10(b)+11(d)] or 12 whichever is applicable.	721.60
(b)	Ancillary Area FSI upto 60% with payment of charges.	0.00
(c)	Total entitlement (a+b)	721.60
14.	Maximum utilization limit of F.S.I. (building potential) Permissible as per Road width	
15.	Total Built-up Area in proposal.(excluding area at Sr.No.17 b)	
(a)	Existing Built-up Area.	--
(b)	Proposed Built-up Area (as per 'P-line')	140.87
(c)	Total (a+b)	140.87
16.	F.S.I. Consumed (15/13) (should not be more than serial No.14 above.)	0.20
17.	Area for Inclusive Housing, if any	
(a)	Required	--
(b)	Proposed	

CERTIFICATE :

I hereby certify that the structural drawings for the above mentioned work are prepared by me / us and work, as far as structural drawings are concerned, shall be carried under my supervision. I shall be responsible for the execution of the work as far as structural drawings are concerned.

SIGNATURE OF STRUCTURAL ENGINEER

CERTIFICATE OF AREA:

Certified that the plot under reference was surveyed by me on --------- and the dimensions of sides etc. of plot stated on plan are as measured on site and the area so worked out tallies with the area stated in document of Ownership/ T.P. Scheme Records/ Land Records Department/City Survey records.

SIGNATURE OF ARCHITECT

OWNER'S DECLARATION

I/We undersigned hereby confirm that I/We would abide by plans approved by Authority / Collector. I/We would execute the structure as per approved plans. Also I/We would execute the work under supervision of proper technical person so as to ensure the quality and safety at the work site.

Mr. Sanjay Kajale (P.O.A.)
M/s. Shree Swami Samarth Petroleum

JOB NO.	DWG NO.	DATE	SCALE	DRAWN BY	CHECKED BY
UV01-26-FEB	01	26/02/2026	1:100	AR.UJWAL	

AR. UJWAL BHALCHANDRA JAMDARE
REG. NO. - CA / 2023 / 154962
UV ARCHVIL
Shop No. 5 & 6, New Baghirathi Apartment, Chatrapati Shivaji Maharaj Chowk, Badlapur (E), 421503
Mob. No. +91-7276669144 Email:- uvarchvil@gmail.com