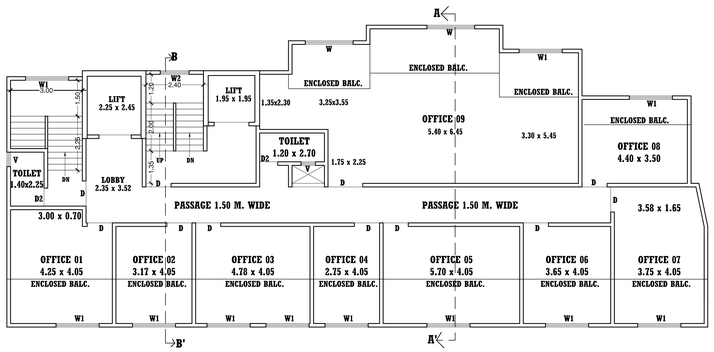

THIRD FLOOR PLAN
(SCALE - 1:100)

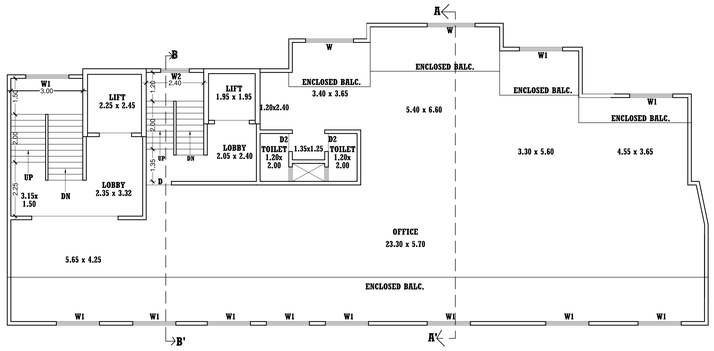

FIRST AND SECOND FLOOR PLAN
(SCALE - 1:100)

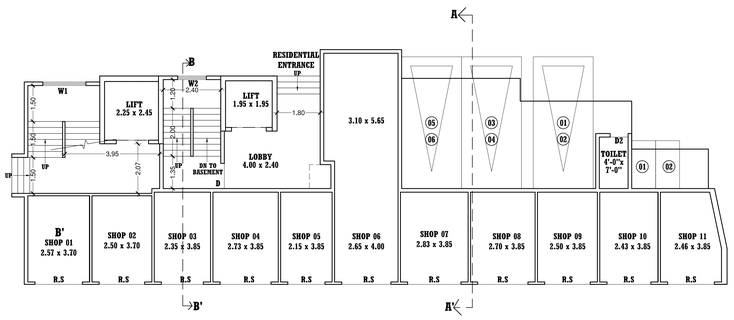

GROUND FLOOR PLAN
(SCALE - 1:100)

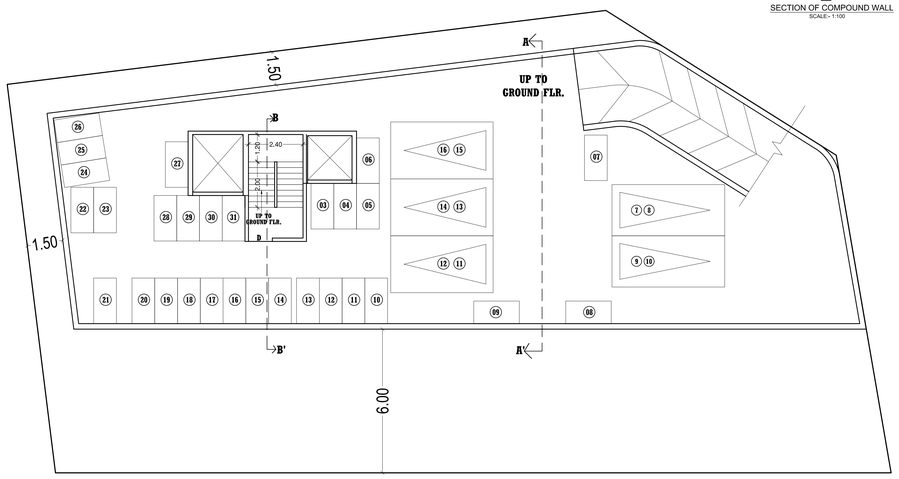

BASEMENT FLOOR PLAN
(SCALE - 1:100)

RERA AREA DETAIL OF COMMERCIAL SHOPS

FLOOR NO.	TOTAL NO.	SHOP NO.	CARPET AREA	AREA OF BALCONY ATTACHED TO SHOP	AREA OF DOUBLE HEIGHT TERRACES ATTACHED TO SHOP
GROUND	11 NOS.	01	9.53 SQ.MT.	NIL	NIL
		02	9.25 SQ.MT.	NIL	NIL
		03	9.05 SQ.MT.	NIL	NIL
		04	10.50 SQ.MT.	NIL	NIL
		05	8.28 SQ.MT.	NIL	NIL
		06	27.60 SQ.MT.	NIL	NIL
		07	10.88 SQ.MT.	NIL	NIL
		08	10.38 SQ.MT.	NIL	NIL
		09	9.62 SQ.MT.	NIL	NIL
		10	9.36 SQ.MT.	NIL	NIL
		11	9.23 SQ.MT.	NIL	NIL
		TOTAL	123.68 SQ.MT.		

RERA AREA DETAIL OF COMMERCIAL OFFICES

FLOOR NO.	TOTAL NO.	OFFICE NO.	CARPET AREA	AREA OF BALCONY ATTACHED TO HALL	AREA OF DOUBLE HEIGHT TERRACES ATTACHED TO HALL
1ST AND 2ND	02 NOS.	101 AND 201	171.40 SQ.MT.	80.52 SQ.MT.	NIL
		TOTAL	342.80 SQ.MT.	161.04 SQ.MT.	NIL

RERA AREA DETAIL OF COMMERCIAL OFFICES

FLOOR NO.	TOTAL NO.	OFFICE NO.	CARPET AREA	AREA OF BALCONY ATTACHED TO OFFICE	AREA OF DOUBLE HEIGHT TERRACES ATTACHED TO OFFICE
THIRD	09 NOS.	01	11.61 SQ.MT.	7.86 SQ.MT.	NIL
		02	7.14 SQ.MT.	5.87 SQ.MT.	NIL
		03	10.66 SQ.MT.	8.83 SQ.MT.	NIL
		04	6.21 SQ.MT.	5.09 SQ.MT.	NIL
		05	12.70 SQ.MT.	10.54 SQ.MT.	NIL
		06	8.19 SQ.MT.	6.75 SQ.MT.	NIL
		07	14.31 SQ.MT.	6.94 SQ.MT.	NIL
		08	10.94 SQ.MT.	4.62 SQ.MT.	NIL
		09	49.42 SQ.MT.	22.20 SQ.MT.	NIL
		TOTAL	131.18 SQ.MT.	78.70 SQ.MT.	NIL

RERA AREA DETAIL OF APARTMENT

FLOOR NO.	APARTMENT NO.	CARPET AREA OF APARTMENT	AREA OF BALCONY ATTACHED TO APARTMENT	AREA OF DOUBLE HEIGHT TERRACES ATTACHED TO FLAT
4TH	5 NOS.	401	24.13 SQ.MT.	13.48 SQ.MT.	NIL
		402	50.28 SQ.MT.	25.44 SQ.MT.	NIL
		403	21.66 SQ.MT.	8.29 SQ.MT.	NIL
		404	27.96 SQ.MT.	14.20 SQ.MT.	NIL
		405	43.91 SQ.MT.	21.20 SQ.MT.	NIL

DOORS AND WINDOWS SCHEDULE

TYPE	SIZE	REMARKS
D	1.05 X 2.10	T.W. FRAMED PANELLED DOOR.
D1	0.90 X 2.10	T.W. FRAMED PANELLED DOOR.
D2	0.75 X 2.00	T.W. FRAMED PARTLY GLAZED SINTEX DOOR.
FD	2.00 X 2.10	T.W. FRAMED FRENCH DOOR.
FD1	1.00 X 2.10	T.W. FRAMED FRENCH DOOR.
FD2	1.20 X 2.10	T.W. FRAMED FRENCH DOOR.
W	2.00 X 1.50	T.W. FRAMED GLAZED PANELLED WINDOW.
W1	1.00 X 1.50	T.W. FRAMED GLAZED PANELLED WINDOW.
W2	1.20 X 1.50	T.W. FRAMED GLAZED PANELLED WINDOW.
V	0.60 X 0.90	T.W. FRAMED GLAZED LOUVERED WINDOW.

SECTION OF SUCTION TANK
SCALE:- 1:100



PLAN OF SUCTION TANK
SCALE:- 1:100

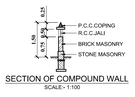

SECTION OF COMPOUND WALL
SCALE:- 1:100

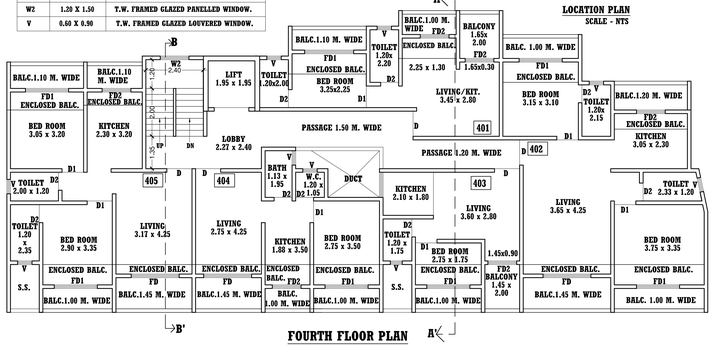

FOURTH FLOOR PLAN
(SCALE - 1:100)

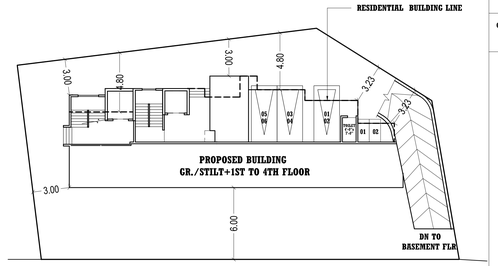

BLOCK PLAN
(SCALE - 1 : 200)

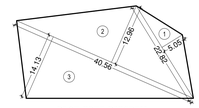

PLOT AREA DIAGRAM
(SCALE 1:500)

PLOT AREA CALCULATION

1	1/2 X 22.82 X 5.05 X 1 NO	=	57.62	SQ.MT.
2	1/2 X 40.56 X 12.96 X 1 NO	=	262.83	SQ.MT.
3	1/2 X 40.56 X 14.13 X 1 NO	=	286.55	SQ.MT.
	TOTAL	=	607.00	SQ.MT.

AREA SUMMARY

FLOOR NO.	TOTAL BUILT-UP AREA OF FLOOR , AS PER OUTER CONSTRUCTION LINE.
GR/ST+1ST+4TH FLOOR	1418.83
TOTAL	1418.83

P-LINE AREA STATEMENT

FLOOR	P-LINE AREA SQ.MT.
GROUND FLOOR	178.87
1ST FLOOR	311.31
2ND FLOOR	311.31
3RD FLOOR	311.31
4TH FLOOR	306.03
TOTAL	1418.83

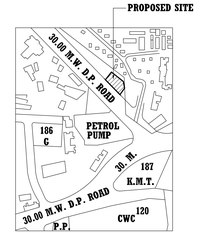

LOCATION PLAN
SCALE - NTS

PARKING AREA STATEMENT

ONE PARKING AREA FOR EVERY TENEMENTS	Nos. OF FLATS	Nos. OF CAR	Nos. OF SCOOTER
1) FOR EVERY TENEMENT HAVING CARPET AREA OF 150 SQ.M. AND ABOVE	NIL	NIL	NIL
2) FOR EVERY TENEMENT HAVING CARPET AREA EQUAL TO OR ABOVE 80 SQ.M. BUT LESS THAN 150 SQ.M.	NIL	NIL	NIL
3) FOR EVERY TWO TENEMENT WITH EACH TENEMENT HAVING CARPET AREA EQUAL TO OR ABOVE 40 SQ.M. BUT LESS THAN 80 SQ.M.	2 NOS.	1 NOS.	2 NOS.
4) FOR EVERY TWO TENEMENT WITH EACH TENEMENT HAVING CARPET AREA LESS THAN 40 SQ.M. BUT MORE THAN 30 SQ.M.	NIL	NIL	NIL
5) FOR EVERY TWO TENEMENTS WITH EACH TENEMENT HAVING CARPET AREA LESS THAN 30 SQ.M.	3 NOS.	NIL	3 NOS.
6) COMMERCIAL AREA PARKING AREA SQ.M. 123.68 / 100.00 SM AREA SQ.M. 473.98 / 200.00 SM		2 NOS. 7 NOS.	7 NOS. 26 NOS.
TOTAL	5 NOS.	10 NOS.	38 NOS.
6) IN ADDITION 5% VISITOR PARKING		1 NOS.	2 NOS.
TOTAL REQUIRED PARKING CAR		11 NOS.	40 NOS.
9) TOTAL REQUIRED PARKING CAR & SCOOTER (80% of 8) AS PER UDCPR REGULATION NO. 8.2.2 TABLE NO.8C		9 NOS.	40 NOS.
TOTAL PROPOSED PARKING CAR		16 NOS.	31 NOS.

TOTAL PROPOSED CAR PARKING = 16 NOS (ACC. TO PAGE NO. 139 OF U.D.P.C.R. CLAUSE NO. 8.1.1 SERIAL NO. v)(SIX SCOOTER PARKING MAY BE ALLOWED TO BE CONVERTED INTO 1 CAR PARKING)
2 NOS (CAR) X 6 = 12 SCOOTER
TOTAL REQUIRED SCOOTER PARKING = 40 NOS.
TOTAL PROPOSED SCOOTER PARKING = 31 + 12 = 43 NOS.

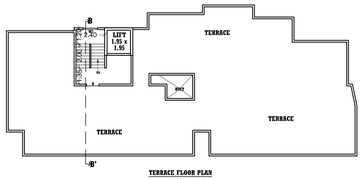

TERRACE FLOOR PLAN
(SCALE - 1:200)

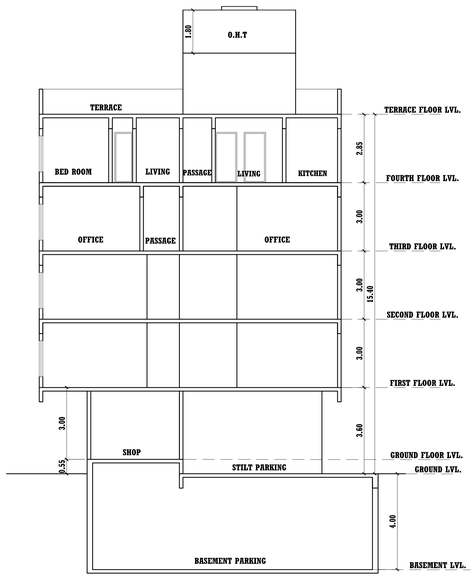

SECTION AA'
(SCALE - 1:100)

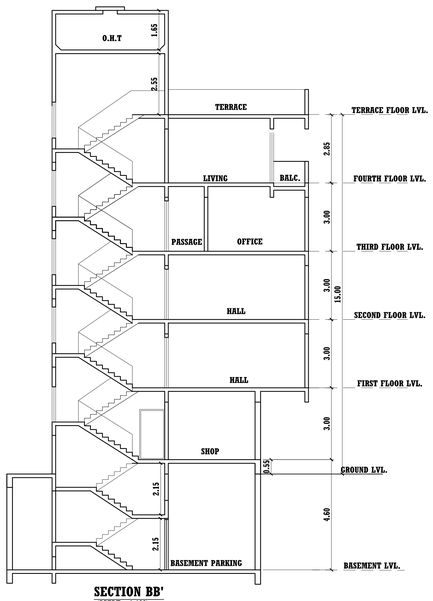

SECTION BB'
(SCALE - 1:100)

APPROVING AUTHORITY | **SHEET NO - 1/1**

CONTAINS :- BLOCK PLAN, FLOOR PLAN , LOCATION PLAN, AREA STATEMENT, PARKING STATEMENT, SECTION

AREA STATEMENT		SQ.M.
1.	Area of plot (Minimum area of a, b, c to be considered)	607.00
(a)	As per ownership document	
(b)	as per measurement sheet	
(c)	as per site	607.00
2.	Deductions for	
(a)	Proposed D.P. / D.P. Road widening Area / Service Road / Highway widening	------
(b)	Any D.P. Reservation area	------
	(Total a+b)	
3.	BALANCE AREA OF PLOT (1-2)	607.00
4.	Amenity Space (if applicable)	------
(a)	Required -	
(b)	Adjustment of 2(b), if any -	
(c)	Balance Proposed -	
5.	Net Plot Area [3-4(c)]	
6.	Recreational Open space (if applicable)	------
(a)	Required -	
(b)	Proposed -	
7.	Internal Road area	------
8.	Plotable area (if applicable)	
9.	Built up area with reference to Basic F.S.I. as per front road width (Sr. No. 5 x basic FSI) (607.00 x 1.10)	667.70
10.	Addition of FSI on payment of premium	
(a)	Maximum permissible premium FSI - based on road width / TOD Zone	
(b)	Proposed FSI on payment of premium (0.50 OF 1b) (607.00 x 0.50 = 303.50)	
11.	In-situ FSI / TDR loading	
(a)	In-situ area against D.P. road [2.10 x Sr. No. 2 (a)]	
(b)	In-situ area against Amenity Space if handed over [2.00 or 1.85 x Sr. No. 4 (b) and / or (c)]	
(c)	TDR area (607.00 x 1.40 = 849.80 - (210.00) = 639.80)	
(d)	Total in-situ / TDR loading proposed [11 (a) + (b) + (c)]	
12.	Additional FSI area under Chapter No. 7 14 X 15.00 = 210.00	210.00
13.	Total entitlement of FSI in the proposal	
(a)	[9 + 10(b) + 11(d)] or 12 whichever is applicable	877.70
(b)	Ancillary Area FSI upto 60% with payment of charges (1112.80/1.80 = 618.22 x 80 % = 494.57; 259.48 x 60 % = 155.68)	542.00
(c)	Total entitlement (a + b)	1419.70
14.	Maximum utilization limit of F.S.I. (building potential) Permissible as per Road width ((as per Regulation No. 6.1 or 6.2 or 6.3 or 6.4 as applicable) x 1.6 or 1.8)	1419.70
15.	Total Built-up Area in proposal (excluding area at Sr. No. 17 b)	
(a)	Previous Sanctioned Built-up Area	
(b)	Proposed Built-up Area (as per 'P-Line')	1418.83
(c)	Total (a + b)	
16.	F.S.I. Consumed (15/13) (should not be more than serial No. 14 above)	0.99
17.	Area for Inclusive Housing, if any	
(a)	Required (20% of Sr. No. 5)	
(b)	Proposed	

APPENDIX - C

THE PLANS PREPARED BY ME ARE IN ACCORDANCE WITH THE NORMS AS SPECIFIED BY INDIAN STANDARD INSTITUTE & I WILL BE HELD RESPONSIBLE FOR ANY HARM CAUSED IN EARTHQUAKE DUE TO NEGLIENCE OF THE STANDARDS.

ENGINEERS SIGNATURE

OWNER'S DECLARATION –

I/WE UNDERSIGNED HEREBY CONFIRM THAT I/WE WOULD ABIDE BY PLANS APPROVED BY AUTHORITY / COLLECTOR. I/WE WOULD EXECUTE THE STRUCTURE AS PER APPROVED PLANS. ALSO I/WE WOULD EXECUTE THE WORK UNDER SUPERVISION OF PROPER TECHNICAL PERSON SO AS TO ENSURE THE QUALITY AND SAFETY AT THE WORK SITE.

OWNER (S) NAME AND SIGNATURE

CERTIFICATE OF AREA

CERTIFIED THAT I HAVE SURVEYED THE PLOT UNDER REFERENCE ON 27-8-24 AND THAT THE DIMENSIONS OF THE SIDES ETC. OF THE PLOT STATED ON THE PLAN ARE AS MEASURED ON SITE AND THE AREA SO WORKED OUT IS 607.00 SQ.M AND TALLIES WITH THE AREA STATED IN THE DOCUMENT OF OWNERSHIP/TOWN PLANNING SCHEME RECORDS.

SIGNATURE OF ARCHITECT.

DESCRIPTION OF PROPOSAL & PROPERTY

REDEVELOPMENT OF EXISTING BLDG. ON PLOT BEARING S.NO.36,H.NO.-3/A/4 AT VILLAGE - CHIKANGHAR , TAL.- KALYAN, DIST. THANE .

NAME & SIGNATURE OF OWNER	SIGNATURE OF ARCHITECT
M/S - PRANNAV CORPORATION , THROUGH SHRI. - KIRAN RAMESH MALI SIGNATURE.	(VARGHESE JOHN) (CA/82/15118)

DRG.NO.	JOB.NO.	SCALE	DATE	DRAWN BY.	CHECKED BY.
1		AS SHOWN	24-02-2026	SUNIL	PRAVEEN

NORTH

ARCHITECTS & CONSULTANTS

De-cen Consultants
ARCHITECTS, INTERIOR DESIGNERS,
REGD. VALUERS & PROJECT CONSULTANTS
S-1, REJENSREE TOWER, BAMBARG, LANE No. 6,
KALYAN(WEST)-421 301. Tel. 2310932