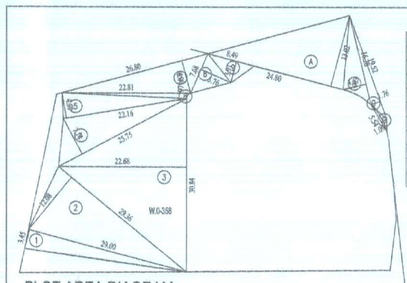

PLOT AREA DIAGRAM
SCALE 1:500

PLOT AREA CALCULATION				
W.O-358	HANDED OVER TO KDMC			
1	1/2 X 29.98 X 3.46	=	50.01 SQ.MT.	
2	1/2 X 29.38 X 12.08	=	177.31 SQ.MT.	
3	1/2 X 30.84 X 22.88	=	349.73 SQ.MT.	
4	1/2 X 25.75 X 7.14	=	91.83 SQ.MT.	
5	1/2 X 22.16 X 4.56	=	50.86 SQ.MT.	
6	1/2 X 22.81 X 0.97	=	11.06 SQ.MT.	
7	1/2 X 26.90 X 6.00	=	80.40 SQ.MT.	
8	1/2 X 7.98 X 5.76	=	22.12 SQ.MT.	
9	1/2 X 8.49 X 3.91	=	16.60 SQ.MT.	
TOTAL ADDITION		=	850.06 SQ.MT.	

PLOT AREA CALCULATION			
SET BACK AREA			
A	1/2 X 24.64 X12.83	=	158.00 SQ.MT.
B	1/2 X 16.17 X 4.14	=	33.47 SQ.MT.
C	1/2 X 16.38 X 1.75	=	16.67 SQ.MT.
D	1/2 X 6.51 X 1.09	=	3.60 SQ.MT.
TOTAL ADDITION		=	212.74 SQ.MT.
TOTAL ADDITION		=	212.76 SQ.MT.

PLOT AREA CALCULATION			
1	1/2 X 54.03 X 4.43	=	119.68 SQ.MT.
2	1/2 X 57.31 X16.39	=	526.87 SQ.MT.
3	1/2 X 58.78 X 8.51	=	244.23 SQ.MT.
4	1/2 X 58.78 X 3.81	=	136.10 SQ.MT.
5	1/2 X 60.63 X13.91	=	420.99 SQ.MT.
6	1/2 X 61.54 X 8.92	=	274.47 SQ.MT.
7	1/2 X 61.54 X11.14	=	342.78 SQ.MT.
8	1/2 X 29.39 X12.07	=	177.19 SQ.MT.
9	1/2 X 28.95 X 3.45	=	49.94 SQ.MT.
TOTAL ADDITION		=	2292.35 SQ.MT.
TOTAL ADDITION		=	2292.98 SQ.MT.

PLOT AREA DIAGRAM
SCALE 1:500

Form of Statement 1
Existing Building to be retained KDMC/ NRV/ BP/ DOM/ CC / 0038 / 20 DT. 02/12/2020

Existing Building No.	Floor No.	Plinth Area	Total Floor Area of Existing Existing Building Use	Occupancy of Floors.
1	2	3	4	5
1	GR(p)+3RD, 4TH(p) TO 16TH(p) FLOOR	237.24	2218.53	56 NOS

Form of Statement 2
Proposed Building

Building No.	Floor No.	Total B-up Area of floor as per outer construction Line
1	2	3
	4TH(p) TO 17TH(p) FLOOR (PREVIOUS SANCTION)	2218.53
	18T(p) TO 17TH(p),18TH TO 23RD FLOOR (PROPOSED)	2739.68
		4958.21

Form of Statement 3
Area details of Apartment

Building No.	Floor No.	Apartment No.	Carpet area of apartment	Area of Bal. attached to Apart.	Area of Double height terraces attached to flat
1	2	3	4	5	6
1	4TH(p) TO 17TH(p)FLR.(PREVIOUS SANCTION) 18T(p) TO 17TH(p),18TH TO 23RD FLOOR	79 NOS	1316.78 1721.14	324.77 519.35	170.84 196.27
	TOTAL		3037.92	844.12	367.11

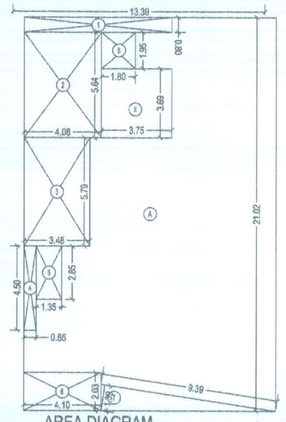

AREA DIAGRAM
1st. to 4th FLOOR SCALE 1:150
WARD OFFICE - 358

BUILT UP AREA CALCULATION			
WARD OFFICE - 358			
A	13.38 X 21.01 X 1 NO	=	281.32 SQ.MT.
	TOTAL ADDITION	=	281.32 SQ.MT.

DEDUCTIONS			
1	7.63 X 0.80 X 1 NO	=	6.28 SQ.MT.
2	4.08 X 5.64 X 1 NO	=	23.01 SQ.MT.
3	3.48 X 6.79 X 1 NO	=	23.15 SQ.MT.
4	0.65 X 4.50 X 1 NO	=	2.93 SQ.MT.
5	1.35 X 2.85 X 1 NO	=	3.85 SQ.MT.
6	4.10 X 2.03 X 1 NO	=	8.32 SQ.MT.
7	1/2 X 9.39 X 1.39 X 1 NO	=	6.53 SQ.MT.
8	1.80 X 1.95 X 1 NO	=	3.51 SQ.MT.
TOTAL DEDUCTION		=	74.58 SQ.MT.
TOTAL BUILT UP AREA		=	206.76 SQ.MT.

BUILT UP AREA CALCULATION			
5TH FLOOR		=	206.76 SQ.MT.
DEDUCTIONS			
X	3.75 X 3.69 X 1 NO	=	13.84 SQ.MT.
TOTAL ADDITION		=	192.92 SQ.MT.

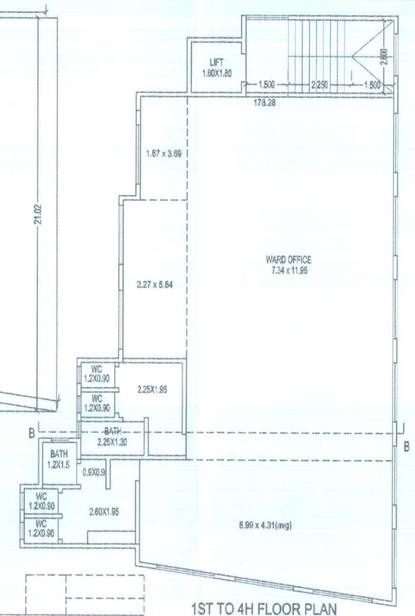

1ST TO 4H FLOOR PLAN
WARD OFFICE - 358 SCALE 1:100
HANDED OVER TO KDMC

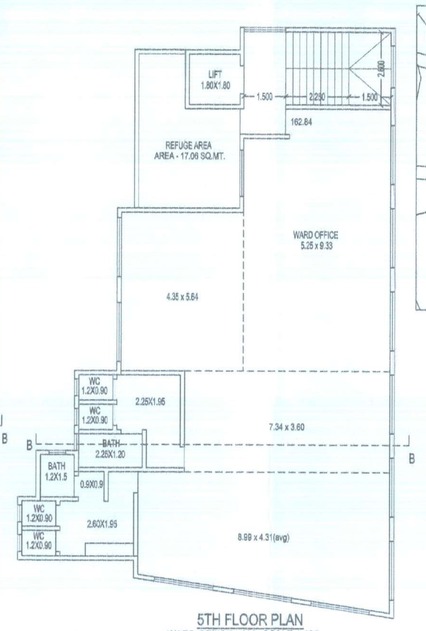

5TH FLOOR PLAN
WARD OFFICE - 358 SCALE 1:100
HANDED OVER TO KDMC

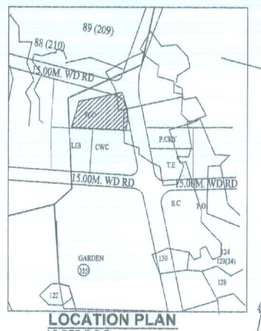

LOCATION PLAN
AS PER R D P

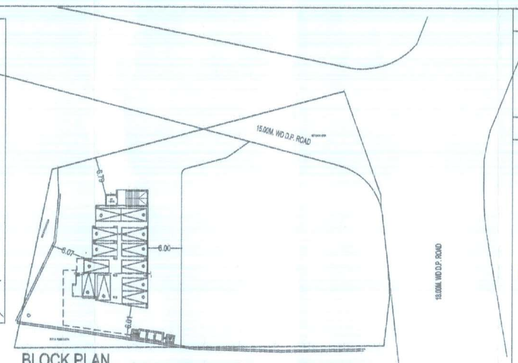

BLOCK PLAN
SCALE 1:500

PARKING AREA STATEMENT	BUILDING					
	REQUIRED NOS OF PARKING			PROPOSED NOS OF PARKING		
PBB AREA	CAR PARKING	TWO WHEELERS	PROP. FLAT	CAR PARKING	TWO WHEELERS
For every two tenements with each tenement having carpet area less than 30 sq.m	0 NOS	2 NOS	21 NOS	—	21.00 NOS
For every two tenements with each tenement having carpet area less than 45 Sq.m, but less than 30 sq.m.	1 NOS	2 NOS	46 NOS	23.00 NOS	46.00 NOS
For every two tenements with each tenement having carpet area equal to or above 45 sq.m, but less than 60 sq.m.	1 NOS	2 NOS	16 NOS	7.92 NOS	15.84 NOS
For every tenement having carpet area equal to or above 60 sq.m, but less than 150 sq.m.	1 NOS	1 NOS	—	—	—
visitor parking (5%)				1.51 NOS	4.19 NOS
For every 100 sq.m. carpet area or fraction thereof	2 NOS	6 NOS	90 / 100.00	—	—
TOTAL			92 NOS	32.33 NOS	86.19 NOS
TOTAL PARKING REQUIRED				32.33 NOS	86.19 NOS
			80% OF	25.92 NOS	68.95 NOS
PREVIOUS SANCTION PARKING				10 NOS	—
TOTAL PARKING REQUIRED				35.92 NOS	68.95 NOS
TOTAL PARKING PROVIDED	36 SCOOTER CONVERTED 6.33 CARS			35.92 NOS 6.33 NOS 41.95 NOS	48 NOS	31 NOS

EXISTING

TENEMENT STATEMENT		
a	PROPOSED AREA	2491.78
b	LESS DEDUCTION OF NON -RESIDENTIAL AREA	169.32
c	AREA OF TENEMENT (a+b)	2322.46
e	TENEMENT PERMISSIBLE	69
f	TENEMENT PROPOSED	56
g	TENEMENT EXISTING	-
h	TOTAL NO.OF TENEMENT	56

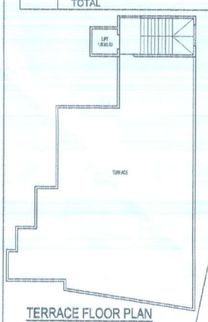

TERRACE FLOOR PLAN
WARD OFFICE - 358 SCALE 1:200
HANDED OVER TO KDMC

SCHEDULE OF DOORS & WINDOWS			
TYPE	SIZE	AREA	REMARKS
RS	2.10 X 2.40	5.04	ROLLING SHUTTER
D	0.99 X 2.13	2.11	T.W. PANNELLED DOOR
D1	0.91 X 2.13	1.94	T.W. PANNELLED DOOR
D2	0.76 X 1.98	1.50	T.W. PANNELLED DOOR
W	1.80 X 1.20	2.16	T.W. GLAZED WINDOW
W1	1.50 X 1.20	1.80	T.W. GLAZED WINDOW
W2	1.20 X 1.00	1.20	T.W. GLAZED WINDOW
v	0.61 X 0.90	0.55	T.W. LOUVERS WINDOW

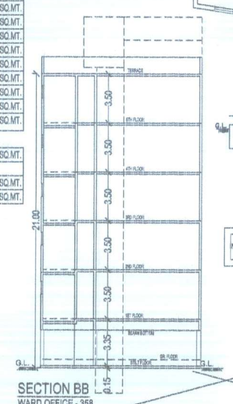

SECTION BB
WARD OFFICE - 358
SCALE 1:200

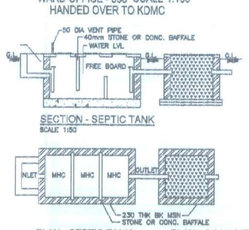

SECTION - SEPTIC TANK
SCALE 1:50

PLAN - SEPTIC TANK
SCALE 1:50

PLAN - SOAK PIT
SCALE 1:50

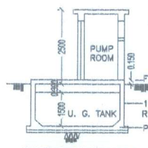

SECTION THROUGH
UNDER GROUND TANK
SCALE 1:100

AREA DIAGRAM
GR. FLOOR W.O - 358 SCALE 1:150

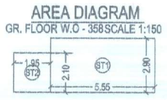

BUILT UP AREA CALCULATION			
GROUND FLOOR			
ST1	5.55 X 2.90 X 1 NO	=	16.10 SQ.MT.
ST2	1.95 X 2.10 X 1 NO	=	4.10 SQ.MT.
TOTAL ADDITION		=	20.20 SQ.MT.

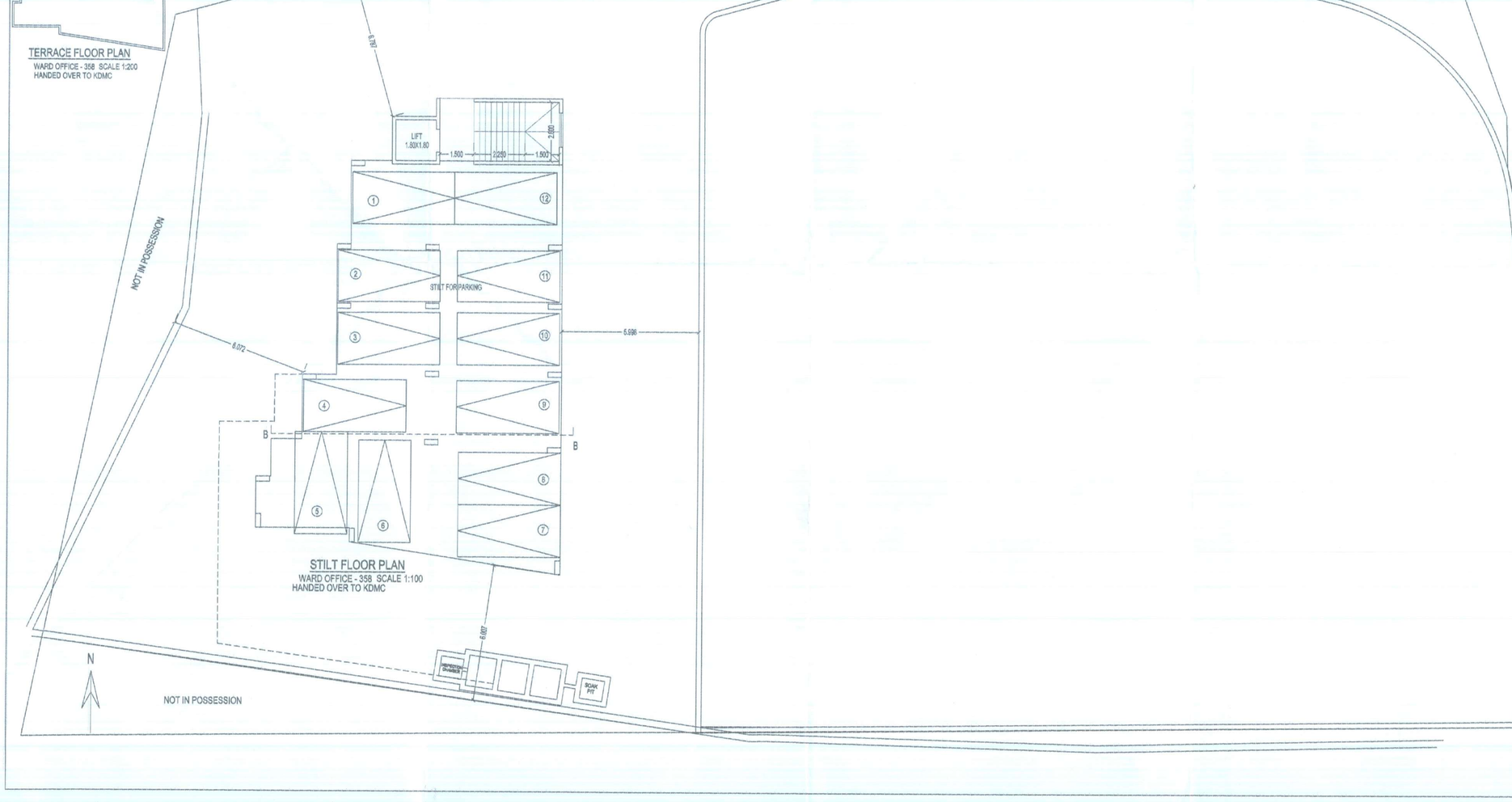

STILT FLOOR PLAN
WARD OFFICE - 358 SCALE 1:100
HANDED OVER TO KDMC

EXISTING

SUMMARY & BALCONY AREA STATEMENT					
FLOOR	B-UP AREA SQ.M	PERM.AREA (10%OF B.U.A)	PROP.AREA		EXCESS AREA
GR. FLR	169.32	NIL	NIL		NIL
1ST FLR	233.75	23.38	6.25 X 1.20 15.35 X 1.10	24.61	1.23
2ND FLR	233.75	23.38	6.25 X 1.20 15.35 X 1.10	24.61	1.23
3RD FLR	233.75	23.38	6.25 X 1.20 15.35 X 1.10	24.61	1.23
4TH FLR	132.85	13.29	3.85 X 1.20 7.75 X 1.10	12.19	NIL
5TH FLR	123.24	12.32	3.85 X 1.20 7.75 X 1.10	12.19	NIL
6TH FLR	132.85	13.29	3.85 X 1.20 7.75 X 1.10	12.19	NIL
7TH FLR	132.85	13.29	3.85 X 1.20 7.75 X 1.10	12.19	NIL
8TH FLR	123.24	12.32	3.85 X 1.20 7.75 X 1.10	12.19	NIL
9TH FLR	132.85	13.29	3.85 X 1.20 7.75 X 1.10	12.19	NIL
10TH FLR	132.85	13.29	3.85 X 1.20 7.75 X 1.10	12.19	NIL
11TH FLR	132.85	13.29	3.85 X 1.20 7.75 X 1.10	12.19	NIL
12TH FLR	123.24	12.32	3.85 X 1.20 7.75 X 1.10	12.19	NIL
13TH FLR	132.85	13.29	3.85 X 1.20 7.75 X 1.10	12.19	NIL
14TH FLR	123.24	12.32	3.85 X 1.20 7.75 X 1.10	12.19	NIL
15TH FLR	123.24	12.32	3.85 X 1.20 7.75 X 1.10	12.19	NIL
16TH FLR	71.37	7.14	3.85 X 1.20 3.55 X 1.10	6.47	NIL
TOTAL AREA	2488.09	231.91	226.58		3.69

SUMMARY - W.O - 358	
FLOOR	B-UP AREA SQ.M
GR. FLR.	20.20
1ST FLR.	206.76
2ND FLR.	206.76
3RD FLR.	206.76
4TH FLR.	206.76
5TH FLR.	192.92
TOTAL AREA	1040.16

EXISTING

TENEMENT STATEMENT					
FLOOR	NUMBER OF TENEMENT				STAIR CASE & PASSAGE PREMIUM
	BELOW 35	BET35-45	BET 45-70	TOTAL	
GR. FLR	NIL	NIL	NIL	NIL	67.92
1st FLR	4	2	NIL	6	65.02
2nd FLR	4	2	NIL	6	65.02
3rd FLR	4	2	NIL	6	65.02
4th FLR	1	2	NIL	3	65.02
5th FLR	2	1	NIL	3	65.25
6th FLR	1	2	NIL	3	65.02
7th FLR	1	2	NIL	3	65.02
8th FLR	2	1	NIL	3	65.25
9th FLR	1	2	NIL	3	65.02
10th FLR	1	2	NIL	3	65.02
11th FLR	1	2	NIL	3	65.02
12th FLR	2	1	NIL	3	65.25
13th FLR	1	2	NIL	3	65.02
14th FLR	2	1	NIL	3	65.02
15th FLR	2	1	NIL	3	65.25
16th FLR	2	NIL	NIL	2	65.25
TOTAL NO.	31	25	NIL	56	1109.39

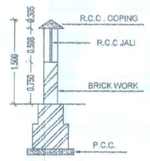

SECTION OF
COMPOUND WALL
(SCALE 1:50)

EXISTING

PARKING AREA STATEMENT [as per d.c.rule]			
RESIDENTIAL	ONE PARKING SPACE FOR EVERY		
	a	4TENEMENT HAVING CARPET AREA ABOVE 35M EACH.	
	b	2TENEMENT HAVING CARPET AREA BET. 45-70M EACH.	
	c	1TENEMENT HAVING CARPET AREA ABOVE 70M EACH.	
COMMERCIAL	ONE PARKING SPACE FOR EVERY		
	a	80M IN OF FLOOR AREA UPTO 800M .	
	b	160M IN OF FLOOR AREA ABOVE 800M PROVIDED THAT NO PARKING FOR FLOOR AREA UPTO 100M .	
VISITORS	10%OF THE NUMBER STIPULATED ABOVE.		
a	RESIDENTIAL	TENEMENT STATEMENT	PARKING SPACE
CARPET AREA		NUMBER OF TENEMENT	REQUIRED
BELOW 35M		31	NOT REQUIRED
BET. 35-45M		25	6.25
BET. 45-70M		NIL	NIL
ABOVE 70M		--	--
TOTAL NUMBERS		56	6.25
a	COMMERCIAL	169.32 / 80.00	2.12
b	VISITORS	10%OF ABOVE	0.83
TOTAL PARKING SPACE REQUIRED(a+b+c)			9.20 = 10 NOS.
TOTAL PARKING SPACE PROVIDED			22 NOS.
WARD OFFICE - 358 PARKING PROPOSED			= 16 NOS

AREA STATEMENT

FLOOR	EXISTING B.U.AREA	PREVIOUS SANCTION AREA	PROPOSED B.U.AREA
GROUND	--	--	32.02
1ST	233.75	--	8.37
2ND	233.75	--	8.37
3RD	233.75	--	8.37
4TH	132.85	151.80	8.37
5TH	123.24	167.91	10.43
6TH	132.85	151.80	8.37
7TH	132.85	158.43	8.37
8TH	123.24	100.63	23.43
9TH	132.85	158.43	8.37
10TH	132.85	151.80	8.37
11TH	132.85	158.43	8.37
12TH	123.24	115.72	8.37
13TH	132.85	158.43	8.37
14TH	123.24	166.89	8.37
15TH	123.24	158.43	8.37
16TH	71.37	239.95	7.38
17TH	--	179.88	179.17
18TH			400.92
19TH			408.35
20TH			400.92
21ST			408.35
22ND			331.63
SOC. OFFICE			26.22
23RD			394.41
CRECHE			25.02
TOTAL	2318.77	2218.53	2739.68
EXCESS. BALC.	3.69		
	2322.46	2218.53	2739.68
TOTAL	2322.46	4958.21	
	7280.67		

DESCRIPTION OF PROPOSAL & PROPERTY

PROPOSED BUILDING ON PLOT BEARING S.NO. 123(178A) H. No.1 /MOUJE -CHOLE, TAL-KALYAN, DIST.-THANE.WARD

FOR.

STAMP OF APPROVAL OF PLAN SHEET NO. - 1 OF 6

FIRE/HQ/KDMC/OW/ 202578-383
DT. 18/09/2025

CHIEF FIRE OFFICER
Fire & Emergency Services
Kalyan Dombivali Municipal Corporation

FIRE & EMERGENCY SERVICES
KALYAN DOMBIVALI MUNICIPAL CORPORATION

W.O- 358 = 2065.86
2065.86 X 40% = 826.34 SMT (PLOT)
2065.86 X 50% = 1032.93 SMT (B-UP)

206.76 x 5 FLOOR = 1033.80 SMT
PROPOSED B-UP AREA = 1040.16 SMT
HANDED OVER TO KDMC

AREA STATEMENT		SQ.MT
1.AREA OF PLOT		
(MINIMUM AREA OF A, B, C TO BE CONSIDERED)		
(A) AS PER OWNERSHIP DOCUMENT (7/12, CTS EXTRACT)		2400.00
(B) AS PER MEASUREMENT SHEET		2292.98
(C) AS PER SITE		
2.DEDUCTIONS FOR		
(A) PROPOSED D.P./ D.P. ROAD WIDENING AREA/SERVICE ROAD / HIGHWAY WIDENING		212.76
(B) ANY D.P. ROAD		
(B) ANY D.P. RESERVATION AREA		
(TOTAL A+B)		212.76
3.BALANCE AREA OF PLOT (1-2)		2050.20
4.AMENITY SPACE (IF APPLICABLE)		
(A) REQUIRED -		
(B) ADJUSTMENT OF 3(B), IF ANY -		
(C) BALANCE PROPOSED -		
5.NET PLOT AREA (3-4 (C))		2050.20
6.RECREATIONAL OPEN SPACE (IF APPLICABLE)		
A) (A) REQUIRED -		
B) (B) PROPOSED -		
7.INTERNAL ROAD AREA		
8.PLOTABLE AREA (IF APPLICABLE)		NIL
9.BUILT UP AREA WITH REFERENCE TO BASIC F.S./. AS PER FRONT ROAD WIDTH (SR. NO. 5)/BASIC FSI 2050.20 x 1.10		2255.22
10.ADDITION OF FSI ON PAYMENT OF PREMIUM		
(A)MAXIMUM PERMISSIBLE PREMIUM FSI - BASED ON ROAD WIDTH / TOD ZONE.		
(B) PROPOSED FSI ON PAYMENT OF PREMIUM. 2292.98 x 0.50		1131.48
11.IN-SITU FSI / TDR LOADING		NIL
(A)IN-SITU AREA AGAINST D.P. ROAD [2.0 X SR. NO. 2 (A)]IF ANY 212.76 x 2.10		446.89
(B)IN-SITU AREA AGAINST AMENITY SPACE (IF HANDED OVER		NIL
[2.00 OR1.85 X SR. NO. 4 (B)]AND /OR(C)]		
(C)TDR AREA 2292.98 x 0.90 = 2036.80 -446.80 =1589.86		1589.86
(D) TOTAL IN-SITU / TDR LOADING PROPOSED (11 (A)+(B)+(C))		
12.ADDITIONAL FSI AREA UNDER CHAPTER NO. 7		
13.TOTAL ENTITLEMENT OF FSI IN THE PROPOSAL		NIL
(A) [9 + 10(B)+11(D)] OR 12 WHICHEVER IS APPLICABLE.		5423.36
(B) ANCILLARY AREA FSI UPTO 60% OR 60%WITH PAYMENT OF CHARGES. 5423.36 -2322.46 = 3100.90 x 0.60 = 1860.54 PREVIOUS SANCTION ANCILLARY = 906.62 PROPOSED ANCILLARY = 953.92	906.62 953.92 1860.54	
(C) TOTAL ENTITLEMENT (A+B)		7283.90
14.MAXIMUM UTILIZATION LIMIT OF F.S.I. (BUILDING POTENTIAL) PERMISSIBLE AS PER ROAD WIDTH [AS PER REGULATION NO. 6.1 OR 6.2 OR 6.3 OR 6.4 AS APPLICABLE) X 1.8 OR 1.8]		7283.90
15.TOTAL BUILT-UP AREA IN PROPOSAL (EXCLUDING AREA AT SR.NO.17 B)		
(A) EXISTING BUILT-UP AREA. 2318.77 + 3.69 = 2322.46		2322.46
(B) PROPOSED BUILT-UP AREA (AS PER TP-LINE) PREVIOUS SANCTION = 2218.53 + 2739.67		4958.21
(C) TOTAL (A+B)		7280.67
16.F.S.I. CONSUMED (15/13) (SHOULD NOT BE MORE THAN SERIAL NO.14 ABOVE.)		
17.AREA FOR INCLUSIVE HOUSING, IF ANY		
(A) REQUIRED (20% OF SR.NO.5)		
(B) PROPOSED		

APPENDIX - C

The plans prepared by me are in accordance with the norms as specified by Indian standard institute & I will be held responsible for any harm caused in earthquake due to neglience of the standards.

engineers signature

Certificate of Area:

Certified that the plot under reference was surveyed by me on 10 - 07- 2019 and the dimensions of sides etc. of plot stated on plan are as measured on site and the area so worked out tallies with the area stated in document of Ownership/ T.P. Scheme Records/ Land Records Department/City Survey records.

Signature
(Name of Architect/Licensed Engineer/Supervisor.)

Owner's Declaration –

I/We undersigned hereby confirm that I/We would abide by plans approved by Authority / Collector. I/We would execute the structure as per approved plans. Also I/We would execute the work under supervision of proper technical person so as to ensure the quality and safety at the work site.

Owner (s) name and signature

NAME, ADDRESS & SIGNATURE OF OWNER

(P.A. HOLDER . SHRI.SUDHIR. K. RAWAL.)

JOB No.	DRG No.	SCALE	DRAWN BY	CHECKED BY	DATE
R.K.-114	1	AS STATED			26 - 08 - 2025

NAME, ADDRESS & SIGNATURE OF ARCHITECT

B.S.RANADE
CA/75/02276

R. K. ASSOCIATES
206,207,208,2nd FLOOR,
JAGANNATH'S COMMERCE PLAZA,
NEAR GODREJ SHOWROOM,
MANPADA ROAD, DOMBIVLI (E.)