LOCATION PLAN N

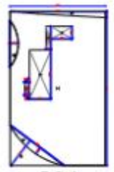

R.G. 1

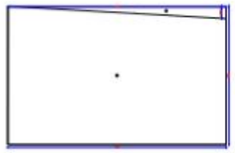

R.G.2

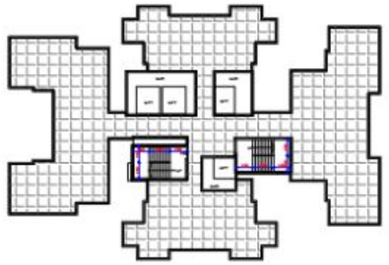

TERRACE PLAN ('C') SCALE:-1:100

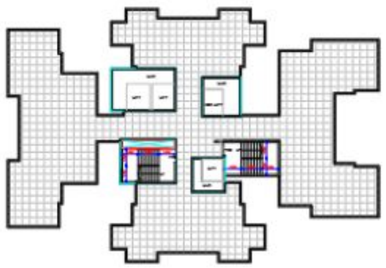

TERRACE PLAN (A) SCALE:-1:100

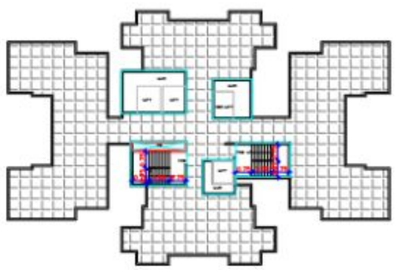

TERRACE PLAN (B) SCALE:-1:100

	A	AREA STATEMENT	IN SQ.MT.
1	(a)	AREA OF PLOT	
	(a)	As per revenue document (7/12, 6/12, extract)	17500.00
	(a)	As per measurement sheet	17500.00
	(a)	As per site	17500.00
2		DEDUCTIONS FOR	
	a)	D.P.R. 17, D.P. ROAD AREA	770.00
	b)	ANY RESERVATION (SCHOOL RESERVATION)	6038.00
	c)	ANY ROAD	-
		TOTAL (a+b)	6808.00
3		BUILDING AREA PLOT (1-2)	10691.00
4		AMENITY SPACE IF APPLICABLE	
	a)	REQUIRED	0.00
	b)	ADJUSTMENT OF IF ANY	
	c)	BUILDING PROPOSED	
5		NET PLOT AREA (3-4(C))	10691.00
6		MAXIMUM POTENTIAL BPEM SPACE (IF APPLICABLE)	10691.0
	a)	BPEM IN SQ	
	b)	PROPOSED	
7		INTERNAL ROAD AREA	-
8		PLOTTABLE AREA	-
9		BUILT UP AREA WITH SET TO SLOPE AS PER TRUE SLOPE WITH (SELING 2.0 SLOPE PER) 10691.00 X 1.0 = 10691.00	10691.00
10		ADDITION OF FSI ON PAYMENT PREMIUM (17500-6808.00-10691.00) 10691.00 SQ.M X 1.0 = 10691.00	10691.00
	a)	MAXIMUM POTENTIALE TERRAIN TO BUILDER ON SLOPE WITH FSI	
	b)	PROPOSED FSI ON PAYMENT OF PREMIUM	
11		IN-SITU FSI ON LOADING	
	a)	IN-SITU AREA ADJACENT D.P. ROAD 24.00 X 30.00 (a) 720.00 X 2.00 = 1440.00	1440.00
	b)	IN-SITU AREA ADJACENT AMENITY SPACE IF MARGED OVER. (0.00 X 1.00 X 0.00 X 1.0) (a) ADD (b)	
	c)	TDR AREA (17500-6808.00-10691.00) 10691.00 X 1.0 = 10691.00 - 10691.00 = 10000.00	10000.00
	d)	TOTAL IN-SITU TDR LOADING PROPOSED (c)+(b)+(a)	10000.00
12		ADDITIONAL FSI UNDER CHAPTER NO.7	-
13		TOTAL ENTITLEMENT OF FSI IN THE PROPOSAL	
	a)	(3+10)+(11)+(a+b) IS MORE OR LESS	21691.00
	b)	ANCILLARY AREA FSI 10% AS PER 31% PAYMENT OF PREMIUM. COMMERCIAL 1.00 X 0.00 = 0.00 X 100.00 RESIDENTIAL 1.00 X 21691.00 X 0.00 = 10875.00 OUT OF THIS (31%) TOTAL = 10875.00	10875.00
	c)	TOTAL ENTITLEMENT (a+b)	32566.00
14		MAXIMUM UTILISATION LIMIT OF FSI (BUILDING POTENTIAL) TERRAINSLE AS PER SLOPE WITH	32566.00 -
15		TOTAL BUILT UP AREA IN PROPOSAL (BUILDING AREA X F.S.I. 15.00 X 1.0)	32566.00
	a)	PROPOSED BUILT UP AREA (AS PER P LINE)	
	b)	EXISTING BUILT UP AREA	
	c)	TOTAL (a+b)	
17		FSI EXCHANGE (0.0+0)	
18		AREA FOR INCLUSIVE HOUSING IF ANY	3253.00
	(a)	PROPOSED (20% OF 35.100 - 0) 1.0000.00 X 1.1.0 X 20 % = 3253.00	3257.00
19		TOTAL CONSTRUCTION AREA FSI AREA - NON FSI AREA	

Proforma - I Area Statement	
1. Area of plot (Minimum area of a, b, c to be considered)	17500.000
(a) as per ownership document (7/12, 6/12 extract)	17500.000
(b) as per TLR or City Survey measurement sheet	17500.000
(c) as per Demarcated drawing area	16808.047
LESS	-
2.Less not in possession	0.000
3. Area Proposed for development (out of 1-2)	17500.000
4.Deductions for	-
(a) Proposed D.P., D.P. Road widening Area Service Road / Highway widening	770.000
(b) (c+d) D.P. Reservation area	6038.000
(c) Green Belt	0.000
Total (a+b+c)	6808.000
5.Balance area of plot (3-4)	10691.000
6. amenity space	0.000
(applicable if (1) > 20000 sqm	-
Required-(a) Upto 20000 sqm - Nil	-
(b) above 20000 sqm - (a) + 5% of Total area	0.000
7.Net Plot area (5-6)	10691.000
8. Recreational Open Space	-
(a) If area (3) is more than 4000 sqm - 10 % of (3) is required	1106.100
Proposed	1751.480
(b) If area is less than 4000 sqm -Check -	-
9 If the full number the 1.2.123.4?8.etc. as per 7/12 extract or City survey Number - No Recreational open space is required	-
10 If the subdivision like 1/2, 2/3 , 123/1 other another recreational open space is required	-
(a) 10 % Subject to minimum 200 sqm	0.000
Proposed	1751.480
(b) Exemption to leave open space subject to scaling basis F.S.I. of 75 %	-
(C) Exemption to leave open space subject to payment of 10 % land value of land at (7) as per annual statement of rate.	-
Architect Licensed Engineer Supervisor name and signature	
Registration No. of Architect License no. of Licensed Engineer Supervisor CA/2018/126630	

DESCRIPTION OF PROJECT :

Type of Proposal : Mixed

BUILDING ON STR. NO. SURVEY NO. 55

SITE ADDRESS

MUNICIPAL NO. 2 BHOL TOL JOGESHWARI (E), DIST. THANE.

OWNER	CONSENT OF OWNER OFFICE 5TH FLOOR, VISTORIA BUSINESS SERVICE JOGESHWARI VALLEY BUS DEPOT, OPP. NURSING HOME, BHANDUP (W) 400 078
OWNER'S SIGN :	TECHNICAL PERSON SIGN
	M/S. ANIL PARSHURAM KANDALGAONKAR ARCHITECT
SCALE :-	DATE :-
JOB NO :-	CHECK BY :-

SUBMISSION DRAWING

TOTAL PARKING = 152 NO.S (WITH TANDOM)
BIG – 129 SMALL – 23
BIKE – 129
PHASE 1
CAR – 64
BIKE – 53

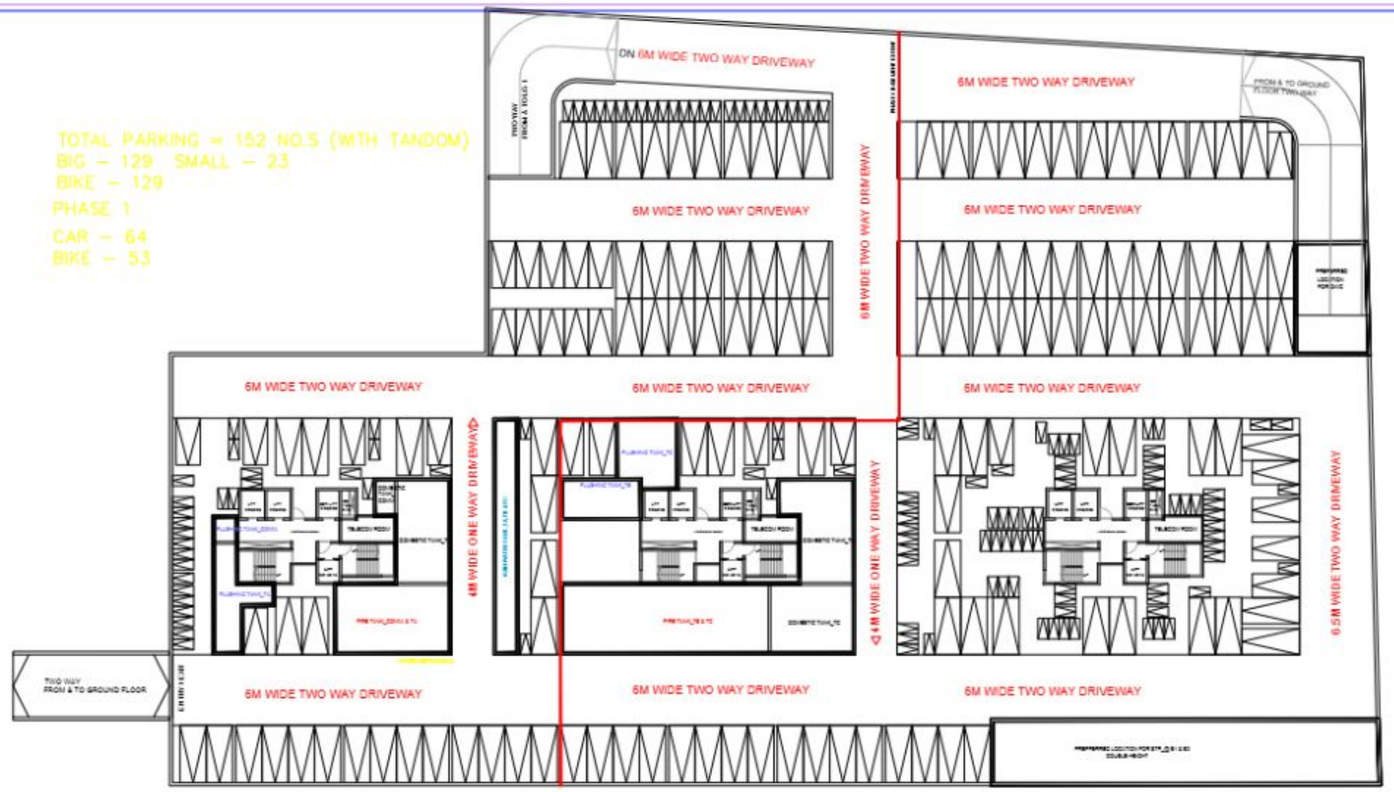

LOWER GROUND 1 PLAN

SCALE:-1:200

TOTAL PARKING = 167 NO.S (WITH TANDOM)
BIG – 134 SMALL – 20
BIKE –219
PHASE 1
CAR – 60

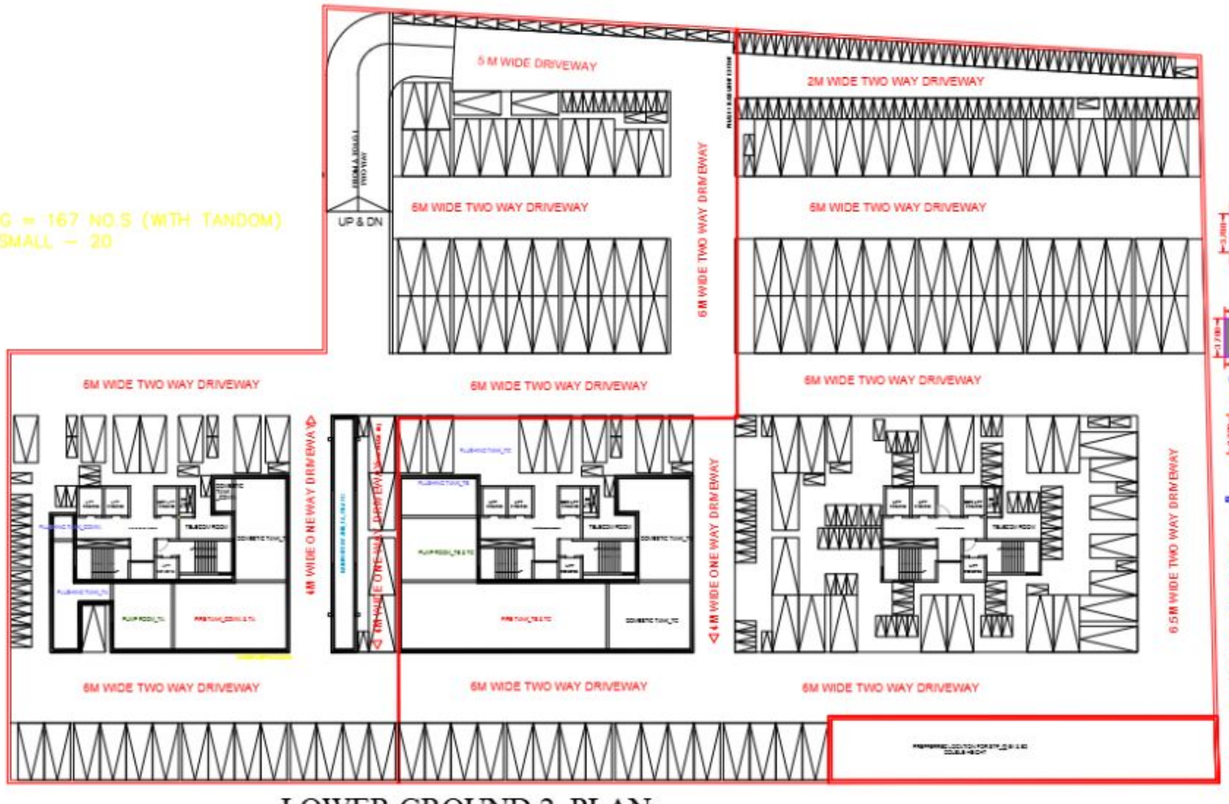

LOWER GROUND 2 PLAN

SCALE:-1:200

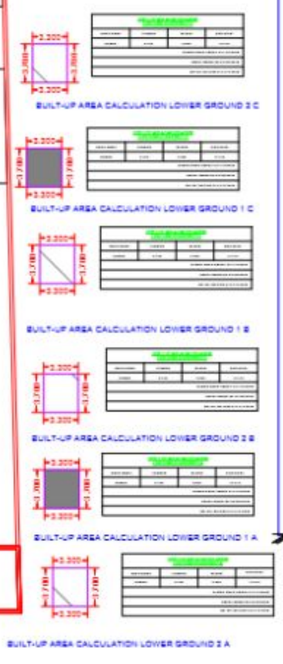



SECTION B-B'

Proforma 1 : Area Statement	
1 Gross of the (Minimum area of a, b, c to be considered)	17900.000
(a) as per ownership document (TIS, CTS extract)	17900.000
(b) as per TLR or City Survey measurement sheet	17900.000
(c) as per Demarcated drawing area	19809.017
LESS	-
2.Lines not in possession	0.000
3. Area Proposed for development (out of 1+2)	17900.000
4.Deductions for	-
(a) Proposed D.P., D.P. Road widening Area, Service Road / Highway widening	770.000
(b) city D.P. Reservation area	4098.000
(c) Green Belt	0.000
Total (a+b+c)	4868.000
5.Balance area of plot (3-4)	13031.000
6. unusity space	0.000
(applicable if (1) > 20000 sqm	-
Required-(a) Upto 20000 sqm - Nil	-
(b) above 20000 sqm - (a) + 5% of Total area	0.000
7.Net Plot area (5-6)	13031.000
8. Recreational Open Space	-
(a) If area (3) is more than 4000 sqm - 10 % of (3) is required	1106.100
Proposed	1721.480
(b) If area is less than 4000 sqm -Check -	-
(i) If this full number line 1.2.10(c) of Rules, as per 7.10 abstract or City Survey Number - No Recreational open space is required	-
(ii) If this subdivision line 10.2(f), 10(f) of the earlier recreational open space is required	-
(iii) 10 % Subject to minimum 200 sqm	0.000
Proposed	1721.480
(a) Exemption to leave open space subject to existing basic F.S.I. of 10 %	-
(b) Exemption to leave open space subject to payment of 10 % land value of land as (7) as per annual statement of rate.	-
Architect/ Licensed Engineer/ Supervisor name and signature	
Registration No. of Architect/ License no. of Licensed Engineer/ Supervisor: CA/2018/126600	

PROJECT NAME & PURPOSE: RESIDENTIAL UP THROUGH 7TH
DIRECTOR: SOHAL BHATIA, MONISH KUMAR BHATIA, BITHAL GANDHI, JATIN BHATIA, SUDHAKAR
Plotted Scheme - Plot No.2001, Regional Centre Type
Building, Bldg
Survey No.pt, Thane, Manapada 412 308, Kolshet, Kolshet, Maharashtra
COURSE:
DESCRIPTION OF PROJECT :
Typical Proposal - Vision
BUILDING ON CTS. NO. SURVEY NO.-55
SITE ADDRESS
S.NO.55 (NO.1 & NO.7), KOLSHEWADI, DIST. THANE.

NAME	DESIGNATION OF OFFICER
	OFFICE: 6TH FLOOR, VASTUSHILP BUILDING, BEHIND LOKMANYA NAGAR BUS DEPOT, OPP. NURSING SCHOOL, BHIVANDI (MUNICIPAL CORPORATION)

OWNER'S SIGN :
TECHNICAL PERSON SIGN
TO WHOM MAY CONCERN
NAME
SIGN
SCALE :
DATE : 10/03/22
JOB NO.-10/0000-0000-101
DRAWN BY :-
SUBMISSION DRAWING

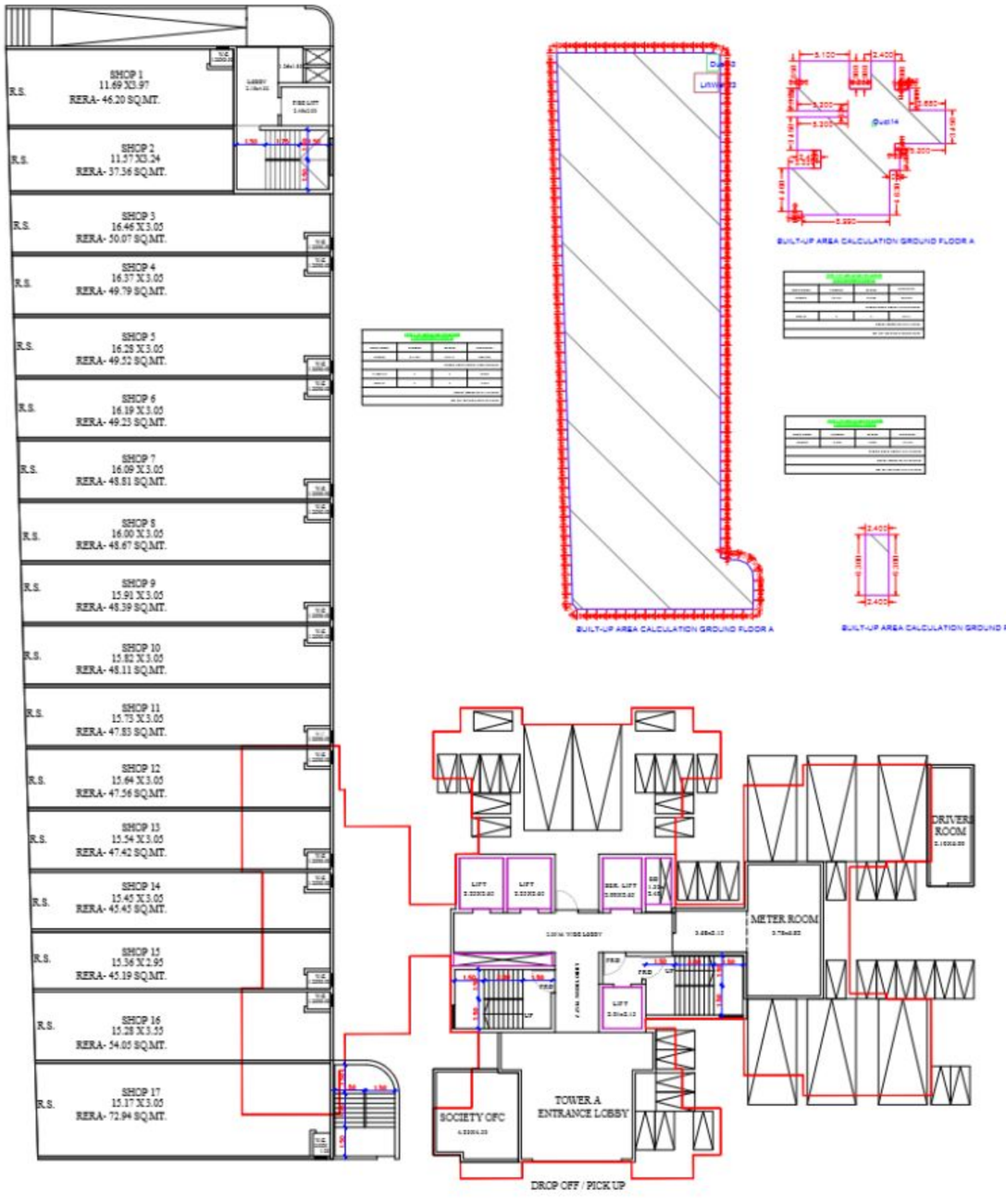

GROUND FLOOR PLAN (A)

SCALE:-1:100

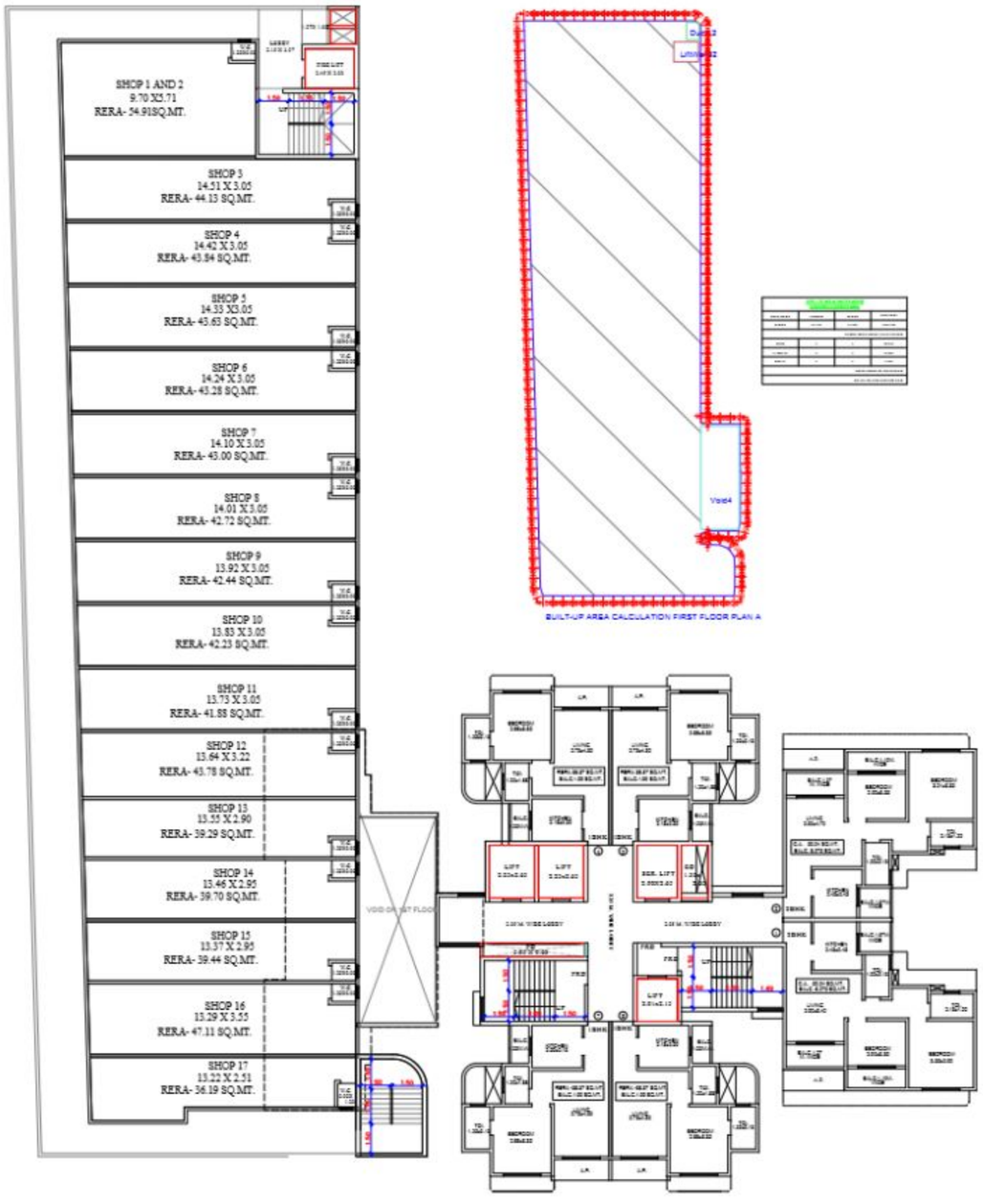

1ST FLOOR PLAN (A)

SCALE:-1:100

BUILT-UP AREA CALCULATION FIRST FLOOR PLAN A

Proforma 1 / Area Statement

1 Area of the plot (Minimum area of a, b, c to be considered)	17900.000
(a) as per ownership document (7/12, CTS extract)	17900.000
(b) as per TLR or City Survey measurement sheet	17900.000
(c) as per Demarcated drawing area	16609.047
Less	-
2 Area not in possession	0.000
3 Area Proposed for development (out of 1+2)	17900.000
4 Deductions for	-
(a) Proposed D.P. / D.P. Road widening Area / Service Road / Highway widening	770.000
(b) city D.P. Reservation area	6038.000
(c) Green belt	0.000
Total (a+b+c)	6808.000
5 Balance area of plot (3-4)	11091.000
6 Unusable area	0.000
(applicable if (1) > 20000 sqm)	-
Required (a) Upto 20000 sqm - Nil	-
(b) above 20000 sqm - (a) + 8% of Total area	0.000
7 Net Plot Area (5-6)	11091.000
8 Recreational Open Space	-
(a) Areas (3) is more than 4000 sqm - 10 % of (3) is required	1109.100
Proposed	1721.480
(b) Areas is less than 4000 sqm -Check -	-
9 If the full number the 1,2,10,11 is as, as per 7/12 abstract or City Survey Number - No Recreational open space is required	-
10 If the subdivision the 12, 2G, 12(1) chain another recreational open space is required	-
(a) 10 % Subject to minimum 200 sqm	0.000
Proposed	1721.480
(b) Exemption to leave open space subject to availing basic F.S.I. of 10 %	-
(C) Exemption to leave open space subject to payment of 10 % land value of land at (7) as per annual statement of rate.	-
Architect Licensed Engineer Supervisor name and signature	
Registration No. of Architect License no. of Licensed Engineer Supervisor	

DESCRIPTION OF PROJECT :

Typical Proposal : Wing

BUILDING ON S.No. 10, SURVEY NO.-10

SITE ADDRESS

S NO.10 (PART), SHILTON, JOGESHWARI (W), DIST. THANE.

NAME	DEGREE OF OFFICE
	OFFICE
	5TH FLOOR, HOTCHAN BUILDING, BEHIND JOGESHWARI RAILWAY STATION BUS DEPOT, OPP. NURSING SCHOOL, SHIVAJI NAGAR, MUMBAI-102.

OWNER'S SIGN : TECHNICAL PERSON SIGN

SCALE :- DATE :-

JOB NO.-10/000-00-01 DRAWING :-

SUBMISSION DRAWING

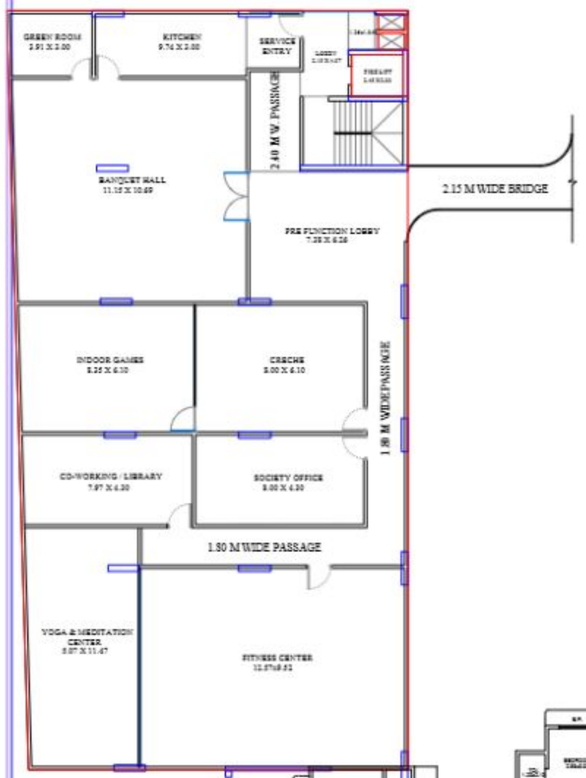

8th,13th,18th,23th,28th floor plan (A)

REFUGE FLOOR PLAN

SCALE:-1:100

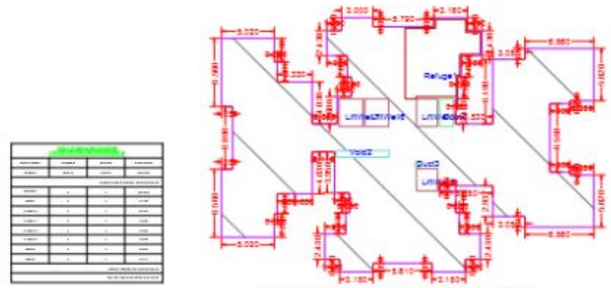

BUILT-UP AREA CALCULATION 8th 13th 18th 23th 28th floor plan A

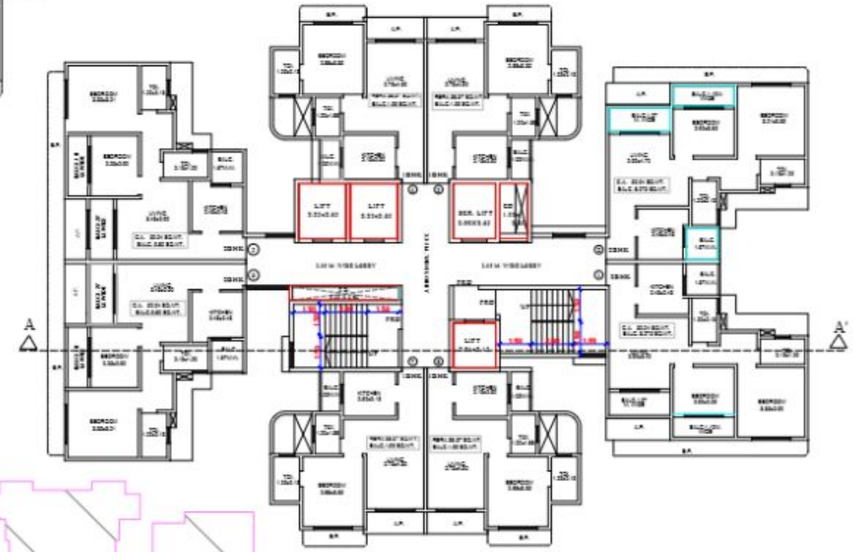

29th FLOOR PLAN (A)

SCALE:-1:100

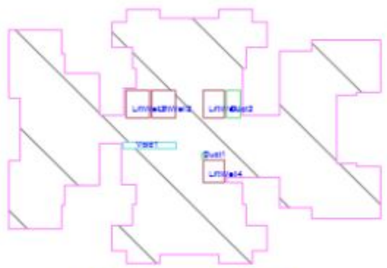

BUILT-UP AREA CALCULATION 29TH FLOOR PLAN A

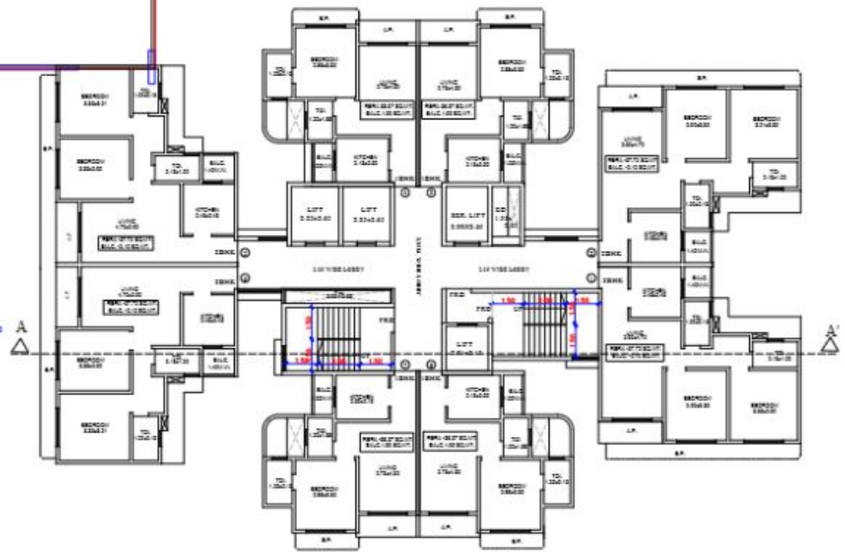

2ND FLOOR PLAN (A)

SCALE:-1:100

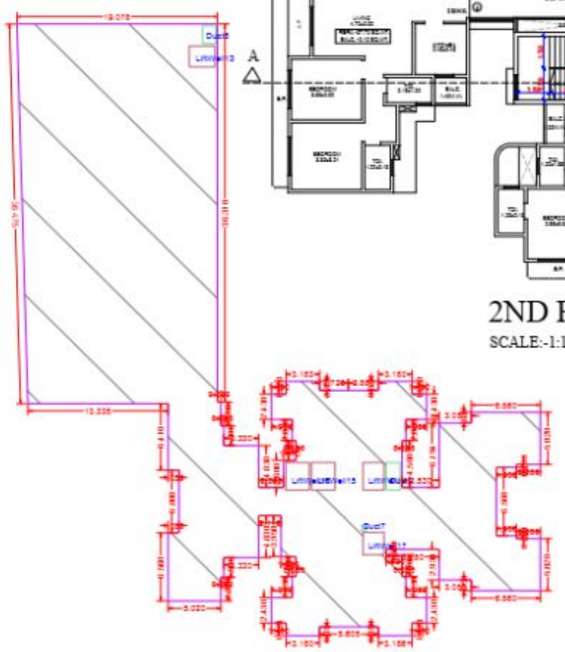

BUILT-UP AREA CALCULATION 2ND FLOOR PLAN A

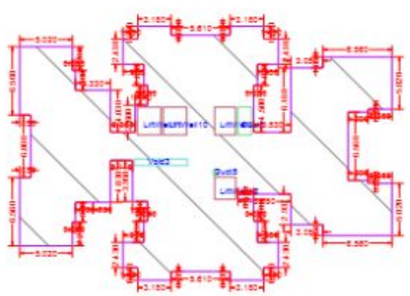

BUILT-UP AREA CALCULATION 3RD TO 7TH 9TH TO 12TH 14TH TO 17TH 19TH TO 22ND AND 24TH TO 27TH A

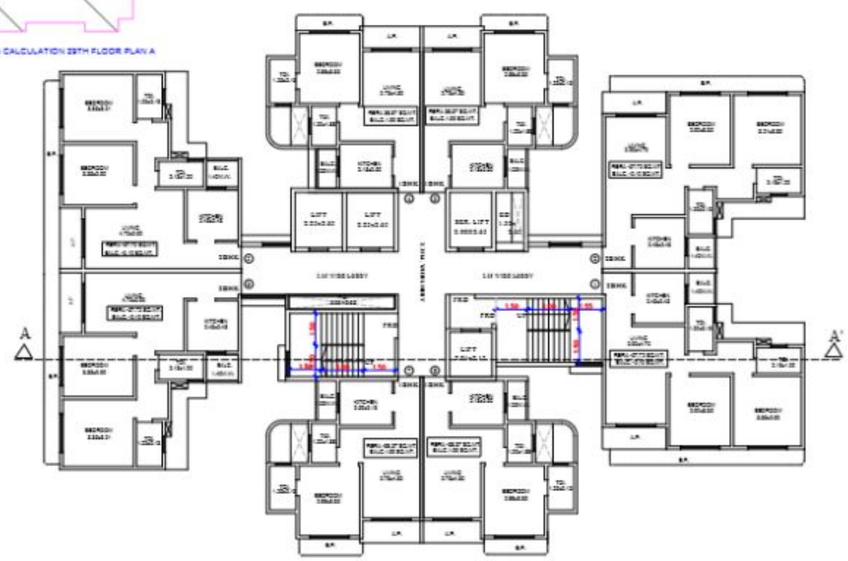

TYPICAL FLOOR PLAN (A)

(3RD TO 7TH,9TH TO 12TH,14TH TO 17TH,19TH TO 22ND,24TH TO 27TH) SCALE:-1:100

Proforma 1 / Area Statement

1. Area of plot (Minimum area of a, b, c as per development plan)	17500.000
(a) as per ownership document (7/12, CTS extract)	17500.000
(b) as per TLR or City Survey measurement sheet	17500.000
(c) as per Demarcated drawing area	16609.017
(d)(i)	-
2. Area not in possession	0.000
3. Area Proposed for development (out of 1+2)	17500.000
4. Deductions for	-
(a) Proposed D.P., D.P. Road widening (Area Service Road / Highway widening	770.000
(b) city D.P. Reservation area	4098.500
(c) Green belt	0.000
Total (a+b+c)	4868.500
5.Balance area of plot (3-4)	11281.500
6. amenity space	0.000
(applicable if (1) > 20000 sqm	-
Required –(a) Upto 20000 sqm – Nil	-
(b) above 20000 sqm – (a) + 2% of Total area	0.000
7. Net Plot area (5-6)	11281.500
8. Recreational Open space	-
(a) Areas (3) is more than 4000 sqm - 10 % of (3) is required	1128.150
Proposed____	1721.480
(b) If area is less than 4000 sqm -Check –	-
i) If it is full number like 1,2,10,5,11 etc. (as per 1.0 standard or City Survey Number) – No Recreational open space is required	-
ii) If it is subdivision like 1/2, 2/3, 12/5 1/2 etc. – Recreational open space is required	-
(c) 10 % subject to minimum 200 sqm	0.000
Proposed____	1721.480
(d) Exemption to leave open space subject to availing basic F.S.I. of 1.5 %	-
(e) Exemption to leave open space subject to payment of 10 % land value of land at (7) as per annual statement of rate.	-
Architect/ Licensed Engineer/ Supervisor name and signature	
Registration no. of architect/ Licensed no. of Licensed Engineer/ Supervisor	

PROPOSED FOR 6TH FLOOR OF OFFICE BUILDING ON PLOT NO. 10 (PART) OF SITE NO. 1 OF VILLAGE MULUND (EAST) TALUKA KURLA DISTRICT MUMBAI SUBURBAN

DESCRIPTION OF PROJECT :

Type of Proposal : Wheel

BUILDING ON CTS. NO. SURVEY NO. 10

SITE ADDRESS

S.NO.2(PART) & S.NO.10(PART) MULUND (EAST), DIST. THANE.

	ADDRESS OF OFFICE OFFICE: 2TH FLOOR VICTORIA BUSINESS BEHIND VIDEOCON SALES BUS DEPOT OPP. KURLA BUS DEPOT, SHIVAJI NAGAR, KURLA (W) (BEST)
OWNERS SIGN :	SIGNATURE OF OWNER
	SCALE : DATE :
	JOB NO.-10/2020-00-101 CHECK BY:-

SUBMISSION DRAWING

1ST FLOOR PLAN (INCLUSIVE HOUSING) (B)

SCALE-1:100

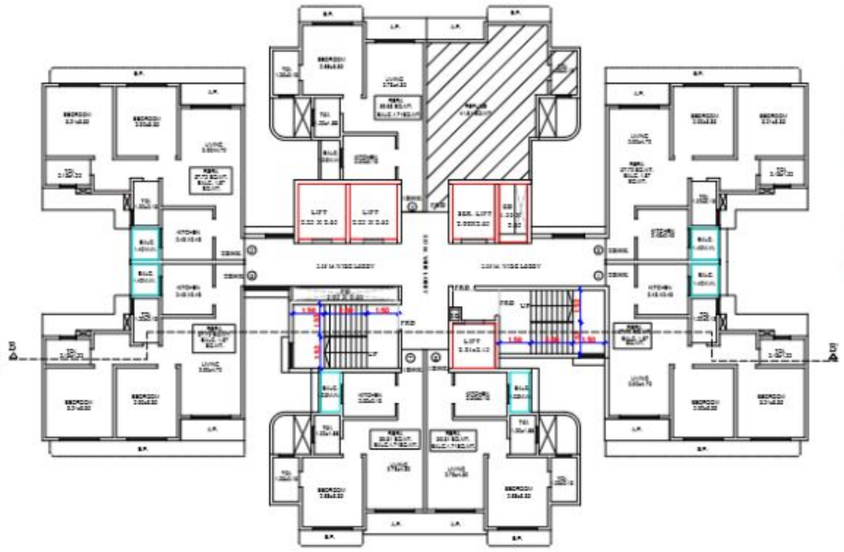

8TH,13TH,18TH,23TH,28TH,33RD FLOOR PLAN(B)

SCALE:-1:100

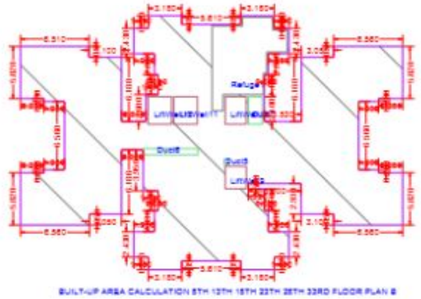

BUILT-UP AREA CALCULATION 8TH 13TH 18TH 23TH 28TH 33RD FLOOR PLAN B

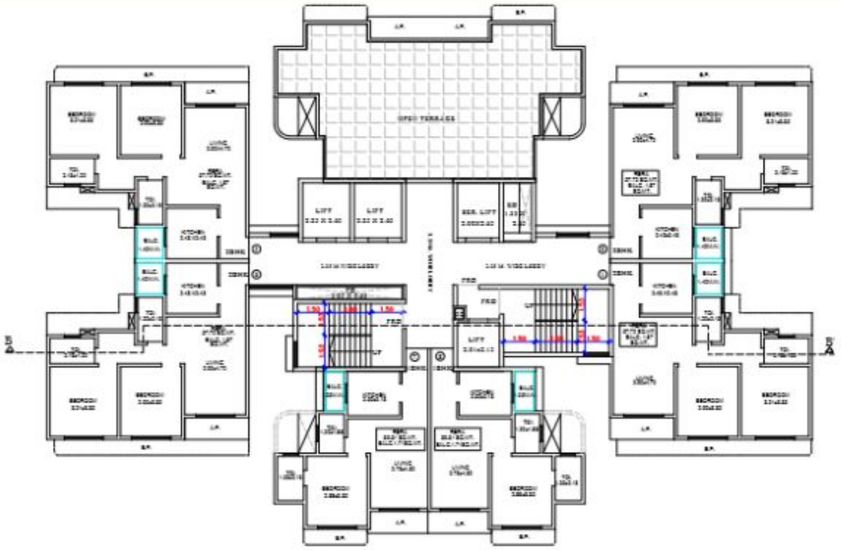

36TH FLOOR PLAN (B) SCALE:-1:100

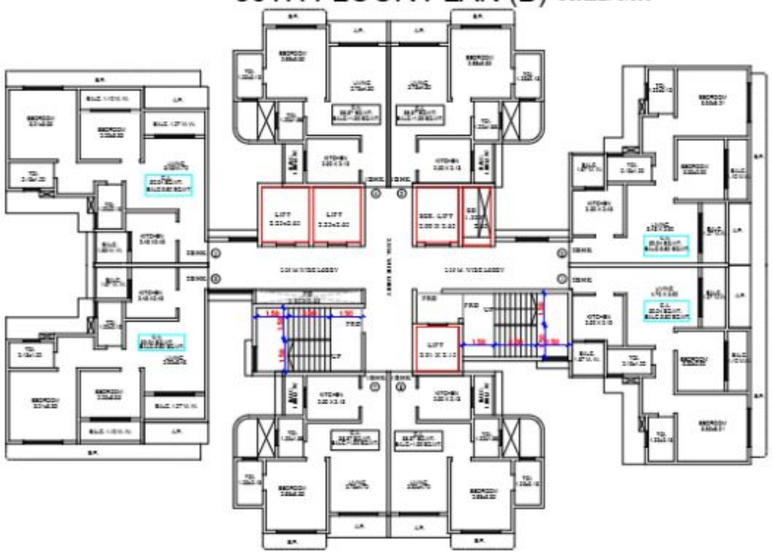

1ST AND 29TH INCLUSIVE (C) SCALE:-1:100

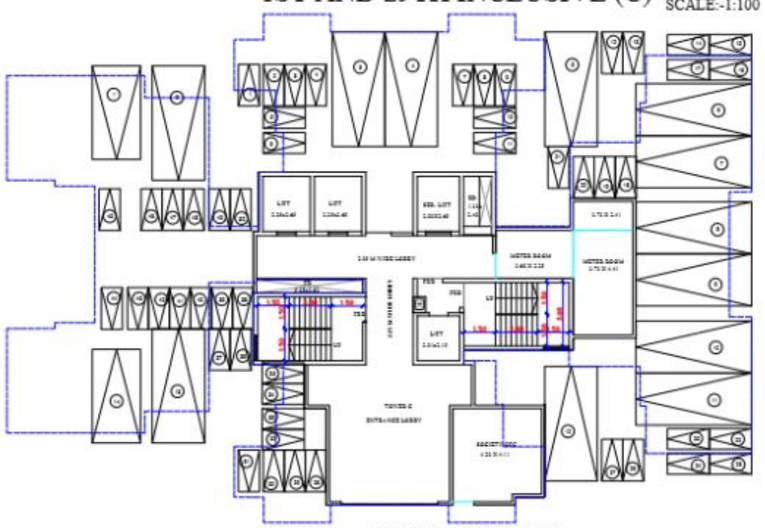

GROUND FLOOR PLAN (C) SCALE:-1:100

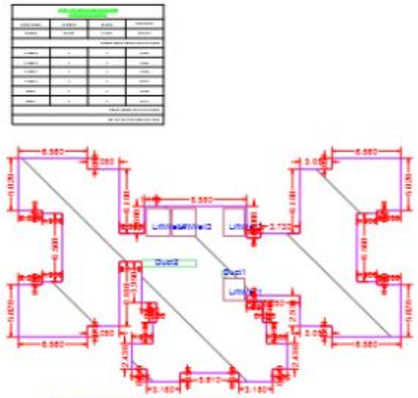

BUILT-UP AREA CALCULATION 26TH FLOOR B

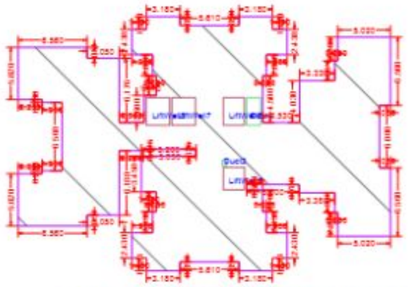

BUILT-UP AREA CALCULATION 2ND TO 7TH 9TH TO 12TH 14TH TO 17TH 19TH TO 22ND 24TH TO27TH C

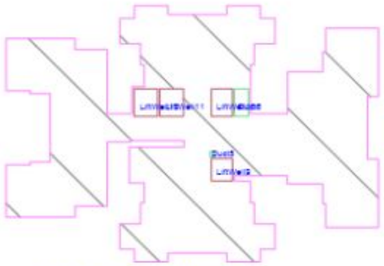

BUILT-UP AREA CALCULATION 1ST AND 29TH C

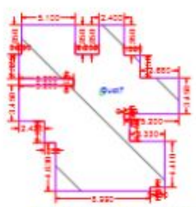

BUILT-UP AREA CALCULATION GROUND FLOOR C

TYPICAL FLOOR PLAN

(2ND TO 7TH,9TH TO 12TH,14TH TO 17TH,19TH TO 22ND,25TH TO 24TH AND 27TH)

8th,13th,18th,23th,28th floor plan (C) SCALE-1:100

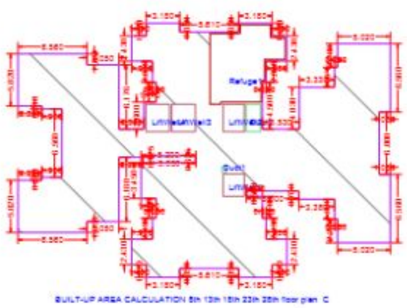

BUILT-UP AREA CALCULATION 8th 13th 18th 23th 28th floor plan C

Proforma 1 : Area Statement	
1. Area of plot (Minimum area of 4.5 acres unless varied)	17800.000
(a) as per ownership document (7/12, CTS extract)	17800.000
(b) as per TLR or City Survey measurement sheet	17800.000
(c) as per Demarcated drawing area	16934.017
Less	-
2.Area not in possession	0.000
3. Area Proposed for development (out of 1+2)	17800.000
4.Deductions for	-
(a) Proposed D.P. / D.P. Road widening (area / Service Road / Highway widening	770.000
(b) only D.P. Reservation area	6028.200
(c) Green Belt	0.000
Total (a+b+c)	6928.200
5.Balance area of plot (3-4)	11061.800
6. amenity space	0.000
(applicable if (1) > 20000 sqmt	-
(Required =(a) Upto 20000 sqmt - Nil	-
(b) above 20000 sqmt - (a) + 5% of Total area	0.000
7. Net Plot Area (5-6)	11061.800
8. Recreational Open Space	-
(a) If area (2) is more than 10000 sqmt - 10 % of (2) is required.	1106.180
Proposed____	1751.480
(b) If area is less than 10000 sqmt -(Check -	-
(1) If it is full number like 1,2,3,4,5 etc. as per 7/12 extract or City Survey Number - No Recreational open space is required	-
(2) If it is subdivision like 1/2, 2/3, 1/2/1 etc.then recreational open space is required.	-
(c) 10 % (subject to minimum 200 sqmt	0.000
Proposed _____	1751.480
(d) Exemption to leave open space subject to availing basic F.S.I. of 1.5 %	-
(e) Exemption to leave open space subject to payment of 10 % land value of land at (7) as per annual statement of rate.	-
Architect/ Licensed Engineer/ Supervisor name and signature	
Registration No. of Architect/ License no. of Licensed Engineer/ Supervisor CC/2018/108690	

DESCRIPTION OF PROJECT :

Type of Proposal : Village

BUILDING SH. ETC. NO. SURVEY NO.-10-10

SITE LOCATED

A NO.SH.NO.S : SHIL TOLI,SEMPALTA , DIST. THANE

AREA STATEMENT TERMS & CONDITIONS

	ADDRESS OF OFFICE
OWNERS SIGN :	OFFICE:- 5TH FLOOR, VIJETHA BUSINESS SERVICE VIDYUT VALLEY BUS DEPOT, OPP. NURSING SCHOOL, BHIVANDI, PIN-421 301 (M.S.)
	TECHNICAL PERSON SIGN
	ELECTRICAL SERVICES

SCALE :-	DATE :-
JOB NO :-	CHECK BY :-

SUBMISSION DRAWING

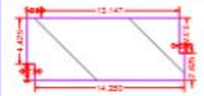

BUILT-UP AREA CALCULATION GROUND FLOOR VILLA 3

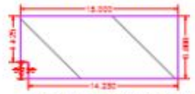

BUILT-UP AREA CALCULATION FIRST FLOOR VILLA 3

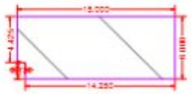

BUILT-UP AREA CALCULATION 2ND FLOOR VILLA 3

BUILT-UP AREA CALCULATION GROUND FLOOR VILLA1

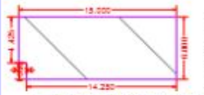

BUILT-UP AREA CALCULATION FIRST FLOOR VILLA1

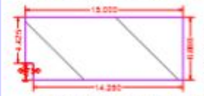

BUILT-UP AREA CALCULATION 2ND FLOOR VILLA1

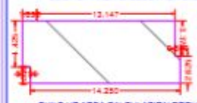

BUILT-UP AREA CALCULATION GROUND FLOOR VILLA 2

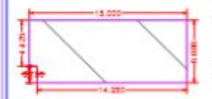

BUILT-UP AREA CALCULATION FIRST FLOOR VILLA 2

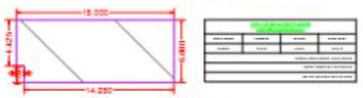

BUILT-UP AREA CALCULATION 2ND FLOOR VILLA 2

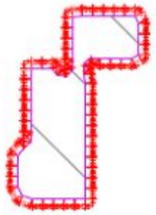

BUILT-UP AREA CALCULATION GROUND FLOOR CLUB HOUSE

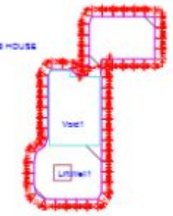

BUILT-UP AREA CALCULATION FIRST FLOOR CLUB HOUSE

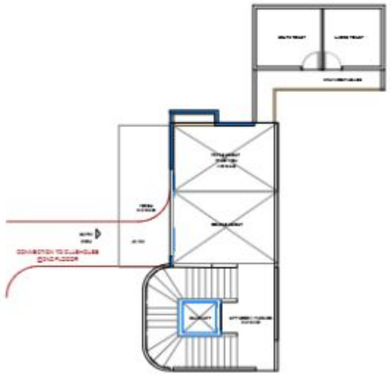

FIRST FLOOR PLAN (CLUB HOUSE)

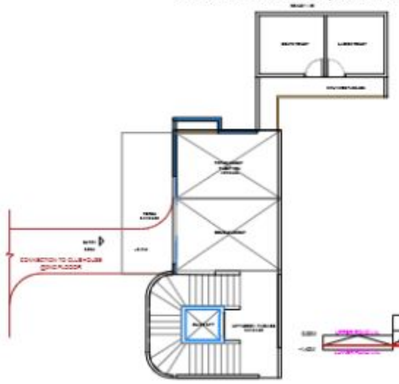

TERRACE FLOOR PLAN



SECTION A-A'

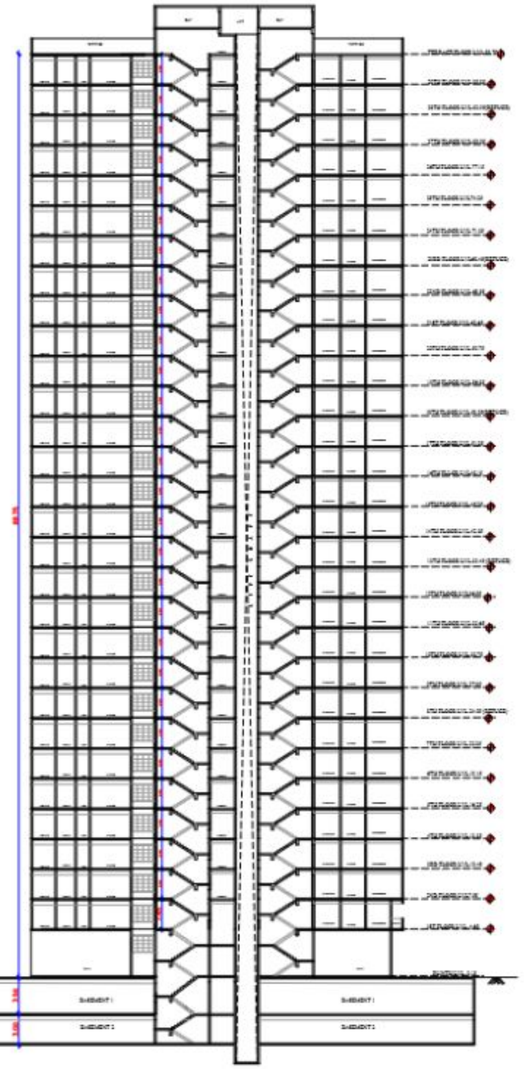

SECTION C-C'

2ND FLOOR PLAN(VILLA 1,2,3)

FIRST FLOOR PLAN (VILLA 1,2,3)

GROUND FLOOR PLAN (VILLA 1,2,3)

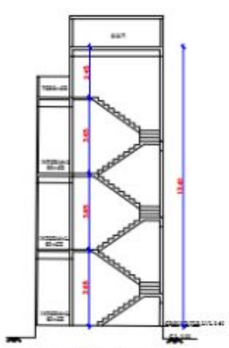

SECTION A-A (VILLA 1,2,3)

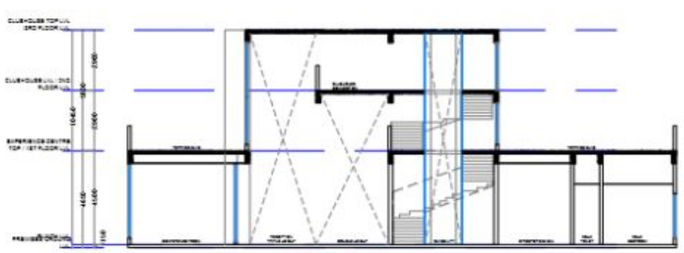

SECTION BB (CLUB HOUSE)

Proforma 1 : Area Statement	
1. Area of plot (Minimum area of S. I. to be considered)	17800.000
(a) as per ownership document (T-12, CTS extract)	17800.000
(b) as per TLR or City Survey measurement sheet	17800.000
(c) as per Demarcated drawing area	16828.047
LESS	-
2.Area not in possession	0.000
3. Area Proposed for development (out of 1+2)	17800.000
4.Deductions for	-
(a) Proposed D.P. / D.P. Road widening Area / Service Road - Highway widening	770.000
(b) Any D.P. Reservation area	6028.000
(c) Green Belt	0.000
Total (a+b+c)	6828.000
5.Balance area of plot (3-4)	11041.000
6. amenity space	0.000
(applicable if (1) > 20000 sqmt	-
(Required -(a) Upto 20000 sqmt - Nil	-
(b) Above 20000 sqmt - (a) + 2% of Total area	0.000
7. Net Plot Area (3-6)	11041.000
8. Recreational Open Space	-
(a) If area (3) is more than 1000 sqmt - 10 % of (3) is required.	1104.100
Proposed____	1751.480
(b) If area is less than 1000 sqmt -Check -	-
1. If it is full number like 1,2,10,4,11 etc. as per T-12 extract or City Survey Number - No Recreational open space is required	-
2. If it is subdivision like 1/2, 2/3 , 12/1 ,11/4 etc.then recreational open space is required.	-
(c) 10 % Subject to minimum 200 sqmt	0.000
Proposed _____	1751.480
(d) Exemption to leave open space subject to availing basic F.S.I. of 1.0 %	-
(C) Exemption to leave open space subject to payment of 10 % land value of land at (1) as per annual statement of rate.	-
(Architect/ Licensed Engineer/ Supervisor name and signature	
Registration No. of Architect/ License no. of Licensed Engineer/ Supervisor: CA/2001/109690	

ARCHITECTURE SUN PURVUS ARCHITECTS LLP THROUGH ITS DIRECTOR SUNIL BACHULI RONITESH KUNDUR SHARUT BATHULI ZENISH JURION BHUSHAN BUDHDEO

Plot/ address: Plot No.CTS - Property Units Type Living, Bldg

Sector Vasant Trans Transport CTS 105,105/1,105/2,105/3,105/4,105/5,105/6 CHEMBUR

DESCRIPTION OF PROJECT :

Type of Project : Class

BUILDING ON CTS. 105 SURVEY 105-55

SITE ADDRESS :

S.NO.56 / H.NO.1 SHIVAJI NAGAR, DIST. THANE

ARCHITECT	ADDRESS OF OFFICE OFFICE:- 5TH FLOOR, HOTSON BUSINESS SERVICE LOBOT VILLAY BUS DEPOT, OPP. NURSING SCHOOL, BHIWANDI, 421302 - 421302
OWNER SIGN :	TECHNICAL PERSON SIGN SURJANI NIRCODE
SCALE :-	DATE : 10/03/22
JOB NO - 1001000-000-101	CHECK BY :-

SUBMISSION DRAWING