**PROPOSED BUILDING ON PLOT BEARING S No. S.NO 105/8/2, 97/1/9, 98/2/5 OF MOUJE -CHIKENGHAR , TAL-KALYAN DIST.-THANE.**

**FOR : USHA Co-Op Hsg. Soc.** S.NO 97/1/9 = 1219.00
**SHRI. RAGHUNATH D. BHOIR** S.NO 105/8/2 = 2324.00
**SHRI. MANGESH D. GAYKAR** S.NO 98/2/5 = 1111.00

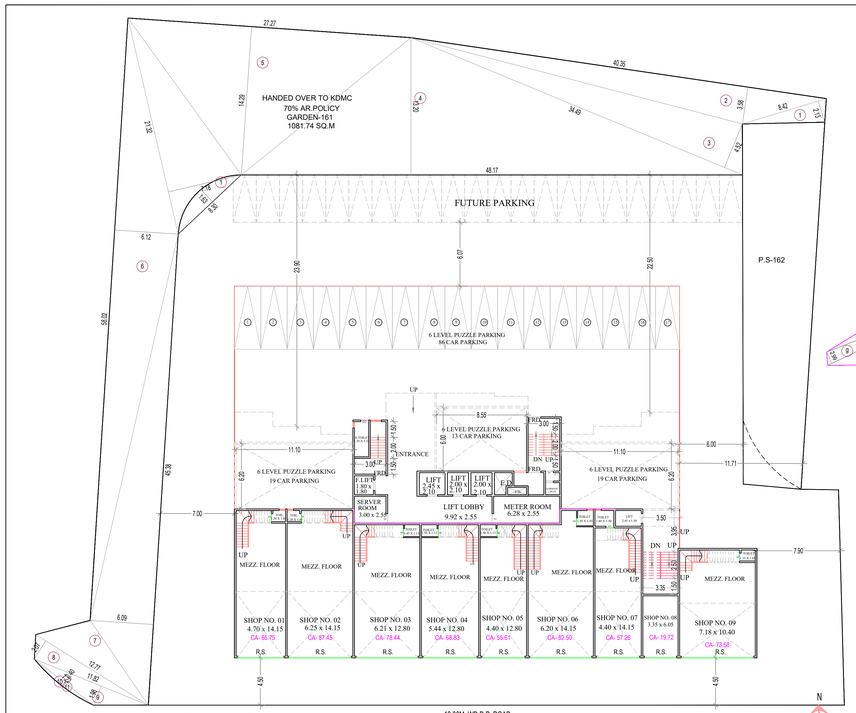


## GROUND FLOOR PLAN
(SCALE-1:200)

CARPET AREA = 989.14

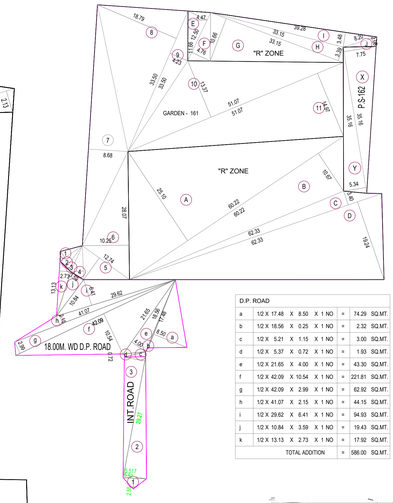


| D.P. ROAD | | | | | | |
|---|---|---|---|---|---|---|
| a | 1/2 X 17.48 | X | 8.50 | X 1 NO | = | 74.29 SQ.MT. |
| b | 1/2 X 18.56 | X | 0.25 | X 1 NO | = | 2.32 SQ.MT. |
| c | 1/2 X 5.21 | X | 1.15 | X 1 NO | = | 3.00 SQ.MT. |
| d | 1/2 X 5.37 | X | 0.72 | X 1 NO | = | 1.93 SQ.MT. |
| e | 1/2 X 21.65 | X | 4.00 | X 1 NO | = | 43.30 SQ.MT. |
| f | 1/2 X 42.09 | X | 10.54 | X 1 NO | = | 221.81 SQ.MT. |
| g | 1/2 X 42.09 | X | 2.99 | X 1 NO | = | 62.92 SQ.MT. |
| h | 1/2 X 41.07 | X | 2.15 | X 1 NO | = | 44.15 SQ.MT. |
| i | 1/2 X 29.62 | X | 6.41 | X 1 NO | = | 94.93 SQ.MT. |
| j | 1/2 X 10.84 | X | 3.59 | X 1 NO | = | 19.43 SQ.MT. |
| k | 1/2 X 13.13 | X | 2.73 | X 1 NO | = | 17.92 SQ.MT. |
| | TOTAL ADDITION | | | | = | 566.00 SQ.MT. |

| GARDEN - 161 | | | | | | |
|---|---|---|---|---|---|---|
| 1 | 1/2 X 5.95 | X | 1.69 | X 1 NO | = | 5.03 SQ.MT. |
| 2 | 1/2 X 5.89 | X | 1.90 | X 1 NO | = | 5.60 SQ.MT. |
| 3 | 1/2 X 6.23 | X | 1.31 | X 1 NO | = | 4.08 SQ.MT. |
| 4 | 1/2 X 7.44 | X | 2.75 | X 1 NO | = | 10.23 SQ.MT. |
| 5 | 1/2 X 12.74 | X | 5.86 | X 1 NO | = | 37.33 SQ.MT. |
| 6 | 1/2 X 28.08 | X | 10.25 | X 1 NO | = | 143.91 SQ.MT. |
| 7 | 1/2 X 52.92 | X | 8.68 | X 1 NO | = | 229.67 SQ.MT. |
| 8 | 1/2 X 33.50 | X | 18.79 | X 1 NO | = | 314.73 SQ.MT. |
| 9 | 1/2 X 33.50 | X | 4.224 | X 1 NO | = | 70.76 SQ.MT. |
| 10 | 1/2 X 51.07 | X | 13.37 | X 1 NO | = | 341.40 SQ.MT. |
| 11 | 1/2 X 51.07 | X | 14.97 | X 1 NO | = | 382.26 SQ.MT. |
| | TOTAL ADDITION | | | | = | 1545.00 SQ.MT. |

| PS-162 | | | | | | |
|---|---|---|---|---|---|---|
| X | 1/2 X 35.16 | X | 7.75 | X 1 NO | = | 136.25 SQ.MT. |
| Y | 1/2 X 35.16 | X | 5.34 | X 1 NO | = | 93.75 SQ.MT. |
| | TOTAL ADDITION | | | | = | 230.00 SQ.MT. |

| "R" ZONE | | | | | | |
|---|---|---|---|---|---|---|
| A | 1/2 X 60.22 | X | 25.10 | X 1 NO | = | 755.76 SQ.MT. |
| B | 1/2 X 60.22 | X | 10.67 | X 1 NO | = | 321.27 SQ.MT. |
| C | 1/2 X 62.33 | X | 3.40 | X 1 NO | = | 105.96 SQ.MT. |
| D | 1/2 X 62.33 | X | 19.24 | X 1 NO | = | 599.61 SQ.MT. |
| E | 1/2 X 11.66 | X | 4.47 | X 1 NO | = | 26.06 SQ.MT. |
| F | 1/2 X 12.50 | X | 4.76 | X 1 NO | = | 29.75 SQ.MT. |
| G | 1/2 X 33.15 | X | 10.66 | X 1 NO | = | 176.52 SQ.MT. |
| H | 1/2 X 33.15 | X | 3.39 | X 1 NO | = | 56.19 SQ.MT. |
| I | 1/2 X 39.28 | X | 3.48 | X 1 NO | = | 68.35 SQ.MT. |
| J | 1/2 X 8.20 | X | 2.08 | X 1 NO | = | 8.53 SQ.MT. |
| | TOTAL ADDITION | | | | = | 2148.00 SQ.MT. |

| INT.ROAD | | | | | | |
|---|---|---|---|---|---|---|
| 1 | 1/2 X 5.57 | X | 2.55 | X 1 NO | = | 7.10 SQ.MT. |
| 2 | 1/2 X 29.27 | X | 5.517 | X 1 NO | = | 80.75 SQ.MT. |
| 3 | 1/2 X 29.27 | X | 4.93 | X 1 NO | = | 72.15 SQ.MT. |
| | TOTAL ADDITION | | | | = | 160.00 SQ.MT. |

| GARDEN-161 70% HANDED OVER TO KDMC | | | | | | |
|---|---|---|---|---|---|---|
| 1 | 1/2 X 8.42 | X | 2.13 | X 1 NO | = | 8.97 SQ.MT. |
| 2 | 1/2 X 40.35 | X | 3.58 | X 1 NO | = | 72.23 SQ.MT. |
| 3 | 1/2 X 34.49 | X | 4.52 | X 1 NO | = | 77.95 SQ.MT. |
| 4 | 1/2 X 48.17 | X | 13.20 | X 1 NO | = | 317.92 SQ.MT. |
| 5 | 1/2 X 27.27 | X | 14.29 | X 1 NO | = | 194.84 SQ.MT. |
| 6 | 1/2 X 58.02 | X | 6.12 | X 1 NO | = | 177.54 SQ.MT. |
| 7 | 1/2 X 45.38 | X | 6.10 | X 1 NO | = | 138.41 SQ.MT. |
| 8 | 1/2 X 12.77 | X | 2.07 | X 1 NO | = | 13.22 SQ.MT. |
| 9 | 1/2 X 11.62 | X | 1.98 | X 1 NO | = | 11.70 SQ.MT. |
| 10 | 1/2 X 21.32 | X | 7.18 | X 1 NO | = | 76.54 SQ.MT. |
| 11 | 1/2 X 7.22 | X | 0.40 | X 1 NO | = | 1.44 SQ.MT. |
| | TOTAL ADDITION | | | | = | 1000.76 SQ.MT. |
| DEDUCTIONS | | | | | | |
| 1 | 2/3 X 8.30 | X | 1.63 | X 1 NO | = | 9.02 SQ.MT. |
| | TOTAL DEDUCTION | | | | = | 9.02 SQ.MT. |
| TOTAL BUILT UP AREA | | | | | = | 1081.74 SQ.MT. |

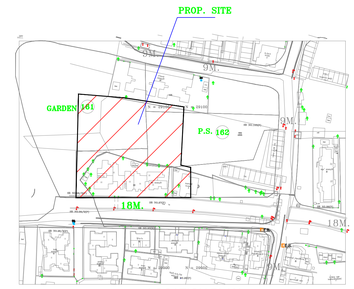


## LOCATION PLAN
(SCALE-N.T.S)

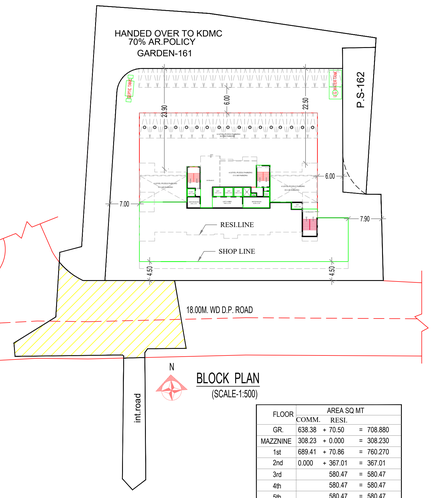


## BLOCK PLAN
(SCALE-1:500)

| FLOOR | AREA SQ MT COMM. | RESI. | | |
|---|---|---|---|---|
| GR. | 638.38 | + 70.50 | = | 708.880 |
| MAZZNINE | 308.23 | + 0.000 | = | 308.230 |
| 1st | 689.41 | + 70.86 | = | 760.270 |
| 2nd | 0.000 | + 367.01 | = | 367.01 |
| 3rd | | 580.47 | = | 580.47 |
| 4th | | 580.47 | = | 580.47 |
| 5th | | 580.47 | = | 580.47 |
| 6th | | 580.47 | = | 580.47 |
| 7th | | 503.08 | = | 503.08 |
| 8th | | 580.47 | = | 580.47 |
| 9th | | 580.47 | = | 580.47 |
| 10th | | 580.47 | = | 580.47 |
| 11th | | 580.47 | = | 580.47 |
| 12th | | 503.08 | = | 503.08 |
| 13th | | 580.47 | = | 580.47 |
| 14th | | 580.47 | = | 580.47 |
| TOTAL | 1636.020 | + 7319.230 | = | 8955.250 |

Form of Statement 2
Proposed Building

| Building No. | Floor No. | Total B-up Area of floor as per outer construction Line |
|---|---|---|
| 1 | 2 | 3 |
| BLDG-1 | Gr (p),MEZZANINE,1st, 2nd AMENITY 3rd FLR +14th FLR | 8955.250 |

Form of Statement 3
Area details of Apartment

| Building No. | Floor No. | Apartment No. | Carpet area of apartment | Area of Bal. attached to Apart. | Area of Double height terraces attached to flat. |
|---|---|---|---|---|---|
| 1 | 2 | 3 | 4 | 5 | 6 |
| BLDG-1 | Gr (p),MEZZANINE,1st, 2nd AMENITY 3rd FLR +14th FLR | SHOP = 09 NOS. OFFICE = 08 NOS. RESI. = 70 NOS. | SHOPS - 848.63 OFFICE - 506.95 RESI. - 5109.48 | COMM - NIL OFFICE - 54.27 RESI. - 613.92 | NIL |

| AREA SUMMARY | | | | | | |
|---|---|---|---|---|---|---|
| Building No. | Floor No. | P-Line Area | | Gross Area | | Height |
| | | COMM. | RESI. | COMM. | RESI. | |
| 1 | 2 | | | | | |
| BLDG-1 | Gr (p),MEZZANINE,1st, 2nd AMENITY 3rd FLR +14th FLR | 1636.02 | 7319.230 | 2012.28 | 8856.26 | 49.95 |

| AREA STATEMENT | | | |
|---|---|---|---|
| 1. | Area of plot 7/12 ABSTRACT S.NO 105/8/2 = 2324.00 S.NO 97/1/9 = 1219.00 S.NO 98/2/5 = 1111.00 (Minimum area of a, b, c to be considered) | | 4654.00 |
| (a) | As per ownership document s.no 98/2/5 area as per 7/12 extract 1111.00 sq.m. out of then 951.00 sq.m. is considered S.NO 105/8/2= 2324.00 S.NO 97/1/9 = 1219.00 | | 4494.00 |
| (b) | as per measurement sheet | | |
| (c) | as per site | | |
| 2. | Deductions for | | |
| (a) | Proposed 18 M. D.P. Road widening Area | | 586.00 |
| (b) | Any D.P. Reservation area | PS-162 (Rotain) = 230.00 GREDEN-161 = 1545.00 70 % OF 1530.00 = 1071.00 30 % OF 1530.00 = 459.00 | 1545.00 |
| | (Total a+b) | | 2131.00 |
| 3. | BALANCE AREA OF PLOT (1-2) | | 1545.00 |
| 4. | Amenity Space (if applicable) | | -- |
| (a) | Required - | | -- |
| (b) | Adjustment of 2(b), if any - | | |
| (c) | Balance Proposed - | | |
| 5. | Net Plot Area [3-4(c)] | | 3676.00 |
| 6. | Recreational Open space (if applicable) | | -- |
| (a) | Required - | | -- |
| (b) | Proposed - | | -- |
| 7. | Internal Road area | | -- |
| 8. | Plotable area (if applicable) | | -- |
| 9. | Built up area with reference to Basic F.S.I. as per front road width (Sr. No. 5 x basic FSI) 3676.00 x 1.10 | | 4043.60 |
| 10. | Addition of FSI on payment of premium | | |
| (a) | Maximum permissible premium FSI - based on road width / TOD Zone | | |
| (b) | Proposed FSI on payment of premium 4264.00 x 50% | | -- |
| 11. | In-situ FSI / TDR loading | | |
| (a) | In-situ area against D.P. road [2.10 x Sr. No. 2 (a)] 586.00 x 2.00 | | 1172.00 |
| (b) | In-situ area against Amenity Space if handed over [2.00 or 1.85 x Sr. No. 4 (b) and / or (c)] | | |
| (c) | TDR area 4264.00 x 90% 3837.60 - 1172.00 = 2665.60 | | -- |
| (d) | Total in-situ / TDR loading proposed [11 (a) + (b) + (c)] | | 1172.00 |
| 12. | Additional FSI area under Chapter No. 7 32 TENENTS x 15.00 SQ.M | | 480.00 |
| 13. | Total entitlement of FSI in the proposal [9 + 10(b) + 11(d)] or 12 whichever is applicable | | 5695.60 |
| (b) | Ancillary Area FSI upto 60% or 80% with payment of charges 1636.020/1.80 = 908.90 x 80% = 727.12 4786.70 x 60% = 2872.02 | | 3260.00 |
| (c) | Total entitlement (a + b) | | 8955.60 |
| 14. | Maximum utilization limit of F.S.I. (building potential) Permissible as per Road width [(as per Regulation No. 6.1 or 6.2 or 6.3 or 6.4 as applicable) x 1.8 or 1.8] | | |
| 15. | Total Built-up Area in proposal (excluding area at Sr. No. 17 b) | | 8955.60 |
| (a) | Existing Built-up Area | | |
| (b) | Proposed Built-up Area (as per 'P-Line') | | 8955.250 |
| (c) | Total (a + b) | | 8955.250 |
| 16. | F.S.I. Consumed (15/13) (should not be more than serial No. 14 above) | | 0.99 |
| 17. | Area for Inclusive Housing, if any | | |
| (a) | Required (20% of Sr. No. 5) | | |
| (b) | Proposed | | |

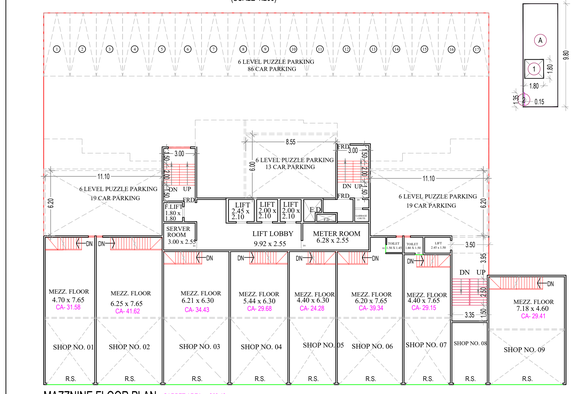


## MAZZNINE FLOOR PLAN
(SCALE-1:200)

CARPET AREA = 259.49

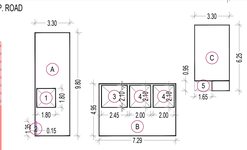

AREA DIAGRAM : GR. FLR
RESI. (SCALE-1:200)

RESI. BUILT UP AREA CALCULATION

| GROUND FLOOR | | | | | | |
|---|---|---|---|---|---|---|
| A | 3.30 | X | 9.80 | X 1 NO | = | 32.34 SQ.MT. |
| B | 7.29 | X | 4.95 | X 1 NO | = | 36.09 SQ.MT. |
| C | 3.30 | X | 6.25 | X 1 NO | = | 20.63 SQ.MT. |
| | TOTAL ADDITION | | | | = | 89.06 SQ.MT. |
| DEDUCTIONS | | | | | | |
| 1 | 1.80 | X | 1.80 | X 1 NO | = | 3.24 SQ.MT. |
| 2 | 0.15 | X | 1.35 | X 1 NO | = | 0.20 SQ.MT. |
| 3 | 2.45 | X | 2.10 | X 1 NO | = | 5.15 SQ.MT. |
| 4 | 2.00 | X | 2.10 | X 2 NOS | = | 8.40 SQ.MT. |
| 5 | 1.65 | X | 0.95 | X 1 NO | = | 1.57 SQ.MT. |
| | TOTAL DEDUCTION | | | | = | 18.56 SQ.MT. |
| TOTAL BUILT UP AREA | | | | | = | 70.50 SQ.MT. |

COMM. BUILT UP AREA CALCULATION

| GROUND FLOOR | | | | | | |
|---|---|---|---|---|---|---|
| A | 49.63 | X | 14.15 | X 1 NO | = | 702.26 SQ.MT. |
| | TOTAL ADDITION | | | | = | 702.26 SQ.MT. |
| DEDUCTIONS | | | | | | |
| 1 | 19.50 | X | 1.35 | X 1 NO | = | 26.33 SQ.MT. |
| 2 | 13.43 | X | 1.65 | X 1 NO | = | 22.16 SQ.MT. |
| 3 | 7.33 | X | 2.10 | X 1 NO | = | 15.39 SQ.MT. |
| | TOTAL DEDUCTION | | | | = | 63.88 SQ.MT. |
| TOTAL BUILT UP AREA | | | | | = | 638.38 SQ.MT. |

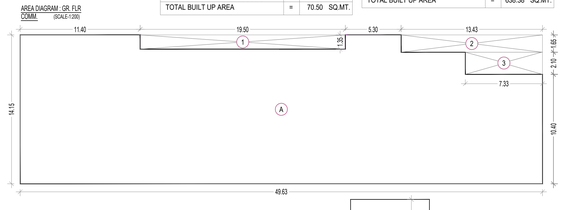

AREA DIAGRAM : GR. FLR
COMM. (SCALE-1:200)

AREA DIAGRAM : MAZZNINE. FLR
COMM. (SCALE-1:200)

COMM. BUILT UP AREA CALCULATION

| MAZZNINE FLOOR | | | | | | |
|---|---|---|---|---|---|---|
| A | 38.80 | X | 7.75 | X 1 NO | = | 300.70 SQ.MT. |
| B | 7.48 | X | 5.10 | X 1 NO | = | 38.15 SQ.MT. |
| | TOTAL ADDITION | | | | = | 338.85 SQ.MT. |
| DEDUCTIONS | | | | | | |
| 1 | 19.50 | X | 1.35 | X 1 NO | = | 26.33 SQ.MT. |
| 2 | 2.60 | X | 1.65 | X 1 NO | = | 4.29 SQ.MT. |
| | TOTAL DEDUCTION | | | | = | 30.62 SQ.MT. |
| TOTAL BUILT UP AREA | | | | | = | 308.23 SQ.MT. |

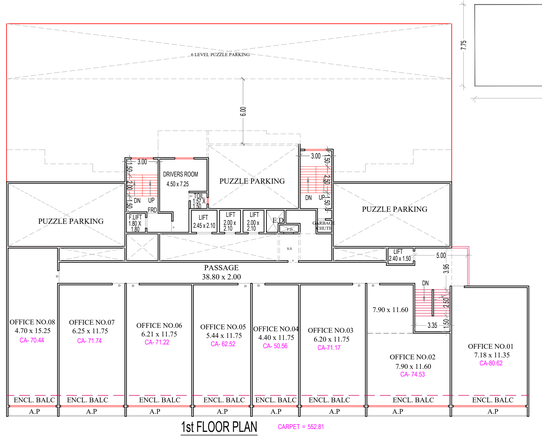


## 1st FLOOR PLAN
CARPET = 552.81

AREA DIAGRAM : 1st. FLR
COMM. (SCALE-1:200)

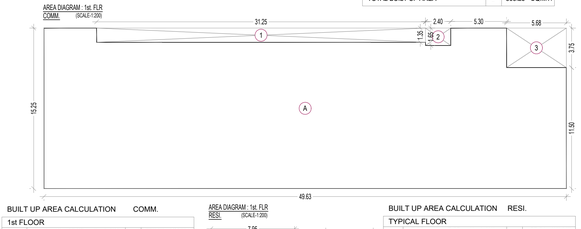

BUILT UP AREA CALCULATION COMM.

| 1st FLOOR | | | | | | |
|---|---|---|---|---|---|---|
| A | 49.63 | X | 15.25 | X 1 NO | = | 756.86 SQ.MT. |
| | TOTAL ADDITION | | | | = | 756.86 SQ.MT. |
| DEDUCTIONS | | | | | | |
| 1 | 31.25 | X | 1.35 | X 1 NO | = | 42.19 SQ.MT. |
| 2 | 2.40 | X | 1.65 | X 1 NO | = | 3.96 SQ.MT. |
| 3 | 5.68 | X | 3.75 | X 1 NO | = | 21.30 SQ.MT. |
| | TOTAL DEDUCTION | | | | = | 67.45 SQ.MT. |
| TOTAL BUILT UP AREA | | | | | = | 689.41 SQ.MT. |

AREA DIAGRAM : 1st. FLR
RESI. (SCALE-1:200)

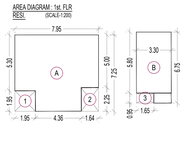

BUILT UP AREA CALCULATION RESI.

| TYPICAL FLOOR | | | | | | |
|---|---|---|---|---|---|---|
| A | 7.95 | X | 7.25 | X 1 NO | = | 57.64 SQ.MT. |
| B | 3.30 | X | 6.75 | X 1 NO | = | 22.28 SQ.MT. |
| | TOTAL ADDITION | | | | = | 79.92 SQ.MT. |
| DEDUCTIONS | | | | | | |
| 1 | 1.95 | X | 1.95 | X 1 NO | = | 3.80 SQ.MT. |
| 2 | 1.64 | X | 2.25 | X 1 NO | = | 3.69 SQ.MT. |
| 3 | 1.65 | X | 0.95 | X 1 NO | = | 1.57 SQ.MT. |
| | TOTAL DEDUCTION | | | | = | 9.06 SQ.MT. |
| TOTAL BUILT UP AREA | | | | | = | 70.86 SQ.MT. |

## PARKING AREA STATEMENT

| RESIDENTIAL AREA | REQUIRED NO'S OF PARKING CAR. PARKING | TWO WHEELERS | PROP. FLAT | PROPOSED NO'S OF PARKING CAR. PARKING | TWO WHEELERS |
|---|---|---|---|---|---|
| For every two tenements with each tenement having carpet area less than 30 Sq.m | 0 NO'S | 2 NO'S | NIL | --- | 0.00 |
| For every two tenements with each tenement having carpet area less than 60 Sq.m. but more than 30 sq.m. | 1 NOS | 2 NO'S | 34.00 NOS | 17.00 NOS | 34.00 NOS |
| For every tenement having carpet area equal to or above 60 sq.m. but less than 150 sq.m. | 1 NOS | 1 NO'S | 36.00 NOS | 18.00 NOS | 36.00 NOS |
| visitor parking (5%) | | | | 1.75 NOS | 3.50 NOS |
| TOTAL | | | | | |
| COMMERCIAL AREA | CAR. PARKING | TWO WHEELERS | PROPOSED CARPET AREA | | |
| For every 100 sq.m. carpet area or fraction thereof | 2 NO'S | 6 NO'S | 848.63 | 16.97 NOS | 50.92 NOS |
| For every 200 sq.m. carpet area or fraction thereof | 3 NO'S | 11 NO'S | 506.95 | 7.60 NOS | 27.88 NOS |
| TOTAL PARKING REQUIRED | | | | | |
| TOTAL PARKING PROVIDED | REQD. CARS | | 56.62 NOS | 143.00 NOS | 152.30 NOS CONVERTED 25.38 CARS |
| | CONVERTED CARS | | 25.38 CARS | | |
| | TOTAL REQD. CARS | | 82.00 NOS | | |

## AREA DETAIL OF APARTMENT

| FLOOR NO. | APARTMENT NO. | FLAT.NO. | CARPET AREA OF APARTMENT | AREA OF BALCONY ATTACHED TO APARTMENT |
|---|---|---|---|---|
| 3rd TO 6th, 8th TO 11th 13th & 14th | 60 NOS. | 301 TO 601, 801 TO 1101, 1301 & 1401 | 66.95 SQ.MT. | 9.09 SQ.MT. |
| | | 302 TO 602, 802 TO 1102, 1302 & 1402 | 83.23 SQ.MT. | 9.09 SQ.MT. |
| | | 303 TO 603, 803 TO 1103, 1303 & 1403 | 62.24 SQ.MT. | 4.50 SQ.MT. |
| | | 304 TO 604, 804 TO 1104, 1304 & 1404 | 83.23 SQ.MT. | 9.09 SQ.MT. |
| | | 305 TO 605, 805 TO 1105, 1305 & 1405 | 66.95 SQ.MT. | 9.09 SQ.MT. |
| | | 306 TO 606, 806 TO 1106, 1306 & 1406 | 62.14 SQ.MT. | 8.34 SQ.MT. |
| 7th & 12th | 10 NOS. | 702 & 1202 | 83.23 SQ.MT. | 9.09 SQ.MT. |
| | | 703 & 1203 | 62.24 SQ.MT. | 4.50 SQ.MT. |
| | | 704 & 1204 | 83.23 SQ.MT. | 9.09 SQ.MT. |
| | | 705 & 1205 | 66.95 SQ.MT. | 9.09 SQ.MT. |
| | | 706 & 1206 | 62.14 SQ.MT. | 8.34 SQ.MT. |

NOTES:
PLOT LINES - THICK BLACK
PROPOSED WORK - PINK
DRAINAGE AND SEWERAGE WORK - RED DOTTED
FUTURE STREET - GREEN DOTTED
ROAD AND SET BACK - BURNT SIENNA
RECREATION GROUND - GREEN WASH
WORK PROPOSED TO BE DEMOLISHED - YELLOW
ALL EXT. & INTERNAL WALLS ARE 0.15/ 0.23 M THK RESP.

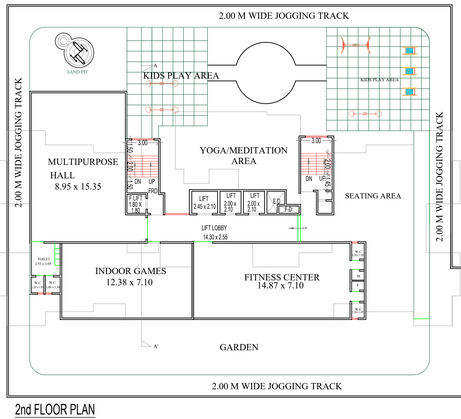


## 2nd FLOOR PLAN
(SCALE-1:200)

SCHEDULE OF DOORS & WINDOWS

| TYPE | SIZE | AREA | REMARKS |
|---|---|---|---|
| RS | 2.10 X 2.40 | 5.04 | ROLLING SHUTTER |
| D | 0.99 X 2.13 | 2.11 | T.W. PANNELLED DOOR |
| D1 | 0.91 X 2.13 | 1.94 | T.W. PANNELLED DOOR |
| D2 | 0.76 X 1.98 | 1.50 | T.W. PANNELLED DOOR |
| W | 1.80 X 1.20 | 2.16 | T.W. GLAZED WINDOW |
| W1 | 1.50 X 1.20 | 1.80 | T.W. GLAZED WINDOW |
| W2 | 1.20 X 1.00 | 1.20 | T.W. GLAZED WINDOW |
| v | 0.61 X 0.90 | 0.55 | T.W. LOUVERS WINDOW |

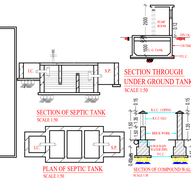


THE PLANS PREPARED BY ME ARE IN ACCORDANCE WITH THE NORMS AS SPECIFIED BY INDIAN STANDARD INSTITUTE & I WILL BE HELD RESPONSOBLE FOR ANY HARM CAUSED IN EARTHQUAKE DUE TO NEGLIENCE OF THE STANDARDS.

ENGINEER'S SIGNATURE

CERTIFIED THAT THE PLOT UNDER REFERENCE WAS SURVEYED BY ME ON 21-11-2025 AND THE DIMENSIONS OF SIDES ETC. OF PLOT STATED ON PLAN ARE AS MEASURED ON SITE AND THE AREA SO WORKED OUT 4494.00 NOT TALLIES WITH THE AREA STATED IN DOCUMENT OF OWNERSHIP/ T.P. SCHEME RECORDS/ LAND RECORDS DEPARTMENT/CITY SURVEY RECORDS.

SIGNATURE OF OWNER/P.O.A HOLDER — SIGNATURE OF LICENSED ARCHITECT

I/WE UNDERSIGNED HEREBY CONFIRM THAT I/WE WOULD ABIDE BY PLANS APPROVED BY AUTHORITY /COLLECTOR. I/WE WOULD EXECUTE THE STRUCTURE AS PER APPROVED PLANS. ALSO I/WE WOULD EXECUTE THE WORK UNDER SUPERVISION OF PROPER TECHNICAL PERSON SO AS TO ENSURE THE QUALITY AND SAFETY AT THE WORK SITE.

Owner (s) name and signature

Name Of : Owner Sankesh Raghunath Bhoir MS RB CONSTRUCTION THROUGH POA Sankesh Raghunath Bhoir AND Mr Alpesh bhoir

Postal Address : bhoir niwas,datta mandir road,Kalyan,Thane,Maharaashtra-421301

Phone No.- 9922929831

**DESCRIPTION OF PROJECT :**

Type of Proposal : Mixed
BUILDING ON CTS. NO./SURVEY NO.-105

SITE ADDRESS :
PROPOSED BUILDING ON PLOT BEARING S No. S.NO 105/8/2, 97/1/9, 98/2/5 OF MOUJE -CHIKENGHAR , TAL-KALYAN DIST.-THANE.

Name Of Architect : AR.CHANDRAKANT SHANKAR AUTI

**SAGAR ASSOCIATES**
ARCHITECTS, INTERIOR DESIGNERS & PROJECT CONSULTANTS
18, 1st floor , Chandra Bhushan Plaza, Next to ramdev Hotel, kalyan (W) m id - sagarassociates18@outlook.com
CA / 2017 / 86726
License Number

| JOB NO. | DRAW NO | DATE | SCALE | DRAWN BY | CHECKED BY |
|---|---|---|---|---|---|
| A-1004 REV -00 | 01 | 03/03/2025 | AS SHOWN | CAUTI | SAGAR SIR |

OWNERS SIGN - | TECHNICAL PERSON SIGN

LOGO | ADDRESS OF OFFICE
OFFICE
18, 1st Floor Chandra Bhushan Plaza, Next to ramdev hotel, Kalyan (W))

| Proforma I : Area Statement | |
|---|---|
| 1. Area of plot(Minimum area of a, b, c to be considered) or area of subplot with sanctioned layout No. and subplot No. | 4494.000 |
| (a) As per ownership document (7/12, CTS extract) | 4654.000 |
| (b) as per TILR or City Survey measurement sheet | 4654.000 |
| (c) as per Demarcated drawing area | 4849.498 |
| LESS | |
| 2.Area not in possession | 0.000 |
| 3. Area Proposed for development ( out of 1-2 ) | 4494.000 |
| 4.Deductions for( out of 3 ) | |
| (a) Proposed D.P./ D.P. Road widening Area/Proposed DP road, Road under MMC act | 586.000 |
| (b) Any D.P. Reservation area | 0.000 |
| (c) Green Belt | 0.000 |
| (Total a+b+c) | 586.000 |
| 5. Balance area of plot (3-4) | 3908.000 |
| 6. Amenity Space Proposed | 0.000 |
| (Required -(a) Upto 20,000 sqmt - Nil | -- |
| (b) Above 20,000 and more - (a) + 5% of Total area | 0.000 |
| 7. Net Plot Area (5-6 ) | 3908.000 |
| 8.Recreational Open Space ( Not applicable if plots are from sanctioned layout ) | - |
| (a). If area is more than (5) 4000 sqmt - 10 % of (5) is required. | 0.000 |
| Proposed | 0.000 |
| (A)10 % Subject to minimum 200 sqmt( Not applicable if plots are from sanctioned layout or each plot admesuring less than 4000sq.m regularised under gunthewari act ) | 0.000 |
| Proposed | 0.000 |
| (B)Exemption to leave open space subject to payment of 10 % land value of land at ( 7 ) as per annual statement of rate. | - |
| (C)Exemption to leave open space subject to payment of 10 % land value of land at ( 7 ) as per annual statement of rate. | - |
| If (5) > 4000sq.m then Land admesuring 20% of (5) is to be utilised for inclusive housing | 0.000 |
| Proposed Area | 0.000 |

Architect/ Licensed Engineer/ Supervisor name and signature
Registration No. of Architect/ License no. of Licensed Engineer/ Supervisor: CA/2017/86726

Certificate of Area:
Certified that the plot under reference was surveyed by me on_____ and the dimensions of sides etc. of plot stated on plan are as measured on site and the area so worked out tallies with the area stated in document of Ownership/ T.P. Scheme Records/Land Records Department/City Survey records.

Signature
(Name of Architect/ Licensed Engineer/ Supervisor.)

Owner's Declaration -
I/We undersigned hereby confirm that I/We would abide by plans approved by Authority / Collector. I/We would execute the structure as per approved plans. Also I/We would execute the work under supervision of proper technical person so as to ensure the quality and safety at the work site.

SCALE - | DATE: Date: 11/12/25
JOB NO - KDMCC-25-131620 | CHECK BY - zoom

**SUBMISSION DRAWING**

**PROPOSED BUILDING ON PLOT BEARING S No. S.NO 105/8/2, 97/1/9, 98/2/5 OF MOUJE -CHIKENGHAR , TAL-KALYAN DIST.-THANE.**

**FOR : USHA Co-Op Hsg. Soc.** S.NO 97/1/9 = 1219.00
**SHRI. RAGHUNATH D. BHOIR** S.NO 105/8/2 = 2324.00
**SHRI. MANGESH D. GAYKAR** S.NO 98/2/5 = 1111.00

AREA DIAGRAM : 3rd TO 6th, 8th TO 11th, 13th & 14th FLR
RESI. (SCALE-1:200)

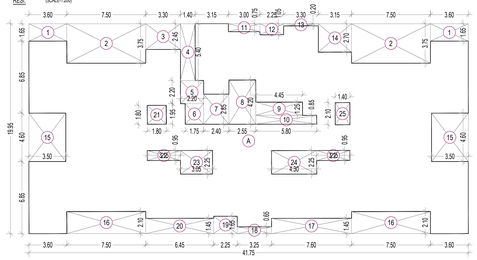

BUILT UP AREA CALCULATION

3rd TO 6th, 8th TO10th TYPICAL FLOOR

| | | | | | | | | |
|---|---|---|---|---|---|---|---|---|
| A | 41.75 | X | 19.95 | X | 1 NO | = | 832.91 | SQ.MT. |
| TOTAL ADDITION | | | | | | = | 832.91 | SQ.MT. |

DEDUCTIONS

| | | | | | | | | |
|---|---|---|---|---|---|---|---|---|
| 1 | 3.60 | X | 1.65 | X | 2 NOS | = | 11.88 | SQ.MT. |
| 2 | 7.50 | X | 3.75 | X | 2 NOS | = | 56.25 | SQ.MT. |
| 3 | 3.30 | X | 2.45 | X | 1 NO | = | 8.09 | SQ.MT. |
| 4 | 1.40 | X | 5.40 | X | 1 NO | = | 7.56 | SQ.MT. |
| 5 | 2.20 | X | 2.20 | X | 1 NO | = | 4.84 | SQ.MT. |
| 6 | 1.75 | X | 1.95 | X | 1 NO | = | 3.41 | SQ.MT. |
| 7 | 2.40 | X | 2.85 | X | 1 NO | = | 6.84 | SQ.MT. |
| 8 | 2.55 | X | 4.20 | X | 1 NO | = | 10.71 | SQ.MT. |
| 9 | 4.45 | X | 1.25 | X | 1 NO | = | 5.56 | SQ.MT. |
| 10 | 5.80 | X | 0.85 | X | 1 NO | = | 4.93 | SQ.MT. |
| 11 | 3.00 | X | 0.75 | X | 1 NO | = | 2.25 | SQ.MT. |
| 12 | 2.25 | X | 1.05 | X | 1 NO | = | 2.36 | SQ.MT. |
| 13 | 3.30 | X | 0.20 | X | 1 NO | = | 0.66 | SQ.MT. |
| 14 | 3.15 | X | 2.70 | X | 1 NO | = | 8.51 | SQ.MT. |
| 15 | 3.50 | X | 4.60 | X | 2 NOS | = | 32.20 | SQ.MT. |
| 16 | 7.50 | X | 2.10 | X | 2 NOS | = | 31.50 | SQ.MT. |
| 17 | 7.60 | X | 1.45 | X | 1 NO | = | 11.02 | SQ.MT. |
| 18 | 3.25 | X | 0.65 | X | 1 NO | = | 2.11 | SQ.MT. |
| 19 | 2.25 | X | 1.65 | X | 1 NO | = | 3.71 | SQ.MT. |
| 20 | 6.45 | X | 1.45 | X | 1 NO | = | 9.35 | SQ.MT. |
| 21 | 1.80 | X | 1.80 | X | 1 NO | = | 3.24 | SQ.MT. |
| 22 | 3.15 | X | 0.95 | X | 2 NOS | = | 5.99 | SQ.MT. |
| 23 | 3.05 | X | 2.25 | X | 1 NO | = | 6.86 | SQ.MT. |
| 24 | 4.30 | X | 2.25 | X | 1 NO | = | 9.67 | SQ.MT. |
| 25 | 1.40 | X | 2.10 | X | 1 NO | = | 2.94 | SQ.MT. |
| TOTAL DEDUCTION | | | | | | = | 252.44 | SQ.MT. |
| TOTAL BUILT UP AREA | | | | | | = | 580.47 | SQ.MT. |

BUILT UP AREA CALCULATION

7th & 12th FLR

| | | | | | | | | |
|---|---|---|---|---|---|---|---|---|
| A | 41.75 | X | 19.95 | X | 1 NO | = | 832.91 | SQ.MT. |
| TOTAL ADDITION | | | | | | = | 832.91 | SQ.MT. |

DEDUCTIONS

| | | | | | | | | |
|---|---|---|---|---|---|---|---|---|
| 1 | 3.60 | X | 1.65 | X | 1 NO | = | 5.94 | SQ.MT. |
| 2 | 7.50 | X | 3.75 | X | 1 NO | = | 28.13 | SQ.MT. |
| 3 | 3.30 | X | 2.45 | X | 1 NO | = | 8.09 | SQ.MT. |
| 4 | 1.40 | X | 5.40 | X | 1 NO | = | 7.56 | SQ.MT. |
| 5 | 2.20 | X | 2.20 | X | 1 NO | = | 4.84 | SQ.MT. |
| 6 | 1.75 | X | 1.95 | X | 1 NO | = | 3.41 | SQ.MT. |
| 7 | 2.40 | X | 2.85 | X | 1 NO | = | 6.84 | SQ.MT. |
| 8 | 2.55 | X | 4.20 | X | 1 NO | = | 10.71 | SQ.MT. |
| 9 | 4.45 | X | 1.25 | X | 1 NO | = | 5.56 | SQ.MT. |
| 10 | 5.80 | X | 0.85 | X | 1 NO | = | 4.93 | SQ.MT. |
| 11 | 3.00 | X | 0.75 | X | 1 NO | = | 2.25 | SQ.MT. |
| 12 | 2.25 | X | 1.05 | X | 1 NO | = | 2.36 | SQ.MT. |
| 13 | 3.15 | X | 2.70 | X | 1 NO | = | 8.51 | SQ.MT. |
| 14 | 1.40 | X | 2.10 | X | 1 NO | = | 2.94 | SQ.MT. |
| 15 | 7.60 | X | 10.75 | X | 1 NO | = | 81.70 | SQ.MT. |
| 16 | 3.50 | X | 13.10 | X | 1 NO | = | 45.85 | SQ.MT. |
| 17 | 7.50 | X | 2.10 | X | 2 NOS | = | 31.50 | SQ.MT. |
| 18 | 7.60 | X | 1.45 | X | 1 NO | = | 11.02 | SQ.MT. |
| 19 | 3.25 | X | 0.65 | X | 1 NO | = | 2.11 | SQ.MT. |
| 20 | 2.25 | X | 1.65 | X | 1 NO | = | 3.71 | SQ.MT. |
| 21 | 6.45 | X | 1.45 | X | 1 NO | = | 9.35 | SQ.MT. |
| 22 | 3.50 | X | 4.60 | X | 1 NO | = | 16.10 | SQ.MT. |
| 23 | 1.80 | X | 1.80 | X | 1 NO | = | 3.24 | SQ.MT. |
| 24 | 3.15 | X | 0.95 | X | 2 NOS | = | 5.99 | SQ.MT. |
| 25 | 3.05 | X | 2.25 | X | 1 NO | = | 6.86 | SQ.MT. |
| 26 | 4.30 | X | 2.25 | X | 1 NO | = | 9.67 | SQ.MT. |
| 27 | 3.30 | X | 0.20 | X | 1 NO | = | 0.66 | SQ.MT. |
| TOTAL DEDUCTION | | | | | | = | 329.83 | SQ.MT. |
| TOTAL BUILT UP AREA | | | | | | = | 503.08 | SQ.MT. |

AREA DIAGRAM : 7th & 12th FLR
RESI. (SCALE-1:200)

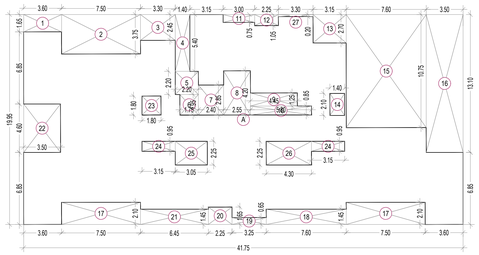

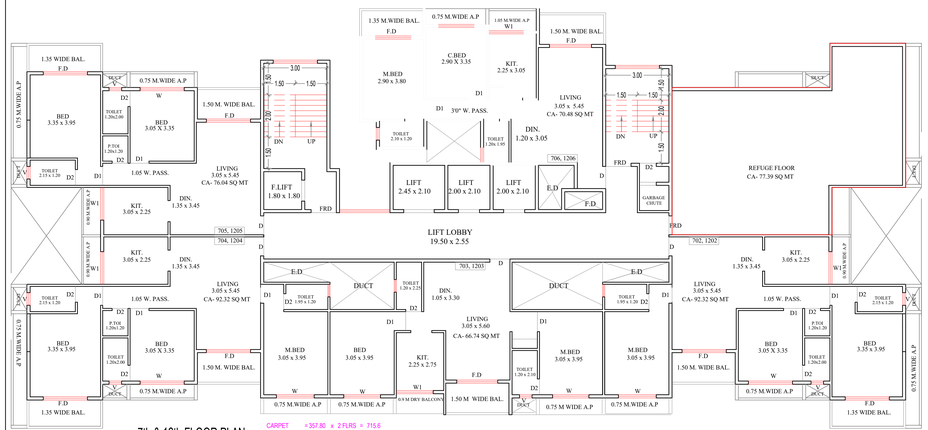


7th & 12th FLOOR PLAN
(SCALE-1:100)

CARPET = 357.80 x 2 FLRS = 715.6
BALC = 40.11 x 2 FLRS = 80.22
30 TO 80.00 = 2 NOS x 2 FLRS = 4.00
80.00 ABOVE = 3 NOS x 2 FLRS = 6.00

3rd TO 6th, 8th TO 11th, 13th & 14th FLOOR PLAN
(SCALE-1:100)

CARPET = 424.75 x 10 FLRS = 4247.50
BALC = 49.20 x 10 FLRS = 492.00
30 TO 80.00 = 3 NOS x 10 FLRS = 30.00
80.00 ABOVE = 3 NOS x 10 FLRS = 30.00

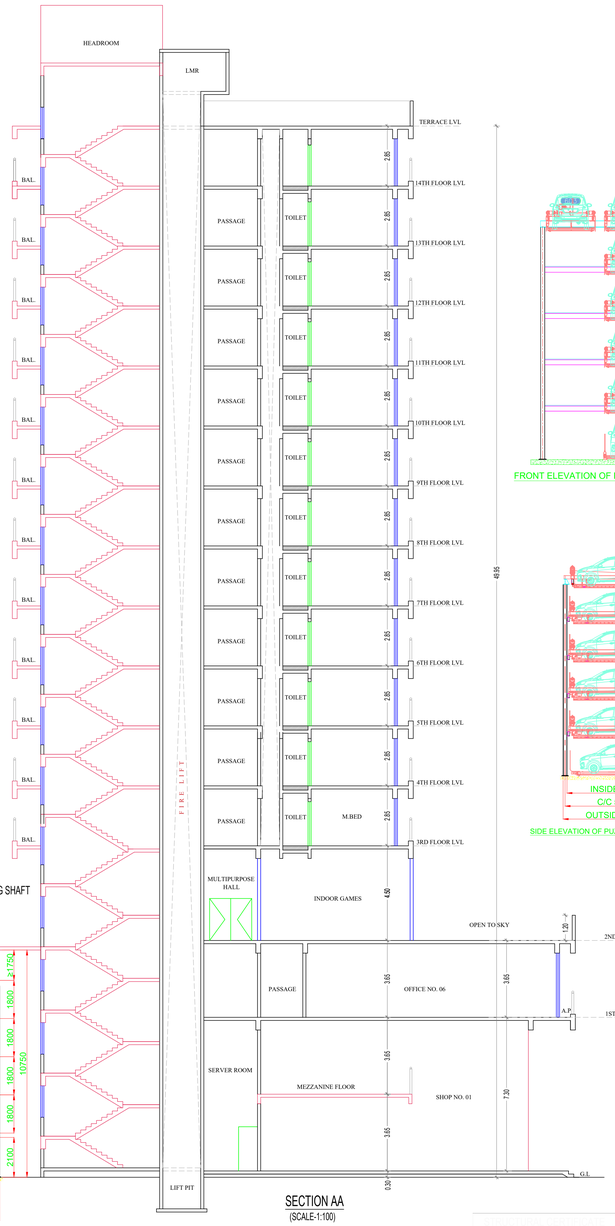


SECTION AA
(SCALE-1:100)




SIDE ELEVATION OF PUZZLE PARKING SYSTEM.

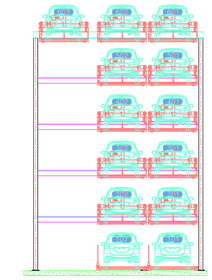

FRONT ELEVATION OF PUZZLE PARKING SYSTEM.

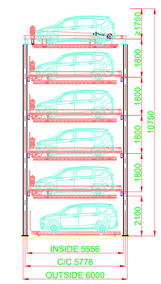


SIDE ELEVATION OF PUZZLE PARKING SYSTEM.

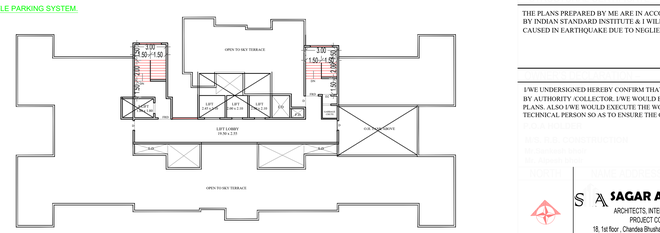


TERRACE FLOOR PLAN
(SCALE-1:200)

THE PLANS PREPARED BY ME ARE IN ACCORDANCE WITH THE NORMS AS SPECIFIED BY INDIAN STANDARD INSTITUTE & I WILL BE HELD RESPONSIBLE FOR ANY HARM CAUSED IN EARTHQUAKE DUE TO NEGLIENCE OF THE STANDARDS.

ENGINEER'S SIGNATURE

I/WE UNDERSIGNED HEREBY CONFIRM THAT I/WE WOULD ABIDE BY PLANS APPROVED BY AUTHORITY /COLLECTOR. I/WE WOULD EXECUTE THE STRUCTURE AS PER APPROVED PLANS. ALSO I/WE WOULD EXECUTE THE WORK UNDER SUPERVISIOR OF PROPER TECHNICAL PERSON SO AS TO ENSURE THE QUALITY AND SAFETY AT THE WORK SITE.

Owner (s) name and signature

Name Of Owner Sankesh Raghunath Bhoir MS RB CONSTRUCTION THROUGH POA Sankesh Raghunath Bhoir AND Mr Alpesh bhoir

Postal Address : bhoir niwas,datta mandir road,Kalyan,Thane,Maharashtra-421301

Phone No.-9920929831

**DESCRIPTION OF PROJECT :**

Type of Proposal : Mixed
BUILDING ON CTS. NO./SURVEY NO.-105

SITE ADDRESS :
PROPOSED BUILDING ON PLOT BEARING S No. S.NO 105/8/2, 97/1/9, 98/2/5 OF MOUJE -CHIKENGHAR , TAL-KALYAN DIST.-THANE.

Name Of Architect : AR.CHANDRAKANT SHANKAR AUTI

| | |
|---|---|
| LOGO | ADDRESS OF OFFICE<br>OFFICE :-<br>18,1st Floor Chandra Bhushan Plaza, Next to ramdev hotel, Kalyan (W)) |
| OWNERS SIGN - | TECHNICAL PERSON SIGN |
| SCALE - | DATE: Date: 11/12/25 |
| JOB NO - KDMCC-25-131620 | CHECK BY - zoom |

**SUBMISSION DRAWING**

**SAGAR ASSOCIATES**
ARCHITECTS, INTERIOR DESIGNERS & PROJECT CONSULTANTS
18, 1st floor , Chandra Bhushan Plaza, Next to ramdev Hotel, kalyan (W) m.cl - sagarassociates18@outlook.com

CA / 2017 / 86726
License Number

| JOB NO. | DRAW NO | DATE | SCALE | DRAWN BY | CHECKED BY |
|---|---|---|---|---|---|
| A-1004 REV -00 | 01 | 03/03/2025 | AS SHOWN | C.AUTI | SAGAR SIR |

| Proforma 1 : Area Statement | |
|---|---|
| 1. Area of plot(Minimum area of a, b, c to be considered) or area of subplot with sanctioned layout No. and subplot No. | 4494.000 |
| (a) As per ownership document (7/12, CTS extract) | 4654.000 |
| (b) as per TILR or City Survey measurement sheet | 4654.000 |
| (c) as per Demarcated drawing area | 4849.498 |
| LESS | |
| 2.Area not in possession | 0.000 |
| 3. Area Proposed for development ( out of 1-2 ) | 4494.000 |
| 4.Deductions for( out of 3 ) | |
| (a) Proposed D.P./ D.P. Road widening Area(Proposed DP road, Road under MMC act | 586.000 |
| (b) Any D.P. Reservation area | 0.000 |
| (c) Green Belt | 0.000 |
| 5.Total a+b+c) | 586.000 |
| 5. Balance area of plot (3-4) | 3908.000 |
| 6. Amenity Space Proposed | 0.000 |
| (Required -(a) Upto 20,000 sqmt - Nil | - |
| (b) Above 20,000 and more - (a) + 5% of Total area | 0.000 |
| 7. Net Plot Area (5-6 ) | 3908.000 |
| 8.Recreational Open Space ( Not applicable if plots are from sanctioned layout ) | - |
| (a). If area is more than (5) 4000 sqmt - 10 % of (5) is required. | 0.000 |
| Proposed | 0.000 |
| (A)10 % Subject to minimum 200 sqmt( Not applicable if plots are from sanctioned layout or each plot admeasuring less than 4000sq.m regularised under gunthewari act ) | 0.000 |
| Proposed | 0.000 |
| (B)Exemption to leave open space subject to availing basic F.S.I of 75 % | - |
| (C)Exemption to leave open space subject to payment of 10 % land value of land at ( 7 ) as per annual statement of rate. | - |
| if (5) > 4000sq.m then Land admesuring 20% of (5) is to be utilised for inclusive housing | 0.000 |
| Proposed Area | 0.000 |

Architect/ Licensed Engineer/ Supervisor name and signature

Registration No. of Architect/ License no. of Licensed Engineer/ Supervisor: CA/2017/86726

Certificate of Area:
Certified that the plot under reference was surveyed by me on_____ and the dimensions of sides etc. of plot stated on plan are as measured on site and the area so worked out tallies with the area stated in document of Ownership/ T.P. Scheme Records/Land Records Department/City Survey records.

Signature
(Name of Architect/ Licensed Engineer/ Supervisor.)

Owner's Declaration -
I/We undersigned hereby confirm that I/We would abide by plans approved by Authority / Collector. I/We would execute the structure as per approved plans. Also I/We would execute the work under supervision of proper technical person so as to ensure the quality and safety at the work site.

| RB AURA | | | | | | | | | | | | | | | | |
|---|---|---|---|---|---|---|---|---|---|---|---|---|---|---|---|---|
| BUILDING | FLOORS | FSI AREA | | | | | | BALCONY | TERRACE | LIFT | LIFTWELL | DUCT | VENT | OTHER | TOTAL |
| | | COMM. | RESI. | IND. | EDU. | INS. | MEZZ. | PROP. | | | | | SHAFT | DEDUCTION | FSI AREA |
| RB AURA | 2ND AMENITY FLOOR | 0.000 | 367.010 | 0.000 | 0.000 | 0.000 | 0.000 | 0.000 | 0.000 | 0.000 | 0.000 | 0.000 | 0.000 | 0.000 | 367.010 |
| RB AURA | 1ST FLOOR | 689.415 | 70.854 | 0.000 | 0.000 | 0.000 | 0.000 | 46.100 | 0.000 | 0.000 | 0.000 | 0.000 | 0.000 | 0.000 | 760.269 |
| RB AURA | MEZZNINE FLOOR | 308.235 | 0.000 | 0.000 | 0.000 | 0.000 | 0.000 | 0.000 | 0.000 | 0.000 | 0.000 | 0.000 | 0.000 | 0.000 | 308.235 |
| RB AURA | GROUND FLOOR | 638.390 | 87.279 | 0.000 | 0.000 | 0.000 | 0.000 | 0.000 | 0.000 | 13.537 | 16.785 | 0.000 | 0.000 | 0.000 | 708.884 |
| RB AURA | 7TH-12TH FLOOR | 0.000 | 1218.320 | 0.000 | 0.000 | 0.000 | 0.000 | 80.222 | 0.000 | 0.000 | 0.000 | 57.404 | 0.000 | 154.770 | 1006.146 |
| RB AURA | TYPICAL 3RD TO 6TH-8TH TO 11TH-13TH-14TH FLOOR | 0.000 | 6091.600 | 0.000 | 0.000 | 0.000 | 0.000 | 402.010 | 0.000 | 0.000 | 0.000 | 287.020 | 0.000 | 0.000 | 5804.580 |
| RB AURA | TOTAL | 1636.040 | 7835.063 | 0.000 | 0.000 | 0.000 | 0.000 | 528.332 | 0.000 | 13.537 | 16.785 | 344.424 | 0.000 | 154.770 | 8955.124 |

| FSI DETAILS | | | | | | | | | |
|---|---|---|---|---|---|---|---|---|---|
| 10 Index | Basic FSI ( on serial no 7) | Premium FSI ( on serial no 3) | TDR/DR (on serial no 3) | Rehab Incentive FSI as per 7.6.2 | Incentive fsi for green building if Applicable ( on basic FSI) | Ancillary Area(60% of 2 + 3+4+5) | Ancillary Area(80% of 2 + 3+4+5) | Total | Drawing Value |
| 10.1 Permissible Index | 1.100 | 0.500 | 0.900 | 50% | 0.000 | 0.000 | 0.000 | 2.500 | 0.000 |
| 10.2 Total Entitlement of FSI as per Reg 7.6.1 & 7.6.2 | 1.100 | 0.500 | 0.900 | - | 0.000 | 0.000 | 0.000 | 2.500 | 0.000 |
| 10.3 FSI Permissible for Redevelopment(Max of 10.1 and 10.2 ) | 1.100 | 0.500 | 0.900 | - | 0.000 | 0.000 | 0.000 | 0.000 | 0.000 |
| 10.4 Existing Consumed Index | 0.000 | 0.500 | 0.900 | 0.000 | 0.000 | 0.000 | 0.000 | 0.000 | - |
| 10.5 Balance Index to be Consumed (10.3 – 10.4) | 1.100 | 0.000 | 0.000 | 0.000 | 0.000 | 0.000 | 0.000 | 0.000 | - |
| 10.6 Total Permissible ( P Line Area ) | 4298.800 | 2247.000 | 4044.600 | 480.000 | 0.000 | 2871.600 | 726.800 | 14668.800 | 0.000 |
| 10.7 Proposed P Line Area ( should not exceed 10.4) | 4043.600 | 0.000 | 1172.000 | 480.000 | 0.000 | 2576.846 | 726.000 | 8998.446 | 8998.446 |
| 10.8 Index Consumed | 1.035 | 0.000 | 0.261 | 0.000 | 0.000 | 0.000 | 0.000 | 1.295 | 0.000 |

| Carpet Area Table | | | | | | | | | |
|---|---|---|---|---|---|---|---|---|---|
| Building Name | Floor Name | Carpet name | Tenement No | Carpet Area | Enclosed Balcony Area | Normal Balcony Area | Mezzanine Area | Total Carpet Area |
| RB AURA | TYPICAL 3RD TO 6TH-8TH TO 11TH-13TH-14TH FLOOR | 301;501;601;701;901 :1001;1101;1201;14 01;1501 | 10 | 66.952 | 0.000 | 4.590 | 0.000 | 66.952 |
| RB AURA | TYPICAL 3RD TO 6TH-8TH TO 11TH-13TH-14TH FLOOR | 302;502;602;702;90 2;1002;1102;1202;1 402;1502 | 10 | 83.234 | 0.000 | 4.500 | 0.000 | 83.234 |
| RB AURA | TYPICAL 3RD TO 6TH-8TH TO 11TH-13TH-14TH FLOOR | 303;503;603;703;90 3;1003;1103;1203;1 403;1503 | 10 | 62.241 | 0.000 | 4.500 | 0.000 | 62.241 |
| RB AURA | TYPICAL 3RD TO 6TH-8TH TO 11TH-13TH-14TH FLOOR | 304;504;604;704;90 4;1004;1104;1204;1 404;1504 | 10 | 83.234 | 0.000 | 0.090 | 0.000 | 83.234 |
| RB AURA | TYPICAL 3RD TO 6TH-8TH TO 11TH-13TH-14TH FLOOR | 305;505;605;705;90 5;1005;1105;1205;1 405;1505 | 10 | 66.952 | 0.000 | 4.590 | 0.000 | 66.952 |
| RB AURA | TYPICAL 3RD TO 6TH-8TH TO 11TH-13TH-14TH FLOOR | 306;506;606;706;90 6;1006;1106;1206;1 406;1506 | 10 | 62.140 | 0.000 | 8.341 | 0.000 | 62.140 |
| RB AURA | 7TH-12TH FLOOR | 702;1302 | 2 | 82.592 | 0.000 | 4.500 | 0.000 | 82.592 |
| RB AURA | 7TH-12TH FLOOR | 703;1303 | 2 | 61.846 | 0.000 | 4.500 | 0.000 | 61.846 |
| RB AURA | 7TH-12TH FLOOR | 704;1304 | 2 | 82.592 | 0.000 | 4.500 | 0.000 | 82.592 |
| RB AURA | 7TH-12TH FLOOR | 705;1305 | 2 | 66.572 | 0.000 | 9.090 | 0.000 | 66.572 |
| RB AURA | 7TH-12TH FLOOR | 706;1306 | 2 | 61.270 | 0.000 | 8.341 | 0.000 | 61.270 |
| RB AURA | 7TH-12TH FLOOR | 702;1302 | 2 | 83.234 | 0.000 | 4.500 | 0.000 | 83.234 |
| RB AURA | 7TH-12TH FLOOR | 703;1303 | 2 | 62.241 | 0.000 | 4.500 | 0.000 | 62.241 |
| RB AURA | 7TH-12TH FLOOR | 704;1304 | 2 | 83.234 | 0.000 | 4.500 | 0.000 | 83.234 |
| RB AURA | 7TH-12TH FLOOR | 705;1305 | 2 | 66.952 | 0.000 | 9.090 | 0.000 | 66.952 |
| RB AURA | 7TH-12TH FLOOR | 706;1306 | 2 | 62.140 | 0.000 | 8.341 | 0.000 | 62.140 |
| RB AURA | GROUND FLOOR | SHOP 1 | 1 | 65.752 | 0.000 | 0.000 | 0.000 | 65.752 |
| RB AURA | GROUND FLOOR | SHOP 2 | 1 | 87.451 | 0.000 | 0.000 | 0.000 | 87.451 |
| RB AURA | GROUND FLOOR | SHOP 3 | 1 | 78.445 | 0.000 | 0.000 | 0.000 | 78.445 |
| RB AURA | GROUND FLOOR | SHOP 4 | 1 | 68.831 | 0.000 | 0.000 | 0.000 | 68.831 |
| RB AURA | GROUND FLOOR | SHOP 5 | 1 | 55.612 | 0.000 | 0.000 | 0.000 | 55.612 |
| RB AURA | GROUND FLOOR | SHOP 6 | 1 | 82.499 | 0.000 | 0.000 | 0.000 | 82.499 |
| RB AURA | GROUND FLOOR | SHOP 7 | 1 | 57.262 | 0.000 | 0.000 | 0.000 | 57.262 |
| RB AURA | GROUND FLOOR | SHOP 8 | 1 | 19.718 | 0.000 | 0.000 | 0.000 | 19.718 |
| RB AURA | GROUND FLOOR | SHOP 9 | 1 | 73.576 | 0.000 | 0.000 | 0.000 | 73.576 |
| RB AURA | MEZZNINE FLOOR | 1 | 1 | 31.579 | 0.000 | 0.000 | 0.000 | 31.579 |
| RB AURA | MEZZNINE FLOOR | 2 | 1 | 41.618 | 0.000 | 0.000 | 0.000 | 41.618 |
| RB AURA | MEZZNINE FLOOR | 3 | 1 | 34.429 | 0.000 | 0.000 | 0.000 | 34.429 |
| RB AURA | MEZZNINE FLOOR | 4 | 1 | 29.680 | 0.000 | 0.000 | 0.000 | 29.680 |
| RB AURA | MEZZNINE FLOOR | 5 | 1 | 24.283 | 0.000 | 0.000 | 0.000 | 24.283 |
| RB AURA | MEZZNINE FLOOR | 6 | 1 | 39.344 | 0.000 | 0.000 | 0.000 | 39.344 |
| RB AURA | MEZZNINE FLOOR | 8 | 1 | 29.149 | 0.000 | 0.000 | 0.000 | 29.149 |
| RB AURA | MEZZNINE FLOOR | 9 | 1 | 29.409 | 0.000 | 0.000 | 0.000 | 29.409 |
| RB AURA | 1ST FLOOR | OFFICE 1 | 1 | 80.625 | 6.824 | 0.000 | 0.000 | 87.449 |
| RB AURA | 1ST FLOOR | OFFICE 2 | 1 | 74.530 | 7.505 | 0.000 | 0.000 | 82.035 |
| RB AURA | 1ST FLOOR | OFFICE 3 | 1 | 71.166 | 5.937 | 0.000 | 0.000 | 77.103 |
| RB AURA | 1ST FLOOR | OFFICE4 | 1 | 50.557 | 4.180 | 0.000 | 0.000 | 54.737 |
| RB AURA | 1ST FLOOR | OFFICE 5 | 1 | 62.522 | 5.173 | 0.000 | 0.000 | 67.695 |
| RB AURA | 1ST FLOOR | OFFICE 6 | 1 | 71.224 | 5.937 | 0.000 | 0.000 | 77.161 |
| RB AURA | 1ST FLOOR | OFFICE 7 | 1 | 71.739 | 5.937 | 0.000 | 0.000 | 77.676 |
| RB AURA | 1ST FLOOR | OFFICE 8 | 1 | 70.442 | 4.607 | 0.000 | 0.000 | 75.049 |

| Description of area utilisation | | | Area utilisation of Roads and Reservations | | | | |
|---|---|---|---|---|---|---|---|
| | | | surrendered Area in(SqM) | Quatam of DR/TDR generation | Total Quatam of DR/TDR generation | Area considerd for DR utilisation | Remaining area for DRC generation |
| BUILDING | Reservation type | reservaration no | Name | | | | |
| - | - | 18.000.m DP Road Widening | 586.000 | 1172.000 | 1172.000 | 0.000 | 0.000 |
| - | - | Total | 586.000 | 1172.000 | 1172.000 | 1172.000 | 0.000 |

| Parking Check (Table 8B) | | | | | | | | |
|---|---|---|---|---|---|---|---|---|
| | | | RATIO | | | Required | | |
| Building Name | USE | TENAMENT AREA | car | scooter | NO.OF Tena/Area/Units | car | scooter | Transport Vehicle/Ambulance /Mini Bus |
| RB AURA | Residential | For every two tenements with each tenement having carpet area equal to or above 40 sq.m. but less than 80 sq.m. | 1 | 2 | 52 | 26.000 | 52.000 | - |
| RB AURA | Residential | For every tenement having carpet area equal to or above 80 sq.m. but less than 150 sq.m. | 1 | 1 | 28 | 28.000 | 28.000 | - |
| RB AURA | Commercial | For every 100 sq.m. carpet area or fraction thereof | 2 | 6 | 848.638 | 16.973 | 50.918 | - |
| RB AURA | Commercial | For every 200 sq.m. carpet area or fraction thereof. | 3 | 11 | 598.906 | 8.984 | 32.940 | - |
| Total | - | - | - | - | - | 79.956 | 163.858 | - |
| Visitors parking(5%) | - | - | - | - | - | 2.700 | 4.000 | - |
| Total | - | - | - | - | - | 82.656 | 167.858 | 0.000 |

| Parking Check As Per Multiplying Factor 0.800 (note: 1) 6 scooter equals to 1 car, proposed composite parking for car= 25) | | | | | | | | |
|---|---|---|---|---|---|---|---|---|
| | Required | | | Proposed | | | | |
| Building Name | Car | Scooter | Transport Vehicle/Ambulance /Mini bus | Car | Scooter | Transport Vehicle/Ambulance /Mini bus | Status |
| Total | 91 | 0 | 0 | 118 | 0 | 0 | OK |

| Telecom Room | | | |
|---|---|---|---|
| Building | Req. Size | Prop. Size | Status |
| RB AURA | TelecomRoom | 3.000X3.400 | OK |

| SCHEDULE OF OPENING | | | | |
|---|---|---|---|---|
| BLD NAME | NAME | LENGTH | HEIGHT | Nos. |
| RB AURA | V | 0.600 | 1.200 | 14 |
| RB AURA | v | 0.600 | 1.200 | 8 |

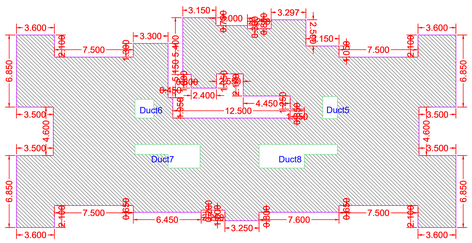


BUILT-UP AREA CALCULATION TYPICAL 3RD TO 6TH-8TH TO 11TH-13TH-14TH FLOOR RB AURA

| BUILT UP AREA CALCULATION FOR TYPICAL 3RD TO 6TH-8TH TO 11TH-13TH-14TH FLOOR RB AURA | | | |
|---|---|---|---|
| AREA NAME | LENGTH | WIDTH | Area(Sq.M) |
| BLOCK | 41.750 | 19.550 | 816.163 |
| | | BLOCK AREA TOTAL =816.163Sq.M | |
| Duct6 | - | - | 12.461 |
| Duct7 | - | - | 9.855 |
| Duct8 | - | - | 9.855 |
| Duct5 | - | - | 2.340 |
| | | TOTAL Deduction =33.511Sq.M | |
| | | Net BuiltUp Area =782.652 Sq.M | |

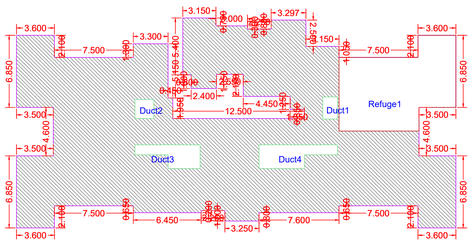


BUILT-UP AREA CALCULATION 7TH-12TH FLOOR RB AURA

| BUILT UP AREA CALCULATION FOR 7TH-12TH FLOOR RB AURA | | | |
|---|---|---|---|
| AREA NAME | LENGTH | WIDTH | Area(Sq.M) |
| BLOCK | 41.750 | 19.550 | 816.163 |
| | | BLOCK AREA TOTAL =816.163Sq.M | |
| Refuge1 | - | - | 17.389 |
| Duct2 | - | - | 12.461 |
| Duct1 | - | - | 3.855 |
| Duct3 | - | - | 9.855 |
| Duct4 | - | - | 9.855 |
| | | TOTAL Deduction =53.415Sq.M | |
| | | Net BuiltUp Area =762.748 Sq.M | |

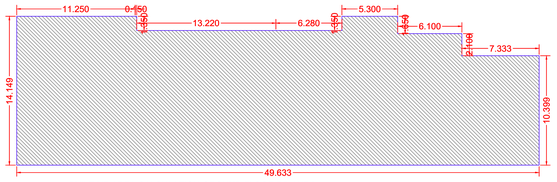

BUILT-UP AREA CALCULATION GROUND FLOOR RB AURA

| BUILT UP AREA CALCULATION FOR GROUND FLOOR RB AURA | | | |
|---|---|---|---|
| AREA NAME | LENGTH | WIDTH | Area(Sq.M) |
| BLOCK | 15.238 | 42.000 | 639.996 |
| | | BLOCK AREA TOTAL =639.996Sq.M | |
| | | TOTAL Deduction =0.000Sq.M | |
| | | Net BuiltUp Area =639.996 Sq.M | |

| BUILT UP AREA CALCULATION FOR GROUND FLOOR RB AURA | | | |
|---|---|---|---|
| AREA NAME | LENGTH | WIDTH | Area(Sq.M) |
| BLOCK | 7.290 | 4.950 | 36.086 |
| | | BLOCK AREA TOTAL =36.086Sq.M | |
| LiftWell1 | - | - | 5.145 |
| LiftWell2 | - | - | 4.200 |
| LiftWell1 | - | - | 4.200 |
| | | TOTAL Deduction =13.545Sq.M | |
| | | Net BuiltUp Area =22.539 Sq.M | |

| BUILT UP AREA CALCULATION FOR GROUND FLOOR RB AURA | | | |
|---|---|---|---|
| AREA NAME | LENGTH | WIDTH | Area(Sq.M) |
| BLOCK | 9.800 | 3.300 | 32.340 |
| | | BLOCK AREA TOTAL =32.340Sq.M | |
| LiftWell4 | - | - | 9.240 |
| | | TOTAL Deduction =9.240Sq.M | |
| | | Net BuiltUp Area =23.100 Sq.M | |

| BUILT UP AREA CALCULATION FOR GROUND FLOOR RB AURA | | | |
|---|---|---|---|
| AREA NAME | LENGTH | WIDTH | Area(Sq.M) |
| BLOCK | 1.650 | 1.650 | 2.722 |
| | | BLOCK AREA TOTAL =2.722Sq.M | |
| | | TOTAL Deduction =0.000Sq.M | |
| | | Net BuiltUp Area =2.722 Sq.M | |

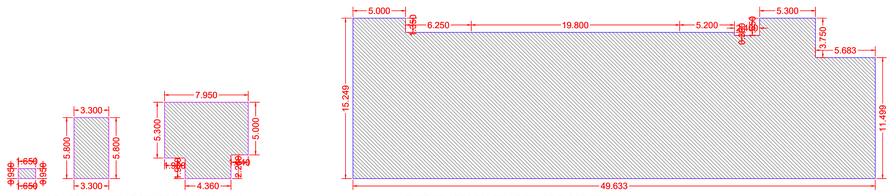

BUILT-UP AREA CALCULATION 1ST FLOOR RB AURA

BUILT-UP AREA CALCULATION 1ST FLOOR RB AURA

| BUILT UP AREA CALCULATION FOR 1ST FLOOR RB AURA | | | |
|---|---|---|---|
| AREA NAME | LENGTH | WIDTH | Area(Sq.M) |
| BLOCK | 41.750 | 19.550 | 816.163 |
| | | BLOCK AREA TOTAL =816.163Sq.M | |
| | | TOTAL Deduction =0.000Sq.M | |
| | | Net BuiltUp Area =816.163 Sq.M | |

| BUILT UP AREA CALCULATION FOR 1ST FLOOR RB AURA | | | |
|---|---|---|---|
| AREA NAME | LENGTH | WIDTH | Area(Sq.M) |
| BLOCK | 6.800 | 3.300 | 22.440 |
| | | BLOCK AREA TOTAL =22.440Sq.M | |
| | | TOTAL Deduction =0.000Sq.M | |
| | | Net BuiltUp Area 719.161 Sq.M | |

| BUILT UP AREA CALCULATION FOR 1ST FLOOR RB AURA | | | |
|---|---|---|---|
| AREA NAME | LENGTH | WIDTH | Area(Sq.M) |
| BLOCK | 7.290 | 7.290 | 53.145 |
| | | BLOCK AREA TOTAL =53.145Sq.M | |
| | | TOTAL Deduction =0.000Sq.M | |
| | | Net BuiltUp Area 182.165 Sq.M | |

| BUILT UP AREA CALCULATION FOR 1ST FLOOR RB AURA | | | |
|---|---|---|---|
| AREA NAME | LENGTH | WIDTH | Area(Sq.M) |
| BLOCK | 19.800 | 5.200 | 102.960 |
| | | BLOCK AREA TOTAL =102.960Sq.M | |
| | | TOTAL Deduction =0.000Sq.M | |
| | | Net BuiltUp Area =102.960 Sq.M | |

| Project Details |
|---|
| Proposal code: KDMCC-25-131620 |
| Zone Type: Residential Zone with Shop line. (R+2) |
| Project Name:Proposed Pre-Engineered Building |
| Name of service: Redevelopment For Dangerous Building |
| Sub service: Redevelopment of tenanted building |
| Land Type: /Survey No.: 105 |
| Taluk: Kalyan-1 |
| Mauze: Chikenghar(Pt.) |
| Prerate Value: 0.000 |
| Description:CRZ Zone Area : |

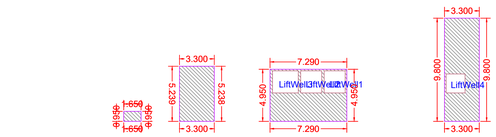


BUILT-UP AREA CALCULATION GROUND FLOOR RB AURA

| BUILT UP AREA CALCULATION FOR GROUND FLOOR RB AURA | | | |
|---|---|---|---|
| AREA NAME | LENGTH | WIDTH | Area(Sq.M) |
| BLOCK | 15.238 | 42.000 | 639.996 |
| | | BLOCK AREA TOTAL =639.996Sq.M | |
| | | TOTAL Deduction =0.000Sq.M | |
| | | Net BuiltUp Area =639.996 Sq.M | |

| BUILT UP AREA CALCULATION FOR GROUND FLOOR RB AURA | | | |
|---|---|---|---|
| AREA NAME | LENGTH | WIDTH | Area(Sq.M) |
| BLOCK | 7.290 | 4.950 | 36.086 |
| | | BLOCK AREA TOTAL =36.086Sq.M | |
| LiftWell3 | - | - | 5.145 |
| LiftWell2 | - | - | 4.200 |
| LiftWell1 | - | - | 4.200 |
| | | TOTAL Deduction =13.545Sq.M | |
| | | Net BuiltUp Area =22.539 Sq.M | |

| BUILT UP AREA CALCULATION FOR GROUND FLOOR RB AURA | | | |
|---|---|---|---|
| AREA NAME | LENGTH | WIDTH | Area(Sq.M) |
| BLOCK | 9.800 | 3.300 | 32.340 |
| | | BLOCK AREA TOTAL =32.340Sq.M | |
| LiftWell4 | - | - | 9.240 |
| | | TOTAL Deduction =9.240Sq.M | |
| | | Net BuiltUp Area =23.100 Sq.M | |

| BUILT UP AREA CALCULATION FOR GROUND FLOOR RB AURA | | | |
|---|---|---|---|
| AREA NAME | LENGTH | WIDTH | Area(Sq.M) |
| BLOCK | 1.650 | 1.650 | 2.722 |
| | | BLOCK AREA TOTAL =2.722Sq.M | |
| | | TOTAL Deduction =0.000Sq.M | |
| | | Net BuiltUp Area =2.722 Sq.M | |

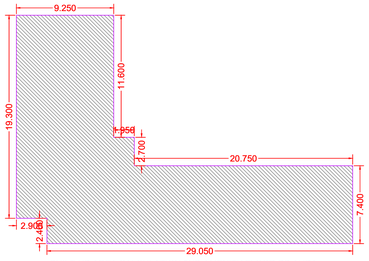

BUILT-UP AREA CALCULATION 2ND AMENITY FLOOR RB AURA

| BUILT UP AREA CALCULATION FOR 2ND AMENITY FLOOR RB AURA | | | |
|---|---|---|---|
| AREA NAME | LENGTH | WIDTH | Area(Sq.M) |
| BLOCK | 21.000 | 17.750 | 367.010 |
| | | BLOCK AREA TOTAL =367.010Sq.M | |
| | | TOTAL Deduction =0.000Sq.M | |
| | | Net BuiltUp Area =367.010 Sq.M | |



BUILT-UP AREA CALCULATION GROUND FLOOR RB AURA

| BUILT UP AREA CALCULATION FOR GROUND FLOOR RB AURA | | | |
|---|---|---|---|
| AREA NAME | LENGTH | WIDTH | Area(Sq.M) |
| BLOCK | 15.238 | 42.000 | 639.996 |
| | | BLOCK AREA TOTAL =639.996Sq.M | |
| | | TOTAL Deduction =0.000Sq.M | |
| | | Net BuiltUp Area =639.996 Sq.M | |

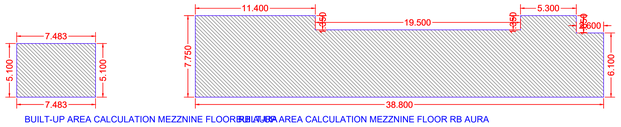

BUILT-UP AREA CALCULATION MEZZNINE FLOOR RB AURA

BUILT-UP AREA CALCULATION MEZZNINE FLOOR RB AURA

| BUILT UP AREA CALCULATION FOR MEZZANINE FLOOR RB AURA | | | |
|---|---|---|---|
| AREA NAME | LENGTH | WIDTH | Area(Sq.M) |
| BLOCK | 7.483 | 5.100 | 38.163 |
| | | BLOCK AREA TOTAL =38.163Sq.M | |
| | | TOTAL Deduction =0.000Sq.M | |
| | | Net BuiltUp Area =38.163 Sq.M | |

| BUILT UP AREA CALCULATION FOR MEZZANINE FLOOR RB AURA | | | |
|---|---|---|---|
| AREA NAME | LENGTH | WIDTH | Area(Sq.M) |
| BLOCK | 38.800 | 7.750 | 270.016 |
| | | BLOCK AREA TOTAL =270.016Sq.M | |
| | | TOTAL Deduction =0.000Sq.M | |
| | | Net BuiltUp Area =270.016 Sq.M | |

| Existing Building / Tenement Details | | | | | | | | | | | | | |
|---|---|---|---|---|---|---|---|---|---|---|---|---|---|
| Sr.No | Building/Tenement No. | Carpet Area Per Tenement | BUA Per Tenement | Status Of Occupant | Number Of Tenements | Residential Non Residential | For Tenement Carpet below 27. 875sqM. Min 27.87 Sqm to be added | Total | Incentive 30%/50% per Tenement for owner | Total incentive | 15 Sqm BUA addition per tenement | Total of 15 sqmt Addition | Total |
| 0 | 1 | 1.000 | 1.000 | Tenent | 1 | Residential | 26.870 | 0.000 | 0.500 | 0.000 | 15.000 | 0.000 | 0.000 |

## Proforma I : Area Statement

| | |
|---|---|
| 1. Area of plot(Minimum area of a, b, c to be considered) or area of subplot with sanctioned layout No. and subplot No. | 4494.000 |
| (a) As per ownership document (7/12, CTS extract) | 4654.000 |
| (b) as per TILR or City Survey measurement sheet | 4654.000 |
| (c) as per Demarcated drawing area | 4849.498 |
| LESS | |
| 2.Area not in possession | 0.000 |
| 3. Area Proposed for development ( out of 1-2 ) | 4494.000 |
| 4.Deductions for( out of 3 ) | |
| (a) Proposed D.P./ D.P. Road widening Area/Proposed DP road, Road under MMC act | 586.000 |
| (b) Any D.P. Reservation area | 0.000 |
| (c) Green Belt | 0.000 |
| (Total a+b+c) | 586.000 |
| 5. Balance area of plot (3-4) | 3908.000 |
| 6. Amenity Space Proposed | 0.000 |
| (Required -(a) Upto 20,000 sqmt - Nil | - |
| (b) Above 20,000 and more - (a) + 5% of Total area) | 0.000 |
| 7. Net Plot Area (5-6 ) | 3908.000 |
| 8.Recreational Open Space ( Not applicable if plots are from sanctioned layout ) | - |
| (a). If area is more than (5) 4000 sqmt - 10 % of (5) is required. | 0.000 |
| Proposed | 0.000 |
| (A)10 % Subject to minimum 200 sqmt( Not applicable if plots are from sanctioned layout or each plot admeuring less than 4000sq.m regularised under gunthewari act ) | 0.000 |
| Proposed | 0.000 |
| (B)Exemption to leave open space subject to availing basic F.S.I of 75 % | - |
| (C)Exemption to leave open space subject to payment of 10 % land value of land at ( 7 ) as per annual statement of rate. | - |
| If (5) > 4000sq.m then Land admeuring 20% of (5) is to be utilised for inclusive housing | 0.000 |
| Proposed Area | 0.000 |

Architect/ Licensed Engineer/ Supervisor name and signature

Registration No. of Architect/ License no. of Licensed Engineer/ Supervisor: CA/2017/86726

Certificate of Area:-
Certified that the plot under reference was surveyed by me on_____ and the dimensions of sides etc. of plot stated on plan are as measured on site and the area so worked out tallies with the area stated in document of Ownership/ T.P. Scheme Records/Land Records Department/City Survey records.

Signature
(Name of Architect/ Licensed Engineer/ Supervisor.)

Owner's Declaration -
I/We undersigned hereby confirm that I/We would abide by plans approved by Authority / Collector. I/We would execute the structure as per approved plans. Also I/We would execute the work under supervision of proper technical person so as to ensure the quality and safety at the work site.

Owner (s) name and signature

Name Of : Owner Sankesh Raghunath Bhoir MS RB CONSTRUCTION THROUGH POA Sankesh Raghunath Bhoir AND Mr Alpesh bhoir

Postal Address : bhoir niwas,datta mandir road,Kalyan,Thane,Maharashtra-421301

Phone No.: 9922032831

**DESCRIPTION OF PROJECT :**

Type of Proposal : Mixed
BUILDING ON CTS. NO./SURVEY NO.-105

SITE ADDRESS :
PROPOSED BUILDING ON PLOT BEARING S No. S.NO 105/8/2, 97/1/9, 98/2/5 OF MOUJE -CHIKENGHAR , TAL-KALYAN DIST.-THANE.

Name Of Architect : AR.CHANDRAKANT SHANKAR AUTI

| LOGO | ADDRESS OF OFFICE |
|---|---|
| | OFFICE - 18,1st Floor Chandra Bhushan Plaza, Next to ramdev hotel, Kalyan (W)) |

| OWNERS SIGN - | TECHNICAL PERSON SIGN |
|---|---|

| | | | |
|---|---|---|---|
| | SCALE - | DATE: | Date: 11/12/25 |
| | JOB NO - KDMCC-25-131620 | CHECK BY - | zoom |

**SUBMISSION DRAWING**