ATHENA															
BUILDING	FLOORS	FSI AREA						BALCONY	TERRACE	LIFT	LIFTWELL	DUCT	VENT	OTHER	TOTAL
		COMM.	RESI.	IND.	EDU.	INS.	MEZZ.	PROP.					SHAFT	DEDUCTION	FSI AREA
ATHENA	7TH FLOOR	0.000	653.992	0.000	0.000	0.000	0.000	55.490	0.000	0.000	16.968	1.608	0.000	69.540	565.876
ATHENA	2ND TO 6TH 9TH TO 11TH 13TH AND 14TH FLOOR	0.000	3565.276	0.000	0.000	0.000	0.000	355.784	0.000	0.000	93.324	91.388	0.000	0.000	3380.564
ATHENA	1ST FLOOR	0.000	334.913	0.000	0.000	0.000	0.000	0.000	0.000	0.000	8.484	0.000	0.000	4.420	322.009
ATHENA	GROUND FLOOR	0.000	149.386	0.000	0.000	0.000	0.000	0.000	0.000	8.484	0.000	0.000	0.000	0.000	149.386
ATHENA	TOTAL	0.000	4703.567	0.000	0.000	0.000	0.000	411.274	0.000	8.484	118.776	92.996	0.000	73.960	4417.835

EDEN															
BUILDING	FLOORS	FSI AREA						BALCONY	TERRACE	LIFT	LIFTWELL	DUCT	VENT	OTHER	TOTAL
		COMM.	RESI.	IND.	EDU.	INS.	MEZZ.	PROP.					SHAFT	DEDUCTION	FSI AREA
EDEN	1ST 2 ND 3RD 4TH 5TH 6TH 7TH FLOOR	0.000	1098.867	0.000	0.000	0.000	0.000	219.681	0.000	0.000	22.050	9.842	0.000	0.000	1066.975
EDEN	GROUND FLOOR	80.362	32.425	0.000	0.000	0.000	0.000	0.000	0.000	3.150	0.000	0.000	0.000	0.000	112.787
EDEN	TOTAL	80.362	1131.292	0.000	0.000	0.000	0.000	219.681	0.000	3.150	22.050	9.842	0.000	0.000	1179.762

FSI DETAILS										
9 Index	Basic FSI (on serial no 7)	Premium FSI (on serial no 3)	TOR/DR (on serial no 3)	Incentive FSI for green building If Applicable (on basic FSI)	Additional FSI (10.10.1 Note:3)	Ancillary Area 60% of (2+3+4+5)	Ancillary Area 80% of (2+3+4+5)	Total	Inclusive Housing (30%) If Applicable	Drawing Value
9.1 Permissible Index	1.100	0.500	0.900	0.000	0.000	0.000	0.000	2.500	0.000	0.000
9.2 Existing Consumed Index	0.000	0.000	0.000	0.000	0.000	0.000	0.000	0.000	0.000	0.000
9.3 Balance Index to be Consumed	1.100	0.500	0.900	0.000	0.000	0.000	0.000	0.000	0.000	0.000
9.4 Total Permissible PLine Area	1337.229	969.105	1744.389	0.000	0.000	2116.602	35.717	6203.042	0.000	0.000
9.5 Proposed IP Line Area (Should not exceed 9.4)	1337.229	790.000	1445.094	0.000	0.000	1990.358	35.716	5598.397	0.000	5598.397
9.6 Index Consumed	1.100	0.408	0.746	0.000	0.000	0.000	0.000	2.253	0.000	0.000

Carpet Area Table								
Building Name	Floor Name	Carpet name	Tenement No	Carpet Area	Enclosed Balcony Area	Normal Balcony Area	Mezzanine Area	Total Carpet Area
ATHENA	1ST FLOOR	1	1	60.440	0.000	0.000	0.000	60.440
ATHENA	1ST FLOOR	2	1	63.847	0.000	0.000	0.000	63.847
ATHENA	1ST FLOOR	4	1	89.219	0.000	0.000	0.000	89.219
ATHENA	2ND TO 6TH 9TH TO 11TH 13TH AND 14TH FLOOR	1	11	52.598	3.355	2.897	0.000	55.953
ATHENA	2ND TO 6TH 9TH TO 11TH 13TH AND 14TH FLOOR	2	11	56.630	6.100	2.898	0.000	62.730
ATHENA	2ND TO 6TH 9TH TO 11TH 13TH AND 14TH FLOOR	3	11	41.352	3.050	2.897	0.000	44.402
ATHENA	2ND TO 6TH 9TH TO 11TH 13TH AND 14TH FLOOR	4	11	53.830	8.250	2.897	0.000	62.080
ATHENA	7TH FLOOR	1	2	52.598	6.252	0.000	0.000	58.850
ATHENA	7TH FLOOR	2	2	56.571	6.100	3.355	0.000	62.671
ATHENA	7TH FLOOR	4	2	71.843	6.100	5.938	0.000	77.943

Carpet Area Table								
Building Name	Floor Name	Carpet name	Tenement No	Carpet Area	Enclosed Balcony Area	Normal Balcony Area	Mezzanine Area	Total Carpet Area
EDEN	GROUND FLOOR	1	1	19.823	0.000	0.000	0.000	19.823
EDEN	GROUND FLOOR	2	1	15.444	0.000	0.000	0.000	15.444
EDEN	GROUND FLOOR	3	1	15.444	0.000	0.000	0.000	15.444
EDEN	GROUND FLOOR	4	1	20.369	0.000	0.000	0.000	20.369
EDEN	1ST 2 ND 3RD 4TH 5TH 6TH 7TH FLOOR	1	7	29.792	10.812	0.000	0.000	40.604
EDEN	1ST 2 ND 3RD 4TH 5TH 6TH 7TH FLOOR	2	7	29.792	10.812	0.000	0.000	40.604
EDEN	1ST 2 ND 3RD 4TH 5TH 6TH 7TH FLOOR	3	7	29.524	9.759	0.000	0.000	39.283

Area utilisation of Roads and Reservations							
Description of area utilisation			surrendered Area in(sqM)	Quatam of DR/TDR generation	Quatam of DR/TDR generation	Area considered for DR utilisation	Remaining area for DRC generation
BUILDING	Reservation type	reservation no	Name				
-	-	9,000.m DP Road Widening	722.547	1445.094	1445.094	0.000	0.000
-	-	Total	722.547	1445.094	1445.094	0.000	1445.094

Parking Check (Table 8B)								
			RATIO			Required		
Building Name	USE	TENAMENT AREA	car	scooter	NO.OF Tenat/Area/Units	car	scooter	Transport Vehicle/Ambulance/Mini Bus
ATHENA	Residential	For every two tenements with each tenement having carpet area equal to or above 40 sq.m. but less than 80 sq.m.	1	2	52	26.000	52.000	-
ATHENA	Residential	For every tenement having carpet area equal to or above 80 sq.m. but less than 150 sq.m.	1	1	1	1.000	1.000	-
EDEN	Residential	For every two tenements with each tenement having carpet area less than 40 Sq.m. but more than 30 sq.m.	1	2	7	3.500	7.000	-
EDEN	Residential	For every two tenements with each tenement having carpet area equal to or above 40 sq.m. but less than 80 sq.m.	1	2	14	7.000	14.000	-
EDEN	Commercial	For every 100 sq.m. carpet area or fraction thereof	2	6	71.080	1.422	4.265	-
Total	-	-	-	-	-	38.922	78.265	-
Visitors parking(5%)	-	-	-	-	-	1.875	3.700	-
Total	-	-	-	-	-	40.797	81.965	0.000

Parking Check As Per Multiplying Factor 0.800 (note: 1) 6 scooter equals to 1 car, proposed composite parking for car= 24)							
	Required			Proposed			
Building Name	Car	Scooter	Transport Vehicle/Ambulance/Mini bus	Car	Scooter	Transport Vehicle/Ambulance/Mini bus	Status
Total	57	0	0	66	9	0	OK

Telecom Room			
Building	Req. Size	Prop. Size	Status
ATHENA	3.000X3.400	3.000X3.400	OK
EDEN	3.000X3.400	3.000X3.400	OK

SCHEDULE OF OPENING				
BLD NAME	NAME	LENGTH	HEIGHT	Nos.
EDEN	W1	2.350	1.200	2
EDEN	W2	1.800	1.200	1
EDEN	W3	1.200	1.200	1
EDEN	W3	1.500	1.200	2
EDEN	V	0.600	1.200	6
EDEN	w1	2.350	1.200	2
EDEN	w1	1.800	1.200	1
EDEN	v	0.600	1.200	4
ATHENA	W1	1.800	2.100	21
ATHENA	W2	1.800	1.200	13
ATHENA	W3	1.200	1.200	7
ATHENA	V	0.600	1.200	17

SCHEDULE OF OPENING				
BLD NAME	NAME	LENGTH	HEIGHT	Nos.
EDEN	d2	0.830	2.100	3
EDEN	D1	2.000	2.100	2
EDEN	D	1.050	2.100	3
EDEN	D1	0.900	2.100	4
EDEN	D2	0.750	2.100	6
EDEN	D	1.200	2.100	1
ATHENA	D1	2.000	2.100	2
ATHENA	D	1.050	2.100	1
ATHENA	D	1.050	2.100	6
ATHENA	D2	0.750	2.100	16
ATHENA	D1	0.900	2.100	19
ATHENA	frd	1.200	2.100	8
ATHENA	FRD	1.050	2.100	1

Owner Details		
Owner Name	Postal Address	Contact Number
MAHIMA INFRA ESTATES LLP	1601 A Wing Eternia,Main Street, Hiranandani,Powai lit S.O,Mumbai,Maharashtra-400076	7738710988
Rahul Mukesh Jaisinghani	1601 A Wing Eternia,Main Street, Hiranandani,Powai lit S.O,Mumbai,Maharashtra-400076	7738710988
Mukesh Thakurdas Jaisinghani	1601 A Wing Eternia,Main Street, Hiranandani,Powai lit S.O,Mumbai,Maharashtra-400076	9819851432
Raju Thakurdas Jaisinghani	1002 Octavius Chs South Avenue Hiranandani,Powai lit S.O,Mumbai,Maharashtra-400076	9324387870
Dheeraj Raju Jaisinghani	1002 Octavius Chs South Avenue Hiranandani,Powai lit S.O,Mumbai,Maharashtra-400076	8286374552

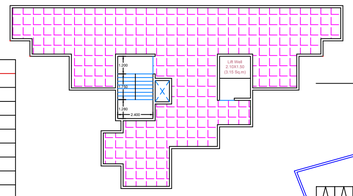

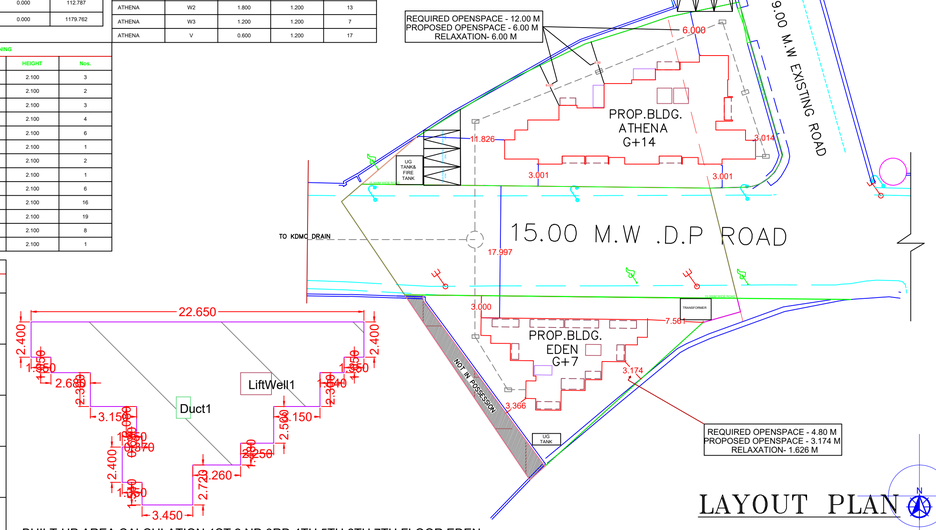

LAYOUT PLAN

BUILT-UP AREA CALCULATION 1ST 2 ND 3RD 4TH 5TH 6TH 7TH FLOOR EDEN

BUILT UP AREA CALCULATION FOR 1ST 2 ND 3RD 4TH 5TH 6TH 7TH FLOOR EDEN			
AREA NAME	LENGTH	WIDTH	Area(Sq.M)
BLOCK	22.650	12.450	156.981
BLOCK AREA TOTAL =156.981Sq.M			
LiftWell1	-	-	3.150
Duct1	-	-	1.406
TOTAL Deduction =4.556Sq.M			
Net BuiltUp Area =152.425 Sq.M			

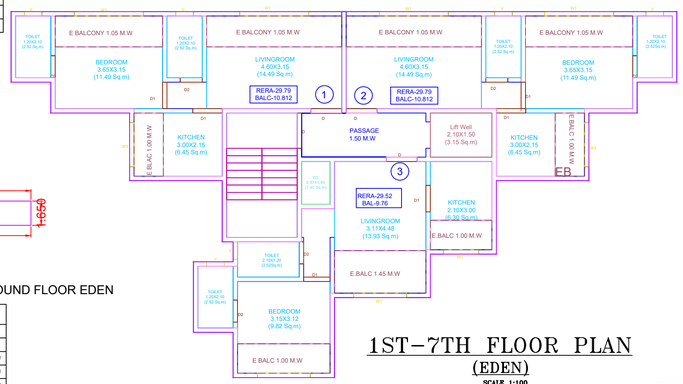

1ST-7TH FLOOR PLAN
(EDEN)
SCALE 1:100

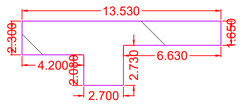

BUILT-UP AREA CALCULATION GROUND FLOOR EDEN

BUILT UP AREA CALCULATION FOR GROUND FLOOR EDEN			
AREA NAME	LENGTH	WIDTH	Area(Sq.M)
BLOCK	13.530	4.380	32.425
BLOCK AREA TOTAL =32.425Sq.M			
TOTAL Deduction =0.000Sq.M			
Net BuiltUp Area =32.425 Sq.M			

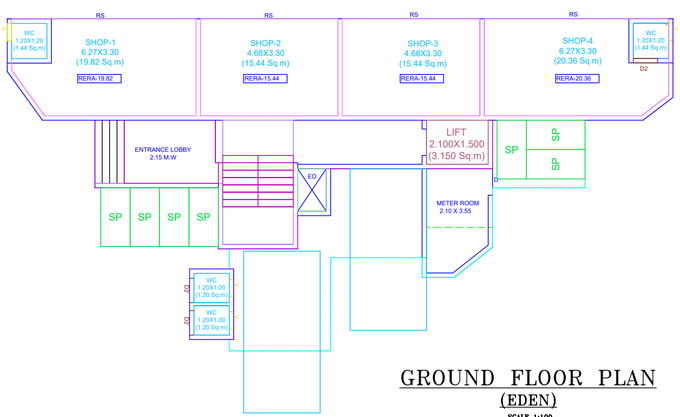

GROUND FLOOR PLAN
(EDEN)
SCALE 1:100

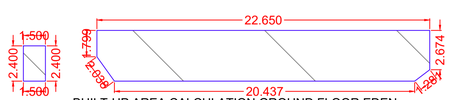

BUILT-UP AREA CALCULATION GROUND FLOOR EDEN

BUILT-UP AREA CALCULATION GROUND FLOOR EDEN

BUILT UP AREA CALCULATION FOR GROUND FLOOR EDEN			
AREA NAME	LENGTH	WIDTH	Area(Sq.M)
BLOCK	22.650	3.450	78.162
BLOCK AREA TOTAL =78.162Sq.M			
TOTAL Deduction =0.000Sq.M			
Net BuiltUp Area =78.162 Sq.M			

BUILT UP AREA CALCULATION FOR GROUND FLOOR EDEN			
AREA NAME	LENGTH	WIDTH	Area(Sq.M)
BLOCK	2.400	1.500	3.600
BLOCK AREA TOTAL =3.600Sq.M			
TOTAL Deduction =0.000Sq.M			
Net BuiltUp Area =3.600 Sq.M			

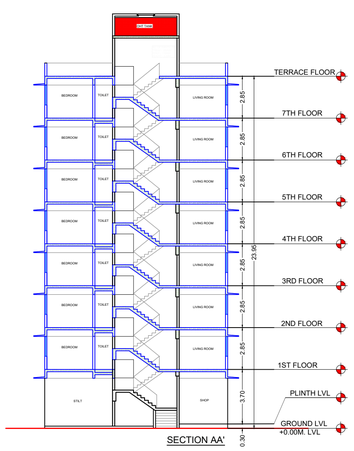

SECTION AA'
SCALE 1:100

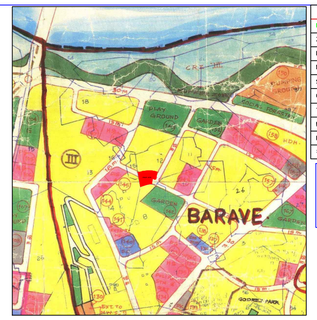

Project Details
Proposal code: KDMCC-25-138297
Zone Type: Residential Zone
Location: Non-Congested
Name of service: Building Development
Sub service:
Cts No./Survey No.: 9
Tahsil: Sector-3
Mouze: Barave
Prorata Value: 0.000
Separation/CRZ Zone Area: -

LEGENDS:
PLOT BOUNDARY SHOWN DHATE
PROPOSED WORK SHOWN RED
ABUTTING PLOT SHOWN LIGHT
WATER LINE SHOWN BLUE DOTTED
ENCLOSED BAL SHOWN BROWN
TERRACE SHOWN DARK YELLOW
OPEN BAL SHOWN BRAWN
EXISTING SHOWN BLUE HATCHED

A.	AREA STATEMENT		IN SQ.MT.
1		AREA OF PLOT	
	a)	As per ownership document (7/12,cts extract)	2055.00
	b)	As per measurement sheet [1755.45+182.76]	1938.21
2		DEDUCTIONS FOR	
	a)	15.00 M. W. D.P.ROAD WIDENING AREA	722.547
	b)	ANY RESERVATIONS	0.00
		TOTAL (a+b)	722.547
3		BALANCE AREA OF PLOT (1 Minus 2)	1215.663
4		AMMENITY SPACE IF APPLICABLE	--
	a)	REQUIRED	--
	b)	ADJUSTMENT OF IF ANY	--
	c)	BALANCE PROPOSED	--
5		NET PLOT AREA (3-4(C))	1215.663
6		RECREATIONAL OPEN SPACE (IF APPLICABLE)	--
	a)	REQUIRED	--
	b)	PROPOSED	--
7		INTERNAL ROAD AREA	--
8		PLOTABLE AREA	1215.663
9		BUILT UP AREA WITH REFERANCE TO BASIC FSI AS PER FRONT R0AD WIDTH (SR.NO: 5 X BASIC FSI) 1215.663 X 1.10 = 1337.2293	1337.2293
10		ADDITION OF FSI ON PAYMENT PREMIUM	
	a)	MAXIMUM PERMISSIBLE PREMIUM FSI BASED ON ROAD WIDTH /TOD ZONE 1938.21X0.50 = 969.105	790.00
	b)	PROPOSED FSI ON PAYMENT OF PREMIUM	
11		IN-SITU FSI/TDR LOADING	
	a)	IN-SITU AREA AGAINST 15 M W.D.P. ROAD (1.0 xSR.NO:2 (a)) 722.547 X 2.00 = 1445.094	1445.094
	b)	IN-SITU AREA AGAINST AMENITY SPACE IF HANDED OVER (2.00 OR 1.85 X SR. NO:4 (b) AND / or (C)	
	c)	TDR AREA 1820.00X0.90=1638.00 PERMISSIBLE, OUT OF THIS (1638.00-1445.48)	00.00
	d)	TOTAL IN-SITU / TDR LOADING PROPOSED (11 (a)+(b)+(c)	1445.094
12		ADDITIONAL FSI AREA UNDER CHAPTER NO.7.6.1	
13		TOTAL ENTITLEMENT OF FSI IN THE PROPOSAL	
	a)	[9+10(b)+11(d) or 12 WHICHEVER IS APPLICABLE	3572.3233
	b)	ANCILLARY AREA FSI UPTO 60% OR 80% WITH PAYMENT OF CHARGES COMMERCIAL ANCILLARY = 44.646 X 0.80 = 35.717 RESIDENTIAL ANCILLARY = 3527.67 X 0.60 = 2116.606 TOTAL = 2152.319	2026.07
	c)	TOTAL ENTITLEMENT (a+b)	5598.397
14		MAXIMUM UTILISATION LIMIT OF FSI (BUILDING POTENTIAL) PERMISSIBLE AS PER ROAD WIDTH As per Regulation no. 6.1 or 6.2 or 6.3 or 6.4 as applicable) x 1.6 or 1.8	
15		TOTAL BUILT UP AREA IN PROPOSAL (EXCLUDING AREA AT SR. NO.17(b)	
16		PROPOSED BUILT UP AREA (AS PER P-LINE)	5598.397
17		AREA FOR INCLUSIVE HOUSING IF ANY	
	(a)	REQUIRED (20% OF SR. NO:.5)	
	(b)	PROPOSED (20% OF SR. NO:.5)	

Reserved for Stamps of Approval plan

Proforma I : Area Statement	
1. Area of plot (Minimum area of a, b, c to be considered)	1938.210
(a) As per ownership document (7/12, CTS extract)	2055.000
(b) as per TILR or City Survey measurement sheet	2055.000
(c) as per Demarcated drawing area	2172.715
LESS	-
2.Area not in possession	0.000
3. Area Proposed for development (out of 1-2)	1938.210
4.Deductions for	-
(a) Proposed D.P./ D.P. Road widening Area / Service Road / Highway widening	722.547
(b) Any D.P. Reservation area	0.000
(c) Green Belt	0.000
Total (a+b+c)	722.547
5.Balance area of plot (3-4)	1215.663
6. Amenity Space	0.000
(Applicable if (1) > 20000 sqmt	-
(Required -(a) Upto 20000 sqmt - Nil	-
(b) Above 20000 sqmt - (a) + 5% of Total area	0.000
7. Net Plot Area (5-6)	1215.663
8. Recreational Open Space	-
(a) If area (5) is more than 4000 sqmt - 10 % of (5) is required.	0.000
Proposed___	0.000
(b) If area is less than 4000 sqmt -Check -	-
i) If it is full number like 1,2,125,419,etc. As per 7.12 abstract or City Survey Number - No Recreational open space is required	-
ii) If it is subdivision like 1/2 ,2/5 , 125/1 419/1 etc.then recreational open space is required.	-
(A) 10 % Subject to minimum 200 sqmt	0.000
Proposed _____	0.000
(B) Exemption to leave open space subject to availing basic F.S.I of 75 %	-
(C) Exemption to leave open space subject to payment of 10 % land value of land at (7) as per annual statement of rate.	-
Architect/ Licensed Engineer/ Supervisor name and signature	
Registration No. of Architect/ License no. of Licensed Engineer/ Supervisor: CA/2019/106930	
Certificate of Area: Certified that the plot under reference was surveyed by me on_____ and the dimensions of sides etc. of plot stated on plan are as measured on site and the area so worked out tallies with the area stated in document of Ownership / T.P. Scheme Records/Land Records Department/City Survey records. Signature (Name of Architect/ Licensed Engineer/ Supervisor.)	
Owner's Declaration - I/We undersigned hereby confirm that I/We would abide by plans approved by Authority / Collector. I/We would execute the structure as per approved plans. Also I/We would execute the work under supervision of proper technical person so as to ensure the quality and safety at the work site. Owner (s) name and signature	

Thakurdas Jaisinghani,Dheeraj Raju Jaisinghani
Postal Address : 1601 A Wing Eternia,Main Street,
Hiranandani,Powai lit
S.O,Mumbai,Maharashtra-400076.

DESCRIPTION OF PROJECT :
Type of Proposal : Mixed
BUILDING ON CTS. NO./SURVEY NO.-9

SITE ADDRESS :
PRAPOSED BUILDING ON S.NO.-9 H.NO.4/1 AND S.NO.9 H.NO.5 AT VILLAGE BARAVE TAL KALYAN THANE

Name Of Architect : Tejas Anil Nirgude

LOGO	ADDRESS OF OFFICE OFFICE - 5TH FLOOR, MIDTOWN EMBASSY, BEHIND VASANT VALLEY BUS DEPOT, OPP. NARAYANA SCHOOL, GANDHARE, KALYAN - 421301
OWNERS SIGN -	TECHNICAL PERSON SIGN
SCALE -	DATE: Date: 23/12/25
JOB NO - KDMCC-25-138297	CHECK BY - ANIL
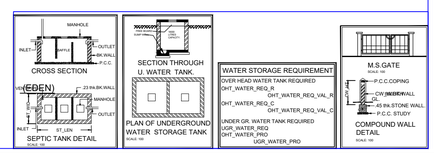
SUBMISSION DRAWING