| INCLUSIVE HOUSING AREA STATEMENT | | | |
|---|---|---|---|
| FLOOR NO. | FLAT NO. | | TOTAL BUILT-UP AREA OF FLOOR, AS PER OUTER CONSTRUCTION LINE |
| | TOWER A | TOWER B | |
| 1ST FLOOR(16FLATS) | 1,2,3,4, 5,6,7,8 | 1,2,3,4, 5,6,7,8 | 1150.52 SQ.MT. |
| 8TH FLOOR(2FLATS) | 5 | 6 | 54.20 SQ.MT. |
| 9TH FLOOR(2FLATS) | 5 | 6 | 54.20 SQ.MT. |
| 10TH FLOOR(2FLATS) | 5 | 6 | 54.20 SQ.MT. |
| 12TH FLOOR(2FLATS) | 5 | 6 | 54.20 SQ.MT. |
| 13TH FLOOR(2FLATS) | 5 | 6 | 54.20 SQ.MT. |
| 14TH FLOOR(2FLATS) | 5 | 6 | 54.20 SQ.MT. |
| 18TH FLOOR(1FLATS) | 5 | | 54.20 SQ.MT. |
| TOTAL | | | 1502.82 SQ.MT. |

T2

| BUILDING | FLOORS | FSI AREA | | | | | | BALCONY | TERRACE | LIFT | LIFTWELL | DUCT | VENT | OTHER | TOTAL |
|---|---|---|---|---|---|---|---|---|---|---|---|---|---|---|---|
| | | COMM. | RESI. | IND. | EDU. | INS. | MCCZ. | PROP. | | | | | SHAFT | DEDUCTION | FSI AREA |
| T2 | 16TH FLOOR PLAN | 0.000 | 573.499 | 0.000 | 0.000 | 0.000 | 0.000 | 30.723 | 0.000 | 0.000 | 24.797 | 11.175 | 0.000 | 0.000 | 537.557 |
| T2 | 6TH TO 15TH 17TH TO 18TH 20TH FLOOR PLAN | 0.000 | 3647.298 | 0.000 | 0.000 | 0.000 | 0.000 | 148.470 | 0.000 | 0.000 | 148.722 | 18.912 | 0.000 | 0.000 | 3479.652 |
| T2 | 5TH 16TH 19TH 19TH 20RD 21TH FLOOR PLAN | 0.000 | 3823.530 | 0.000 | 0.000 | 0.000 | 0.000 | 207.474 | 0.000 | 0.000 | 148.722 | 18.912 | 0.000 | 220.578 | 3435.318 |
| T2 | 3RD TO 4TH 17 TO 18TH 20TH TO 22ND 24TH TO 25TH AND 27TH FLOOR PLAN | 0.000 | 8269.300 | 0.000 | 0.000 | 0.000 | 0.000 | 446.953 | 0.000 | 0.000 | 322.231 | 40.976 | 0.000 | 0.000 | 7808.152 |
| T2 | 2ND FLOOR PLAN | 0.000 | 645.350 | 0.000 | 0.000 | 0.000 | 0.000 | 34.579 | 0.000 | 0.000 | 24.797 | 11.175 | 0.000 | 38.965 | 575.423 |
| T2 | AMENITY FLOOR | 0.000 | 105.089 | 0.000 | 0.000 | 0.000 | 0.000 | 0.000 | 0.000 | 0.000 | 0.000 | 0.000 | 0.000 | 0.000 | 105.089 |
| T2 | GROUND FLOOR | 0.000 | 155.661 | 0.000 | 0.000 | 0.000 | 0.000 | 0.000 | 0.000 | 24.797 | 0.000 | 0.000 | 0.000 | 0.000 | 155.661 |
| T2 | TOTAL | 0.000 | 17239.774 | 0.000 | 0.000 | 0.000 | 0.000 | 868.199 | 0.000 | 24.797 | 669.249 | 101.150 | 0.000 | 258.543 | 16209.832 |

T1

| BUILDING | FLOORS | FSI AREA | | | | | | BALCONY | TERRACE | LIFT | LIFTWELL | DUCT | VENT | OTHER | TOTAL |
|---|---|---|---|---|---|---|---|---|---|---|---|---|---|---|---|
| | | COMM. | RESI. | IND. | EDU. | INS. | MCCZ. | PROP. | | | | | SHAFT | DEDUCTION | FSI AREA |
| T1 | 16TH FLOOR PLAN | 0.000 | 573.499 | 0.000 | 0.000 | 0.000 | 0.000 | 34.736 | 0.000 | 0.000 | 24.797 | 11.247 | 0.000 | 0.000 | 537.495 |
| T1 | 6TH TO 10TH12TH TO 14TH FLOOR PLAN | 0.000 | 3647.796 | 0.000 | 0.000 | 0.000 | 0.000 | 231.534 | 0.000 | 0.000 | 148.722 | 18.912 | 0.000 | 0.000 | 3480.162 |
| T1 | 11TH17TH19TH 21ST 23RD 25TH 27TH FLOOR PLAN | 0.000 | 3823.740 | 0.000 | 0.000 | 0.000 | 0.000 | 200.586 | 0.000 | 0.000 | 148.722 | 18.912 | 0.000 | 220.578 | 3435.528 |
| T1 | 3RD TO 4TH 17TH TO 18TH 20TH TO 22ND 24TH AND 26TH FLOOR PLAN | 0.000 | 8360.150 | 0.000 | 0.000 | 0.000 | 0.000 | 293.436 | 0.000 | 0.000 | 322.231 | 146.211 | 0.000 | 0.000 | 7923.709 |
| T1 | 2ND FLOOR PLAN | 0.000 | 645.368 | 0.000 | 0.000 | 0.000 | 0.000 | 34.579 | 0.000 | 0.000 | 24.797 | 11.247 | 0.000 | 38.965 | 575.389 |
| T1 | AMENITY FLOOR | 0.000 | 205.479 | 0.000 | 0.000 | 0.000 | 0.000 | 0.000 | 0.000 | 0.000 | 0.000 | 0.000 | 0.000 | 0.000 | 205.479 |
| T1 | GROUND FLOOR | 746.037 | 158.029 | 0.000 | 0.000 | 0.000 | 0.000 | 0.000 | 0.000 | 24.797 | 0.000 | 0.000 | 0.000 | 0.000 | 904.068 |
| T1 | TOTAL | 746.037 | 17446.078 | 0.000 | 0.000 | 0.000 | 0.000 | 794.872 | 0.000 | 24.797 | 669.249 | 206.529 | 0.000 | 258.543 | 17098.794 |

FSI DETAILS

| A Index | Basic FSI (on aerial no 5) | Premium FSI (on aerial no 5) | TDR/DR (on aerial no 5) | Incentive FSI for green building / Affordable (on basis FSI) | Additional FSI (10.10.1 Note 2) | Ancillary Area FSI (10.10.1 (a+b+c)) | Ancillary Area FSI (10.10.1 (d+e+f)) | Total | Inclusive Housing (10%)(If Applicable) | Drawing Value |
|---|---|---|---|---|---|---|---|---|---|---|
| 0.1 Permissible Index | 1.100 | 0.500 | 1.400 | 0.000 | 0.000 | 0.000 | 0.000 | 3.000 | 0.000 | 0.000 |
| 0.2 Existing Consumed Index | 0.000 | 0.000 | 0.000 | 0.000 | 0.000 | 0.000 | 0.000 | 0.000 | 0.000 | 0.000 |
| 0.3 Balance Index Can be Consumed | 1.100 | 0.500 | 1.400 | 0.000 | 0.000 | 0.000 | 0.000 | 0.000 | 0.000 | 0.000 |
| 0.4 Total Permissible PLine Area | 7514.100 | 3480.500 | 9745.400 | 0.000 | 0.000 | 12196.122 | 330.504 | 33266.626 | 0.000 | 0.000 |
| 0.5 Proposed F Line Area (Including Ancillary & F.S.I.) | 7514.100 | 3480.500 | 9745.400 | 0.000 | 0.000 | 12196.122 | 330.504 | 33266.626 | 1527.288 | 33266.626 |
| 0.6 Index Consumed | 1.100 | 0.500 | 1.400 | 0.000 | 0.000 | 0.000 | 0.000 | 3.000 | 0.224 | 0.000 |

Carpet Area Table

| Building Name | Floor Name | Carpet name | Tenament No | Carpet Area | Enclosed Balcony Area | Normal Balcony Area | Wazapime Area | Total Carpet Area |
|---|---|---|---|---|---|---|---|---|
| T2 | FIRST FLOOR | 1 | 1 | 43.333 | 0.000 | 0.000 | 0.000 | 43.333 |
| T2 | FIRST FLOOR | 2 | 1 | 41.898 | 0.000 | 0.000 | 0.000 | 41.898 |
| T2 | FIRST FLOOR | 3 | 1 | 49.991 | 0.000 | 0.000 | 0.000 | 49.991 |
| T2 | FIRST FLOOR | 4 | 1 | 49.991 | 0.000 | 0.000 | 0.000 | 49.991 |
| T2 | FIRST FLOOR | 5 | 1 | 42.238 | 0.000 | 0.000 | 0.000 | 42.238 |
| T2 | FIRST FLOOR | 6 | 1 | 43.485 | 0.000 | 0.000 | 0.000 | 43.485 |
| T2 | FIRST FLOOR | 7 | 1 | 49.918 | 0.000 | 0.000 | 0.000 | 49.918 |
| T2 | FIRST FLOOR | 8 | 1 | 49.918 | 0.000 | 0.000 | 0.000 | 49.918 |
| T2 | 2ND FLOOR PLAN | 1 | 1 | 86.271 | 0.000 | 0.000 | 0.000 | 86.271 |
| T2 | 2ND FLOOR PLAN | 2 | 1 | 63.557 | 0.000 | 0.000 | 0.000 | 63.557 |
| T2 | 2ND FLOOR PLAN | 3 | 1 | 63.557 | 0.000 | 0.000 | 0.000 | 63.557 |
| T2 | 2ND FLOOR PLAN | 4 | 1 | 90.365 | 0.000 | 0.000 | 0.000 | 90.365 |
| T2 | 2ND FLOOR PLAN | 5 | 1 | 92.388 | 0.000 | 0.000 | 0.000 | 92.388 |
| T2 | 3RD TO 4TH 17 TO 18TH 20TH TO 22ND 24TH TO 25TH AND 27TH FLOOR PLAN | 1 | 13 | 86.272 | 0.000 | 0.000 | 0.000 | 86.272 |
| T2 | 3RD TO 4TH 17 TO 18TH 20TH TO 22ND 24TH TO 25TH AND 27TH FLOOR PLAN | 2,2 | 13 | 63.558 | 0.000 | 0.000 | 0.000 | 63.558 |
| T2 | 3RD TO 4TH 17 TO 18TH 20TH TO 22ND 24TH TO 25TH AND 26TH FLOOR PLAN | 3 | 13 | 63.558 | 0.000 | 0.000 | 0.000 | 63.558 |
| T2 | 3RD TO 4TH 17 TO 18TH 20TH TO 22ND 24TH TO 25TH AND 26TH FLOOR PLAN | 4 | 13 | 90.365 | 0.000 | 0.000 | 0.000 | 90.365 |
| T2 | 3RD TO 4TH 17 TO 18TH 20TH TO 22ND 24TH TO 25TH AND 26TH FLOOR PLAN | 5 | 13 | 64.154 | 0.000 | 0.000 | 0.000 | 64.154 |
| T2 | 3RD TO 4TH 17 TO 18TH 20TH TO 22ND 24TH TO 25TH AND 26TH FLOOR PLAN | 6 | 13 | 64.154 | 0.000 | 0.000 | 0.000 | 64.154 |
| T2 | 7TH 11TH 15TH 19TH (3RD) 23TH FLOOR PLAN | 1 | 6 | 86.270 | 0.000 | 0.000 | 0.000 | 86.270 |
| T2 | 7TH 11TH 15TH 19TH (3RD) 23TH FLOOR PLAN | 2 | 6 | 63.558 | 0.000 | 0.000 | 0.000 | 63.558 |
| T2 | 7TH 11TH 15TH 19TH (3RD) 23TH FLOOR PLAN | 3 | 6 | 63.558 | 0.000 | 0.000 | 0.000 | 63.558 |
| T2 | 7TH 11TH 15TH 19TH (3RD) 23TH FLOOR PLAN | 4 | 6 | 90.365 | 0.000 | 0.000 | 0.000 | 90.365 |
| T2 | 7TH 11TH 15TH 19TH (3RD) 23TH FLOOR PLAN | 5 | 6 | 94.779 | 0.000 | 0.000 | 0.000 | 94.779 |
| T2 | 8TH TO 10TH 12TH TO 14TH FLOOR PLAN | 2 | 6 | 63.558 | 0.000 | 0.000 | 0.000 | 63.558 |
| T2 | 8TH TO 10TH 12TH TO 14TH FLOOR PLAN | 3 | 6 | 63.558 | 0.000 | 0.000 | 0.000 | 63.558 |
| T2 | 8TH TO 10TH 12TH TO 14TH FLOOR PLAN | 4 | 6 | 90.365 | 0.000 | 0.000 | 0.000 | 90.365 |
| T2 | 8TH TO 10TH 12TH TO 14TH FLOOR PLAN | 6.6 | 6 | 30.265 | 0.000 | 0.000 | 0.000 | 30.265 |
| T2 | 8TH TO 10TH 12TH TO 14TH FLOOR PLAN | 5 | 6 | 106.016 | 0.000 | 0.000 | 0.000 | 106.016 |
| T2 | 16TH FLOOR PLAN | 1 | 1 | 86.234 | 0.000 | 0.000 | 0.000 | 86.234 |
| T2 | 16TH FLOOR PLAN | 2 | 1 | 63.558 | 0.000 | 0.000 | 0.000 | 63.558 |
| T2 | 16TH FLOOR PLAN | 3 | 1 | 63.558 | 0.000 | 0.000 | 0.000 | 63.558 |
| T2 | 16TH FLOOR PLAN | 4 | 1 | 90.365 | 0.000 | 0.000 | 0.000 | 90.365 |
| T2 | 16TH FLOOR PLAN | 5 | 1 | 64.154 | 0.000 | 0.000 | 0.000 | 64.154 |

Carpet Area Table

| Building Name | Floor Name | Carpet name | Tenament No | Carpet Area | Enclosed Balcony Area | Normal Balcony Area | Wazapime Area | Total Carpet Area |
|---|---|---|---|---|---|---|---|---|
| T1 | GROUND FLOOR | 1 | 1 | 73.942 | 0.000 | 0.000 | 0.000 | 73.942 |
| T1 | GROUND FLOOR | 2 | 1 | 67.389 | 0.000 | 0.000 | 0.000 | 67.389 |
| T1 | GROUND FLOOR | 3 | 1 | 94.713 | 0.000 | 0.000 | 0.000 | 94.713 |
| T1 | GROUND FLOOR | 4 | 1 | 35.117 | 0.000 | 0.000 | 0.000 | 35.117 |
| T1 | GROUND FLOOR | 4 | 1 | 35.189 | 0.000 | 0.000 | 0.000 | 35.189 |
| T1 | GROUND FLOOR | 6 | 1 | 39.391 | 0.000 | 0.000 | 0.000 | 39.391 |
| T1 | GROUND FLOOR | 7 | 1 | 88.785 | 0.000 | 0.000 | 0.000 | 88.785 |
| T1 | GROUND FLOOR | 8 | 1 | 68.091 | 0.000 | 0.000 | 0.000 | 68.091 |
| T1 | GROUND FLOOR | 9 | 1 | 60.043 | 0.000 | 0.000 | 0.000 | 60.043 |
| T1 | FIRST FLOOR | 8 | 1 | 41.648 | 3.960 | 0.000 | 0.000 | 45.608 |
| T1 | FIRST FLOOR | 1 | 1 | 43.333 | 0.000 | 0.000 | 0.000 | 43.333 |
| T1 | FIRST FLOOR | 2 | 1 | 42.130 | 0.000 | 0.000 | 0.000 | 42.130 |
| T1 | FIRST FLOOR | 3 | 1 | 49.991 | 0.000 | 0.000 | 0.000 | 49.991 |
| T1 | FIRST FLOOR | 4 | 1 | 49.991 | 0.000 | 0.000 | 0.000 | 49.991 |
| T1 | FIRST FLOOR | 5 | 1 | 41.699 | 3.960 | 0.000 | 0.000 | 45.659 |
| T1 | FIRST FLOOR | 6 | 1 | 43.333 | 0.000 | 0.000 | 0.000 | 43.333 |
| T1 | FIRST FLOOR | 7 | 1 | 49.918 | 0.000 | 0.000 | 0.000 | 49.918 |
| T1 | FIRST FLOOR | 8 | 1 | 49.918 | 0.000 | 0.000 | 0.000 | 49.918 |
| T1 | 2ND FLOOR PLAN | 1 | 1 | 90.365 | 0.000 | 0.000 | 0.000 | 90.365 |
| T1 | 2ND FLOOR PLAN | 2 | 1 | 63.557 | 0.000 | 0.000 | 0.000 | 63.557 |
| T1 | 2ND FLOOR PLAN | 3 | 1 | 63.557 | 0.000 | 0.000 | 0.000 | 63.557 |
| T1 | 2ND FLOOR PLAN | 4 | 1 | 90.286 | 0.000 | 0.000 | 0.000 | 90.286 |
| T1 | 2ND FLOOR PLAN | 5 | 1 | 92.388 | 0.000 | 0.000 | 0.000 | 92.388 |
| T1 | 3RD TO 4TH 17TH TO 18TH 20TH TO 22ND 24TH TO 25TH AND 27TH FLOOR PLAN | 1,1 | 13 | 90.365 | 0.000 | 0.000 | 0.000 | 90.365 |
| T1 | 3RD TO 4TH 17TH TO 18TH 20TH TO 22ND 24TH TO 25TH AND 26TH FLOOR PLAN | 2 | 13 | 63.558 | 0.000 | 0.000 | 0.000 | 63.558 |
| T1 | 3RD TO 4TH 17TH TO 18TH 20TH TO 22ND 24TH TO 25TH AND 26TH FLOOR PLAN | 3 | 13 | 63.558 | 0.000 | 0.000 | 0.000 | 63.558 |
| T1 | 3RD TO 4TH 17TH TO 18TH 20TH TO 22ND 24TH TO 25TH AND 26TH FLOOR PLAN | 4 | 13 | 86.271 | 0.000 | 0.000 | 0.000 | 86.271 |
| T1 | 3RD TO 4TH 17TH TO 18TH 20TH TO 22ND 24TH TO 25TH AND 26TH FLOOR PLAN | 5 | 13 | 64.154 | 0.000 | 0.000 | 0.000 | 64.154 |
| T1 | 3RD TO 4TH 17TH TO 18TH 20TH TO 22ND 24TH TO 25TH AND 26TH FLOOR PLAN | 6 | 13 | 64.154 | 0.000 | 0.000 | 0.000 | 64.154 |
| T1 | 7TH11TH15TH 19TH(3RD)23TH FLOOR PLAN | 1 | 6 | 90.365 | 0.000 | 0.000 | 0.000 | 90.365 |
| T1 | 7TH11TH15TH 19TH(3RD)23TH FLOOR PLAN | 2 | 6 | 63.558 | 0.000 | 0.000 | 0.000 | 63.558 |
| T1 | 7TH11TH15TH 19TH(3RD)23TH FLOOR PLAN | 3 | 6 | 63.558 | 0.000 | 0.000 | 0.000 | 63.558 |
| T1 | 7TH11TH15TH 19TH(3RD)23TH FLOOR PLAN | 4 | 6 | 90.286 | 0.000 | 0.000 | 0.000 | 90.286 |
| T1 | 7TH11TH15TH 19TH(3RD)23TH FLOOR PLAN | 5 | 6 | 94.581 | 0.000 | 0.000 | 0.000 | 94.581 |
| T1 | 8TH TO 10TH12TH TO 14TH FLOOR PLAN | 1 | 6 | 90.365 | 0.000 | 0.000 | 0.000 | 90.365 |
| T1 | 8TH TO 10TH12TH TO 14TH FLOOR PLAN | 2 | 6 | 63.558 | 0.000 | 0.000 | 0.000 | 63.558 |
| T1 | 8TH TO 10TH12TH TO 14TH FLOOR PLAN | 3 | 6 | 63.558 | 0.000 | 0.000 | 0.000 | 63.558 |
| T1 | 8TH TO 10TH12TH TO 14TH FLOOR PLAN | 4 | 6 | 90.286 | 4.015 | 0.000 | 0.000 | 94.301 |
| T1 | 8TH TO 10TH12TH TO 14TH FLOOR PLAN | 5.5 | 6 | 30.265 | 0.000 | 0.000 | 0.000 | 30.265 |
| T1 | 8TH TO 10TH12TH TO 14TH FLOOR PLAN | 6 | 6 | 106.062 | 0.000 | 0.000 | 0.000 | 106.062 |
| T1 | 16TH FLOOR PLAN | 1 | 1 | 90.365 | 0.000 | 0.000 | 0.000 | 90.365 |
| T1 | 16TH FLOOR PLAN | 2 | 1 | 63.558 | 0.000 | 0.000 | 0.000 | 63.558 |
| T1 | 16TH FLOOR PLAN | 3 | 1 | 63.558 | 0.000 | 0.000 | 0.000 | 63.558 |
| T1 | 16TH FLOOR PLAN | 4 | 1 | 90.286 | 4.015 | 0.000 | 0.000 | 94.301 |
| T1 | 16TH FLOOR PLAN | 5 | 1 | 64.154 | 0.000 | 0.000 | 0.000 | 64.154 |

Area utilisation of Roads and Reservations

| Description of area utilisation | | | | | | |
|---|---|---|---|---|---|---|
| BUILDING | Reservation type | reservation no | surrendered Area in(Sqm) | Quantity of FSI to be generated | Total Quantity of FSI to be generated | Area considered for DR utilisation | Remaining area Quantity of FSI to be generated |
| - | - | 10.000 in MMC PRESCRIBED ROAD | 130.000 | 260.000 | 260.000 | 0.000 | 0.000 |
| - | - | Total | 130.000 | 260.000 | 260.000 | 0.000 | 260.000 |

Parking Check (Table 9B)

| | | | RATIO | | | Required | | |
|---|---|---|---|---|---|---|---|---|
| Building Name | USE | TENAMENT AREA | car | scooter | NO OF Tenants/Heads/Units | car | scooter | Transport Vehicle/Ambulance Van/Mini Bus |
| T2 | Residential | For every two tenements with each tenement having carpet area less than 40 Sq.m but more than 30 sq.m. | 1 | 2 | 6 | 3.000 | 6.000 | - |
| T2 | Residential | For every two tenements with each tenement having carpet area equal to or above 40 sq.m. but less than 80 sq.m. | 1 | 2 | 89 | 44.500 | 89.000 | - |
| T2 | Residential | For every tenement having carpet area equal to or above 80 sq.m. but less than 150 sq.m. | 1 | 1 | 61 | 61.000 | 61.000 | - |
| T1 | Residential | For every tenement having carpet area equal to or above 40 sq.m. but less than 150 sq.m. | 1 | 1 | 73 | 73.000 | 73.000 | - |
| T1 | Residential | For every two tenements with each tenement having carpet area less than 40 Sq.m but more than 30 sq.m. | 1 | 2 | 6 | 3.000 | 6.000 | - |
| T1 | Residential | For every two tenements with each tenement having carpet area equal to or above 40 sq.m. but less than 80 sq.m. | 1 | 2 | 90 | 45.000 | 90.000 | - |
| T1 | Commercial | For every 100 sq.m. carpet area or fraction thereof | 2 | 6 | 560.661 | 11.213 | 33.640 | - |
| Total | - | - | - | - | - | 240.713 | 358.640 | - |
| Visitors parking(5%) | - | - | - | - | - | 11.475 | 16.250 | - |
| Total | - | - | - | - | - | 252.188 | 374.890 | 0.000 |

Parking Check As Per Multiplying Factor 0.800 (note: 1) 4 scooter equals to 1 car, proposed composite parking for car= 24)

| | Required | | | Proposed | | | |
|---|---|---|---|---|---|---|---|
| Building Name | Car | Scooter | Transport Vehicle/Ambulance Van/Mini bus | Car | Scooter | Transport Vehicle/Ambulance Van/Mini bus | Status |
| Total | 226 | 224 | 0 | 262 | 225 | 0 | OK |

Telecom Room

| Building | Room Size | Prop. Size | Status |
|---|---|---|---|
| T2 | Telecom/Room | 3.000X3.400 | OK |
| T1 | Telecom/Room | 3.000X3.400 | OK |

SCHEDULE OF OPENING

| BLD NAME | NAME | LENGTH | HEIGHT | Nos. |
|---|---|---|---|---|
| T1 | V | 0.750 | 1.200 | 8 |
| T1 | V | 0.900 | 1.200 | 12 |
| T1 | V | 0.750 | 1.200 | 26 |
| T1 | V | 0.750 | 1.200 | 54 |
| T2 | V | 0.750 | 1.200 | 7 |
| T2 | V | 0.750 | 1.200 | 20 |
| T2 | V | 0.750 | 1.200 | 55 |
| T2 | V | 0.750 | 1.200 | 1 |
| T2 | V | 0.750 | 1.200 | 3 |

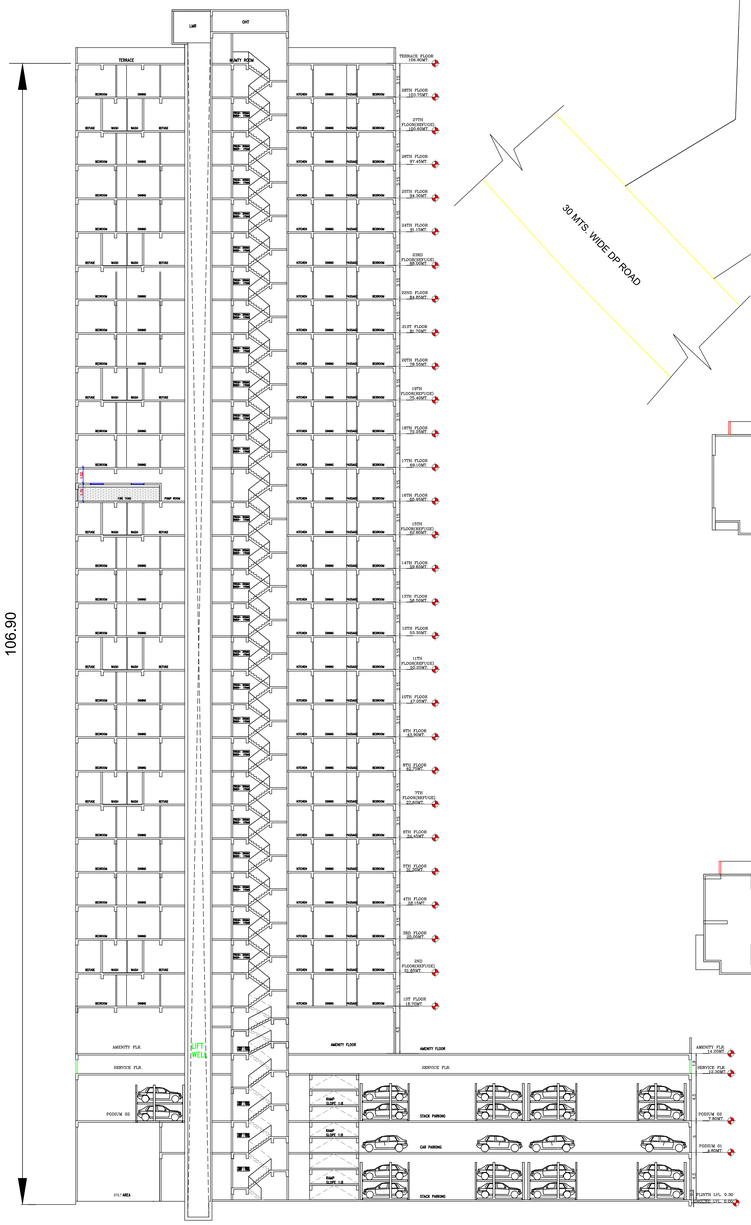


SECTION AA'
SCALE 1:200

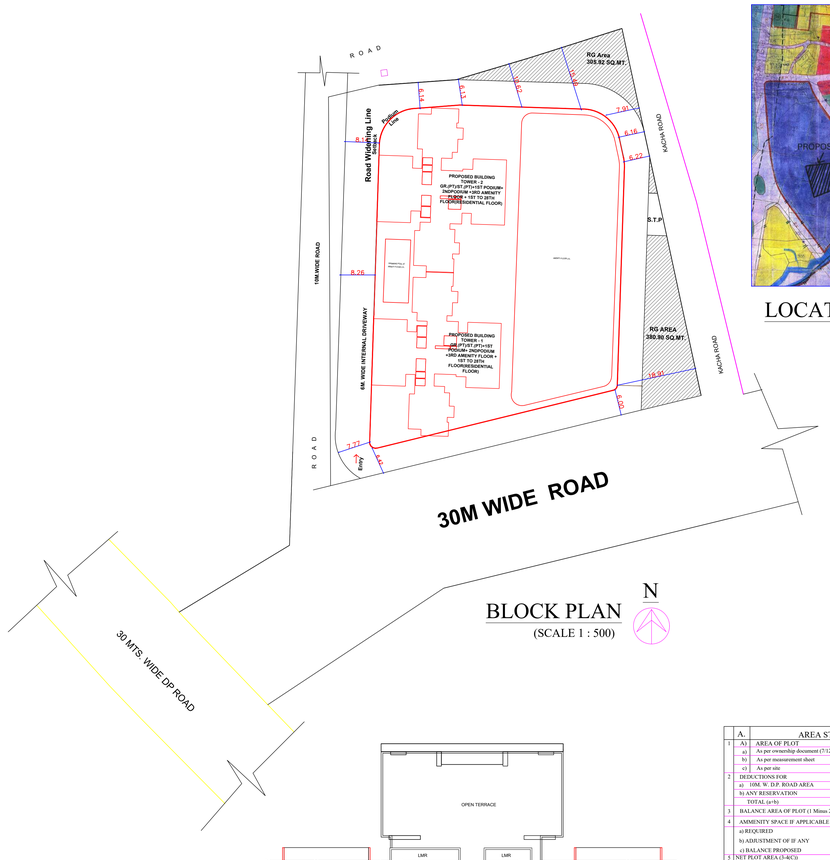


BLOCK PLAN
(SCALE 1 : 500)

LOCATION PLAN

| Project Details |
|---|
| Project code: KDMCC--25--132645 |
| Zone Type: Residential Zone |
| Location: Non-Congested |
| Name of service: Building Development |
| Sub service: |
| Chk No./Survey No.: 299 |
| Taluk: section-1 |
| Mouza: katyan(75) |
| Proratio Value: 0.000 |
| Description(FOR Zone Area ... |

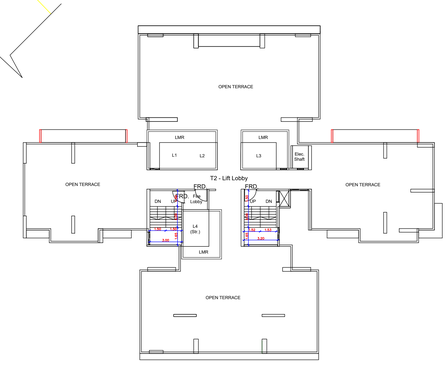


T2
TERRACE PLAN
SCALE 1:200

T1
TERRACE PLAN
SCALE 1:200

| | A. | AREA STATEMENT | |
|---|---|---|---|
| 1 | A1 | AREA OF PLOT | |
| | a) | As per ownership document (7/12,extract) | 7068.57 |
| | b) | As per measurement sheet | 6961.00 |
| | c) | As per site | 7068.57 |
| 2 | | DEDUCTIONS FOR | |
| | a) | 10M W. D.P. ROAD AREA | 130.00 |
| | b) | ANY RESERVATION | 00 |
| | | TOTAL (a+b) | 130.00 |
| 3 | | BALANCE AREA OF PLOT (1 Minus 2) | 6831.00 |
| 4 | | AMMENITY SPACE IF APPLICABLE | |
| | a) | REQUERIED | |
| | b) | ADJUSTMENT OF IF ANY | |
| | c) | BALANCE PROPOSED | |
| 5 | | NET PLOT AREA (3-4(C)) | 6831.00 |
| 6 | | RECREATIONAL OPEN SPACE (IF APPLICABLE) | 6831.00 |
| | a) | REQUERIED 10% | 683.100 |
| | b) | PROPOSED | |
| 7 | | INTERNAL ROAD AREA | |
| 8 | | PLOTABLE AREA | |
| 9 | | BUILT UP AREA WITH REFERANCE TO BASIC FSI AS PER FRONT ROAD WIDTH<br>6831.00 X 1.10 = 7514.10 | 7514.10 |
| 10 | | ADDITION OF FSI ON PAYMENT PREMIUM | |
| | a) | MAXIMUM PERMISSIBLE PREMIUM FSI BASED ON ROAD WIDTH/ TOD ZONE | |
| | b) | PROPOSED FSI ON PAYMENT OF PREMIUM 6961.00 X 0.5 = 3480.5 | 3480.50 |
| 11 | | IN-SITU FSI/TDR LOADING | |
| | a) | IN-SITU AREA AGAINST D.P. ROAD (2.00 X SR.NO.2 (a)) | |
| | b) | IN-SITU AREA AGAINST AMENITY SPACE IF HANDED OVER | |
| | c) | TDR AREA<br>6961.00 X 1.4 = 9745.40 | |
| | d) | TOTAL IN-SITU / TDR LOADING PROPOSED (11 (a)+(b)+(c)) | 9745.40 |
| 12 | | ADDITIONAL FSI AREA UNDER CHAPTER NO.7 | |
| 13 | | TOTAL ENTITLEMENT OF FSI IN THE PROPOSAL | |
| | a) | [9+10(b)+11(d)] or 12 WHICHEVER IS APPLICABLE | 20740.00 |
| | b) | ANCILLARY AREA FSI UPTO 60% OR 80% WITH PAYMENT OF CHARGES<br>COMMERCIAL 413.13 X 80% = 330.50<br>RESIDENTIAL 20740 - 413.13 = 20326.87 X 60% = 12196.12<br>TOTAL = 12526.62 | 12526.62 |
| | c) | TOTAL ENTITLEMENT (a+b) | 33266.62 |
| 14 | | MAXIMUM UTILISATION LIMIT OF FSI (30.3(B)NG POTENTIAL ) PERMISSIBLE AS PER ROAD WIDTH<br>As per Regulation no. 6.1 or 6.2 or 6.3 or 6.4 as applicable ) x 1.8 or 1.8 | |
| 15 | | TOTAL BUILT UP AREA IN PROPOSAL (EXCLUDING AREA AT SR. NO.17(b)) | |
| | a) | EXISTING BUILT UP AREA | |
| | b) | PROPOSED BUILT UP AREA (AS PER P LINE) | |
| | c) | TOTAL (a+b) | 33266.07 |
| 16 | | FSI CONSUMED (15/13) | 33266.07 |
| 17 | | AREA FOR INCLUSIVE HOUSING IF ANY | |
| | a) | REQURIED(20% OF SR.NO.5) 7514.10 X 20% = 1502.82 | 1502.82 |
| | b) | PROPOSED | 1502.82 |
| | | TOTAL CONSTRUCTION AREA F.S.I. + NON F.S.I. 33266.06 + 18427.48 | 51693.540 |

| Proforma I : Area Statement | |
|---|---|
| 1. Area of plot (Minimum area of a, b, c to be considered) | 6961.000 |
| (a) As per ownership document (7/12, CTS extract) | 7068.570 |
| (b) as per TILR or City Survey measurement sheet | 7068.570 |
| (c) as per Demarcated drawing area | 6961.003 |
| LESS | - |
| 2.Area not in possession | 0.000 |
| 3. Area Proposed for development ( out of 1-2 ) | 6961.000 |
| 4.Deductions for | - |
| (a) Proposed D.P./ D.P. Road widening Area / Service Road / Highway widening | 130.000 |
| (b) Any D.P. Reservation area | 0.000 |
| (c) Green Belt | 0.000 |
| Total (a+b+c) | 130.000 |
| 5.Balance area of plot (3-4) | 6831.000 |
| 6. Amenity Space | 0.000 |
| (Applicable if (1) > 20000 sqmt | - |
| (Required -(a) Upto 20000 sqmt - Nil | - |
| (b) Above 20000 sqmt - (a) + 5% of Total area | 0.000 |
| 7. Net Plot Area (5-6 ) | 6831.000 |
| 8. Recreational Open Space | - |
| (a) If area (5) is more than 4000 sqmt - 10 % of (5) is required. | 683.100 |
| Proposed___ | 801.882 |
| (b) If area is less than 4000 sqmt -Check - | - |
| i) If it is full number like 1,2,125,419,etc. As per 7.12 abstract or City Survey Number - No Recreational open space is required | - |
| ii) If it is subdivision like 1/2 ,2/5 , 125/1 419/1 etc.then recreational open space is required. | - |
| (A) 10 % Subject to minimum 200 sqmt | 0.000 |
| Proposed___ | 801.882 |
| (B) Exemption to leave open space subject to availing basic F.S.I of 75 % | - |
| (C) Exemption to leave open space subject to payment of 10 % land value of land at (7) as per annual statement of rate. | - |
| Architect/ Licensed Engineer/ Supervisor name and signature | |
| Registration No. of Architect/ License no. of Licensed Engineer/ Supervisor. CA/2019/106930 | |

LEGENDS:
PROPOSED WORK - RED
FUTURE WORK - ORANGE
PROPOSED WORK DURING WALL PERIMAGE - LINE SHOWS YELLOW LIGHT
EXISTING WORK TO BE RETAINED - EXCLUDED BALL SHOWN BROWN
EXISTING WORK TO BE DEMOLISHED - CROSS BALL SHOWN BROWN
EXISTING WORK BUILT AS CHECKED

Certificate of Area:
Certified that the plot under reference was surveyed by me on_____ and the dimensions of sides etc. of plot stated on plan are as measured on site and the area so worked out tallies with the area stated in document of Ownership/ T.P. Scheme Records/Land Records Department/City Survey records.

Signature
(Name of Architect/ Licensed Engineer/ Supervisor.)

Owner's Declaration :
I/We undersigned hereby confirm that I/We would abide by plans approved by Authority / Collector. I/We would execute the structure as per approved plans. Also I/We would execute the work under supervision of proper technical person so as to ensure the quality and safety at the work site.

Owner (s) name and signature

Name Of : Owner SEASONSSAI LIFESPACES LLP

Postal Address : TYCOONS RESIDENCY OLYMPIA BUILDING FLAT NO.203AND204,BAIRAVE ROAD KHADAKPADA,KALYAN WEST,Thane,Maharashtra-421301
Phone No.:9022666888

DESCRIPTION OF PROJECT :
Type of Proposal : Mixed
BUILDING ON CTS NO./SURVEY NO.-3555/1,3553/2

SITE ADDRESS :
CTS NO. 3555/1,3553/2 AT VILLAGE KALYAN TALUKA KALYAN DIST THANE

Name Of Architect : Tejas Anil Nirgude

| LOGO | ADDRESS OF OFFICE |
|---|---|
| | OFFICE :<br>5TH FLOOR, MIDTOWN EMBASSY, BEHIND VASANT VALLEY BUS DEPOT, OPP. NARAYANA SCHOOL, GANDHARE, KALYAN - 421301 |
| OWNERS SIGN - | TECHNICAL PERSON SIGN |
| SCALE - | DATE: Date: 24/12/25 |
| JOB NO - KDMCC-25-132645 | CHECK BY - ANIL |

SUBMISSION DRAWING

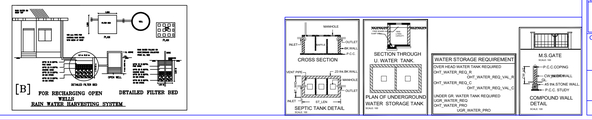

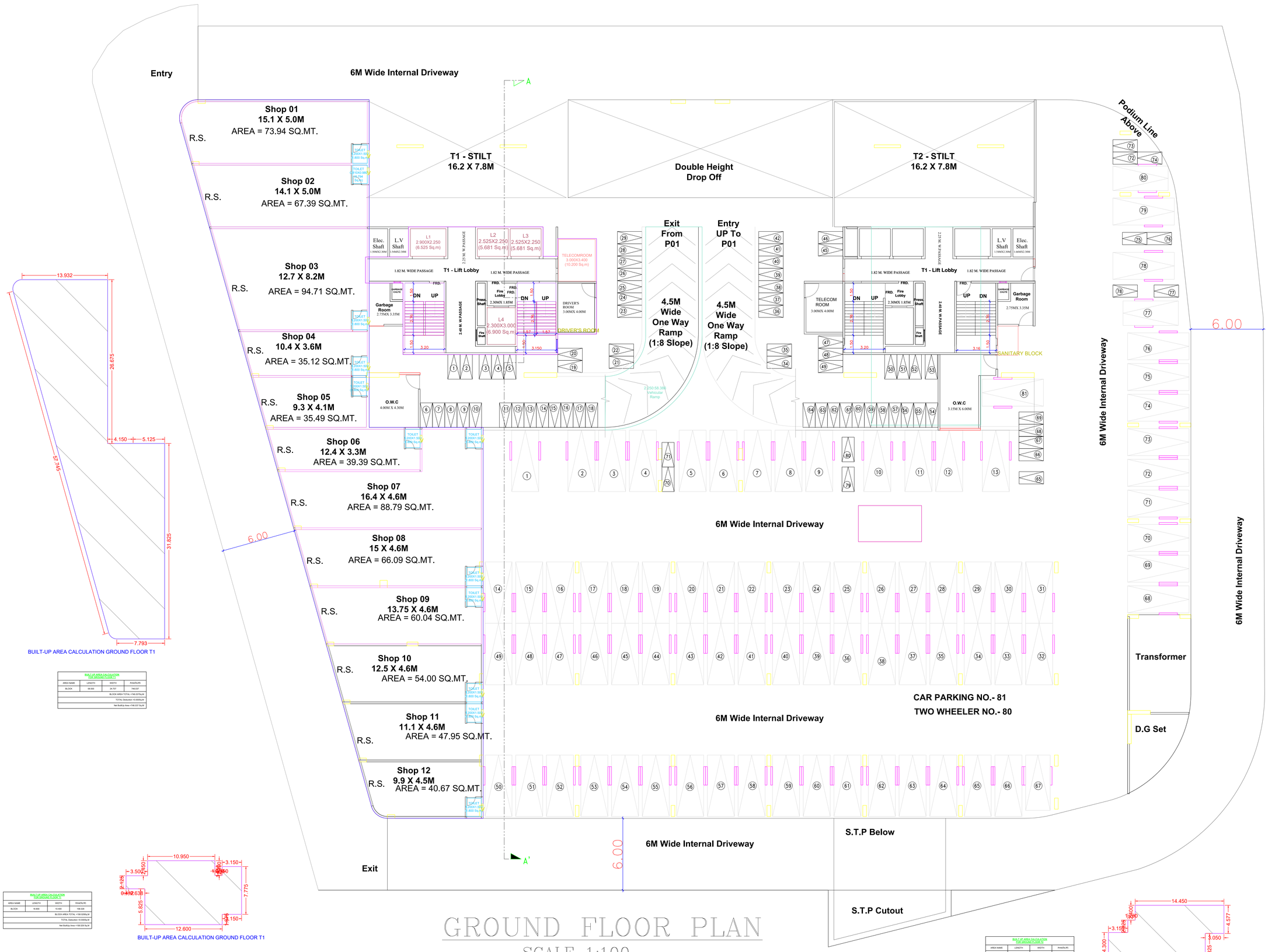


BUILT-UP AREA CALCULATION GROUND FLOOR T1

| BUILT UP AREA CALCULATION FOR GROUND FLOOR T1 | | | |
|---|---|---|---|
| AREA NAME | LENGTH | WIDTH | Area(Sq.M) |
| BLOCK | 58.500 | 24.707 | 746.037 |
| BLOCK AREA TOTAL =746.037Sq.M | | | |
| TOTAL Deduction =0.000Sq.M | | | |
| Net BuiltUp Area =746.037 Sq.M | | | |

| BUILT UP AREA CALCULATION FOR GROUND FLOOR T1 | | | |
|---|---|---|---|
| AREA NAME | LENGTH | WIDTH | Area(Sq.M) |
| BLOCK | 18.900 | 10.400 | 196.559 |
| BLOCK AREA TOTAL =196.559Sq.M | | | |
| TOTAL Deduction =0.000Sq.M | | | |
| Net BuiltUp Area =196.559 Sq.M | | | |

BUILT-UP AREA CALCULATION GROUND FLOOR T1

# GROUND FLOOR PLAN

SCALE 1:100

| BUILT UP AREA CALCULATION FOR GROUND FLOOR T2 | | | |
|---|---|---|---|
| AREA NAME | LENGTH | WIDTH | Area(Sq.M) |
| BLOCK | 18.900 | 10.400 | 196.561 |
| BLOCK AREA TOTAL =196.561Sq.M | | | |
| TOTAL Deduction =0.000Sq.M | | | |
| Net BuiltUp Area =196.561 Sq.M | | | |

BUILT-UP AREA CALCULATION GROUND FLOOR T2

**Proforma I : Area Statement**

| | |
|---|---|
| 1. Area of plot (Minimum area of a, b, c to be considered) | 6961.000 |
| (a) As per ownership document (7/12, CTS extract) | 7068.570 |
| (b) as per TILR or City Survey measurement sheet | 7068.570 |
| (c) as per Demarcated drawing area | 6961.003 |
| LESS | - |
| 2.Area not in possession | 0.000 |
| 3. Area Proposed for development ( out of 1-2 ) | 6961.000 |
| 4.Deductions for | - |
| (a) Proposed D.P./ D.P. Road widening Area / Service Road / Highway widening | 130.000 |
| (b) Any D.P. Reservation area | 0.000 |
| (c) Green Belt | 0.000 |
| Total (a+b+c) | 130.000 |
| 5.Balance area of plot (3-4) | 6831.000 |
| 6. Amenity Space | 0.000 |
| (Applicable if (1) > 20000 sqmt | - |
| (Required -(a) Upto 20000 sqmt - Nil | - |
| (b) Above 20000 sqmt - (a) + 5% of Total area | 0.000 |
| 7. Net Plot Area (5-6 ) | 6831.000 |
| 8. Recreational Open Space | - |
| (a) If area (5) is more than 4000 sqmt - 10 % of (5) is required. | 683.100 |
| Proposed___ | 801.882 |
| (b) If area is less than 4000 sqmt -Check - | - |
| i) If it is full number like 1,2,125,419,etc. As per 7.12 abstract or City Survey Number - No Recreational open space is required | - |
| ii) If it is subdivision like 1/2 ,2/5 , 125/1 419/1 etc.then recreational open space is required. | - |
| (A) 10 % Subject to minimum 200 sqmt | 0.000 |
| Proposed _____ | 801.882 |
| (B) Exemption to leave open space subject to availing basic F.S.I of 75 % | - |
| (C) Exemption to leave open space subject to payment of 10 % land value of land at (7) as per annual statement of rate. | - |
| Architect/ Licensed Engineer/ Supervisor name and signature | |
| Registration No. of Architect/ License no. of Licensed Engineer/ Supervisor: CA/2019/106930 | |

Name Of : Owner SEASONSSAI LIFESPACES LLP

Postal Address : TYCOON'S RESIDENCY OLYMPIA BUILDING FLAT NO.203AND204,BARAVE ROAD KHADAKPADA,KALYAN WEST,Thane,Maharashtra-421301
Phone No. 9022666888

**DESCRIPTION OF PROJECT :**
Type of Proposal : Mixed
BUILDING ON CTS. NO./SURVEY NO.-3555/1,3553/2

SITE ADDRESS :
CTS NO. 3555/1,3553/2 AT VILLAGE KALYAN TALUKA KALYAN DIST THANE

Name Of Architect : Tejas Anil Nirgude

LOGO

ADDRESS OF OFFICE
OFFICE -
5TH FLOOR, MIDTOWN EMBASSY, BEHIND VASANT VALLEY BUS DEPOT, OPP. NARAYANA SCHOOL, GANDHARE, KALYAN - 421301

OWNERS SIGN -

TECHNICAL PERSON SIGN

SCALE -

DATE: Date: 24/12/25

JOB NO - KDMCC-25-132645

CHECK BY - ANIL

**SUBMISSION DRAWING**

# PODIUM 1 PLAN

SCALE 1:100

| Proforma I : Area Statement | |
|---|---|
| 1. Area of plot (Minimum area of a, b, c to be considered) | 6961.000 |
| (a) As per ownership document (7/12, CTS extract) | 7068.570 |
| (b) as per TILR or City Survey measurement sheet | 7068.570 |
| (c) as per Demarcated drawing area | 6961.003 |
| LESS | - |
| 2.Area not in possession | 0.000 |
| 3. Area Proposed for development ( out of 1-2 ) | 6961.000 |
| 4.Deductions for | - |
| (a) Proposed D.P./ D.P. Road widening Area / Service Road / Highway widening | 130.000 |
| (b) Any D.P. Reservation area | 0.000 |
| (c) Green Belt | 0.000 |
| Total (a+b+c) | 130.000 |
| 5.Balance area of plot (3-4) | 6831.000 |
| 6. Amenity Space | 0.000 |
| (Applicable if (1) > 20000 sqmt | - |
| (Required -(a) Upto 20000 sqmt - Nil | |
| (b) Above 20000 sqmt - (a) + 5% of Total area | 0.000 |
| 7. Net Plot Area (5-6 ) | 6831.000 |
| 8. Recreational Open Space | - |
| (a) If area (5) is more than 4000 sqmt - 10 % of (5) is required. | 683.100 |
| Proposed___ | 801.882 |
| (b) If area is less than 4000 sqmt -Check - | - |
| i) If it is full number like 1,2,125.419,etc. As per 7.12 abstract or City Survey Number - No. Recreational open space is required | - |
| ii) If it is subdivision like 1/2 ,2/5 , 125/1 419/1 etc.then recreational open space is required. | - |
| (A) 10 % Subject to minimum 200 sqmt | 0.000 |
| Proposed _____ | 801.882 |
| (B) Exemption to leave open space subject to availing basic F.S.I of 75 % | - |
| (C) Exemption to leave open space subject to payment of 10 % land value of land at (7) as per annual statement of rate. | - |
| Architect/ Licensed Engineer/ Supervisor name and signature | |
| Registration No. of Architect/ License no. of Licensed Engineer/ Supervisor: CA/2019/106930 | |

Name Of : Owner SEASONSSAI LIFESPACES LLP

Postal Address : TYCOONS RESIDENCY OLYMPIA BUILDING FLAT NO.203AND204,BARAVE ROAD KHADAKPADA,KALYAN WEST,Thane,Maharashtra-421301
Phone No.: 9022666888

**DESCRIPTION OF PROJECT :**
Type of Proposal : Mixed
BUILDING ON CTS. NO./SURVEY NO.-3555/1,3553/2

SITE ADDRESS :
CTS NO. 3555/1,3553/2 AT VILLAGE KALYAN TALUKA KALYAN DIST THANE

Name Of Architect : Tejas Anil Niravde

| LOGO | ADDRESS OF OFFICE OFFICE 5TH FLOOR, MIDTOWN EMBASSY, BEHIND VASANT VALLEY BUS DEPOT, OPP. NARAYANA SCHOOL, GANDHARE, KALYAN - 421301 |
|---|---|
| OWNERS SIGN - | TECHNICAL PERSON SIGN |
| SCALE - | DATE: Date: 24/12/25 |
| JOB NO - KDMCC-25-132645 | CHECK BY - ANIL |

**SUBMISSION DRAWING**

# PODIUM 2 PLAN

SCALE 1:100

| Proforma I : Area Statement | |
|---|---|
| 1. Area of plot (Minimum area of a, b, c to be considered) | 6961.000 |
| (a) As per ownership document (7/12, CTS extract) | 7068.570 |
| (b) as per TILR or City Survey measurement sheet | 7068.570 |
| (c) as per Demarcated drawing area | 6961.003 |
| LESS | - |
| 2.Area not in possession | 0.000 |
| 3. Area Proposed for development ( out of 1-2 ) | 6961.000 |
| 4.Deductions for | - |
| (a) Proposed D.P./ D.P. Road widening Area / Service Road / Highway widening | 130.000 |
| (b) Any D.P. Reservation area | 0.000 |
| (c) Green Belt | 0.000 |
| Total (a+b+c) | 130.000 |
| 5.Balance area of plot (3-4) | 6831.000 |
| 6. Amenity Space | 0.000 |
| (Applicable if (1) > 20000 sqmt | - |
| (Required -(a) Upto 20000 sqmt - Nil | - |
| (b) Above 20000 sqmt - (a) + 5% of Total area | 0.000 |
| 7. Net Plot Area (3-6 ) | 6831.000 |
| 8. Recreational Open Space | - |
| (a) If area (5) is more than 4000 sqmt - 10 % of (5) is required. | 683.100 |
| Proposed___ | 801.882 |
| (b) If area is less than 4000 sqmt -Check - | - |
| i) If it is full number like 1,2,125,419,etc. As per 7.12 abstract or City Survey Number - No Recreational open space is required | - |
| ii) If it is subdivision like 1/2 ,2/5 , 125/1 419/1 etc.then recreational open space is required. | - |
| (A) 10 % Subject to minimum 200 sqmt | 0.000 |
| Proposed _____ | 801.882 |
| (B) Exemption to leave open space subject to availing basic F.S.I of 75 % | - |
| (C) Exemption to leave open space subject to payment of 10 % land value of land at (7) as per annual statement of rate. | - |
| Architect/ Licensed Engineer/ Supervisor name and signature | |
| Registration No. of Architect/ License no. of Licensed Engineer/ Supervisor: CA/2019/106930 | |

Name Of : Owner SEASONSSAI LIFESPACES LLP

Postal Address : TYCOONS RESIDENCY OLYMPIA BUILDING FLAT NO.203AND204,BARAVE ROAD KHADAKPADA,KALYAN WEST,Thane,Maharashtra-421301
Phone No.:9022666888

**DESCRIPTION OF PROJECT :**

Type of Proposal : Mixed
BUILDING ON CTS. NO./SURVEY NO.-3555/1,3553/2

SITE ADDRESS :
CTS NO. 3555/1,3553/2 AT VILLAGE KALYAN TALUKA KALYAN DIST THANE

Name Of Architect : Tejas Anil Nirgude

| LOGO | ADDRESS OF OFFICE |
|---|---|
| | OFFICE - 5TH FLOOR, MIDTOWN EMBASSY, BEHIND VASANT VALLEY BUS DEPOT, OPP. NARAYANA SCHOOL, GANDHARE, KALYAN - 421301 |

| OWNERS SIGN - | TECHNICAL PERSON SIGN |
|---|---|
| | |

| | |
|---|---|
| SCALE - | DATE: Date: 24/12/25 |
| JOB NO - KDMCC-25-132645 | CHECK BY - ANIL |

**SUBMISSION DRAWING**

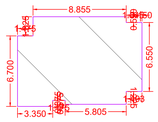


BUILT-UP AREA CALCULATION AMENITY FLOOR T1

| BUILT UP AREA CALCULATION FOR AMENITY FLOOR T1 | | | |
|---|---|---|---|
| AREA NAME | LENGTH | WIDTH | Area(Sq.M) |
| BLOCK | 11.605 | 8.526 | 93.321 |
| BLOCK AREA TOTAL =93.321Sq.M | | | |
| TOTAL Deduction =0.000Sq.M | | | |
| Net BuiltUp Area =93.321 Sq.M | | | |

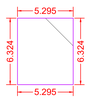


BUILT-UP AREA CALCULATION AMENITY FLOOR T1

| BUILT UP AREA CALCULATION FOR AMENITY FLOOR T1 | | | |
|---|---|---|---|
| AREA NAME | LENGTH | WIDTH | Area(Sq.M) |
| BLOCK | 6.324 | 5.295 | 33.484 |
| BLOCK AREA TOTAL =33.484Sq.M | | | |
| TOTAL Deduction =0.000Sq.M | | | |
| Net BuiltUp Area =33.484 Sq.M | | | |

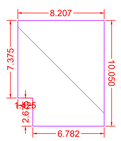


BUILT-UP AREA CALCULATION AMENITY FLOOR T1

| BUILT UP AREA CALCULATION FOR AMENITY FLOOR T1 | | | |
|---|---|---|---|
| AREA NAME | LENGTH | WIDTH | Area(Sq.M) |
| BLOCK | 10.050 | 8.207 | 75.971 |
| BLOCK AREA TOTAL =75.971Sq.M | | | |
| TOTAL Deduction =0.000Sq.M | | | |
| Net BuiltUp Area =75.971 Sq.M | | | |

# AMENITY FLOOR

SCALE 1:100

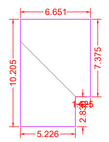


BUILT-UP AREA CALCULATION AMENITY FLOOR T2

| BUILT UP AREA CALCULATION FOR AMENITY FLOOR T2 | | | |
|---|---|---|---|
| AREA NAME | LENGTH | WIDTH | Area(Sq.M) |
| BLOCK | 10.205 | 8.661 | 88.837 |
| BLOCK AREA TOTAL =88.837Sq.M | | | |
| TOTAL Deduction =0.000Sq.M | | | |
| Net BuiltUp Area =88.837 Sq.M | | | |

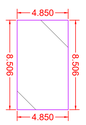


BUILT-UP AREA CALCULATION AMENITY FLOOR T2

| BUILT UP AREA CALCULATION FOR AMENITY FLOOR T2 | | | |
|---|---|---|---|
| AREA NAME | LENGTH | WIDTH | Area(Sq.M) |
| BLOCK | 8.505 | 4.932 | 41.252 |
| BLOCK AREA TOTAL =41.252Sq.M | | | |
| TOTAL Deduction =0.000Sq.M | | | |
| Net BuiltUp Area =41.252 Sq.M | | | |

| Proforma I : Area Statement | |
|---|---|
| 1. Area of plot (Minimum area of a, b, c to be considered) | 6961.000 |
| (a) As per ownership document (7/12, CTS extract) | 7068.570 |
| (b) as per TILR or City Survey measurement sheet | 7068.570 |
| (c) as per Demarcated drawing area | 6961.003 |
| LESS | - |
| 2.Area not in possession | 0.000 |
| 3. Area Proposed for development ( out of 1-2 ) | 6961.000 |
| 4.Deductions for | - |
| (a) Proposed D.P./ D.P. Road widening Area / Service Road / Highway widening | 130.000 |
| (b) Any D.P. Reservation area | 0.000 |
| (c) Green Belt | 0.000 |
| Total (a+b+c) | 130.000 |
| 5.Balance area of plot (3-4) | 6831.000 |
| 6. Amenity Space | 0.000 |
| (Applicable if (1) > 20000 sqmt | - |
| (Required -(a) Upto 20000 sqmt - Nil | - |
| (b) Above 20000 sqmt - (a) + 5% of Total area | 0.000 |
| 7. Net Plot Area (5-6 ) | 6831.000 |
| 8. Recreational Open Space | - |
| (a) If area (5) is more than 4000 sqmt - 10 % of (5) is required. | 683.100 |
| Proposed___ | 801.882 |
| (b) If area is less than 4000 sqmt -Check - | - |
| i) If it is full number like 1,2,125,419,etc. As per 7.12 abstract or City Survey Number - No Recreational open space is required | - |
| ii) If it is subdivision like 1/2 ,2/5 , 125/1 419/1 etc.then recreational open space is required. | - |
| (A) 10 % Subject to minimum 200 sqmt | 0.000 |
| Proposed _____ | 801.882 |
| (B) Exemption to leave open space subject to availing basic F.S.I of 75 % | - |
| (C) Exemption to leave open space subject to payment of 10 % land value of land at (7) as per annual statement of rate. | - |
| Architect/ Licensed Engineer/ Supervisor name and signature | |
| Registration No. of Architect/ License no. of Licensed Engineer/ Supervisor: CA/2019/106930 | |

Name Of : Owner SEASONSSAI LIFESPACES LLP

Postal Address : TYCOON9 RESIDENCY OLYMPIA BUILDING FLAT NO.203AND204,BARAVE ROAD KHADANPADA,KALYAN WEST,Thane,Maharashtra-421301
Phone No.:9022666669

**DESCRIPTION OF PROJECT :**

Type of Proposal : Mixed
BUILDING ON CTS NO./SURVEY NO.-3555/1,3553/2

SITE ADDRESS :
CTS NO. 3555/1,3553/2 AT VILLAGE KALYAN TALUKA KALYAN DIST THANE

Name Of Architect : Tejas Anil Nirgude

LOGO

ADDRESS OF OFFICE :
OFFICE :
5TH FLOOR, MIDTOWN EMBASSY, BEHIND VASANT VALLEY BUS DEPOT, OPP. NARAYANA SCHOOL, GANDHARE, KALYAN - 421301

OWNERS SIGN -

TECHNICAL PERSON SIGN

SCALE -

DATE: Date: 24/12/25

JOB NO - KDMCC-25-132645

CHECK BY - ANIL

**SUBMISSION DRAWING**

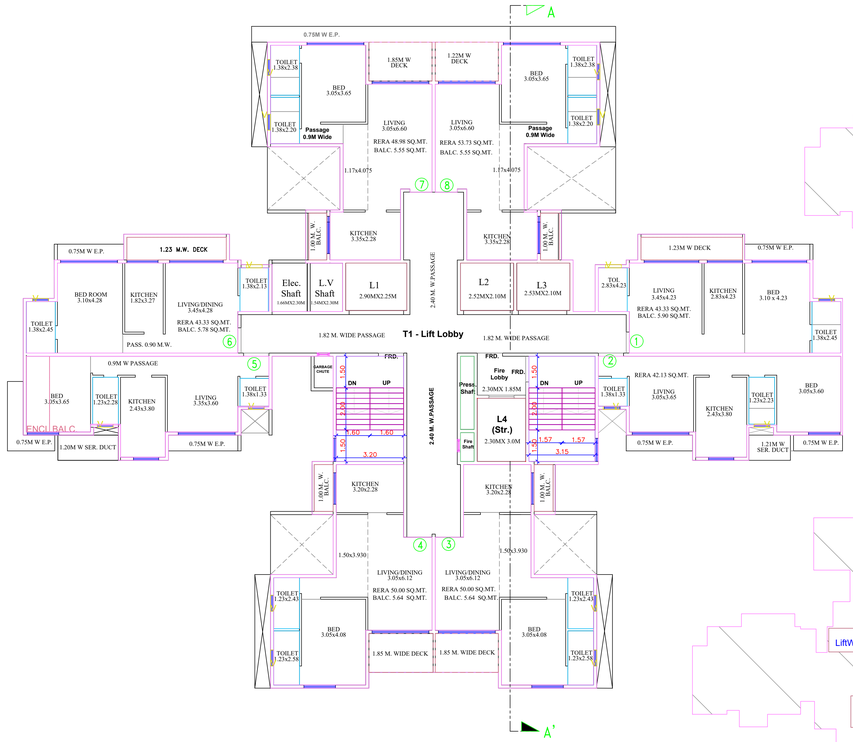


T1

FIRST FLOOR PLAN

SCALE 1:100

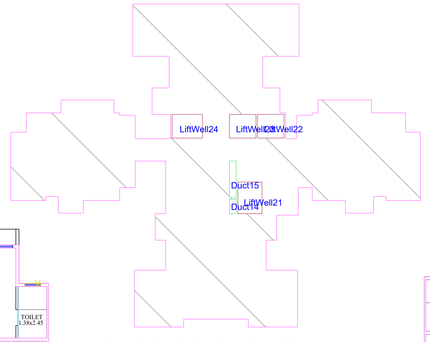


BUILT-UP AREA CALCULATION FIRST FLOOR T1

| BUILT-UP AREA CALCULATION FOR FIRST FLOOR T1 | | | |
|---|---|---|---|
| AREA NAME | LENGTH | WIDTH | Area(Sq.M) |
| BLOCK | 38.927 | 30.700 | 596.565 |
| BLOCK AREA TOTAL =596.565Sq.M | | | |
| LiftWell24 | - | - | 6.525 |
| LiftWell23 | - | - | 5.681 |
| LiftWell22 | - | - | 5.681 |
| LiftWell21 | - | - | 8.900 |
| Duct15 | - | - | 2.052 |
| Duct14 | - | - | 0.880 |
| TOTAL Deduction =27.719Sq.M | | | |
| Net BuiltUp Area =568.846 Sq.M | | | |

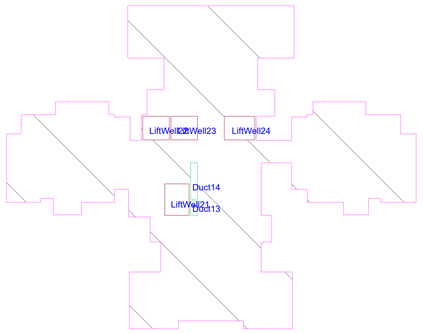


BUILT-UP AREA CALCULATION FIRST FLOOR T2

| BUILT-UP AREA CALCULATION FOR FIRST FLOOR T2 | | | |
|---|---|---|---|
| AREA NAME | LENGTH | WIDTH | Area(Sq.M) |
| BLOCK | 38.927 | 30.700 | 596.565 |
| BLOCK AREA TOTAL =596.565Sq.M | | | |
| LiftWell24 | - | - | 6.525 |
| LiftWell23 | - | - | 5.681 |
| LiftWell22 | - | - | 5.681 |
| LiftWell21 | - | - | 8.900 |
| Duct14 | - | - | 2.052 |
| Duct13 | - | - | 0.880 |
| TOTAL Deduction =27.719Sq.M | | | |
| Net BuiltUp Area =568.846 Sq.M | | | |

T2

FIRST FLOOR PLAN

SCALE 1:100

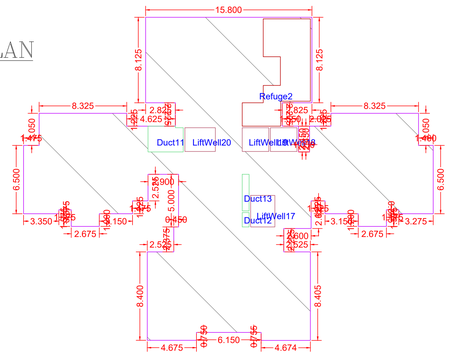


BUILT-UP AREA CALCULATION 2ND FLOOR PLAN T1

| BUILT-UP AREA CALCULATION FOR 2ND FLOOR PLAN T1 | | | |
|---|---|---|---|
| AREA NAME | LENGTH | WIDTH | Area(Sq.M) |
| BLOCK | 38.927 | 30.700 | 945.390 |
| BLOCK AREA TOTAL =945.390Sq.M | | | |
| Refuge2 | - | - | 38.965 |
| LiftWell20 | - | - | 6.525 |
| LiftWell18 | - | - | 5.681 |
| LiftWell19 | - | - | 5.681 |
| LiftWell17 | - | - | 8.900 |
| Duct12 | - | - | 2.052 |
| Duct11 | - | - | 0.880 |
| Duct10 | - | - | 8.625 |
| TOTAL Deduction =74.309Sq.M | | | |
| Net BuiltUp Area =871.081 Sq.M | | | |

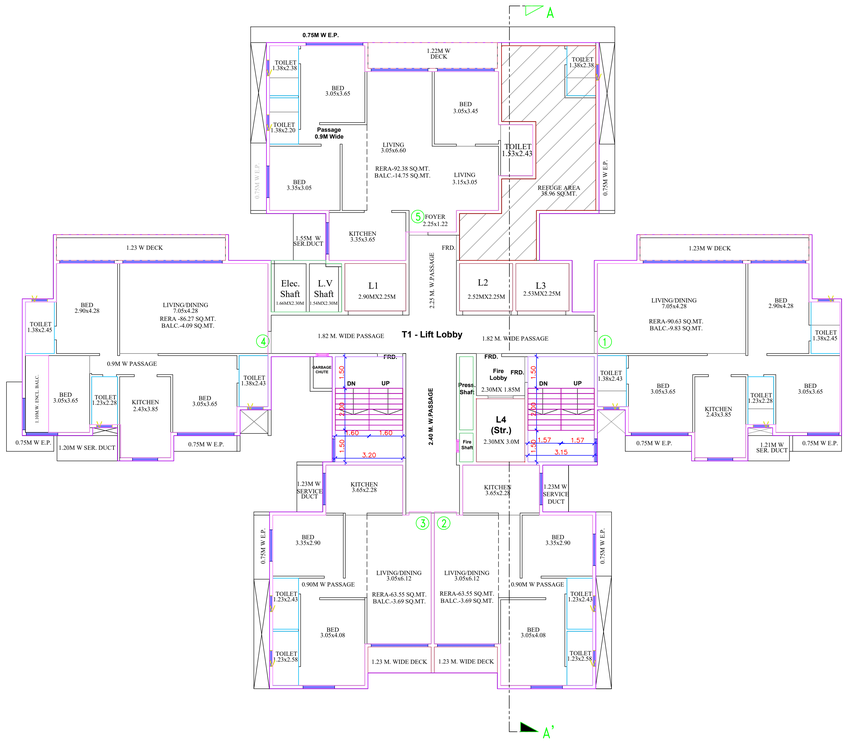


T1

2ND FLOOR PLAN

SCALE 1:100

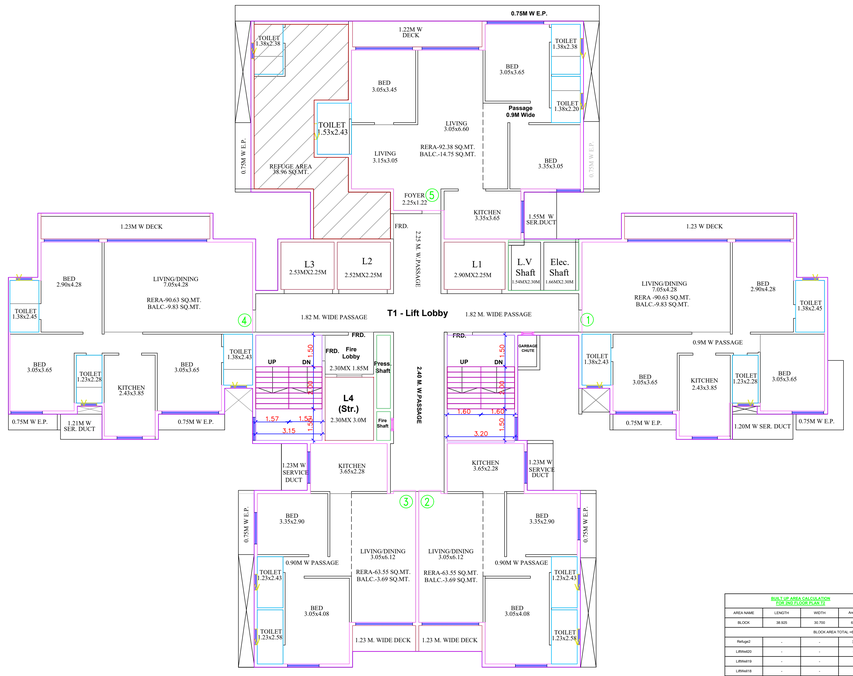


T2

2ND FLOOR PLAN

SCALE 1:100

| BUILT-UP AREA CALCULATION FOR 2ND FLOOR PLAN T2 | | | |
|---|---|---|---|
| AREA NAME | LENGTH | WIDTH | Area(Sq.M) |
| BLOCK | 38.927 | 30.700 | 945.390 |
| BLOCK AREA TOTAL =945.390Sq.M | | | |
| Refuge2 | - | - | 38.965 |
| LiftWell20 | - | - | 6.525 |
| LiftWell18 | - | - | 5.681 |
| LiftWell19 | - | - | 5.681 |
| LiftWell17 | - | - | 8.900 |
| Duct12 | - | - | 2.052 |
| Duct11 | - | - | 0.880 |
| Duct10 | - | - | 8.625 |
| TOTAL Deduction =74.309Sq.M | | | |
| Net BuiltUp Area =871.081 Sq.M | | | |

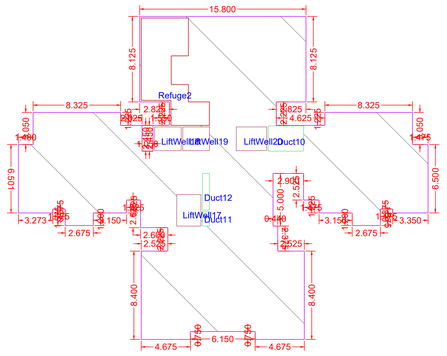


BUILT-UP AREA CALCULATION 2ND FLOOR PLAN T2

| Proforma I : Area Statement | |
|---|---|
| 1. Area of plot. (Minimum area of a, b, c to be considered) | 6961.000 |
| (a) As per ownership document (7/12, CTS extract) | 7068.570 |
| (b) as per TILR or City Survey measurement sheet | 7068.570 |
| (c) as per Demarcated drawing area | 6961.003 |
| LESS | - |
| 2.Area not in possession | 0.000 |
| 3. Area Proposed for development ( out of 1-2 ) | 6961.000 |
| 4.Deductions for | - |
| (a) Proposed D.P./ D.P. Road widening Area / Service Road / Highway widening | 130.000 |
| (b) Any D.P. Reservation area | 0.000 |
| (c) Green Belt | 0.000 |
| Total (a+b+c) | 130.000 |
| 5.Balance area of plot (3-4) | 6831.000 |
| 6. Amenity Space | 0.000 |
| (Applicable if (1) > 20000 sqmt | - |
| (Required -(a) Upto 20000 sqmt - Nil | - |
| (b) Above 20000 sqmt - (a) + 5% of Total area | 0.000 |
| 7. Net Plot Area (5-6 ) | 6831.000 |
| 8. Recreational Open Space | - |
| (a) If area (5) is more than 4000 sqmt - 10 % of (5) is required. | 683.100 |
| Proposed____ | 801.882 |
| (b) If area is less than 4000 sqmt -Check - | - |
| i) If it is full number like 1,2,125,419,etc. As per 7.12 abstract or City Survey Number - No Recreational open space is required | - |
| ii) If it is subdivision like 1/2 ,2/5 , 125/1 4/9/1 etc.then recreational open space is required. | - |
| (A) 10 % Subject to minimum 200 sqmt | 0.000 |
| Proposed _____ | 801.882 |
| (B) Exemption to leave open space subject to availing basic F.S.I of 75 % | - |
| (C) Exemption to leave open space subject to payment of 10 % land value of land at (7) as per annual statement of rate. | - |
| Architect/ Licensed Engineer/ Supervisor name and signature | |
| Registration No. of Architect/ License no. of Licensed Engineer/ Supervisor: CA/2019/106930 | |

Name Of Owner SEASONS/SAI LIFESPACES LLP

Postal Address : TYCOONS RESIDENCY OLYMPIA BUILDING FLAT NO.203AND204,BARAVE ROAD KHADAKPADA,KALYAN WEST,Thane,Maharashtra-421301
Phone No.-9922666888

**DESCRIPTION OF PROJECT :**

Type of Proposal : Mixed
BUILDING ON CTS. NO./SURVEY NO.-3555/1,3553/2

SITE ADDRESS :
CTS NO. 3555/1,3553/2 AT VILLAGE KALYAN TALUKA KALYAN DIST THANE

Name Of Architect : Tejas Anil Nirgude

LOGO

ADDRESS OF OFFICE
OFFICE -
5TH FLOOR, MIDTOWN EMBASSY, BEHIND VASANT VALLEY BUS DEPOT, OPP. NARAYANA SCHOOL, GANDHARE, KALYAN - 421301

OWNERS SIGN - | TECHNICAL PERSON SIGN

SCALE - | DATE: Date: 24/12/25

JOB NO - KDMCC-25-132645 | CHECK BY - ANIL

**SUBMISSION DRAWING**

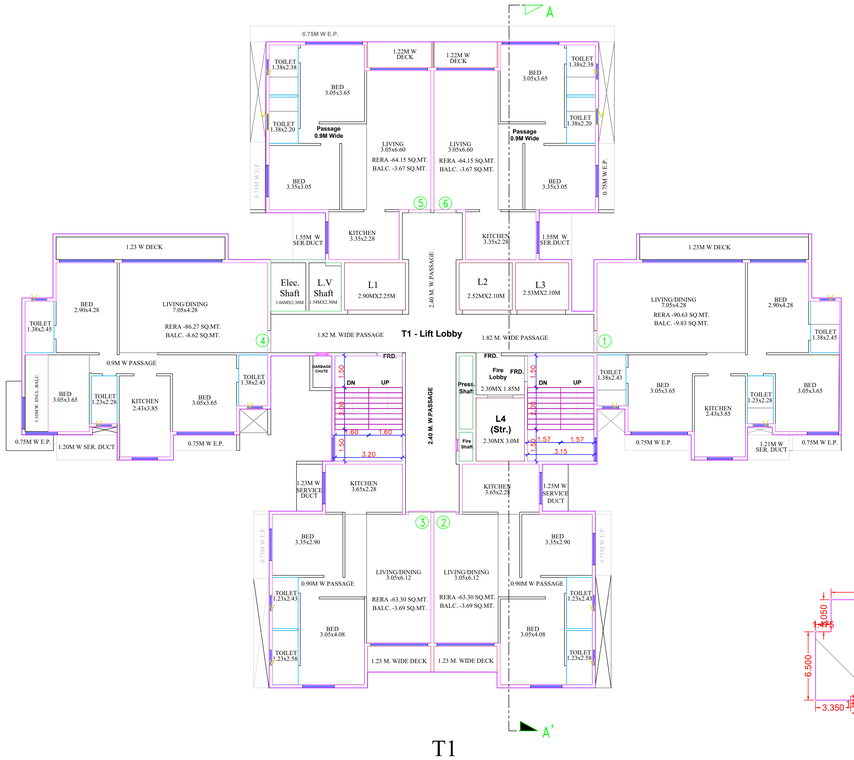


T1

3RD TO 6TH, 17-18TH,20TH TO 22ND, 24TH TO 26TH AND 28TH FLOOR PLAN

SCALE 1:100

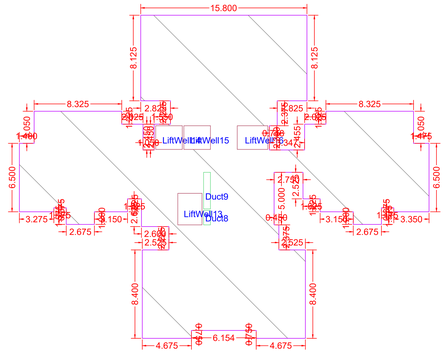


BUILT-UP AREA CALCULATION 3RD TO 6TH 17 TO 18TH 20TH TO 22ND 24TH TO 26TH AND 28TH FLOOR PLAN T2

BUILT UP AREA CALCULATION
FOR 3RD TO 6TH 17TH TO 18TH 20TH TO 22ND 24TH TO 26TH AND 28TH FLOOR PLAN T2

| AREA NAME | LENGTH | WIDTH | Area(Sq.M) |
|---|---|---|---|
| BLOCK | 38.925 | 30.700 | 637.843 |
| BLOCK AREA TOTAL =637.843Sq.M | | | |
| LiftWell14 | - | - | 6.525 |
| LiftWell15 | - | - | 5.681 |
| LiftWell14 | - | - | 5.681 |
| LiftWell13 | - | - | 6.800 |
| Duct9 | - | - | 2.262 |
| Duct8 | - | - | 0.890 |
| TOTAL Deduction =27.359Sq.M | | | |
| Net BuiltUp Area =610.484 Sq.M | | | |




T2

3RD TO 6TH, 17-18TH,20TH TO 22ND, 24TH TO 26TH AND 28TH FLOOR PLAN

SCALE 1:100

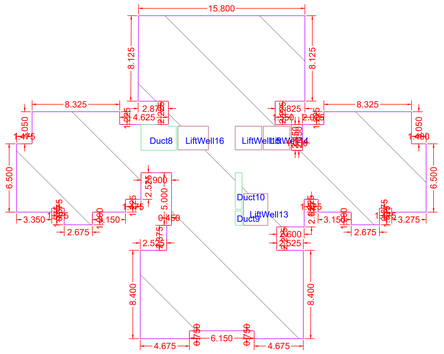


BUILT-UP AREA CALCULATION 3RD TO 6TH 17TH TO 18TH 20TH TO 22ND 24TH TO 26THAND 28TH FLOOR PLAN T1

BUILT UP AREA CALCULATION
FOR 3RD TO 6TH 17TH TO 18TH 20TH TO 22ND 24TH TO 26THAND 28TH FLOOR PLAN T1

| AREA NAME | LENGTH | WIDTH | Area(Sq.M) |
|---|---|---|---|
| BLOCK | 38.925 | 30.700 | 637.250 |
| BLOCK AREA TOTAL =637.250Sq.M | | | |
| LiftWell16 | - | - | 6.525 |
| LiftWell15 | - | - | 5.681 |
| LiftWell14 | - | - | 5.681 |
| LiftWell13 | - | - | 6.800 |
| Duct10 | - | - | 2.262 |
| Duct9 | - | - | 0.890 |
| Duct8 | - | - | 8.095 |
| TOTAL Deduction =35.934Sq.M | | | |
| Net BuiltUp Area =601.316 Sq.M | | | |

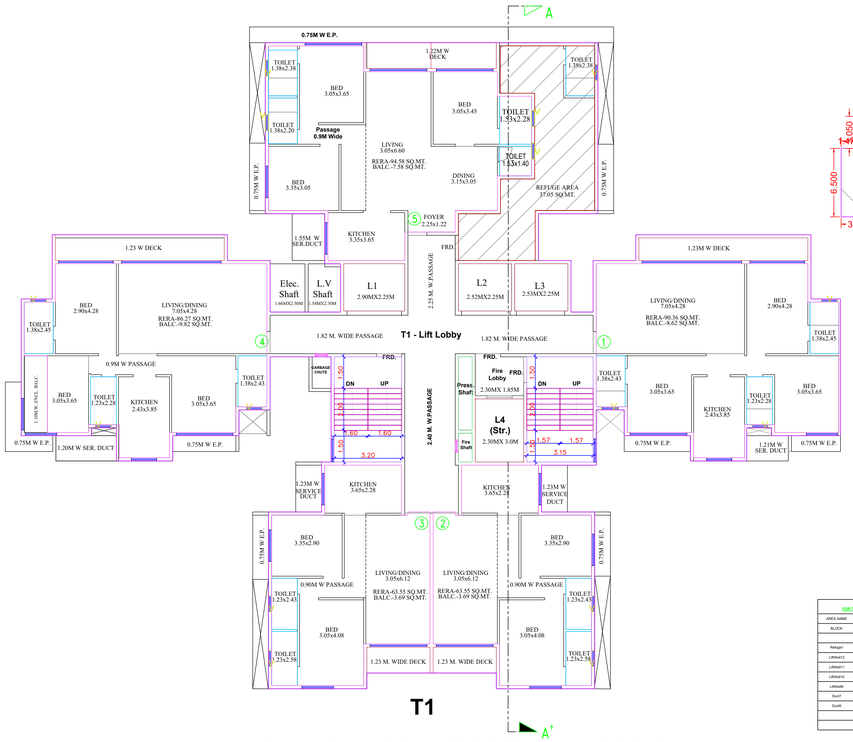


T1

7TH,11TH,15TH,19TH,23RD,27TH FLOOR PLAN

SCALE 1:100

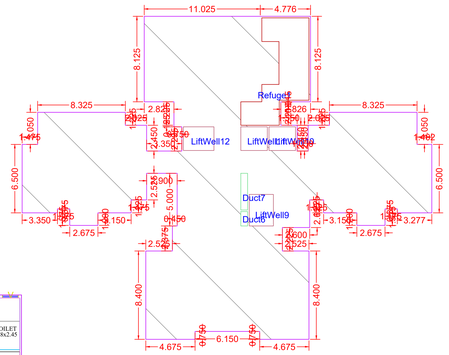


BUILT-UP AREA CALCULATION 7TH11TH15TH19TH23RD27TH FLOOR PLAN T1

BUILT UP AREA CALCULATION
FOR 7TH11TH15TH19TH23RD27TH FLOOR PLAN T1

| AREA NAME | LENGTH | WIDTH | Area(Sq.M) |
|---|---|---|---|
| BLOCK | 38.925 | 30.700 | 637.250 |
| BLOCK AREA TOTAL =637.250Sq.M | | | |
| Refuge2 | - | - | 36.763 |
| LiftWell12 | - | - | 6.525 |
| LiftWell11 | - | - | 5.681 |
| LiftWell10 | - | - | 5.681 |
| LiftWell9 | - | - | 6.800 |
| Duct7 | - | - | 2.262 |
| Duct6 | - | - | 0.890 |
| TOTAL Deduction =64.752Sq.M | | | |
| Net BuiltUp Area =572.503 Sq.M | | | |

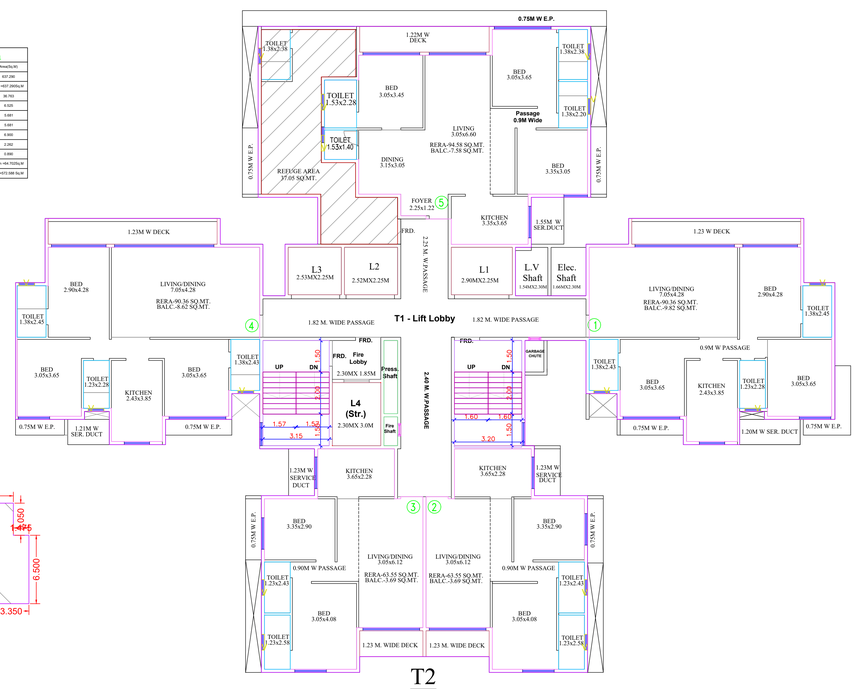


T2

7TH,11TH,15TH,19TH,23RD,27TH FLOOR PLAN

SCALE 1:100

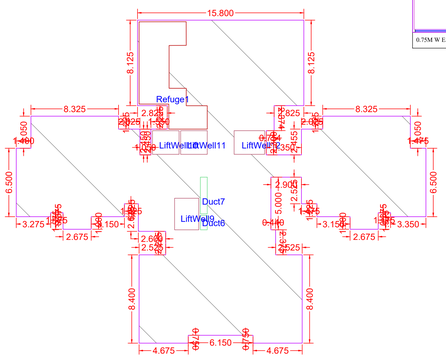


BUILT-UP AREA CALCULATION 7TH 11TH 15TH 19TH 23RD 27TH FLOOR PLAN T2

BUILT UP AREA CALCULATION
FOR 7TH11TH15TH19TH23RD27TH FLOOR PLAN T2

| AREA NAME | LENGTH | WIDTH | Area(Sq.M) |
|---|---|---|---|
| BLOCK | 38.925 | 30.700 | 637.250 |
| BLOCK AREA TOTAL =637.250Sq.M | | | |
| Refuge1 | - | - | 36.763 |
| LiftWell12 | - | - | 6.525 |
| LiftWell11 | - | - | 5.681 |
| LiftWell10 | - | - | 5.681 |
| LiftWell9 | - | - | 6.800 |
| Duct7 | - | - | 2.262 |
| Duct6 | - | - | 0.890 |
| TOTAL Deduction =64.752Sq.M | | | |
| Net BuiltUp Area =572.503 Sq.M | | | |

**Proforma 1 : Area Statement**

| | |
|---|---|
| 1. Area of plot (Minimum area of a, b, c to be considered) | 6961.000 |
| (a) As per ownership document (7/12, CTS extract) | 7068.570 |
| (b) as per TILR or City Survey measurement sheet | 7068.570 |
| (c) as per Demarcated drawing area | 6961.003 |
| LESS | - |
| 2.Area not in possession | 0.000 |
| 3. Area Proposed for development ( out of 1-2 ) | 6961.000 |
| 4.Deductions for | - |
| (a) Proposed D.P / D.P. Road widening Area / Service Road / Highway widening | 130.000 |
| (b) Any D.P. Reservation area | 0.000 |
| (c) Green Belt | 0.000 |
| Total (a+b+c) | 130.000 |
| 5.Balance area of plot (3-4) | 6831.000 |
| 6. Amenity Space | 0.000 |
| (Applicable if (1) > 20000 sqmt | - |
| (Required -(a) Upto 20000 sqmt - Nil | - |
| (b) Above 20000 sqmt - (a) + 5% of Total area | 0.000 |
| 7. Net Plot Area (5-6 ) | 6831.000 |
| 8. Recreational Open Space | - |
| (a) If area (5) is more than 4000 sqmt - 10 % of (5) is required. | 683.100 |
| Proposed _____ | 801.882 |
| (b) If area is less than 4000 sqmt -Check - | - |
| i) If it is full number like 1,2,125,419,etc. As per 7.12 abstract or City Survey Number - No Recreational open space is required | - |
| ii) If it is subdivision like 1/2 ,2/5 , 125/1 419/1 etc.then recreational open space is required. | - |
| (A) 10 % Subject to minimum 200 sqmt | 0.000 |
| Proposed _____ | 801.882 |
| (B) Exemption to leave open space subject to availing basic F.S.I of 75 % | - |
| (C) Exemption to leave open space subject to payment of 10 % land value of land at (7) as per annual statement of rate. | - |
| Architect/ Licensed Engineer/ Supervisor name and signature | |
| Registration No. of Architect/ License no. of Licensed Engineer/ Supervisor: CA/2019/106930 | |

Name Of : Owner SEASONSSAI LIFESPACES LLP

Postal Address : TYCOONS RESIDENCY OLYMPIA BUILDING FLAT NO.203AND204,BARAVE ROAD KHADAKPADA,KALYAN WEST,Thane,Maharashtra-421301
Phone No.-9022666888

**DESCRIPTION OF PROJECT :**

Type of Proposal : Mixed
BUILDING ON CTS. NO./SURVEY NO.-3555/1,3553/2

SITE ADDRESS :
CTS NO. 3555/1,3553/2 AT VILLAGE KALYAN TALUKA KALYAN DIST THANE

Name Of Architect : Tejas Anil Nirgude

LOGO

ADDRESS OF OFFICE
OFFICE -
5TH FLOOR ,MIDTOWN EMBASSY, BEHIND VASANT VALLEY BUS DEPOT, OPP. NARAYANA SCHOOL, GANDHARE, KALYAN - 421301

OWNERS SIGN -

TECHNICAL PERSON SIGN

| | | |
|---|---|---|
| SCALE - | DATE: | Date: 24/12/25 |
| JOB NO - KDMCC-25-132645 | CHECK BY - | ANIL |

**SUBMISSION DRAWING**

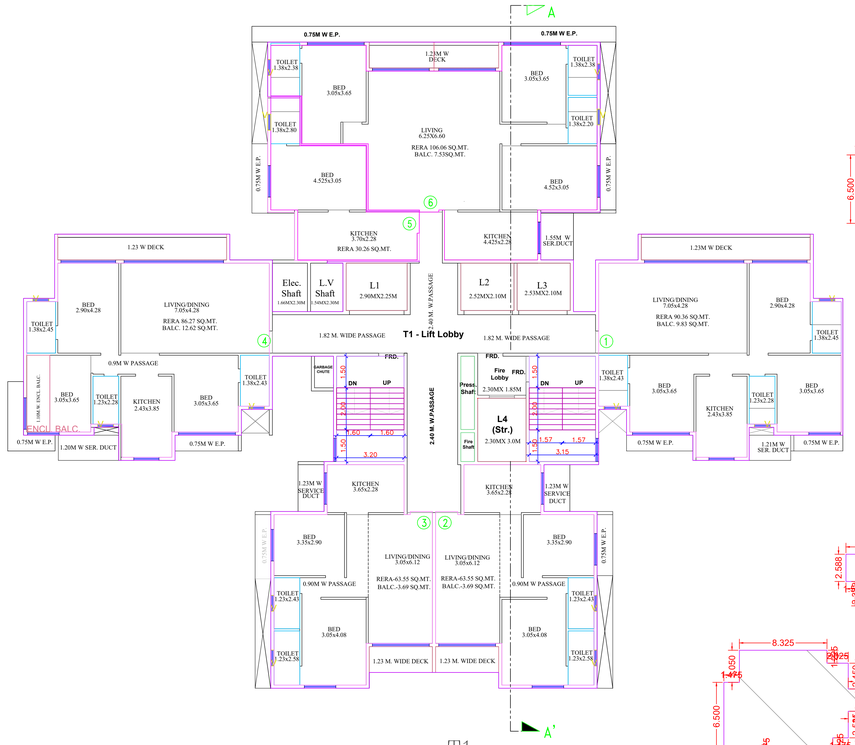


T1

## 8TH TO 10TH,12TH TO 14TH FLOOR PLAN

SCALE 1:100

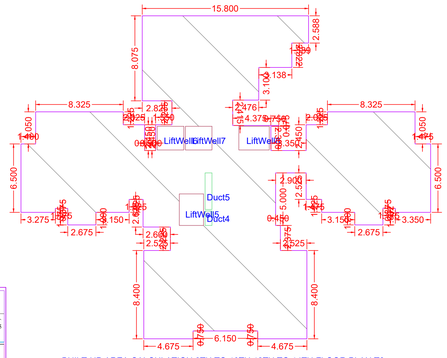


BUILT-UP AREA CALCULATION 8TH TO 10TH 12TH TO 14TH FLOOR PLAN T2

| BUILT UP AREA CALCULATION FOR ETH TO 10TH,12TH TO 14TH FLOOR PLAN T2 | | | |
|---|---|---|---|
| AREA NAME | LENGTH | WIDTH | Area(Sq.M) |
| BLOCK | 7.775 | 7.200 | 32.500 |
| BLOCK AREA TOTAL =32.500Sq.M | | | |
| TOTAL Deduction =0.000Sq.M | | | |
| Net BuiltUp Area =32.500 Sq.M | | | |

BUILT-UP AREA CALCULATION 8TH TO 10TH 12TH TO 14TH FLOOR PLAN T2

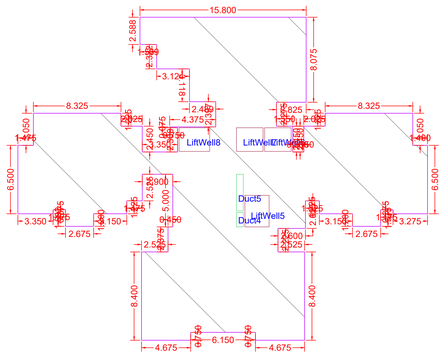


BUILT-UP AREA CALCULATION 8TH TO 10TH12TH TO 14TH FLOOR PLAN T1

| BUILT UP AREA CALCULATION FOR ETH TO 10TH,12TH TO 14TH FLOOR PLAN T1 | | | |
|---|---|---|---|
| AREA NAME | LENGTH | WIDTH | Area(Sq.M) |
| BLOCK | 38.925 | 30.750 | 957.881 |
| BLOCK AREA TOTAL =957.881Sq.M | | | |
| LiftWell8 | - | - | 6.525 |
| LiftWell7 | - | - | 5.681 |
| LiftWell6 | - | - | 5.681 |
| LiftWell5 | - | - | 6.900 |
| Duct5 | - | - | 2.292 |
| Duct4 | - | - | 0.890 |
| TOTAL Deduction =27.969Sq.M | | | |
| Net BuiltUp Area =929.912 Sq.M | | | |

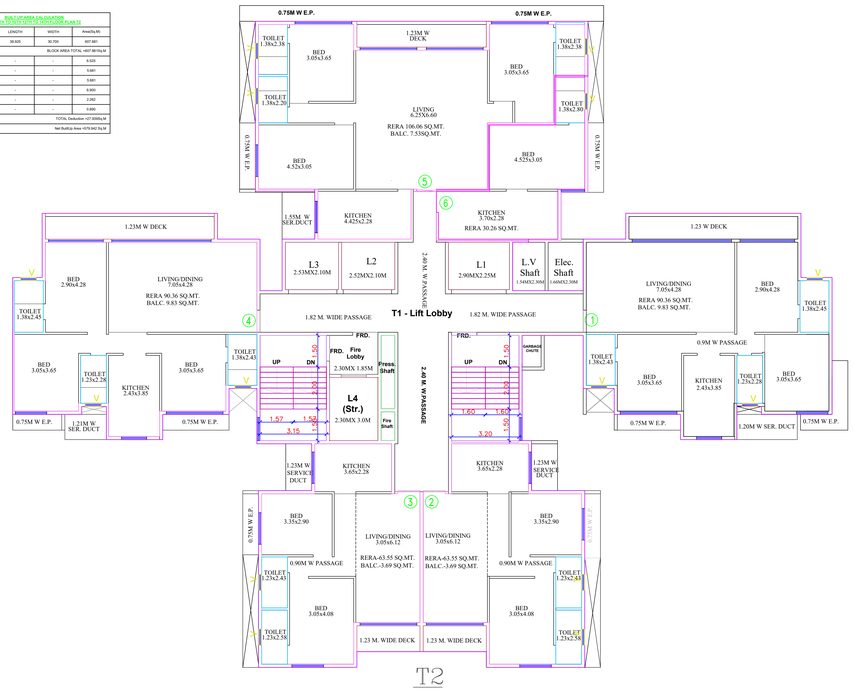


T2

## 8TH TO 10TH,12TH TO 14TH FLOOR PLAN

SCALE 1:100

T1

## 16TH FLOOR PLAN

SCALE 1:100

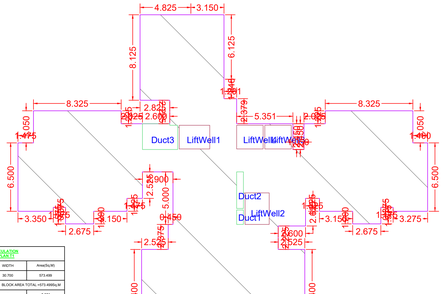


BUILT-UP AREA CALCULATION 16TH FLOOR PLAN T1

| BUILT UP AREA CALCULATION FOR 16TH FLOOR PLAN T1 | | | |
|---|---|---|---|
| AREA NAME | LENGTH | WIDTH | Area(Sq.M) |
| BLOCK | 38.925 | 30.750 | 573.488 |
| BLOCK AREA TOTAL =573.488Sq.M | | | |
| LiftWell4 | - | - | 5.681 |
| LiftWell3 | - | - | 5.681 |
| LiftWell2 | - | - | 6.900 |
| LiftWell1 | - | - | 6.525 |
| Duct3 | - | - | 8.005 |
| Duct2 | - | - | 2.292 |
| Duct1 | - | - | 0.890 |
| TOTAL Deduction =35.974Sq.M | | | |
| Net BuiltUp Area =537.514 Sq.M | | | |

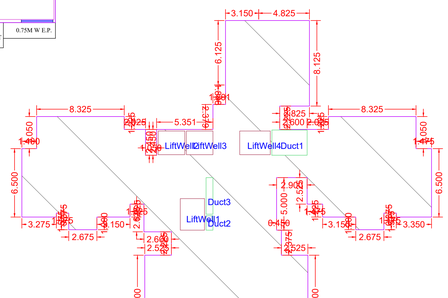


BUILT-UP AREA CALCULATION 16TH FLOOR PLAN T2

| BUILT UP AREA CALCULATION FOR 16TH FLOOR PLAN T2 | | | |
|---|---|---|---|
| AREA NAME | LENGTH | WIDTH | Area(Sq.M) |
| BLOCK | 38.925 | 30.750 | 573.488 |
| BLOCK AREA TOTAL =573.488Sq.M | | | |
| LiftWell4 | - | - | 5.681 |
| LiftWell3 | - | - | 5.681 |
| LiftWell2 | - | - | 6.900 |
| LiftWell1 | - | - | 6.525 |
| Duct3 | - | - | 8.005 |
| Duct2 | - | - | 2.292 |
| Duct1 | - | - | 0.890 |
| TOTAL Deduction =35.962Sq.M | | | |
| Net BuiltUp Area =537.527 Sq.M | | | |

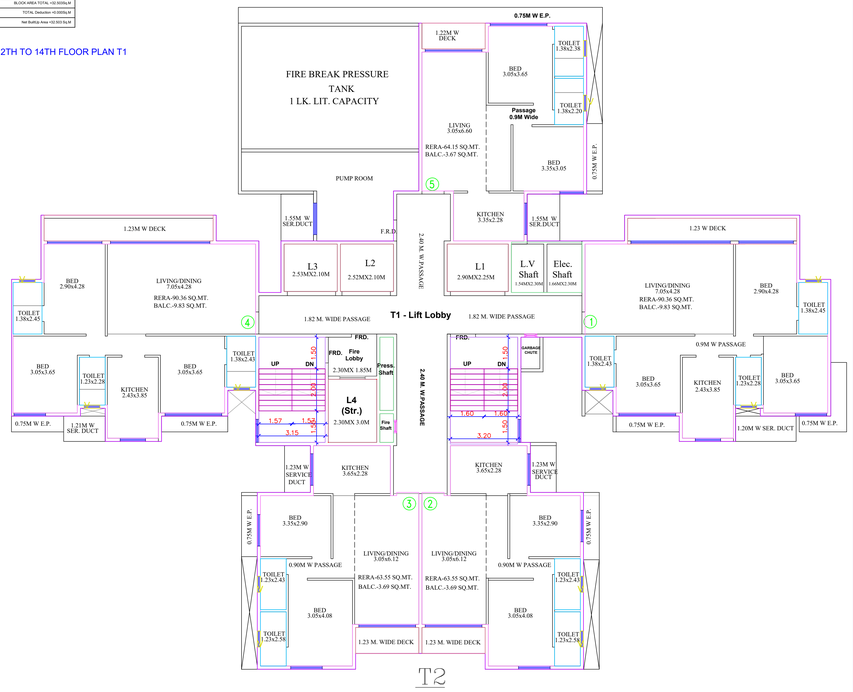


T2

## 16TH FLOOR PLAN

SCALE 1:100

| Proforma I : Area Statement | |
|---|---|
| 1. Area of plot (Minimum area of a, b, c to be considered) | 6961.000 |
| (a) As per ownership document (7/12, CTS extract) | 7068.570 |
| (b) as per TILR or City Survey measurement sheet | 7068.570 |
| (c) as per Demarcated drawing area | 6961.003 |
| LESS | - |
| 2.Area not in possession | 0.000 |
| 3. Area Proposed for development ( out of 1-2 ) | 6961.000 |
| 4.Deductions for | - |
| (a) Proposed D.P./ D.P. Road widening Area / Service Road / Highway widening | 130.000 |
| (b) Any D.P. Reservation area | 0.000 |
| (c) Green Belt | 0.000 |
| Total (a+b+c) | 130.000 |
| 5.Balance area of plot (3-4) | 6831.000 |
| 6. Amenity Space | 0.000 |
| (Applicable if (1) > 20000 sqmt | - |
| (Required -(a) Upto 20000 sqmt - Nil | - |
| (b) Above 20000 sqmt – (a) + 5% of Total area | 0.000 |
| 7. Net Plot Area (5-6 ) | 6831.000 |
| 8. Recreational Open Space | - |
| (a) If area (5) is more than 4000 sqmt - 10 % of (5) is required. | 683.100 |
| Proposed___ | 801.882 |
| (b) If area is less than 4000 sqmt -Check - | - |
| i) If it is full number like 1,2,125,419,etc. As per 7.12 abstract or City Survey Number - No Recreational open space is required | - |
| ii) If it is subdivision like 1/2 ,2/5 , 125/1 419/1 etc.then recreational open space is required. | - |
| (A) 10 % Subject to minimum 200 sqmt | 0.000 |
| Proposed _____ | 801.882 |
| (B) Exemption to leave open space subject to availing basic F.S.I of 75 % | - |
| (C) Exemption to leave open space subject to payment of 10 % land value of land at (7) as per annual statement of rate. | - |
| Architect/ Licensed Engineer/ Supervisor name and signature | |
| Registration No. of Architect/ License no. of Licensed Engineer/ Supervisor: CA/2019/106930 | |

Name Of : Owner SEASONSSAI LIFESPACES LLP

Postal Address : TYCOONS RESIDENCY OLYMPIA BUILDING FLAT NO.203AND204,BARAVE ROAD KHADAKPADA,KALYAN WEST,Thane,Maharashtra-421301
Phone No.- 9022666888

**DESCRIPTION OF PROJECT :**

Type of Proposal : Mixed
BUILDING ON CTS. NO./SURVEY NO.-3555/1,3553/2

SITE ADDRESS :
CTS NO. 3555/1,3553/2 AT VILLAGE KALYAN TALUKA KALYAN DIST THANE

Name Of Architect : Tejas Anil Niravde

LOGO

ADDRESS OF OFFICE
OFFICE :
5TH FLOOR, MIDTOWN EMBASSY, BEHIND VASANT VALLEY BUS DEPOT, OPP. NARAYANA SCHOOL, GANDHARE, KALYAN - 421301

OWNERS SIGN -

TECHNICAL PERSON SIGN

| SCALE - | DATE: Date: 24/12/25 |
|---|---|
| JOB NO - KDMCC-25-132645 | CHECK BY - ANIL |

**SUBMISSION DRAWING**