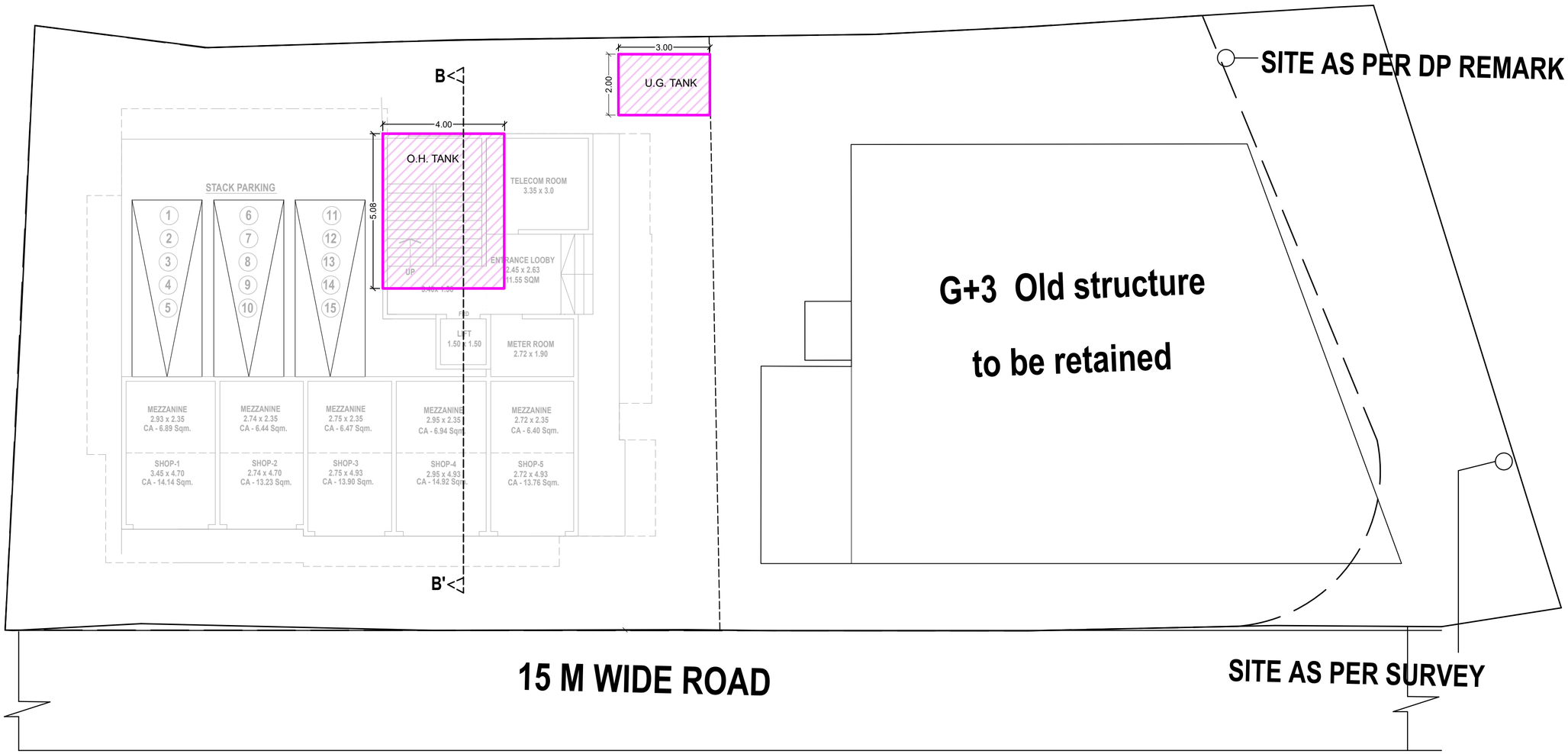


# GROUND FLOOR PLAN (SITE PLAN)

## ( SCALE 1:100)

## BUILT UP AREA STATEMENT

| FLOOR | BUILT UP AREA |
|---|---|
| GROUND FLOOR | 116.44 |
| FIRST FLOOR | 161.70 |
| SECOND FLOOR | 246.91 |
| THIRD & FOURTH FLOOR. | 485.67 |
| FIFTH & SEVENTH FLOOR. | 497.08 |
| SIXTH FLOOR. | 248.55 |
| | |
| TOTAL | 1756.36 |

## NO. OF TENEMENTS

| FLOOR | BUILT UP AREA |
|---|---|
| GROUND FLOOR (SHOPS) | 05 |
| FIRST FLOOR (OFFICE) | 01 |
| RESIDENTIAL (FLATS) | |
| SECOND FLOOR | 03 |
| THIRD & FOURTH FLOOR. | 08 |
| FIFTH & SEVENTH FLOOR. | 08 |
| SIXTH FLOOR. | 03 |
| TOTAL | 22 |

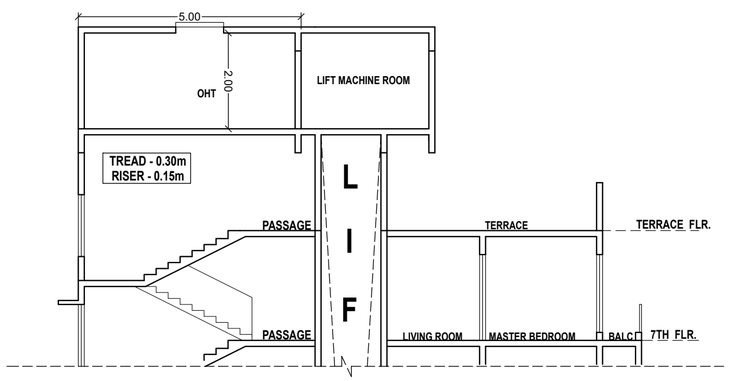


OVER HEAD WATER TANK
( SCALE 1: 100 )

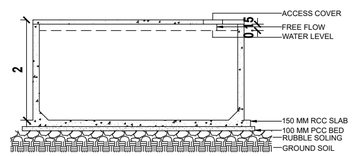


SECTION AA'

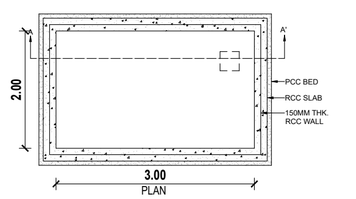


PLAN

UNDERGROUND WATER TANK
( SCALE 1: 50 )

PROFORMA - 1 : AREA STATEMENT

PROPOSED MIXED USE BLDG. ON PLOT BEARING S.NO- 15/8 C.T.S.NO .2114-2117, AT VILLAGE - DOMBIVALI, TAL. KALYAN. DIST.THANE

DRAWING SHEET NO. 1

STAMP OF APPROVAL OF PLANS

AREA STATEMENT

| | | |
|---|---|---|
| 1. | Area of plot (Minimum area of a, b, c to be considered) | |
| (a) | As per ownership document ( 7/12 ) | 1000.40 |
| 2. | Deduction for | --- |
| (a) | Road Set Back area | |
| (b) | proposed road | 46.42 |
| (c) | Any Reservation | |
| 3. | Balance area of plot (1-2) | 953.98 |
| 4. | Amenity Space ( if applicable ) | 0.00 |
| (a) | Required - | |
| (b) | Adjustment of 2(b), if any - | NA |
| (c) | Balance Proposed - | -- |
| 5. | Net Plot Area (3 - 4(c)) | 953.98 |
| 6. | Recreational Open Space | |
| (a) | Required - | 0.00 |
| (b) | Proposed - | 0.00 |
| 7. | Internal Road Area | 0.00 |
| 8. | Plotable area (if applicable) | 0.00 |
| 9. | Built up area with reference to Basic F.S.I. as per front road width (953.98 x 1.10 ) | 1049.37 |
| 10. | Addition of FSI on payment of premium | |
| (a) | Maximum permissible premium FSI ( 1000.4 X 0.50 = 500.20 ) | 500.20 |
| (b) | Proposed FSI on payment of premium | 220.00 |
| 11. | In-situ FSI / TDR loading | |
| (a) | In-situ area against D.P. road | 92.84 |
| (b) | In-situ area against Amenity Space if handed over [2.00 or 1.85 x Sr. No. 4(b) and/or (c)] | 0.00 |
| (c) | TDR area ( 1000.4 X 0.90 = 900.36) 900.36 | 303.00 |
| (d) | Total in-situ / TDR loading proposed [11(a) + (b) + (c)] | 395.84 |
| 12. | Additional FSI area under Chapter No. 7 | |
| 13. | Total entitlement of FSI in the proposal ( 1049.37 + 220 + 395.84) | 1665.37 |
| | | 500.31<br>1949.628 |
| (a) | [ 9 + 10(b) + 11(d) ] or 12 whichever is applicable | |
| (b) | Ancillary Area FSI upto 60% with payment of charges = 1665.37 less 500.31 x 60% | 699.03 |
| (c) | Total entitlement (a + b) | 2364.37 |
| 14. | Maximum utilization limit of F.S.I. (building potential) permissible as per Road width | |
| 15. | Total Built-up Area in proposal (excluding area at Sr. No. 17 b) | |
| (a) | Existing Built-up Area | 500.31 |
| (b) | Proposed Built-up Area (as per 'P-line') | 1757.03 |
| (c) | Total (a + b) | 2257.34 |
| 16. | F.S.I. Consumed (15/13) (should not be more than Sr. No. 14 above) | |
| 17. | Area for inclusive Housing, if any | |
| (a) | Required (20% of Sr. No. 5) | 0.00 |
| (b) | Proposed | 1757.03 |

**CERTIFICATE** :

I hereby certify that the structural drawings for the above mentioned work are prepared by me / us and work, as far as structural drawings are concerned, shall be carried under my supervision. I shall be responsible for the execution of the work as far as structural drawings are concerned.

CERTIFICATE OF AREA:

Certified that the plot under reference was surveyed by me on 17.07.2023 and the dimensions of sides etc. of plot stated on plan are as measured on site and the area so worked out tallies with the area 826.66 SQ.MT stated in document of Ownership/ T.P. Scheme Records/ Land Records Department/City Survey records.

AR. DAMINI M. PATIL

OWNER'S DECLARATION

I/We undersigned hereby confirm that I/We would abide by plans approved by Authority / Collector. I/We would execute the structure as per approved plans. Also I/We would execute the work under supervision of proper technical person so as to ensure the quality and safety at the work site.

| NAME & SIGNATURE OF OWNER | SIGNATURE OF ARCHITECT |
|---|---|
| SIDDHESH RAVINDRA PATIL<br>Digitally signed by SIDDHESH RAVINDRA PATIL<br>Date: 2026.01.17 13:22:41 +05'30' | DAMINI SAMRUDDHA MHATRE<br>Digitally signed by DAMINI SAMRUDDHA MHATRE<br>Date: 2026.01.17 13:21:38 +05'30'<br>AR. DAMINI PATIL |

STUDIO DESIGN GYAAN

GROUND FLOOR, GURUDATTA PRASAD BUILDING, GHANSHYAM GUPTE ROAD, JAI HIND COLONY, NEAR SHIV MANDIR, DOMBIVLI WEST.

| DATE | DRAWING NO. | SCALE | DRAWN BY | CHECKED BY | REG. NO. OF ARCHITECT |
|---|---|---|---|---|---|
| 19.11.25 | 01 | 1:100 | Ar. Damini Patil | Ar. Atharva M. | CA / 2018 / 102131 |