THE FLORENZA														
BUILDING	FLOORS	FSI AREA						BALCONY	TERRACE	LIFT	LIFTWELL	DUCT	VENT	OTHER	TOTAL
		COMM.	RESI.	IND.	EDU.	INS.	MEZZ.	PROP.					SHAFT	DEDUCTION	FSI AREA
THE FLORENZA	13TH FLOOR	0.000	206.733	0.000	0.000	0.000	0.000	0.000	0.000	0.000	3.430	7.458	0.000	0.000	195.845
THE FLORENZA	8TH-12TH FLOOR	0.000	539.330	0.000	0.000	0.000	0.000	0.000	0.000	0.000	6.860	19.918	0.000	40.112	472.440
THE FLORENZA	TYPICAL 1ST TO 7TH-8TH TO 11TH FLOOR	0.000	2496.060	0.000	0.000	0.000	0.000	0.000	0.000	67.390	34.300	99.590	0.000	0.000	2362.170
THE FLORENZA	STILT-GROUND FLOOR	0.000	12.827	0.000	0.000	0.000	0.000	0.000	0.000	0.000	0.000	0.000	0.000	0.000	12.827
THE FLORENZA	TOTAL	0.000	3254.950	0.000	0.000	0.000	0.000	0.000	0.000	67.390	44.590	126.966	0.000	40.112	3043.282

FSI DETAILS										
9 Index	Basic F.S.I (on serial no 7)	Premium FSI (on serial no 3)	TDR/DR (on serial no 3)	Incentive FSI for green building if applicable (on basic FSI)	Additional FSI (10.10.1 Note 3)	Ancillary Area 60% of (2+3+4+5)	Ancillary Area 60% of (2+3+4+5)	Total	Inclusive Housing (20%) If Applicable	Drawing Value
9.1 Permissible Index	1.100	0.500	0.900	0.000	0.000	0.000	0.000	2.500	0.000	0.000
9.2 Existing Consumed Index	0.000	0.000	0.000	0.000	0.000	0.000	0.000	0.000	0.000	0.000
9.3 Balance Index to be Consumed	1.100	0.500	0.900	0.000	0.000	0.000	0.000	2.500	0.000	0.000
9.4 Total Permissible PLine Area	726.913	419.850	357.740	0.000	0.000	1141.494	0.000	3401.727	0.000	0.000
9.5 Proposed P Line Area (Should not exceed 9.4)	726.910	419.850	755.730	0.000	0.000	1140.792	0.000	3043.282	0.000	3043.282
9.6 Index Consumed	1.100	0.635	1.144	0.000	0.000	0.000	0.000	2.500	0.000	0.000

Project Details
Proposal code: KDMCC-25-ENTRY-135276
Zone Type: Residential Zone with Shop line. (R-2)
Location: Non-Congested
Name of service: Revised Building Permission
Sub service:
Cts No./Survey No.: 6408
Tahsil: Sector-5
Mouze: Od Dombivali
Proroto Value: 0.000
Separation/CRZ Zone Area : -

Carpet Area Table									
Building Name	Floor Name	Carpet name	Tenement No	Carpet Area	Enclosed Balcony Area	Normal Balcony Area	Mezzanine Area	Total Carpet Area
THE FLORENZA	TYPICAL 1ST TO 7TH-8TH TO 11TH FLOOR	101,201,301,401,501,601,701,901,1001,1101	10	54.207	0.000	0.000	0.000	54.207
THE FLORENZA	TYPICAL 1ST TO 7TH-8TH TO 11TH FLOOR	102,202,302,402,502,602,702,902,1002,1102	10	55.973	0.000	0.000	0.000	55.973
THE FLORENZA	TYPICAL 1ST TO 7TH-8TH TO 11TH FLOOR	103,203,303,403,503,603,703,903,1003,1103	10	56.762	0.000	0.000	0.000	56.762
THE FLORENZA	8TH-12TH FLOOR	801,1201	2	54.207	0.000	0.000	0.000	54.207
THE FLORENZA	8TH-12TH FLOOR	802,1202	2	55.973	0.000	0.000	0.000	55.973
THE FLORENZA	8TH-12TH FLOOR	803,1203	2	56.762	0.000	0.000	0.000	56.762
THE FLORENZA	13TH FLOOR	1301	1	40.112	0.000	0.000	0.000	40.112
THE FLORENZA	13TH FLOOR	1302	1	56.762	0.000	0.000	0.000	56.762

Parking Check (Table 8B)								
			RATIO			Required		
Building Name	USE	TENAMENT AREA	car	scooter	NO.OF Tena/Area/Units	car	scooter	Transport Vehicle/Ambulance /Mini Bus
THE FLORENZA	Residential	For every two tenements with each tenement having carpet area equal to or above 40 sq.m. but less than 80 sq.m.	1	2	38	19.000	38.000	-
Total	-	-	-	-	-	19.000	38.000	-
Visitors parking(5%)	-	-	-	-	-	0.950	1.900	-
Total	-	-	-	-	-	19.950	39.900	0.000

Parking Check As Per Multiplying Factor 0.800 (note: 1) 6 scooter equals to 1 car, proposed composite parking for car= 6)							
	Required			Proposed			
Building Name	Car	Scooter	Transport Vehicle/Ambulance /Mini bus	Car	Scooter	Transport Vehicle/Ambulance /Mini bus	Status
Total	22	4	0	31	4	0	OK

Area utilisation of Roads and Reservations						
Description of area utilisation			surrendered Area in(Sq.M)	Quatam of DR/TDR generation	Area considered for DR utilisation	Remaining area for DRC generation
BUILDING	Reservation type	reservation no	Name			
-	-	9.000 m DP Road Widening	178.870	357.740	0.000	0.000
	-	Total	178.870	357.740	357.740	357.740

Telecom Room			
Building	Req. Size	Prop. Size	Status
THE FLORENZA	3.000X3.400	3.000X3.400	OK

SCHEDULE OF OPENING				
BLD NAME	NAME	LENGTH	HEIGHT	Nos.
THE FLORENZA	V	0.600	1.200	8
THE FLORENZA	V	0.630	1.200	8

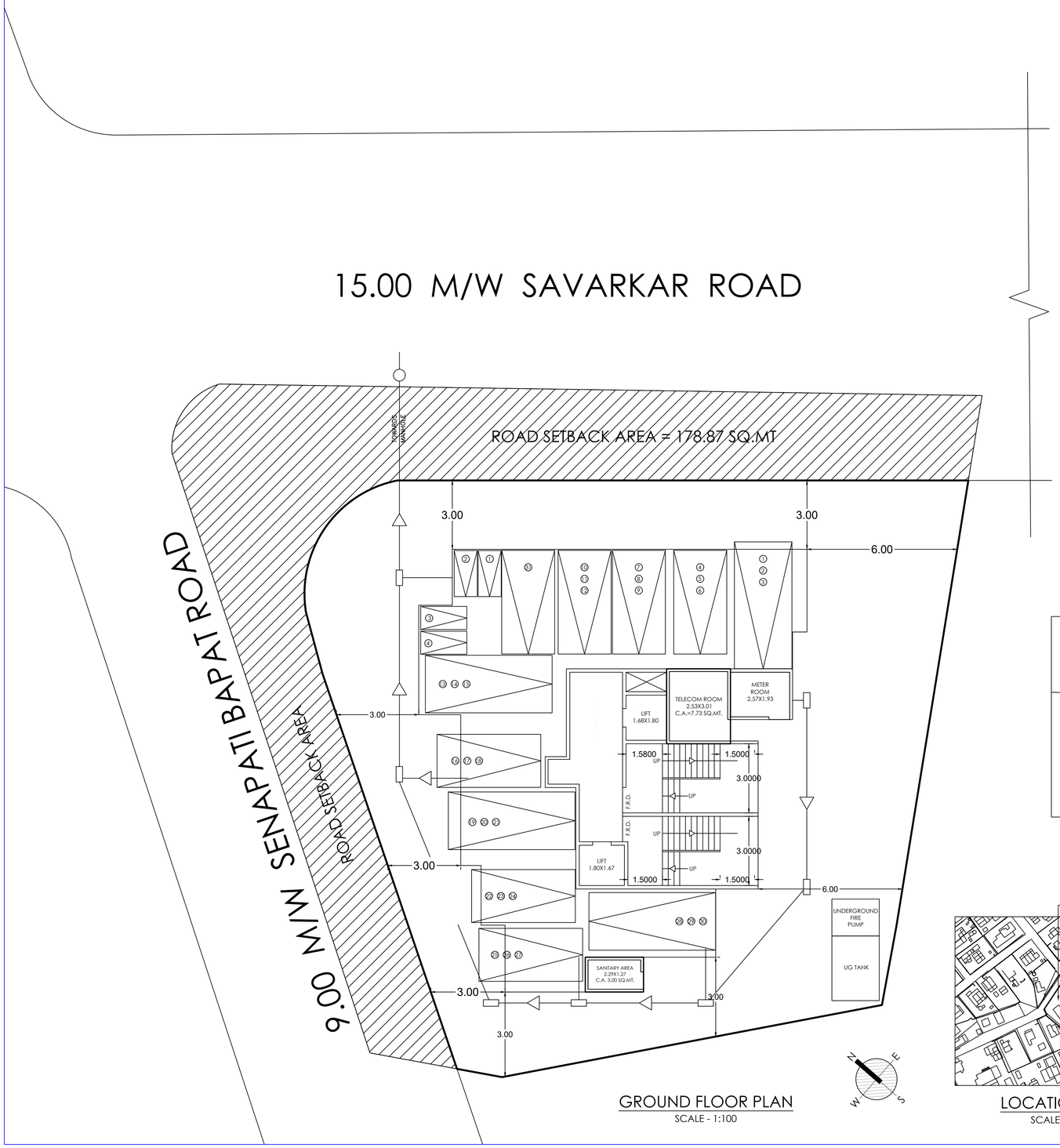

GROUND FLOOR PLAN

SCALE - 1:100

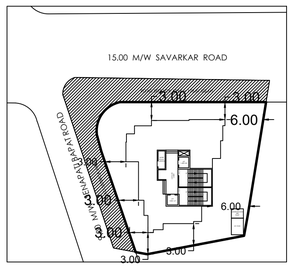

BLOCK PLAN

SCALE - 1:1500

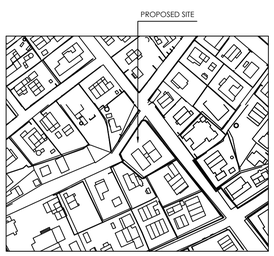

LOCATION PLAN

SCALE - 1:1500

BUILT UP AREA STATEMENT

FLOORS	B/UP AREA	NO. OF TENANT
GROUND	12.82	SANITARY AREA
1ST	236.22	3 NOS.
2ND	236.22	3 NOS.
3RD	236.22	3 NOS.
4TH	236.22	3 NOS.
5TH	236.22	3 NOS.
6TH	236.22	3 NOS.
7TH	236.22	3 NOS.
8TH	236.22	3 NOS.
9TH	236.22	3 NOS.
10TH	236.22	3 NOS.
11TH	236.22	3 NOS.
12TH	236.22	3 NOS.
13TH	195.84	2 NOS.
TOTAL	3043.30	38 NOS.

A) AREA STATEMENT	SQ.MT.
1) AREA OF THE PLOT	
(MINIMUM AREA OF a, b, c TO BE CONSEDERED	
a. AS PER OWNERSHIP DOCUMENT (CTS EXTRACT)	839.70
b. AS PER P.O.A.	
c. AS PER MEASUREMENT SHEET	839.70
b. AS PER SITE	-
2) DEDUCTIONS FOR	
a. PROPOSED 15.00 M/W D.P. & 9.00 M ROAD WIDENING AREA	178.87
b. ANY D.P. RESERVATION AREA	-
(TOTAL a + b)	178.87
3) BALANCE AREA OF PLOT (1-2)	660.83
4) AMENITY SPACE (IF APPLICABLE)	
a. REQUIRED	NILL
b. ADJUSTMENT OF 2(b), IF ANY	NILL
c. BALANCE PROPOSED	NILL
5) NET PLOT AREA {3-4(c)}	660.83
6) RECREATIONAL OPEN SPACE (IF APPLICABLE)	
a. REQUIRED	NILL
b. PROPOSED	NILL
7) INTERNAL ROAD AREA	NILL
8) PORTABLE AREA (IF APPLICABLE)	NILL
9) BUILT UP AREA WITH REFERENCE TO BASIC F.S.I. AS PER FRONT ROAD WIDTH (660.83 X 1.10)	726.91
10) ADDITION OF F.S.I. ON PAYMENT OF PREMIUM	419.85
a. MAXIMUM PERMISSIBLE PREMIUM F.S.I. BASED ON ROAD	419.85
b. PROPOSED F.S.I. ON PAYMENT OF PREMIUM	
11) IN-SITU F.S.I./ T.D.R. LOADING	NILL
a. IN-SITU AREA AGAINST D.P. ROAD [2.00 X 178.87]	357.74
b. IN-SITU AREA AGAINST AMENITY SPACE IF HANDED OVER [2.00 OR 1.85 X SR.NO. 4 (b) AND /OR (c)]	NILL
c. T.D.R. AREA KDMC/NRV/HVH/XXXX/XXX/XX (755.73-357.74) = 397.99	397.99
d. TOTAL IN SITU/T.D.R. LOADING PROPOSED [11 (a+b+c)]	755.73
12) ADDITIONAL F.S.I. AREA UNDER CHAPTER NO. 7	NILL
13) TOTAL ENTITLEMENT OF F.S.I. IN THE PROPOSAL	
a. [9+10(b)+11(d)] OR 12 WHICHEVER IS APPLICABLE (726.91 + 419.85 + 357.74 + 397.99) = 1902.49 SQ.MT.	1902.49
b. ANCILLARY AREA F.S.I. UP TO 60% OR 80% WITH PAYMENT OF CHARGES RESIDENTIAL (1902.49X60%) = 1141.49	1141.49
c. TOTAL ENTITLEMENT (a+b)	3043.98
14) MAXIMUM UTILIZATION LIMIT OF F.S.I. (BUILDING POTENTIAL)	3043.98
PERMISSIBLE AS PER ROAD WIDTH [(AS PER REGULATION NO.6.1 OR 6.2 OR 6.3 OR 6.4 AS APPLICABLE)X1.6 OR 1.8	
15) TOTAL BUILT-UP AREA IN PROPSAL(EXCLUDING SR.NO.17 b)	
a. EXISTING BUILT-UP AREA	NILL
b. PROPOSED BUILT-UP AREA (AS PER 'P-LINE')	3043.30
c. TOTAL (a + b)	3043.30
16) F.S.I. CONSUMED (15/13) (NOT BE MORE THAN SR.NO. 14)	0.99
17) AREA FOR INCLUSIVE HOUSING, IF ANY	
a. REQUIRED (20% OF SR.NO. 5)	
b. PROPOSED	

PARKING AREA STATEMENT AS PER (UDCPR)

AREA OF THE TENAMENTS	NO. OF TENAMENTS	CAR PARKING REQUIRED	CAR PARKING PROPOSED	SCOOTER REQUIRED	SCOOTER PROPOSED
BELOW 30 SQ.MT.	—	—	25 NOS.	—	04 NOS SCOOTER + 06 NOS COMPOSITE CAR
BETWEEN 30 TO 40	—	—		—	
BETWEEN 40 TO 80	38 NOS.	19.00		38.00	
BETWEEN 80 TO 150	NILL	—		—	
ABOVE 150 SQ.MT.	NILL	—		—	
COMM. 100 SQ.MT	—	—		—	
TOTAL	38 NOS.	19.00		38.00	
VISITOR 5%		0.95		1.90	
TOTAL		19.95		39.90	
REQUIRED X 0.8		15.96		39.90	
REQUIRED PARKING		16 NOS.		40 NOS	
PROP. CAR PARKING : 25 NOS. & 6 NOS. COMPOSITE PARKING & SCOOTER PARKING: 4 NOS.					

Signature Not Verified

Digitally signed by SANTOSH NAMDEO KHODE
Date: 2026.02.06 15:03:18 IST
Reason: Approved Drawing Plan
Location: Kalyan Dombivali Municipal Town Planning
Location: Kalyan Dombivali Municipal Corporation
Project Code: KDMCC-25-ENTRY-135276
Application Number : RK2MCC/2025/0221
Proposal Number : 1561837
Certificate Number : KDMC/PR/2026/UAPL/00050

Reserved for Stamps of Approval plan

Owner Details		
Owner Name	Postal Address	Contact Number
PRISM INFRAA	203 / 204 Ishan Building, Vimal C H S,Mahatma Phule Road,Kalyan,Thane, Maharashtra-421202	9820902377
PUSHKARAJ RESERVE BANK EMPLOYEES CO OP HSG SOCIETY MS PRISM INFRAA P OA MR SACHIN R CHITNIS AND OTHERS	203/204, ISHAN BUILDING, VIMAL CHS, MAHATMA PHULE ROAD, DOMBIVLI WEST 420202	

Proforma I : Area Statement

1. Area of plot (Minimum area of a, b, c to be considered)	839.700
(a) As per ownership document (7/12, CTS extract)	839.700
(b) as per TILR or City Survey measurement sheet	839.700
(c) as per Demarcated drawing area	839.700
LESS	-
2.Area not in possession	0.000
3. Area Proposed for development (out of 1-2)	839.700
4.Deductions for	-
(a) Proposed D.P./ D.P. Road widening Area / Service Road / Highway widening	178.870
(b) Any D.P. Reservation area	0.000
(c) Green Belt	0.000
Total (a+b+c)	178.870
5.Balance area of plot (3-4)	660.830
6. Amenity Space	0.000
(Applicable if (1) > 20000 sqmt	
(Required -(a) Upto 20000 sqmt - Nil	-
(b) Above 20000 sqmt - (a) + 5% of Total area	0.000
7. Net Plot Area (5-6)	660.830
8. Recreational Open Space	-
(a) If area (5) is more than 4000 sqmt - 10 % of (5) is required.	0.000
Proposed___	0.000
(b) If area is less than 4000 sqmt -Check -	-
i) If it is full number like 1,2,125,419,etc. As per 7.12 abstract or City Survey Number - No Recreational open space is required	-
ii) If it is subdivision like 1/2 ,2/5 , 125/1 419/1 etc.then recreational open space is required.	-
(A) 10 % Subject to minimum 200 sqmt	0.000
Proposed _____	0.000
(B) Exemption to leave open space subject to availing basic F.S.I of 75 %	-
(C) Exemption to leave open space subject to payment of 10 % land value of land at (7) as per annual statement of rate.	-

Architect/ Licensed Engineer/ Supervisor name and signature

Registration No. of Architect/ License no. of Licensed Engineer/ Supervisor: CA/2017/88339

Certificate of Area:
Certified that the plot under reference was surveyed by me on_____ and the dimensions of sides etc. of plot stated on plan are as measured on site and the area so worked out tallies with the area stated in document of Ownership/ T.P. Scheme Records/Land Records Department/City Survey records.

Signature
(Name of Architect/ Licensed Engineer/ Supervisor.)

Owner's Declaration -
I/We undersigned hereby confirm that I/We would abide by plans approved by Authority / Collector. I/We would execute the structure as per approved plans. Also I/We would execute the work under supervision of proper technical person so as to ensure the quality and safety at the work site.

Owner (s) name and signature

CHITNIS AND OTHERS
Postal Address : 203 / 204 Ishan Building, Vimal C H S,Mahatma Phule

DESCRIPTION OF PROJECT :

Type of Proposal : Residential
BUILDING ON CTS. NO./SURVEY NO.-6408

SITE ADDRESS :
PROPOSED RESIDENTIAL BLDG. ON PLOT BEARING, C.T.S.NO. 6408 TO 6411, VILLAGE - DOMBIVILI (E), TALUKA - KALYAN, DIST. - THANE.

Name Of Architect : UDAY MANSUKHLAL CHOPDA

LOGO	ADDRESS OF OFFICE
	OFFICE - A/202,SARVODAY ANANGAN PANDURANG WADI STREET NO.2 MANPADA ROAD

UCA ARCHITECT & INTERIOR DESIGNER

OWNERS SIGN - Verified by applicant	TECHNICAL PERSON SIGN Signature UDAY M. CHOPDA CA/2017/88339

Digitally signed by UDAY M. CHOPDA
Date: 2026.02.06 15:04:07 IST
Reason: Technical Person
Location: Kalyan Dombivali Municipal Corporation
Registration Number : CA/2017/88339
Project Number : 1561837

	SCALE -	DATE: Date: 02/02/26
	JOB NO - KDMCC-25-ENTRY-135276	CHECK BY - zoom

SUBMISSION DRAWING

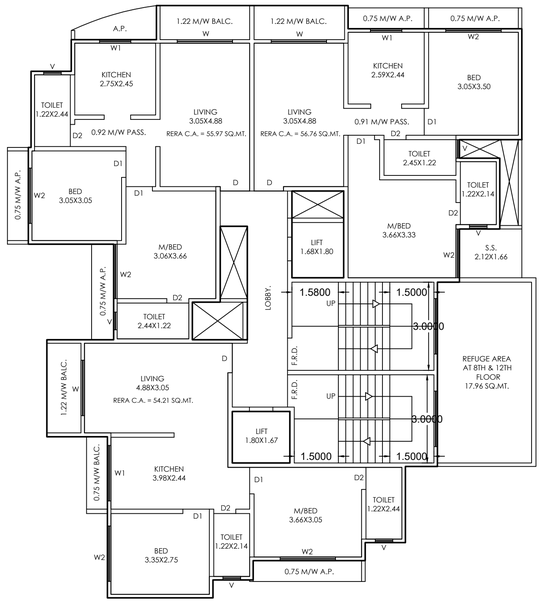

TYPICAL FLOOR PLAN
1ST TO 12TH FLOOR
SCALE - 1:100

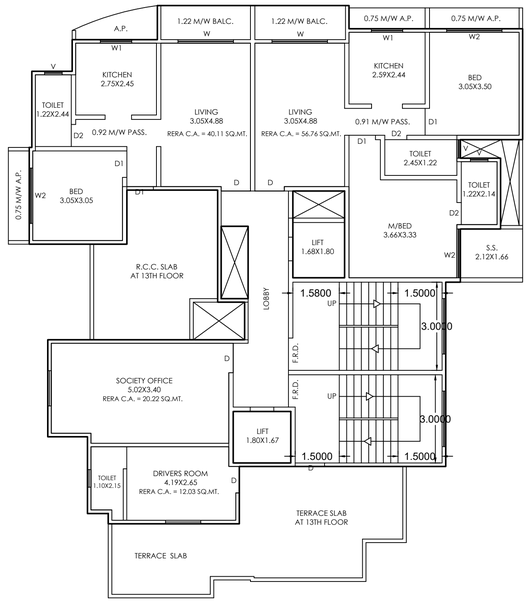

13TH FLOOR PLAN
SCALE - 1:100

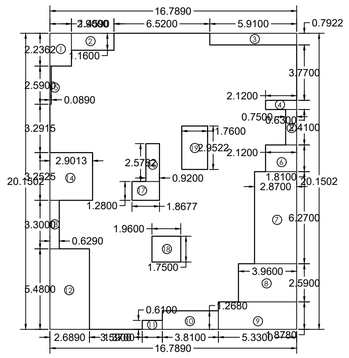

P-LINE AREA DIAGRAM OF TYPICAL FLOOR
(1ST TO 12TH FLOOR PLAN)
SCALE - 1:200

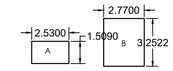

P-LINE AREAOF GROUND FLOOR
SCALE - 1:200

BUILT UP AREA CALCULATION

GROUND FLOOR								
A	2.53	X	1.51	X	1 NO	=	3.82	SQ.MT.
B	2.77	X	3.25	X	1 NO	=	9.00	SQ.MT.
					TOTAL ADDITION	=	12.82	SQ.MT.

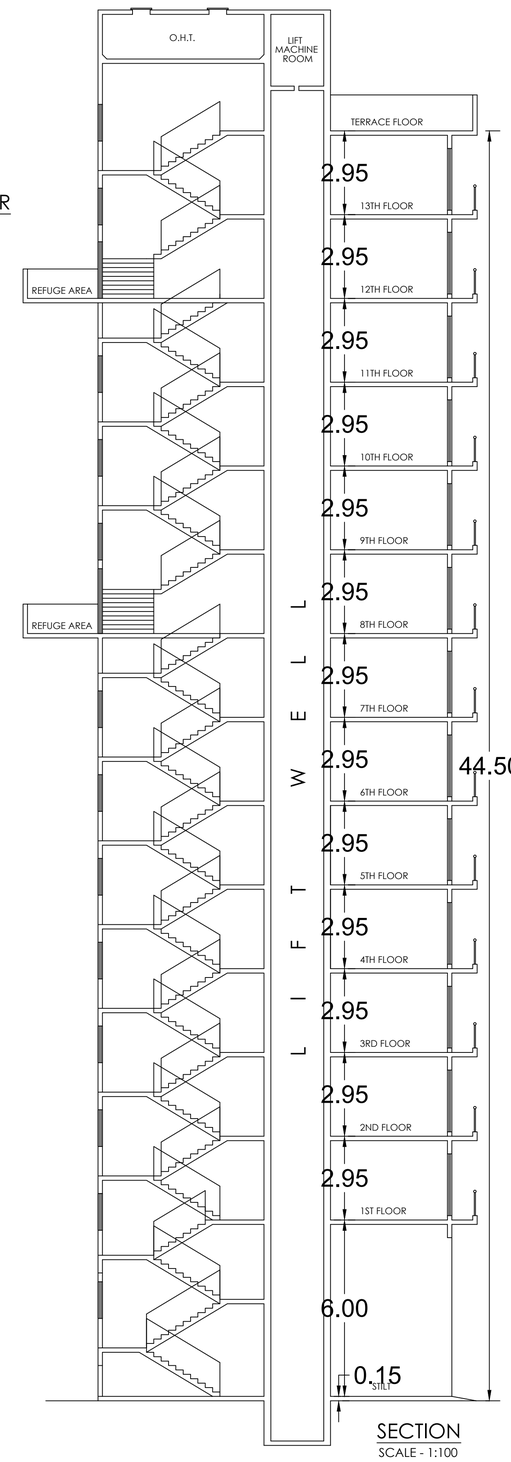

SECTION
SCALE - 1:100

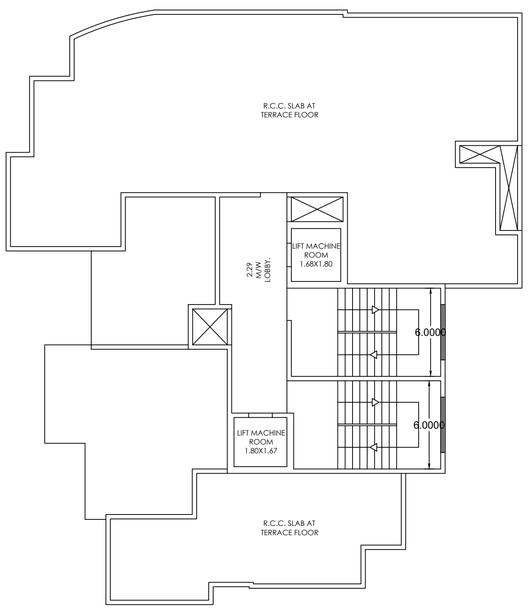

TERRACE FLOOR PLAN
SCALE - 1:200

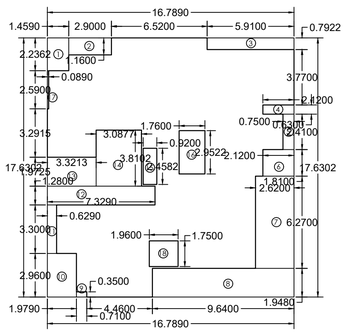

P-LINE AREA DIAGRAM OF 13TH FLOOR PLAN
SCALE - 1:200

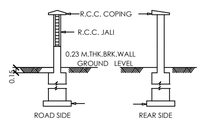

COMPOUND WALL
(SCALE- 1:75)

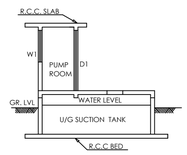

SECTION OF U/G SUCTION TANK
(SCALE-1:75)

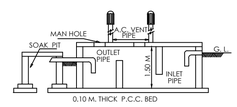

SECTION OF SEPTIC TANK
(SCALE- 1:75)

BUILT UP AREA CALCULATION

13TH FLOOR								
A	16.79	X	17.63	X	1 NO	=	296.01	SQ.MT.
					TOTAL ADDITION	=	296.01	SQ.MT.

DEDUCTIONS								
1	1.46	X	2.24	X	1 NO	=	3.27	SQ.MT.
2	2.90	X	1.16	X	1 NO	=	3.02	SQ.MT.
3	5.91	X	0.79	X	1 NO	=	4.67	SQ.MT.
4	2.12	X	0.63	X	1 NO	=	1.34	SQ.MT.
5	0.75	X	2.41	X	1 NO	=	1.81	SQ.MT.
6	2.12	X	1.81	X	1 NO	=	3.84	SQ.MT.
7	2.62	X	6.27	X	1 NO	=	16.43	SQ.MT.
8	9.64	X	1.95	X	1 NO	=	18.80	SQ.MT.
9	0.71	X	0.35	X	1 NO	=	0.25	SQ.MT.
10	1.98	X	2.96	X	1 NO	=	5.86	SQ.MT.
11	0.63	X	3.30	X	1 NO	=	2.08	SQ.MT.
12	7.33	X	1.28	X	1 NO	=	9.38	SQ.MT.
13	3.32	X	1.97	X	1 NO	=	6.54	SQ.MT.
14	3.09	X	3.81	X	1 NO	=	11.77	SQ.MT.
15	0.92	X	2.46	X	1 NO	=	2.26	SQ.MT.
16	1.76	X	2.95	X	1 NO	=	5.19	SQ.MT.
17	0.09	X	2.59	X	1 NO	=	0.23	SQ.MT.
18	1.96	X	1.75	X	1 NO	=	3.43	SQ.MT.
					TOTAL DEDUCTION	=	100.17	SQ.MT.
TOTAL BUILT UP AREA						=	195.84	SQ.MT.

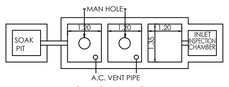

PLAN OF SEPTIC TANK
(SCALE-1:75)

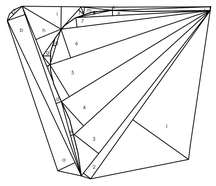

PLOT AREA DIAGRAM
SCALE - 1:1500

PLOT AREA CALCULATION

X - PLOT AREA								
1	38.88	X	11.67	X	0.50	=	226.86	SQ.MT.
2	35.67	X	1.56	X	0.50	=	27.82	SQ.MT.
3	35.67	X	5.28	X	0.50	=	94.17	SQ.MT.
4	31.30	X	5.61	X	0.50	=	87.80	SQ.MT.
5	36.59	X	6.34	X	0.50	=	115.99	SQ.MT.
6	28.78	X	5.14	X	0.50	=	73.96	SQ.MT.
7	25.58	X	1.63	X	0.50	=	20.85	SQ.MT.
8	22.89	X	0.94	X	0.50	=	10.76	SQ.MT.
9	6.33	X	0.37	X	0.50	=	1.17	SQ.MT.
10	6.35	X	0.62	X	0.50	=	1.97	SQ.MT.
					TOTAL ADDITION	=	661.35	SQ.MT.

Y - ROAD SET BACK AREA CALCULATION								
a	23.88	X	3.26	X	0.50	=	38.93	SQ.MT.
b	29.68	X	2.59	X	0.50	=	38.44	SQ.MT.
c	3.49	X	0.56	X	0.50	=	0.98	SQ.MT.
d	30.57	X	0.98	X	0.50	=	29.96	SQ.MT.
e	13.09	X	0.66	X	0.50	=	8.64	SQ.MT.
f	4.45	X	0.58	X	0.50	=	1.29	SQ.MT.
g	4.50	X	1.25	X	0.50	=	2.81	SQ.MT.
h	9.15	X	4.63	X	0.50	=	21.18	SQ.MT.
i	10.05	X	3.84	X	0.50	=	19.30	SQ.MT.
j	16.76	X	0.63	X	0.50	=	5.28	SQ.MT.
k	22.05	X	0.52	X	0.50	=	5.73	SQ.MT.
l	5.12	X	1.19	X	0.50	=	3.05	SQ.MT.
m	5.33	X	1.23	X	0.50	=	3.28	SQ.MT.
					TOTAL DEDUCTION	=	178.87	SQ.MT.
TOTAL PLOT = X + Y = 661.35+178.87						=	840.40	SQ.MT.

Signature Not Verified
Digitally signed by SANTOSH NAMDEV PATHRIKAR
Date: 2026.02.06 15:03:18 IST
Reason: Approved Drawing Plan
Location: Kalyan Dombivli Municipal Town Planning
Location: Kalyan Dombivli Municipal Corporation
Project Code: KDMCC-25-ENTRY-135276
Application Number : RKDMCC/2025/0221
Proposal Number : 1561827
Certificate Number : KDMCC/RB/2026/IAPL/00050

Reserved for Stamps of Approval plan

Owner Details		
Owner Name	Postal Address	Contact Number*
PRISM INFRAA	203 / 204 Ishan Building, Vimal C H S.Mahatma Phule Road,Kalyan,Thane, Maharashtra-421202	9820902377
PUSHKARAJ RESERVE BANK EMPLOYEES CO OP HSG SOCIETY MS PRISM INFRAA P.OA.MR.SACHIN R CHITNIS AND OTHERS	203/204, ISHAN BUILDING, VIMAL CHB, MAHATMA PHULE ROAD, DOMBIVLI WEST 420202	

Proforma I : Area Statement	
1. Area of plot (Minimum area of a, b, c to be considered)	839.700
(a) As per ownership document (7/12, CTS extract)	839.700
(b) as per TILR or City Survey measurement sheet	839.700
(c) as per Demarcated drawing area	839.700
LESS	-
2.Area not in possession	0.000
3. Area Proposed for development (out of 1-2)	839.700
4.Deductions for	-
(a) Proposed D.P./ D.P. Road widening Area / Service Road / Highway widening	178.870
(b) Any D.P. Reservation area	0.000
(c) Green Belt	0.000
Total (a+b+c)	178.870
5.Balance area of plot (3-4)	660.830
6. Amenity Space	0.000
(Applicable if (1) > 20000 sqmt	-
(Required -(a) Upto 20000 sqmt - Nil	-
(b) Above 20000 sqmt - (a) + 5% of Total area	0.000
7. Net Plot Area (5-6)	660.830
8. Recreational Open Space	-
(a) If area (5) is more than 4000 sqmt - 10 % of (5) is required.	0.000
Proposed	0.000
(b) If area is less than 4000 sqmt -Check -	-
i) If it is full number like 1,2,125,419,etc. As per 7.12 abstract or City Survey Number - No Recreational open space is required	-
ii) If it is subdivision like 1/2 ,2/5 , 125/1 419/1 etc.then recreational open space is required.	-
(A) 10 % Subject to minimum 200 sqmt	0.000
Proposed	0.000
(B) Exemption to leave open space subject to availing basic F.S.I of 75 %	-
(C) Exemption to leave open space subject to payment of 10 % land value of land at (7) as per annual statement of rate.	-

Architect/ Licensed Engineer/ Supervisor name and signature

Registration No. of Architect/ License no. of Licensed Engineer/ Supervisor: CA/2017/88339

Certificate of Area:
Certified that the plot under reference was surveyed by me on_____ and the dimensions of sides etc. of plot stated on plan are as measured on site and the area so worked out tallies with the area stated in document of Ownership/ T.P. Scheme Records/Land Records Department/City Survey records.

Signature
(Name of Architect/ Licensed Engineer/ Supervisor.)

Owner's Declaration -
I/We undersigned hereby confirm that I/We would abide by plans approved by Authority / Collector. I/We would execute the structure as per approved plans. Also I/We would execute the work under supervision of proper technical person so as to ensure the quality and safety at the work site.

Owner (s) name and signature

CHITNIS AND OTHERS
Postal Address : 203 / 204 Ishan Building, Vimal C H S.Mahatma Phule

DESCRIPTION OF PROJECT :
Type of Proposal : Residential
BUILDING ON CTS. NO./SURVEY NO.-6408

SITE ADDRESS :
PROPOSED RESIDENTIAL BLDG. ON PLOT BEARING, C.T.S.NO. 6408 TO 6411, VILLAGE - DOMBIVILI (E), TALUKA - KALYAN, DIST. - THANE.

Name Of Architect : UDAY MANSUKHLAL CHOPDA

LOGO
ADDRESS OF OFFICE
OFFICE -
A/202,SARVODAY ANANGAN PANDURANG WADI STREET NO.2 MANPADA ROAD
U.C. ASSOCIATES ARCHITECT & INTERIOR DESIGNER

OWNERS SIGN -
Verified by applicant

TECHNICAL PERSON SIGN
Signature Not Verified
Digitally signed by UDAY M. CHOPDA
Date: 2026.02.06 15:03:18 IST
Reason: Approved Drawing Plan
Location: Kalyan Dombivli Municipal Corporation
Project Code: KDMCC-25-ENTRY-135276
Application Number : RKDMCC/2025/0221
Proposal Number : 1561827
Certificate Number : KDMCC/RB/2026/IAPL/00050
UDAY M. CHOPDA
CA/2017/88339

	SCALE -	DATE: Date: 02/02/26
	JOB NO - KDMCC-25-ENTRY-135276	CHECK BY - zoom

SUBMISSION DRAWING