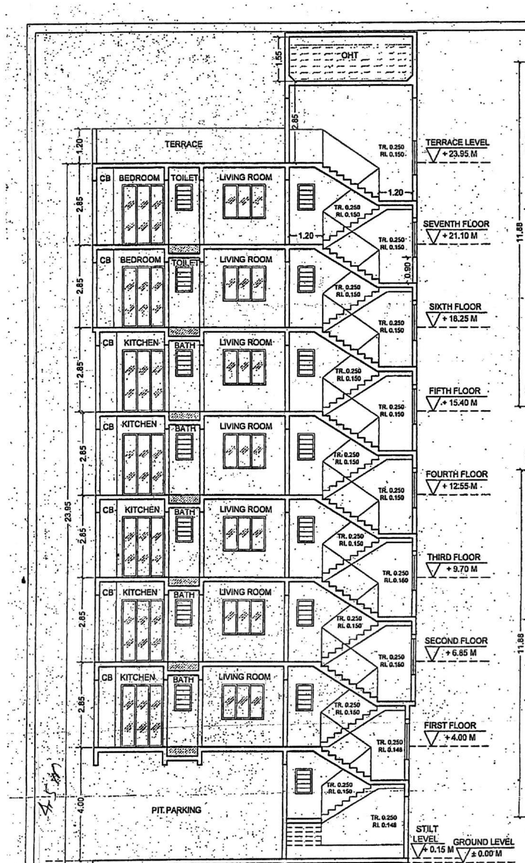

SECTION A - A'

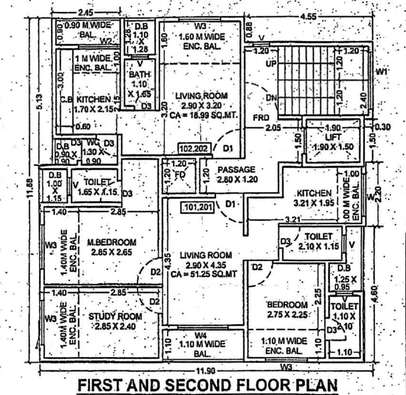

FIRST AND SECOND FLOOR PLAN

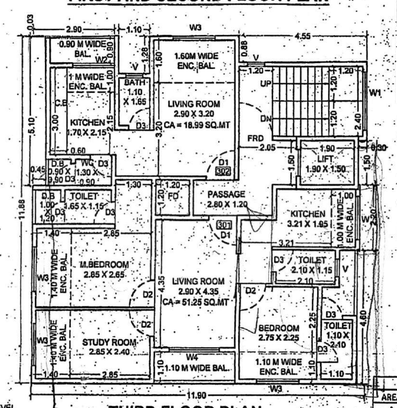

THIRD FLOOR PLAN

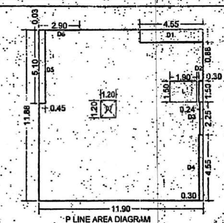

P LINE AREA DIAGRAM FOR FIRST AND SECOND FLOOR
SCALE = 1: 200

P LINE AREA CALCULATION FOR FIRST FLOOR AND SECOND FLOOR						
AREA	L		B		NO.	AREA (SQ.M.)
A	11.90	X	11.88		1	141.37
DEDUCTIONS						
D1	4.55	X	0.88	X	1	4.00
D2	0.30	X	1.50	X	1	0.45
D3	0.24	X	2.25	X	1	0.54
D4	0.30	X	4.55	X	1	1.37
D5	0.45	X	5.10	X	1	2.30
D6	2.90	X	0.03	X	1	0.09
D7	1.20	X	1.20	X	1	1.44
DEDUCTIONS						10.18
LIFT						
L	1.90	X	1.50	X	1	2.85
TOTAL LIFT AREA						2.85
TOTAL DEDUCTIONS						13.03
TOTAL B.U.A. AREA	A			13.03		
		141.37		13.03		128.34
TOTAL BUA						128.34

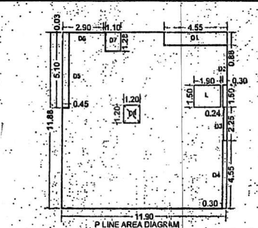

P LINE AREA DIAGRAM FOR THIRD FLOOR
SCALE = 1: 200

P LINE AREA CALCULATION FOR THIRD FLOOR						
AREA	L		B		NO.	AREA (SQ.M.)
A	11.90	X	11.88		1	141.37
DEDUCTIONS						
D1	4.55	X	0.88	X	1	4.00
D2	0.30	X	1.50	X	1	0.45
D3	0.24	X	2.25	X	1	0.54
D4	0.30	X	4.55	X	1	1.37
D5	0.45	X	5.10	X	1	2.30
D6	2.90	X	0.03	X	1	0.09
D7	1.10	X	1.28	X	1	1.41
D8	1.20	X	1.20	X	1	1.44
DEDUCTIONS						11.59
LIFT						
L	1.90	X	1.50	X	1	2.85
TOTAL LIFT AREA						2.85
TOTAL DEDUCTIONS						14.44
TOTAL B.U.A. AREA	A			14.44		
		141.37		14.44		126.93
TOTAL BUA						126.93

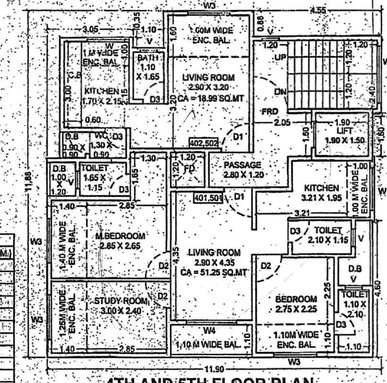

4TH AND 5TH FLOOR PLAN

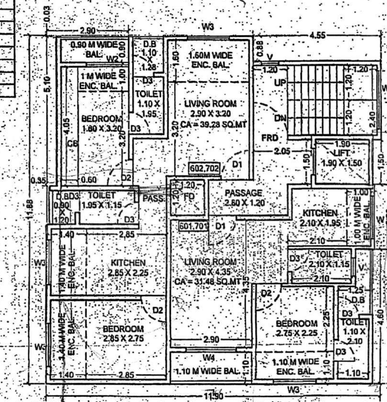

SIXTH AND SEVENTH FLOOR PLAN

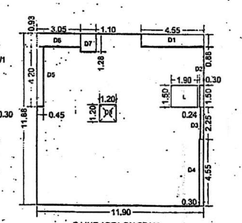

P LINE AREA DIAGRAM FOR FOURTH AND FIFTH FLOOR
SCALE = 1: 200

P LINE AREA CALCULATION FOR FOURTH AND FIFTH FLOOR						
AREA	L		B		NO.	AREA (SQ.M.)
A	11.90	X	11.88		1	141.37
DEDUCTIONS						
D1	4.55	X	0.88	X	1	4.00
D2	0.30	X	1.50	X	1	0.45
D3	0.24	X	2.25	X	1	0.54
D4	0.30	X	4.55	X	1	1.37
D5	0.45	X	4.20	X	1	1.89
D6	3.05	X	0.93	X	1	2.84
D7	1.10	X	1.28	X	1	1.41
D8	1.20	X	1.20	X	A	1.44
DEDUCTIONS						13.93
LIFT						
L	1.90	X	1.50	X	1	2.85
TOTAL LIFT AREA						2.85
TOTAL DEDUCTIONS						16.78
TOTAL B.U.A. AREA	A	-	16.78			
	141.37	-	16.78			124.59
TOTAL BUA						124.59

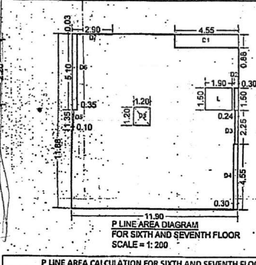

P LINE AREA DIAGRAM FOR SIXTH AND SEVENTH FLOOR
SCALE = 1: 200

P LINE AREA CALCULATION FOR SIXTH AND SEVENTH FLOOR						
AREA	L		B		NO.	AREA (SQ.M.)
A	11.90	X	11.88		1	141.37
DEDUCTIONS						
D1	4.55	X	0.88	X	1	4.00
D2	0.30	X	1.50	X	1	0.45
D3	0.24	X	2.25	X	1	0.54
D4	0.30	X	4.55	X	1	1.37
D5	0.10	X	1.35	X	1	0.14
D6	0.35	X	5.10	X	1	1.79
D7	2.90	X	0.03	X	1	0.09
D8	1.20	X	1.20	X	1	1.44
DEDUCTIONS						9.81
LIFT						
L	1.90	X	1.50	X	1	2.85
TOTAL LIFT AREA						2.85
TOTAL DEDUCTIONS						12.66
TOTAL B.U.A. AREA	A	+	12.66			
		143.16	-	12.66		130.50
TOTAL BUA						130.50

DOOR WINDOW SCHEDULE			
SR. NO.	TYPE	SIZE	DESCRIPTION
1	D1	1.00 X 2.10	T.W. FRAMED FLUSH DOOR
2	D2	0.90 X 2.10	T.W. FRAMED FLUSH DOOR
3	D3	0.75 X 1.95	T.W. FRAMED FLUSH DOOR
4	W	1.50 X 1.20	ALU. FRAMED SLIDING WINDOW
5	W1	2.00 X 1.20	ALU. FRAMED SLIDING WINDOW
6	W2	1.50 X 2.10	ALU. FRAMED SLIDING WINDOW
7	W3	1.50 X 1.20	ALU. FRAMED SLIDING WINDOW
8	W4	1.80 X 2.10	ALU. FRAMED SLIDING WINDOW
9	V	0.60 X 0.90	ALU. FRAMED VENTILATOR

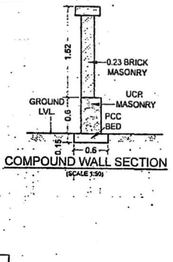

COMPOUND WALL SECTION
(SCALE 1:50)

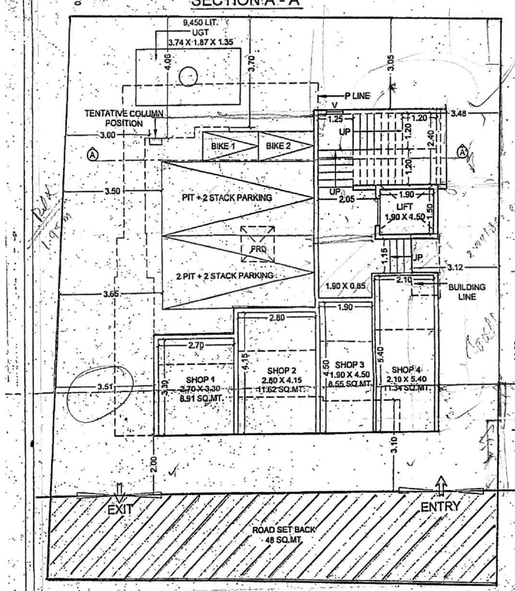

GROUND FLOOR PLAN
(SCALE = 1:100)

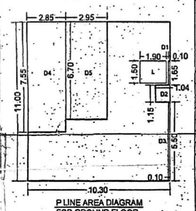

P LINE AREA DIAGRAM FOR GROUND FLOOR
SCALE = 1: 200

P LINE AREA CALCULATION FOR GROUND FLOOR						
AREA	L		B		NO.	AREA (SQ.M.)
A	10.30	X	11.00		1	113.30
DEDUCTIONS						
D1	0.10	X	1.65	X	1	0.17
D2	1.04	X	1.15	X	1	1.20
D3	0.10	X	5.55	X	1	0.56
D4	2.85	X	7.55	X	1	21.52
D5	2.95	X	6.70	X	1	19.77
DEDUCTIONS						43.20
LIFT						
L	1.9	X	1.5	X	1	2.85
TOTAL LIFT AREA						2.85
TOTAL DEDUCTIONS						46.05
TOTAL B.U.A. AREA	A	-	46.05			
		133.30	-	46.05		67.25
TOTAL BUA						67.25

P LINE AREA STATEMENT		
SR. NO:	FLOOR	FLOOR AREA
1	GROUND FLOOR	67.25
2	1st FLOOR	128.34
3	2nd FLOOR	128.34
4	3rd FLOOR	126.93
5	4th FLOOR	124.59
6	5th FLOOR	124.59
7	6th FLOOR	130.50
8	7th FLOOR	130.50
9	TERRACE FLOOR	10.08
10	TOTAL	971.12

PARKING SCHEDULE FOR RESIDENTIAL OCCUPANCY - NON CONGESTED AREA					
SR. NO.	DESCRIPTION ABOUT CARPET AREA	NO. FLATS	NO. OF CAR PARKING REQUIRED AS PER 0.8 FACTOR	VISITOR PARKING	NO. OF TWO WHEELER PARKING REQUIRED AS PER 0.8 FACTOR
1	FOR 2 TEN. - CA < 30. SQ.M.	5	0	0	0
2	FOR 2 TEN. - 30.0 SQ.M.< CA < 40.0 SQ.M.	2	0.8	0.0	1.6
3	FOR 2 TEN. - 40.0 SQ.M.< CA < 80.0 SQ.M.	7	2.8	0.14	5.60
4	FOR 1 TEN. - 80.0 SQ.M.< CA < 150.0 SQ.M.	0	0	0	0
5	FOR 1 TEN. - 150.0 SQ.M.< CA	0	0	0	0
6	TOTAL REQUIRED PARKING		3.6		11.2

PARKING SCHEDULE FOR COMMERCIAL OCCUPANCY - NON CONGESTED AREA					
SR. NO.	DESCRIPTION ABOUT CARPET AREA	COMMERCIAL AREA PROPOSED (SQ.M.)	NO. OF CAR PARKING REQUIRED AS PER 0.8 FACTOR	VISITOR PARKING	NO. OF TWO WHEELER PARKING REQUIRED AS PER 0.8 FACTOR
1	FOR EVERY 100 SQ.M. AND FRACTION THERE OF	54	0.86	0.04	2.16
2	TOTAL REQUIRED PARKING		0.9		2.16

PARKING SCHEDULE FOR RESIDENTIAL CUM COMMERCIAL OCCUPANCY AREA			
		TOTAL CAR PARKING REQUIRED	TOTAL TWO WHEELER PARKING REQUIRED
		4.7	13.4
TOTAL PARKING PROVIDED		CAR PARKING PROVIDED	TWO WHEELER PARKING PROVIDED
		5	2 BIKES (2 EXTRA CARS)

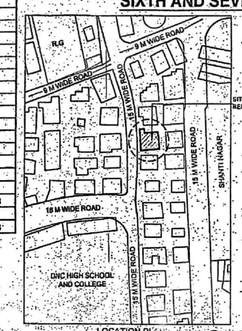

LOCATION PLAN
NOT TO SCALE

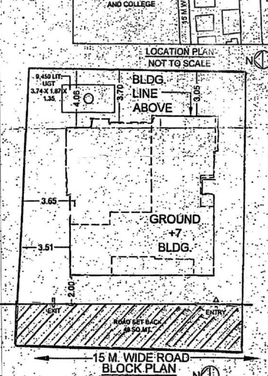

(SCALE =1:500)

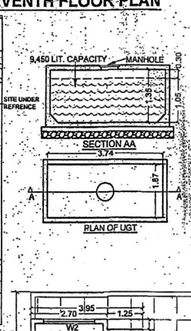

PLAN OF UGT

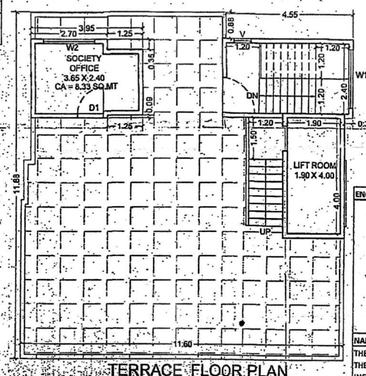

TERRACE FLOOR PLAN

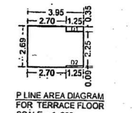

P LINE AREA DIAGRAM FOR TERRACE FLOOR
SCALE = 1: 200

P LINE AREA CALCULATION FOR TERRACE FLOOR						
AREA	L		B		NO.	AREA (SQ.M.)
A	3.95	X	2.69		1	10.63
DEDUCTIONS						
D1	1.25	X	0.35	X	1	0.44
D2	1.25	X	0.09	X	1	0.11
DEDUCTIONS						0.55
TOTAL DEDUCTIONS						0.55
TOTAL B.U.A. AREA	A	-	0.55			
	10.63	-	0.55			10.08
TOTAL BUA						10.08

PROFORMA - I : AREA STATEMENT

PROPOSED RESIDENTIAL CUM COMMERCIAL BUILDING ON CTS NO. 1136 TO 1142 AND S.NO. 93/A/2B, PLOT NO.33, OF VILLAGE AYRE DOMBIVALI (E)

OFFICE OF THE KALYAN DOMBIVLI MUNICIPAL CORPORATION, KALYAN.

Building Permit No. : KDMC/TPD/BP/DOM/2023-24/61.
Date :- 22/12/2023.

SANCTIONED

ASSISTANT DIRECTOR OF TOWN PLANNING
Kalyan-Dombivli Municipal Corporation

Stamps of Approvals of Plans

Sr.No.	AREA STATEMENT		
1	Area of plot (Minimum area of a, b, c to be considered)		
(a)	As per ownership document (7/12, CTS extract)		301.12
(b)	as per mesurement sheet		
(c)	as per site		
2	Deductions for		
(a)	Proposed D.P/D.P. Road widening Area/Service Road/Highway widening		48.00
(b)	Any D.P. Reservation area		0.00
	(Total a+b)		48.00
3	Balance area of plot (1-2)		253.12
4	Amentity Space (if applicable)		
(a)	Required -		
(b)	Adjustment of 2 (b), if any -		
(c)	Balance Proposed -		0.00
5	Net Plot Area (3-4 (c))		253.12
6	Recreational Open space (if applicable)		NA
(a)	Required -		
(b)	Proposed -		
7	Intrenal Road area		NA
8	Plotable area (if applicable)		NA
9	Built up area with refrence to Basic F.S.I. as per front road width (Sr. No. 5x 1.1 BASIC FSI)		278.43
10	Addition of FSI on payment of premium		
(a)	Maximum permissible premium FSI - based on road width / TOD Z		
(b)	Proposed FSI on payment of premium.		150.55
11	In-situ FSI/TDR loading		
(a)	In-situ area against D.P. road [2.0 x Sr. No. 2 (a)] if any.		96.00
(b)	In-situ area against Amenity Space if handed over [2.00 or 1.85 x Sr. No. 4 (b) and / (c)] .		0.00
(c)	TDR area		0.00
(d)	Total in-situ / TDR loading proposed (11 (a)+(b)+(c))		96.00
12	Additional FSI area under Chapter No. 7		83.89
13	Total entitlement of FSI in the proposal.		
(a)	[9 + 10(b)+11(d)] or 12 whichever is applicable.		608.88
(b.1)	Common area FSI upto 60% or 80% with payments of charges Residencial 570.61 X 60% = 342.36 SQ.MT. Commercial 38.27 X 80% = 30.61 SQ.MT.		372.97
(c)	Total entitlement (a+b)		981.85
14	Maximum utilization limit of F.S.I. (building potential) Permissible as per Road width ((as per Regulation No. 6.1 or 6.2 or 6.3 or 6.4 as applicable) x 1.6 or 1.8)		3.70
15	Total Built - up Area in proposal. (excluding area at Sr. No. 17 h)		
(a)	Existing Built-up Area.		0.00
(b)	Proposed Built-up Area (as per 'P-line')		971.17
(c)	Total (a+b)		971.12
16	F.S.I. Consumed (15/13) (should not be more than serial No. of		0.99
17	Area for Inclusive Housing if any		
(a)	Required (20% of Sr.No. 5)		
(b)	Proposed		

Certificate of Area - CERTIFICATE THAT THE PLOT UNDER REFERENCE WAS SURVEYED BY ME ON _____ AND THE DIMENSIONS OF SITE OF PLOT STATED ON PLAN ARE AS MEASURED ON THE SITE AND THE AREA SO DOCUMENT / OWNERSHIP / T.P. SCHEME RECORDS DEPT. / CITY SURVEY RECORDS.

Discription Of Proposal - PROPOSED RESIDENTIAL CUM COMMERCIAL BUILDING ON CTS NO. 1136 TO 1142 AND S.NO. 93 A (PT.), PLOT NO.33, OF VILLAGE AYRE DOMBIVALI (E)

Owner's Declaration -

For M/s. PARTH DEVELOPERS
PARTNER

I/ WE UNDERSIGNED HEREBY CONFIRM THAT I/WE WOULD ABIDE BY PLANS APPROVED BY AUTHORITY / COLLECTOR. I /WE WOULD EXECUTE THE STRUCTURE AS PER APPROVED PLANS. ALSO I / WE WOULD EXECUTE THE WORK UNDER SUPERVISION OF PROPOER TECHNICAL PERSON SO AS TO ENSURE THE QUALITY AND SAFETY AT THE WORK SITE.

OWNER (S) NAME AND SIGNATURE

Architect/ Licensed Engieer/Supervisor name and signature

Job No.	Drawing No.	Scale	Drawn by	Checked by	Registration No. of Architect
			RAVINDRA UIKE	AR.NINAD VAIDYA	CA/2010/48114

AR. NINAD VAIDYA

ENGINEER'S DECLARATION -

For AADHAR ENGINEERS
SMITKUMAR S. VELANI (B.E. CIVIL)
Reg. No. KDMC/619

NAME AND SIGNATURE OF ENGINEER

THE R.C.C. PLANS PREPARED BY ME ARE IN ACCORDANCE WITH THE NORMS AS SPECIFIED. THE R.C.C. PLANS PREPARED BY ME ARE IN ACCORDANCE WITH THE INDIAN STANDARD INSTITUTE AND I WILL BE HELD RESPOSIBLE FOR ANY HARM CAUSED BY EARTHQUAKE DUE TO NEGLIGENCE OF STANDARDS.

Ar. Ninad S. Vaidya
REGISTERED ARCHITECT
Reg. No. CA/2010/48114
Add: Unit No.01, Ground Floor, Rachana Divine, Near Nimkar's Suyog Hall, Tilak Nagar, Dombivli (E) 421201.

UNIT NO. 01 GROUND FLOOR, RACHANA DIVINE SOCIETY, NEAR NIMKAR'S SUYOG HALL, TILAK NAGAR, DOMBIVLI (E) DIST. THANE- 421 201.