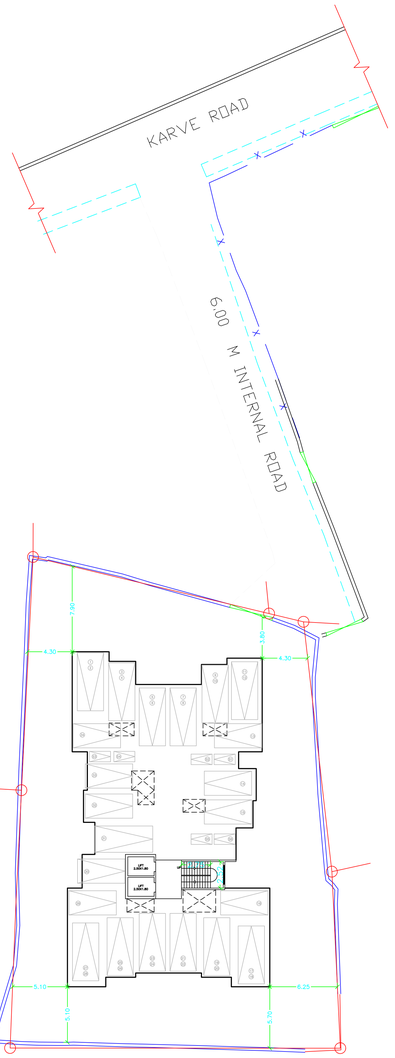

GROUND FLOOR PLAN
SCALE – 1:200

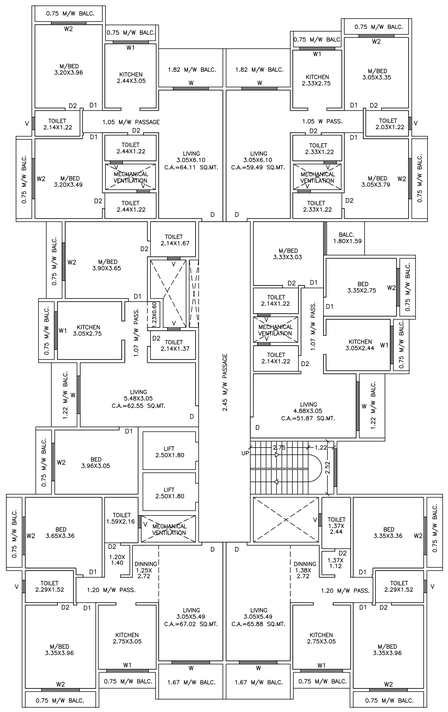

TYPICAL FLOOR PLAN
1ST TO 3RD FLOOR
SCALE – 1:100

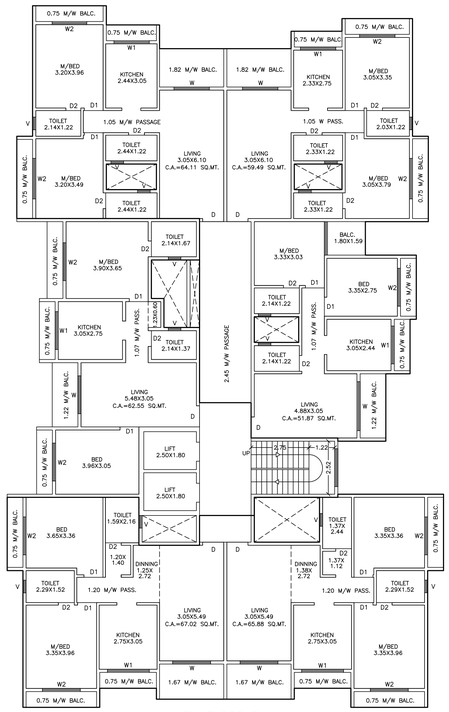

4TH FLOOR PLAN
SCALE – 1:100

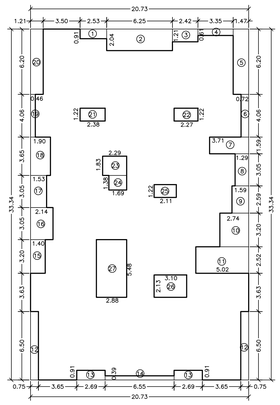

P–LINE AREA DIAGRAM OF
(1ST TO 6TH FLOOR)
SCALE – 1:100

B/UP AREA LINE DIAGRAM & AREA CALCULATION FOR TYPICAL FLOOR PLAN
(1ST TO 6TH FLOOR)

RECTANGLE AREA = 20.73 X 33.34 X 1
= 691.14 SQ.MT.

1) 02.53 X 00.91 X 1 = 02.30
2) 06.25 X 02.04 X 1 = 12.75
3) 02.42 X 01.21 X 1 = 02.93
4) 03.35 X 00.61 X 1 = 02.04
5) 01.47 X 06.20 X 1 = 09.11
6) 00.72 X 04.06 X 1 = 02.92
7) 03.71 X 01.59 X 1 = 05.90
8) 01.29 X 03.05 X 1 = 03.93
9) 01.59 X 02.59 X 1 = 04.12
10) 02.74 X 03.20 X 1 = 08.77
11) 05.02 X 02.52 X 1 = 12.65
12) 00.75 X 06.50 X 2 = 09.75
13) 02.69 X 00.91 X 2 = 04.90
14) 06.55 X 00.39 X 1 = 02.55
15) 01.40 X 03.20 X 1 = 04.48
16) 02.14 X 03.05 X 1 = 06.53
17) 01.53 X 03.05 X 1 = 04.67
18) 01.90 X 03.65 X 1 = 06.94
19) 00.46 X 04.06 X 1 = 01.87
20) 01.21 X 06.20 X 1 = 07.50
21) 02.38 X 01.22 X 1 = 02.90
22) 02.27 X 01.22 X 1 = 02.77
23) 02.29 X 01.83 X 1 = 04.19
24) 01.69 X 01.38 X 1 = 02.33
25) 02.11 X 01.22 X 1 = 02.57
26) 03.10 X 02.13 X 1 = 06.60
27) 02.88 X 05.48 X 1 = 15.78

TOTAL DEDUCTIONS = 153.75 SQ.MT.

AREA = (691.14 – 153.75) = 537.39 SQ.MT.
THUS PROP. B/UP AREA ON
1ST TO 6TH FLOOR= 537.39 SQMT

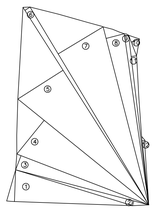

PLOT AREA CALCULATION
SCALE – 1:500

X) PLOT AREA CALCULATION

1) 29.93 X 07.53 X 0.5 = 112.69 SQ.MT.
2) 32.70 X 01.17 X 0.5 = 19.13
3) 33.58 X 03.61 X 0.5 = 60.61
4) 39.99 X 10.32 X 0.5 = 206.35
5) 55.64 X 12.72 X 0.5 = 353.87
6) 55.64 X 01.45 X 0.5 = 40.34
7) 54.80 X 12.47 X 0.5 = 341.68
8) 43.65 X 04.43 X 0.5 = 96.68
9) 41.07 X 01.00 X 0.5 = 20.54
10) 05.23 X 02.07 X 0.5 = 05.41
11) 40.56 X 01.29 X 0.5 = 26.16
12) 16.33 X 00.71 X 0.5 = 05.80

TOTAL PLOT AREA = 1289.23 SQ.MT.

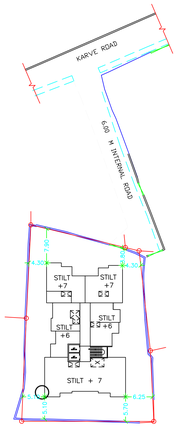

BLOCK PLAN
SCALE – 1 :500

PARKING AREA STATEMENT AS PER (UDCPR)					
AREA OF THE TENAMENTS	NO. OF TENAMENTS	CAR PARKING REQUIRED	CAR PARKING PROPOSED	SCOOTER REQUIRED	SCOOTER PROPOSED
BELOW 30 SQ.MT.	NILL	—	21 NOS.	—	6 NOS. SCOOTER + 13 NOS. CAR COMPOSITE
BETWEEN 30 TO 40	NILL	—		—	
BETWEEN 40 TO 80	40 NOS.	20.00		100.00	
BETWEEN 80 TO 150	NILL	—		—	
ABOVE 150 SQ.MT.	NILL	—		—	
COMM. 100 SQ.MT	NILL	—		—	
TOTAL	40 NOS.	20.00		100.00	
VISITOR 5%		1.00		5.00	
TOTAL		21.00		105.00	
REQUIRED X 0.8		16.80		84.00	
REQUIRED PARKING		17 NOS.		84 NOS	

PROP. CAR PARKING : 21 NOS.+13 NOS. COMPOSITE CAR & SCOOTER PARKING: 6 NOS.

B/UP AREA STATEMENT (P–LINE)

	SANCTION		PROPOSED	
FLOORS	B/UP AREA	NO. OF TENENT	B/UP AREA	NO. OF TENENT
GROUND	30.76	–	–30.76	–
FIRST	537.39	6 NOS.	–	–
SECOND	537.39	6 NOS.	–	–
THIRD	537.39	6 NOS.	–	–
FOURTH	106.94	1 NOS.	430.45	5 NOS.
FIFTH	–	–	537.39	6 NOS.
SIXTH	–	–	537.39	6 NOS.
SEVENTH	–	–	354.88	4 NOS.
TOTAL	1749.87	19 NOS. FLAT	1829.35	21 NOS. FLAT

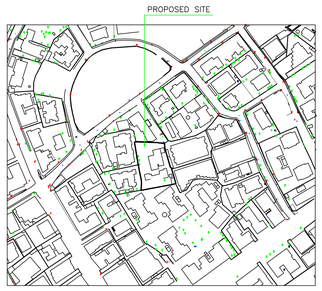

LOCATION PLAN
SCALE – 1 :2000

DESCRIPTION OF PROPOSAL AND PROPORTY

PROPOSED RESI BLDG. ON PLOT BEARING, C.T.S.NO. 2319 & 2320, VILLAGE – NAVAGAON DOMBIVILI (W)TALUKA – KALYAN, DIST. – THANE.

STAMP OF APPROVAL OF PLANS | SHEET NO. 1/2

A) AREA STATEMENT	SQ.MT.
1) AREA OF THE PLOT	
(MINIMUM AREA OF a, b, c TO BE CONSEDERED	
a. AS PER OWNERSHIP DOCUMENT (CTS EXTRACT)	994.30
b. AS PER P.O.A.	
c. AS PER MEASUREMENT SHEET	994.30
b. AS PER SITE	–
2) DEDUCTIONS FOR	
a. PROPOSED D.P./ 24.00 M/W D.P. ROAD WIDENING AREA	0.00
b. ANY D.P. RESERVATION AREA	–
(TOTAL a + b.)	0.00
3) BALANCE AREA OF PLOT (1–2)	994.30
4) AMENITY SPACE (IF APPLICABLE)	
a. REQUIRED	NILL
b. ADJUSTMENT OF 2(b), IF ANY	NILL
c. BALANCE PROPOSED	NILL
5) NET PLOT AREA (3–4(c))	994.30
6) RECREATIONAL OPEN SPACE (IF APPLICABLE)	
a. REQUIRED	NILL
b. PROPOSED	NILL
7) INTERNAL ROAD AREA	NILL
8) PORTABLE AREA (IF APPLICABLE)	NILL
9) BUILT UP AREA WITH REFERENCE TO BASIC F.S.I. AS PER FRONT ROAD WIDTH (994.30 X 1.10)	1093.73
10) ADDITION OF F.S.I. ON PAYMENT OF PREMIUM	
a. MAXIMUM PERMISSIBLE PREMIUM F.S.I. BASED ON ROAD	497.15
b. PROPOSED F.S.I. ON PAYMENT OF PREMIUM	497.15
11) IN–SITU F.S.I./ T.D.R. LOADING	NILL
a. IN–SITU AREA AGAINST D.P. ROAD [2.05 X 00.00]	NILL
b. IN–SITU AREA AGAINST AMENITY SPACE IF HANDED OVER [2.00 OR 1.85 X SR.NO. 4 (b) AND /OR (c)]	NILL
c. T.D.R. AREA KDMC/NRV/HWH/6596, DATE : 28/01/2022	646.30
d. TOTAL IN SITU/T.D.R. LOADING PROPOSED [11 (a+b+c)]	NILL
12) ADDITIONAL F.S.I. AREA UNDER CHAPTER NO. 7	NILL
13) TOTAL ENTITLEMENT OF F.S.I. IN THE PROPOSAL	
a. [9+10(b)+11(d)] OR 12 WHICHEVER IS APPLICABLE = 1093.73 + 497.15 + 646.30 = 2237.18 SQ.MT.	2237.18
b. ANCILLARY AREA F.S.I. UP TO 60% OR 80% WITH PAYMENT OF CHARGES RESIDENTIAL (2237.18X60%)=1342.31	656.24
(1342.31 – 656.24 PREVIOUS SANCTION) = 686.07 SQ.MT.	686.07
c. TOTAL ENTITLEMENT (a+b)	1342.31
14) MAXIMUM UTILIZATION LIMIT OF F.S.I. (BUILDING POTENTIAL)	3579.49
PERMISSIBLE AS PER ROAD WIDTH [(AS PER REGULATION NO.6.1 OR 6.2 OR 6.3 OR 6.4 AS APPLICABLE)X1.6 OR 1.8	
15) TOTAL BUILT–UP AREA IN PROPSAL(EXCLUDING SR.NO.17 b)	
a. EXSTING BUILT–UP AREA	NILL
b. PROPOSED BUILT–UP AREA (AS PER 'P–LINE') PREVIOUS SANCTION = 1749.87 + PROPOSED 1829.35	3579.22
c. TOTAL (a + b)	3579.22
16) F.S.I. CONSUMED (15/13) (NOT BE MORE THAN SR.NO. 14)	0.99
17) AREA FOR INCLUSIVE HOUSING, IF ANY	
a. REQUIRED (20% OF SR.NO. 5)	
b. PROPOSED	

CERTIFICATE OF AREA

CERTIFIED THAT I HAVE SURVEYED THE PLOT UNDER REFERANCE ON 02/11/2021 THAT THE DIMENSIONS OF SIDES ETC. OF THE PLOT STATED ON THE PLAN ARE AS MEASURED ON SITE AND THE AREA SO WORKED OUT IS 1250.00 SQ.MT. AND TALLIES WITH THE AREA STATED IN DOCUMENT OF OWNER SHIP, TOWN PLANNING SCHEME RECORDS.

SIGNATURE OF ARCHITECT

CERTIFICATE OF R.C.C. CONSULTANT

THE R.C.C PLANS PREPARED BY ME ARE IN ACCORDANCE WITH THE NORMS AS SPECIFIED BY INDIAN STANDARD INSTITUTE AND I WILL BE HELD RESPONSIBLE FOR ANY HARM CAUSED BY IN EARTHQUAKE DUE TO NEGLIENCE OF STANDARDS.

SIGNATURE OF R.C.C. DESIGNER

OWNERS DECLARATION

I/WE UNDERSIGNED HEREBY CONFIRM THAT I/WE WOULD ABIDE BY PLANS APPROVED BY AUTHORITY/COLLECTOR. I/WE WOULD EXECUTE THE WORK UNDER SUPERVISION OF PROPER TECHNICAL PERSON SO AS TO ENSURE THE QUALITY AND SAFETY ATH THE WORK SITE.

M/S EVERGREEN DEVELOPERS
P.O.A. HOLDER – SACHIN CHITNIS & OTHERS

OWNER NAME–
UPENDRA D. MOKASHI
& OTHERS

SHEET NO :	SCALE	DESIGN BY :	DRAWN BY :	CHKD BY :
1 OF 2	AS STATED	—	—	—

NAME AND ADDRESS OF ARCHITECT

ARCHITECT: UDAY M. CHOPDA
CA/2017/86339
UC ASSOCIATES
ARCHITECT & INTERIOR DESIGNER
A/202, SARVODAY AANGAN, PANDURANG WADI, NEAR SAI BABA TEMPLE, MANPADA ROAD, DOMBIVLI (EAST) – 421201. EMAIL : ucassociates29@gmail.com MOB : 7666283484

DESCRIPTION OF PROJECT :

PROPOSED RESI BLDG. ON PLOT BEARING, C.T.S.NO. 2319 & 2320, VILLAGE – NAVAGAON DOMBIVILI (W)TALUKA – KALYAN, DIST. – THANE.

SITE ADDRESS :

ARCHITECT: UDAY M. CHOPDA
LICE. ADDRESS OF OFFICE CA/2017/86339
UC ASSOCIATES
ARCHITECT & INTERIOR DESIGNER

OWNERS SIGN – M/S EVERGREEN DEVELOPERS
P.O.A.SACHIN CHITNIS & OTHERS

TECHNICAL PERSON SIGN

SCALE – 1:100	Date 26/01/24
JOB NO –	CHECK BY –

SUBMISSION DRAWING

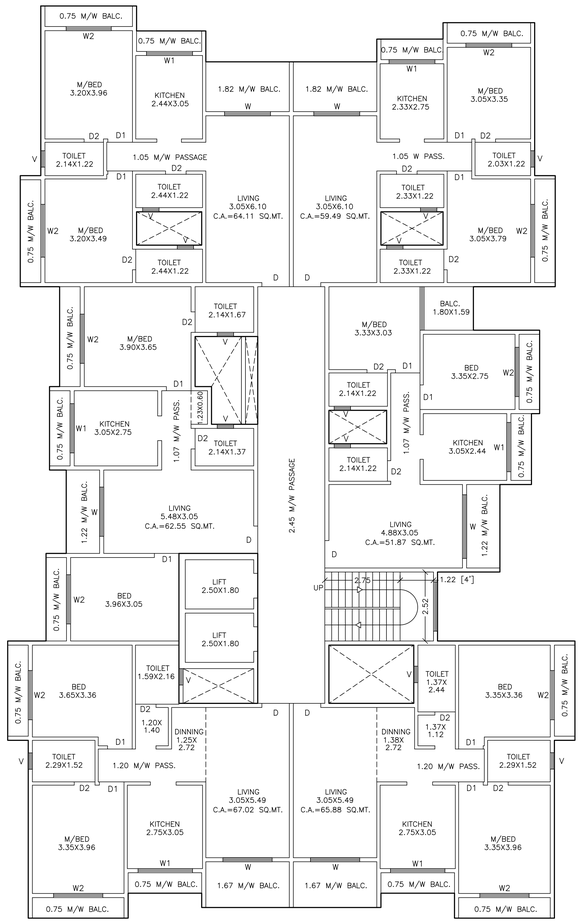

TYPICAL FLOOR PLAN
5TH & 6TH FLOOR
SCALE – 1:100

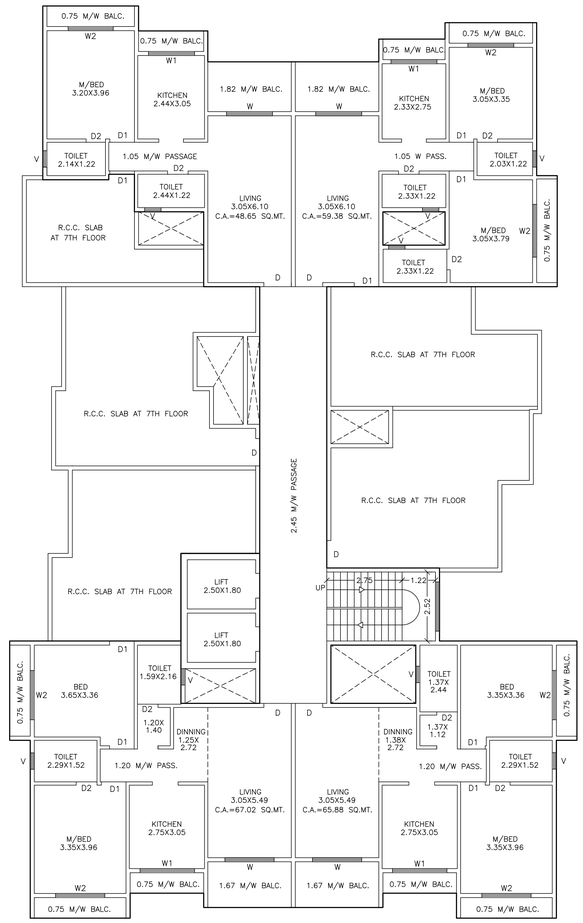

7TH FLOOR PLAN
SCALE – 1:100

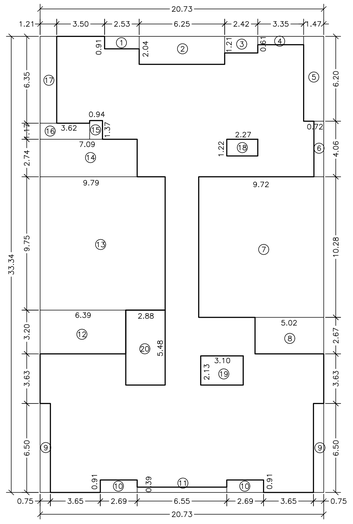

P–LINE AREA DIAGRAM OF
(7TH FLOOR)
SCALE – 1:100

B/UP AREA LINE DIAGRAM & AREA CALCULATION FOR TYPICAL FLOOR PLAN
(7TH FLOOR)

RECTANGLE AREA = 20.73 X 33.34 X 1
= 691.14 SQ.MT.

1)	02.53 X 00.91	X 1	=	02.30
2)	06.25 X 02.04	X 1	=	12.75
3)	02.42 X 01.21	X 1	=	02.93
4)	03.35 X 00.61	X 1	=	02.04
5)	01.47 X 06.20	X 1	=	09.11
6)	00.72 X 04.06	X 1	=	02.92
7)	09.72 X 10.28	X 1	=	99.92
8)	05.02 X 02.67	X 1	=	13.40
9)	00.75 X 06.50	X 2	=	09.75
10)	02.69 X 00.91	X 2	=	04.90
11)	06.55 X 00.39	X 1	=	02.55
12)	06.39 X 03.20	X 1	=	20.45
13)	09.79 X 09.75	X 1	=	95.45
14)	07.09 X 02.74	X 1	=	19.43
15)	00.94 X 01.37	X 1	=	01.29
16)	03.62 X 01.17	X 1	=	04.24
17)	01.21 X 06.35	X 1	=	07.68
18)	02.27 X 01.22	X 1	=	02.77
19)	03.10 X 02.13	X 1	=	06.60
20)	02.88 X 05.48	X 1	=	15.78

TOTAL DEDUCTIONS = 336.26 SQ.MT.

AREA = (691.14 – 336.26) = 354.88 SQ.MT.
THUS PROP. B/UP AREA ON
7TH FLOOR= 354.88 SQMT

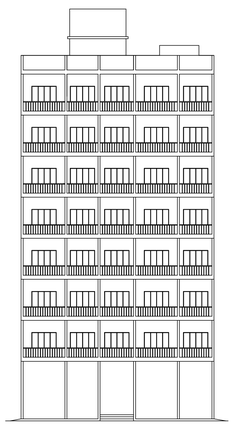

ELEVATION
(SCALE– 1:200)

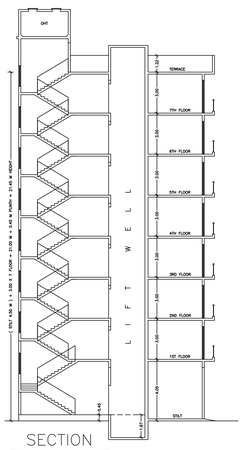

SECTION
(SCALE– 1:200)

SCHEDULE OF DOORS &WINDOWS

TYPE	SIZE (LxH)	DESCRIPTION
D	1.00 x 2.13	T.W. FRAMED PANELLED DOOR
D1	0.90 x 2.13	T.W. FRAMED FLUSH DOOR
D2	0.75 x 2.13	T.W. FRAMED PANELLED DOOR
W	2.44 x 1.22	T.W. FRAMED GLAZED WINDOW
W1	1.52 x 1.22	T.W. FRAMED GLAZED WINDOW
W2	1.83 x 1.22	T.W. FRAMED GLAZED WINDOW
V	0.60 x 0.90	T.W. FRAMED GLAZED LOUV. VENTILATOR

NOTES

1. BOUNDARY OF THE PLOT SHOWN BLACK
2. PROPOSED WORK SHOWN IN RED SHADED.
3. ALL EXTERNAL AND INTERNAL WALLS ARE 0.15 M.THK. AND 0.12 M.THK.CONCRETE BLOCK.
4. ALL TREAD AND RISERS ARE 0.25 M. W. AND 0.15 M/HT. RESPECTIVELY.

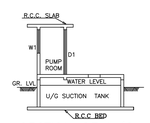

SECTION OF U/G
SUCTION TANK
(SCALE–1:75)

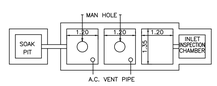

PLAN OF SEPTIC TANK
(SCALE–1:75)

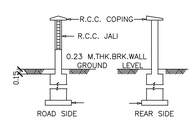

COMPOUND WALL
(SCALE– 1:75)

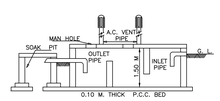

SECTION OF SEPTIC TANK
(SCALE– 1:75)

DESCRIPTION OF PROPOSAL AND PROPORTY

PROPOSED RESI BLDG. ON PLOT BEARING, C.T.S.NO. 2319 & 2320, VILLAGE – NAVAGAON DOMBIVILI (W)TALUKA – KALYAN, DIST. – THANE.

STAMP OF APPROVAL OF PLANS | SHEET NO. 2/2

CERTIFICATE OF AREA

CERTIFIED THAT I HAVE SURVEYED THE PLOT UNDER REFERANCE ON 02/11/2021 THAT THE DIMENSIONS OF SIDES ETC. OF THE PLOT STATED ON THE PLAN ARE AS MEASURED ON SITE AND THE AREA SO WORKED OUT IS 1250.00 SQ.MT. AND TALLIES WITH THE AREA STATED IN DOCUMENT OF OWNER SHIP, TOWN PLANNING SCHEME RECORDS.

SIGNATURE OF ARCHITECT

CERTIFICATE OF R.C.C. CONSULTANT

THE R.C.C PLANS PREPARED BY ME ARE IN ACCORDANCE WITH THE NORMS AS SPECIFIED BY INDIAN STANDARD INSTITUTE AND I WILL BE HELD RESPONSIBLE FOR ANY HARM CAUSED BY IN EARTHQUAKE DUE TO NEGLIENCE OF STANDARDS.

SIGNATURE OF R.C.C. DESIGNER

OWNERS DECLARATION

I/WE UNDERSIGNED HEREBY CONFIRM THAT I/WE WOULD ABIDE BY PLANS APPROVED BY AUTHORITY/COLLECTOR. I/WE WOULD EXECUTE THE WORK UNDER SUPERVISION OF PROPER TECHNICAL PERSON SO AS TO ENSURE THE QUALITY AND SAFETY ATH THE WORK SITE.

M/S EVERGREEN DEVELOPERS
P.O.A. HOLDER – SACHIN CHITNIS & OTHERS

OWNER NAME–
UPENDRA D. MOKASHI
& OTHERS

SHEET NO :	SCALE	DESIGN BY :	DRAWN BY :	CHKD BY :
2 OF 2	AS STATED	—	—	—

NAME AND ADDRESS OF ARCHITECT

ARCHITECT: UDAY M. CHOPDA
CA/2017/88339

UC ASSOCIATES
ARCHITECT & INTERIOR DESIGNER

A/202, SARVODAY AANGAN, PANDURANG WADI, NEAR SAI BABA TEMPLE, MANPADA ROAD, DOMBIVLI (EAST) – 421201. EMAIL : ucassociates29@gmail.com MOB : 7666283484

DESCRIPTION OF PROJECT :
PROPOSED RESI BLDG. ON PLOT BEARING, C.T.S.NO. 2319 & 2320, VILLAGE – NAVAGAON DOMBIVLI (W)TALUKA – KALYAN, DIST. – THANE.

SITE ADDRESS :

ARCHITECT: UDAY M. CHOPDA
LOGO | ADDRESS OF ARTITCT | CA/2017/88339
UC ASSOCIATES
ARCHITECT & INTERIOR DESIGNER
OWNERS SIGN – M/S EVERGREEN DEVELOPERS
P.O.A.SACHIN CHITNIS & OTHERS
TECHNICAL PERSION SIGN

SCALE – 1:100	Date 26/01/24
JOB NO –	CHECK BY –

SUBMISSION DRAWING