De-con Consultants
Architects, Regd. Valuers, Interior Designers & Project Consultants.

To,

The Deputy Municipal Commissioner,
Fire Department,
Kalyan Dombivali Municipal Corporation,
Kalyan

Sub. : Issuing of Provisional Fire N.O.C. for the Building on CTS. No. 1556, 1557, 1559B & 1571 at Village – Shahad, Tal. – Kalyan, Dist. – Thane.

For : M/s. Gurudutt Developers through Shri. Nitin Ajit Guwalani

Building	Municipal Area (Sq. Mt.)		Gross Area (Sq. Mt.)		Height (Mtrs.)
	Comm.	Resi.	Comm.	Resi.	
Building No. 1 (Commercial) Gr. + 1st floor (Comm.) + 2nd Podium to 5th Podium + 1st floor to 11th floor (Comm.) + 12th Recreational floor + 13th floor to 16th (pt) floor (comm.)	11483.09	---	21382.91	---	85.90
Building No. 2 (Residential) Gr. + 1st Podium to 5th Podium + 1st to 18th floor (Resi.) + 19th floor Recreational floor	---	7416.26	---	12074.48	83.55

Sir,

Please find enclosed herewith-approved plan for the proposal. Hence, height of buildings exceeds 24.00 Mtrs. your NOC is required.

With reference to previous submitted application wide Letter No. KDMC/2025/E-438 Dated 24/09/2025, Proposal has been revised as per latest UDCPR norms. Hence, the gross area has been changed accordingly as above.

Hence, request you to kindly issue us Provisional Fire NOC for above proposal at earliest and oblige.

Thanking you,

Yours faithfully,
For **De-Con Consultants,**

VARGHESE JOHN Digitally signed by VARGHESE JOHN Date: 2026.02.09 15:43:27 +05'30'

Varghese John
(Architect)

Place : Kalyan
Date : 09-02-2026

S-1, Rajashree Tower, Rambaug Lane No. 6, Kalyan (West) - 421 301.
Ph.: 2320932 / 8657567501 e-mail: deconcon009@gmail.com

BUILDING NO 1 COMMERCIAL															
BUILDING	FLOORS	FSI AREA													
		COMM.	RESI.	IND.	EDU.	INS.	MEZZ.	BALCONY TOILET	TERRACE	LIFT	LIFTWELL	DUCT	VENT SHAFT	OTHER DEDUCTION	TOTAL FSI AREA
BUILDING NO.1 COMMERCIAL	16TH FLOOR PT	330.262	0.000	0.000	0.000	0.000	0.000	0.000	0.000	31.925	34.562	0.000	0.000	2.474	293.256
BUILDING NO.1 COMMERCIAL	12TH RECREATIONAL FLOOR	20.370	0.000	0.000	0.000	0.000	0.000	0.000	0.000	0.000	0.000	0.000	0.000	0.000	20.370
BUILDING NO.1 COMMERCIAL	12TH REFUGE FLOOR	799.035	0.000	0.000	0.000	0.000	0.000	0.000	0.000	31.925	34.560	0.000	0.000	46.861	707.584
BUILDING NO.1 COMMERCIAL	13TH AND 14TH REFUGE FLOOR	2567.105	0.000	0.000	0.000	0.000	0.000	0.000	0.000	95.775	103.740	0.000	0.000	140.873	2122.692
BUILDING NO.1 COMMERCIAL	14TH AND 15TH REFUGE FLOOR	1493.792	0.000	0.000	0.000	0.000	0.000	0.000	0.000	63.850	69.120	0.000	0.000	9.538	1410.134
BUILDING NO.1 COMMERCIAL	2ND TO 5TH AND 15TH TO 9TH AND 17TH FLOOR	5975.168	0.000	0.000	0.000	0.000	0.000	0.000	0.000	255.400	276.480	0.000	0.000	38.152	5660.536
BUILDING NO.1 COMMERCIAL	1ST FLOOR	559.178	0.000	0.000	0.000	0.000	0.000	0.000	0.000	0.000	0.000	0.000	0.000	0.000	559.178
BUILDING NO.1 COMMERCIAL	GROUND FLOOR	740.994	0.000	0.000	0.000	0.000	0.000	0.000	0.000	31.925	34.560	0.000	0.000	1.994	754.345
BUILDING NO.1 COMMERCIAL	TOTAL	12275.834	0.000	0.000	0.000	0.000	0.000	0.000	0.000	510.800	553.022	0.000	0.000	238.722	11483.090

BUILDING NO 2 RESIDENTIAL															
BUILDING	FLOORS	FSI AREA													
		COMM.	RESI.	IND.	EDU.	INS.	MEZZ.	BALCONY TOILET	TERRACE	LIFT	LIFTWELL	DUCT	VENT SHAFT	OTHER DEDUCTION	TOTAL FSI AREA
BUILDING NO.2 RESIDENTIAL	16TH RECREATIONAL FLOOR	0.000	4.293	0.000	0.000	0.000	0.000	0.000	0.000	0.000	0.000	0.000	0.000	0.000	4.293
BUILDING NO.2 RESIDENTIAL	15TH TO 13TH AND 16TH REFUGE FLOOR	0.000	1793.672	0.000	0.000	0.000	0.000	0.000	0.000	50.160	52.000	0.000	0.000	119.004	1612.668
BUILDING NO.2 RESIDENTIAL	2ND TO 5TH FTO TO 10TH 17TH AND 12TH FLOOR	0.000	5934.446	0.000	0.000	0.000	0.000	0.000	0.000	175.560	182.000	0.000	0.000	108.122	5844.924
BUILDING NO.2 RESIDENTIAL	2ND FLOOR FLOOR	0.000	29.258	0.000	0.000	0.000	0.000	0.000	0.000	0.000	0.000	0.000	0.000	0.000	29.258
BUILDING NO.2 RESIDENTIAL	1ST FLOOR FLOOR	0.000	25.917	0.000	0.000	0.000	0.000	0.000	0.000	0.000	0.000	0.000	0.000	0.000	25.917
BUILDING NO.2 RESIDENTIAL	GROUND FLOOR	0.000	113.077	0.000	0.000	0.000	0.000	0.000	0.000	12.540	13.000	0.000	0.000	0.077	99.800
BUILDING NO.2 RESIDENTIAL	TOTAL	0.000	7990.663	0.000	0.000	0.000	0.000	0.000	0.000	238.260	247.000	0.000	0.000	227.403	7416.26

FSI DETAILS

Sl.	Index	Basic FSI (on serial no 3)	Premium FSI (on serial no 5)	TDR/DR (on serial no 5)	Retain Incentive FSI as per 14.2	Incentive Deduct Premium FSI Applicable (on basic FSI)	Ancillary Area(50% of 2.1.3 and 4)	Ancillary Area(50% of 2.1.3 and 4)	Total	Drawing Value
10.1	Permissible Index	1.100	0.500	1.400	50%	0.050	0.000	0.000	3.050	0.000
10.2	Total Permissible FSI as per Reg 7.6.1.6 i.e. 2	1.100	0.500	1.400	0.500	0.000	0.000	0.000	3.050	0.000
10.3	FSI Permissible	1.100	0.500	1.400	0.500	0.000	0.000	0.000	3.050	0.000
10.4	Existing Retaining/Residential/Ancillary FSI	0.000	0.000	0.000	0.000	0.000	0.000	0.000	0.000	-
10.5	Balance Index to be Consumed (10.3-10.4)	1.100	0.500	1.400	0.500	0.000	0.000	0.000	3.050	-
10.6	Total Permissible (F Cole 10.2)	4001.687	1818.949	5093.356	720.000	0.000	2786.582	5103.664	19523.947	0.000
10.7	Proposed F Line Area (should not exceed 10.6)	4001.690	407.950	5232.260	720.000	0.000	2786.590	5103.660	18252.150	18899.350
10.8	Index Consumed	1.100	0.112	1.438	0.500	0.000	0.000	0.000	2.650	0.000

Building Name	Floor Name	Carpet name	Tenament No	Carpet Area	Enclosed Balcony Area	Normal Balcony Area	Mezzanine Area	Total Carpet Area
BUILDING NO.1 COMMERCIAL	16TH AND 15TH REFUGE FLOOR	113/310/312	3	28.463	0.000	0.000	0.000	28.463
BUILDING NO.1 COMMERCIAL	15TH AND 14TH REFUGE FLOOR	113/313/315	3	23.392	0.000	0.000	0.000	23.392
BUILDING NO.1 COMMERCIAL	15T 5TH AND 9TH REFUGE FLOOR	114/314/314	3	28.462	0.000	0.000	0.000	28.462
BUILDING NO.1 COMMERCIAL	15T 5TH AND 9TH REFUGE FLOOR	115/315/315	3	23.392	0.000	0.000	0.000	23.392
BUILDING NO.1 COMMERCIAL	12TH REFUGE FLOOR	116/316/316	3	28.462	0.000	0.000	0.000	28.462
BUILDING NO.1 COMMERCIAL	12TH REFUGE FLOOR	1301	1	28.462	0.000	0.000	0.000	28.462
BUILDING NO.1 COMMERCIAL	12TH REFUGE FLOOR	1302	1	23.392	0.000	0.000	0.000	23.392
BUILDING NO.1 COMMERCIAL	12TH REFUGE FLOOR	1303	1	28.462	0.000	0.000	0.000	28.462
BUILDING NO.1 COMMERCIAL	12TH REFUGE FLOOR	1304	1	23.392	0.000	0.000	0.000	23.392
BUILDING NO.1 COMMERCIAL	12TH REFUGE FLOOR	1305	1	28.463	0.000	0.000	0.000	28.463
BUILDING NO.1 COMMERCIAL	12TH REFUGE FLOOR	1306	1	23.393	0.000	0.000	0.000	23.393
BUILDING NO.1 COMMERCIAL	12TH REFUGE FLOOR	1307	1	28.463	0.000	0.000	0.000	28.463
BUILDING NO.1 COMMERCIAL	12TH REFUGE FLOOR	1308	1	46.468	0.000	0.000	0.000	46.468
BUILDING NO.1 COMMERCIAL	12TH REFUGE FLOOR	1309	1	45.286	0.000	0.000	0.000	45.286
BUILDING NO.1 COMMERCIAL	12TH REFUGE FLOOR	1310	1	28.463	0.000	0.000	0.000	28.463
BUILDING NO.1 COMMERCIAL	12TH REFUGE FLOOR	1311	1	23.393	0.000	0.000	0.000	23.393
BUILDING NO.1 COMMERCIAL	12TH REFUGE FLOOR	1312	1	28.463	0.000	0.000	0.000	28.463
BUILDING NO.1 COMMERCIAL	12TH REFUGE FLOOR	1313	1	23.392	0.000	0.000	0.000	23.392
BUILDING NO.1 COMMERCIAL	12TH REFUGE FLOOR	1314	1	28.462	0.000	0.000	0.000	28.462
BUILDING NO.1 COMMERCIAL	12TH REFUGE FLOOR	1315	1	23.392	0.000	0.000	0.000	23.392
BUILDING NO.1 COMMERCIAL	12TH REFUGE FLOOR	1316	1	28.462	0.000	0.000	0.000	28.462
BUILDING NO.1 COMMERCIAL	16TH FLOOR PT	1601	1	135.100	0.000	0.000	0.000	135.100

Description of area utilisation		Area calculation of Area to be used for calculation				
BUILDING	Reservation type	Reservation area Name	Quantum of OPEN SPACE required	Total Quantum of OPEN SPACE generated	Area considered for FSI utilisation	Remaining area for DRC generation
-	-	6.00M wide TDP Road Widening	11.790	23.460	23.460	0.000
-	-	6.00M wide TDP Road Widening	46.208	92.516	92.516	0.000
-	-	Total	58.003	116.006	116.006	58.006

BUILDING	PROPOSED BUILDING	TOTAL BUILT-UP AREA OF FLOOR AS PER OUTER CONSTRUCTION LINE
BLDG. NO. 1 (COMMERCIAL)	PROPOSED BLDG. GR.+1ST FLOOR (COMMERCIAL) +2ND PODIUM TO 5TH PODIUM + 1ST FLOOR TO 11TH FLOOR (COMMERCIAL) + 12TH RECREATIONAL FLOOR + 13TH FLOOR TO 16TH (PT) FLOOR (COMMERCIAL)	11483.09
BLDG. NO. 2 (RESIDENTIAL)	PROPOSED BLDG. GR.+ 1ST PODIUM TO 5TH PODIUM +1ST TO 16TH FLOOR (RESIDENTIAL) +19TH FLOOR RECREATIONAL FLOOR	7416.26
	TOTAL	18899.35



2ND PODIUM FLOOR PLAN
(SCALE-1:100)

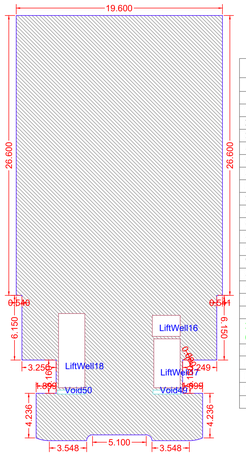

BUILT-UP AREA CALCULATION GROUND FLOOR BUILDING NO 1 COMMERCIAL

BLDG. NO.-1 (COMMERCIAL)	
FLOOR	AREA SQ.MT.
GROUND FLOOR	704.340
1ST FLOOR (COMM.)	559.178
2ND PODIUM	--
3RD PODIUM	--
4TH PODIUM	--
5TH PODIUM	--
1ST FLOOR (REFUGE)	707.564
2ND FLOOR	707.567
3RD FLOOR	707.567
4TH FLOOR	707.567
5TH FLOOR (REFUGE)	707.564
6TH FLOOR	707.567
7TH FLOOR	707.567
8TH FLOOR	707.567
9TH FLOOR (REFUGE)	707.564
10TH FLOOR	707.567
11TH FLOOR	707.567
12TH FLOOR (RECREATIONAL)	20.370
12TH FLOOR (REFUGE)	707.564
14TH FLOOR	707.567
15TH FLOOR	707.567
16TH FLOOR (PT.)	293.256
TOTAL AREA	11483.09

BLDG. NO.-2 (RESIDENTIAL)	
FLOOR	AREA SQ.MT.
GROUND FLOOR	99.800
1ST PODIUM (PT.)	25.917
2ND PODIUM	29.258
3RD PODIUM	--
4TH PODIUM	--
5TH PODIUM	--
1ST FLOOR (REFUGE)	403.167
2ND FLOOR	403.166
3RD FLOOR	403.166
4TH FLOOR	403.166
5TH FLOOR	403.166
6TH FLOOR (REFUGE)	403.167
7TH FLOOR	403.166
8TH FLOOR	403.166
9TH FLOOR	403.166
10TH FLOOR	403.166
11TH FLOOR (REFUGE)	403.167
12TH FLOOR	403.166
13TH FLOOR	403.166
14TH FLOOR	403.166
15TH FLOOR	403.166
16TH FLOOR (REFUGE)	403.167
17TH FLOOR	403.166
18TH FLOOR	403.166
19TH FLOOR (RECREATIONAL)	4.293
TOTAL AREA	7416.26

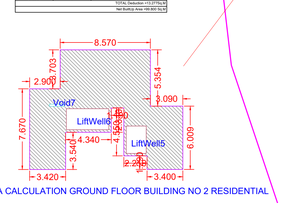

BUILT-UP AREA CALCULATION GROUND FLOOR BUILDING NO 2 RESIDENTIAL

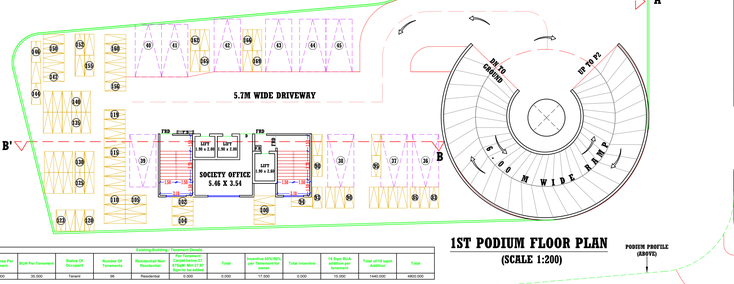

1ST PODIUM FLOOR PLAN
(SCALE 1:100)

Existing Building		Common Details							
Sl. No.	Building/Tenament No.	Carpet Area Per Tenament	Work Per Tenament	Status Of Occupant	Number Of Tenements	For Residential Not Residential Carpet Area 21 Sq.Mt. Or Above Sq.Mt.	Total	Incentive 50%(RS) Per Tenament	Total Incentive	15 Sqm Work Area Equivalent Incentive	Total of 15 sqmt Incentive	Total
1	1	32.000	35.000	Tenant	95	Residential	0.000	0.000	17.500	0.000	15.000	1440.000	4800.000

BUILT-UP AREA CALCULATION FOR GROUND FLOOR BUILDING NO 1 COMMERCIAL			
AREA NAME	LENGTH	WIDTH	Area(sq.M)
BLOCK	40.400	19.500	787.800
			BLOCK AREA TOTAL =787.800Sq.M
void50	-	-	0.987
void51	-	-	0.987
LiftWell18	-	-	7.749
LiftWell16	-	-	7.749
			TOTAL Deduction =18.472Sq.M
			Net BuiltUp Area =769.328 Sq.M

LEGENDS:
PLOT BOUNDRY SHOWN WHITE
PROPOSED WORK SHOWN RED
DRAINAGE LINE SHOWN YELLOW LIGHT
ROOF TOP WORK SHOWN GREEN
ENCLOSED BAL SHOWN BROWN
TERRACE SHOWN DARK YELLOW
OPEN SPACE SHOWN BLUE
EXISTING SHOWN BLUE HATCHED

Parking Check As Per Multiplying Factor 0.85						
	Required		Proposed			
Building Name	Car	Scooter	Handicapped Vehicle(Included in Car)	Car	Scooter	Handicapped Vehicle(Included in Car)	Status
Total	141	402	0	209	603	0	OK



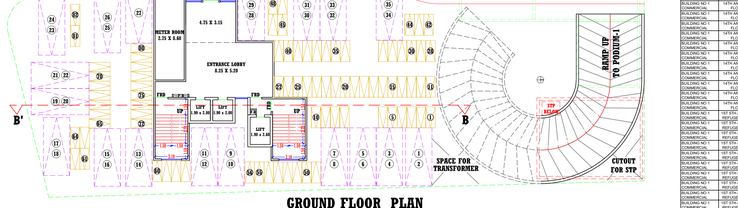

GROUND FLOOR PLAN
(SCALE- 1:200)

BUILT-UP AREA CALCULATION FOR GROUND FLOOR BUILDING NO 2 RESIDENTIAL			
AREA NAME	LENGTH	WIDTH	Area(sq.M)
BLOCK	40.400	19.500	787.800
			BLOCK AREA TOTAL =787.800Sq.M
void7	-	-	0.277
LiftWell6	-	-	6.060
LiftWell5	-	-	4.840
			TOTAL Deduction =11.277Sq.M
			Net BuiltUp Area =776.523 Sq.M

Carpet Area Table								
Building Name	Floor Name	Carpet name	Tenament No	Carpet Area	Enclosed Balcony Area	Normal Balcony Area	Mezzanine Area	Total Carpet Area
BUILDING NO.2 COMMERCIAL	GROUND FLOOR	01	1	188.508	0.000	0.000	0.000	188.508
BUILDING NO.2 COMMERCIAL	GROUND FLOOR	02	1	186.522	0.000	0.000	0.000	186.522
BUILDING NO.2 COMMERCIAL	GROUND FLOOR	03	1	188.508	0.000	0.000	0.000	188.508
BUILDING NO.2 COMMERCIAL	1ST FOOMUP FLOOR	01-A	1	179.701	0.000	0.000	0.000	179.701
BUILDING NO.2 COMMERCIAL	1ST FOOMUP FLOOR	02-A	1	176.164	0.000	0.000	0.000	176.164
BUILDING NO.2 COMMERCIAL	1ST FOOMUP FLOOR	03-A	1	179.700	0.000	0.000	0.000	179.700
BUILDING NO.1 COMMERCIAL	2ND TO 5TH FTO TO 10TH 17TH AND 12TH FLOOR	201/301/401/501/701/801/901/1001/1101	8	28.462	0.000	0.000	0.000	28.462
BUILDING NO.1 COMMERCIAL	2ND TO 5TH FTO TO 10TH 17TH AND 12TH FLOOR	202/302/402/502/702/802/902/1002/1102	8	23.392	0.000	0.000	0.000	23.392
BUILDING NO.1 COMMERCIAL	2ND TO 5TH FTO TO 10TH 17TH AND 12TH FLOOR	203/303/403/503/703/803/903/1003/1103	8	28.462	0.000	0.000	0.000	28.462
BUILDING NO.1 COMMERCIAL	2ND TO 5TH FTO TO 10TH 17TH AND 12TH FLOOR	204/304/404/504/704/804/904/1004/1104	8	23.392	0.000	0.000	0.000	23.392
BUILDING NO.1 COMMERCIAL	2ND TO 5TH FTO TO 10TH 17TH AND 12TH FLOOR	205/305/405/505/705/805/905/1005/1105	8	28.463	0.000	0.000	0.000	28.463
BUILDING NO.1 COMMERCIAL	2ND TO 5TH FTO TO 10TH 17TH AND 12TH FLOOR	206/306/406/506/706/806/906/1006/1106	8	23.393	0.000	0.000	0.000	23.393
BUILDING NO.1 COMMERCIAL	2ND TO 5TH FTO TO 10TH 17TH AND 12TH FLOOR	207/307/407/507/707/807/907/1007/1107	8	28.463	0.000	0.000	0.000	28.463
BUILDING NO.1 COMMERCIAL	2ND TO 5TH FTO TO 10TH 17TH AND 12TH FLOOR	208/308/408/508/708/808/908/1008/1108	8	46.468	0.000	0.000	0.000	46.468
BUILDING NO.1 COMMERCIAL	2ND TO 5TH FTO TO 10TH 17TH AND 12TH FLOOR	209/309/409/509/709/809/909/1009/1109	8	45.286	0.000	0.000	0.000	45.286
BUILDING NO.1 COMMERCIAL	2ND TO 5TH FTO TO 10TH 17TH AND 12TH FLOOR	210/310/410/510/710/810/910/1010/1110	8	28.463	0.000	0.000	0.000	28.463
BUILDING NO.1 COMMERCIAL	2ND TO 5TH FTO TO 10TH 17TH AND 12TH FLOOR	211/311/411/511/711/811/911/1011/1111	8	23.393	0.000	0.000	0.000	23.393
BUILDING NO.1 COMMERCIAL	2ND TO 5TH FTO TO 10TH 17TH AND 12TH FLOOR	212/312/412/512/712/812/912/1012/1112	8	28.463	0.000	0.000	0.000	28.463
BUILDING NO.1 COMMERCIAL	2ND TO 5TH FTO TO 10TH 17TH AND 12TH FLOOR	213/313/413/513/713/813/913/1013/1113	8	23.392	0.000	0.000	0.000	23.392
BUILDING NO.1 COMMERCIAL	2ND TO 5TH FTO TO 10TH 17TH AND 12TH FLOOR	214/314/414/514/714/814/914/1014/1114	8	28.462	0.000	0.000	0.000	28.462
BUILDING NO.1 COMMERCIAL	2ND TO 5TH FTO TO 10TH 17TH AND 12TH FLOOR	215/315/415/515/715/815/915/1015/1115	8	23.392	0.000	0.000	0.000	23.392
BUILDING NO.1 COMMERCIAL	2ND TO 5TH FTO TO 10TH 17TH AND 12TH FLOOR	216/316/416/516/716/816/916/1016/1116	8	28.462	0.000	0.000	0.000	28.462
BUILDING NO.1 COMMERCIAL	16TH AND 15TH REFUGE FLOOR	1401/1501	2	28.462	0.000	0.000	0.000	28.462
BUILDING NO.1 COMMERCIAL	16TH AND 15TH REFUGE FLOOR	1402/1502	2	23.392	0.000	0.000	0.000	23.392
BUILDING NO.1 COMMERCIAL	16TH AND 15TH REFUGE FLOOR	1403/1503	2	28.462	0.000	0.000	0.000	28.462
BUILDING NO.1 COMMERCIAL	16TH AND 15TH REFUGE FLOOR	1404/1504	2	23.392	0.000	0.000	0.000	23.392
BUILDING NO.1 COMMERCIAL	16TH AND 15TH REFUGE FLOOR	1405/1505	2	28.463	0.000	0.000	0.000	28.463
BUILDING NO.1 COMMERCIAL	16TH AND 15TH REFUGE FLOOR	1406/1506	2	23.393	0.000	0.000	0.000	23.393
BUILDING NO.1 COMMERCIAL	16TH AND 15TH REFUGE FLOOR	1407/1507	2	28.463	0.000	0.000	0.000	28.463
BUILDING NO.1 COMMERCIAL	16TH AND 15TH REFUGE FLOOR	1408/1508	2	46.468	0.000	0.000	0.000	46.468
BUILDING NO.1 COMMERCIAL	16TH AND 15TH REFUGE FLOOR	1409/1509	2	45.286	0.000	0.000	0.000	45.286
BUILDING NO.1 COMMERCIAL	16TH AND 15TH REFUGE FLOOR	1410/1510	2	28.463	0.000	0.000	0.000	28.463
BUILDING NO.1 COMMERCIAL	16TH AND 15TH REFUGE FLOOR	1411/1511	2	23.393	0.000	0.000	0.000	23.393
BUILDING NO.1 COMMERCIAL	16TH AND 15TH REFUGE FLOOR	1412/1512	2	28.463	0.000	0.000	0.000	28.463
BUILDING NO.1 COMMERCIAL	16TH AND 15TH REFUGE FLOOR	1413/1513	2	23.392	0.000	0.000	0.000	23.392
BUILDING NO.1 COMMERCIAL	16TH AND 15TH REFUGE FLOOR	1414/1514	2	28.462	0.000	0.000	0.000	28.462
BUILDING NO.1 COMMERCIAL	16TH AND 15TH REFUGE FLOOR	1415/1515	2	23.392	0.000	0.000	0.000	23.392
BUILDING NO.1 COMMERCIAL	16TH AND 15TH REFUGE FLOOR	1416/1516	2	28.462	0.000	0.000	0.000	28.462
BUILDING NO.1 COMMERCIAL	1ST 5TH AND 9TH REFUGE FLOOR	101/501/901	3	28.462	0.000	0.000	0.000	28.462
BUILDING NO.1 COMMERCIAL	1ST 5TH AND 9TH REFUGE FLOOR	102/502/902	3	23.392	0.000	0.000	0.000	23.392
BUILDING NO.1 COMMERCIAL	1ST 5TH AND 9TH REFUGE FLOOR	103/503/903	3	28.462	0.000	0.000	0.000	28.462
BUILDING NO.1 COMMERCIAL	1ST 5TH AND 9TH REFUGE FLOOR	104/504/904	3	23.392	0.000	0.000	0.000	23.392
BUILDING NO.1 COMMERCIAL	1ST 5TH AND 9TH REFUGE FLOOR	105/505/905	3	28.463	0.000	0.000	0.000	28.463
BUILDING NO.1 COMMERCIAL	1ST 5TH AND 9TH REFUGE FLOOR	106/506/906	3	23.393	0.000	0.000	0.000	23.393
BUILDING NO.1 COMMERCIAL	1ST 5TH AND 9TH REFUGE FLOOR	107/507/907	3	28.463	0.000	0.000	0.000	28.463
BUILDING NO.1 COMMERCIAL	1ST 5TH AND 9TH REFUGE FLOOR	108/508/908	3	46.468	0.000	0.000	0.000	46.468
BUILDING NO.1 COMMERCIAL	1ST 5TH AND 9TH REFUGE FLOOR	109/509/909	3	45.286	0.000	0.000	0.000	45.286
BUILDING NO.1 COMMERCIAL	1ST 5TH AND 9TH REFUGE FLOOR	110/510/910	3	28.463	0.000	0.000	0.000	28.463
BUILDING NO.1 COMMERCIAL	1ST 5TH AND 9TH REFUGE FLOOR	111/511/911	3	23.393	0.000	0.000	0.000	23.393

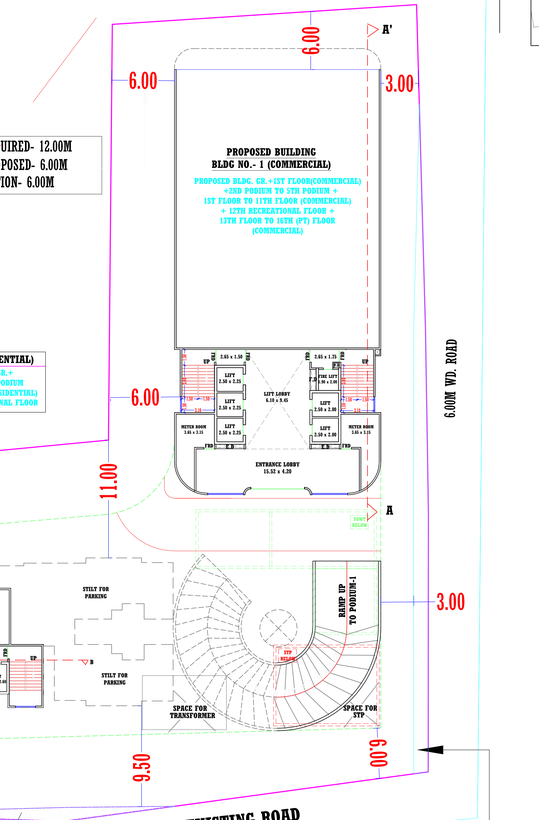

BLOCK PLAN
(SCALE- 1:200)

Parking Check (Table 30)								
			FAR/TQ		Required			
Building Name	USE	TENAMENT AREA	CAR	SCOOTER	MO.OF Tenants/Area/Units	CAR	SCOOTER	Transport Vehicle(Included in Car Box)
BUILDING NO.1 COMMERCIAL	Commercial	For every 200 sq.m carpet area or part thereof	3	11	8487.064	87.306	358.788	-
BUILDING NO.1 COMMERCIAL	Commercial	For every 200 sq.m carpet area or part thereof	2	8	1126.486	22.530	87.589	-
BUILDING NO.2 RESIDENTIAL	Residential	For every two tenaments with each tenament having carpet area equal to or above 40 sq.m. Upto 100 sq.m.	1	2	72	36.000	72.000	-
BUILDING NO.2 RESIDENTIAL	Residential	For every two tenaments with each tenament having carpet area less than 40 sq.m. Upto more than 30 sq.m	1	2	36	18.000	36.000	-
Total	-	-	-	-	-	173.836	532.376	-
Visitors parking(5%)	-	-	-	-	-	2.792	3.400	-
Total	-	-	-	-	-	176.628	537.776	0.000

Carpet Area Table								
Building Name	Floor Name	Carpet name	Tenament No	Carpet Area	Enclosed Balcony Area	Normal Balcony Area	Mezzanine Area	Total Carpet Area
BUILDING NO.2 COMMERCIAL	GROUND FLOOR	01	1	188.508	0.000	0.000	0.000	188.508
BUILDING NO.2 COMMERCIAL	GROUND FLOOR	02	1	186.522	0.000	0.000	0.000	186.522
BUILDING NO.2 COMMERCIAL	GROUND FLOOR	03	1	188.508	0.000	0.000	0.000	188.508
BUILDING NO.2 COMMERCIAL	1ST FOOMUP FLOOR	01-A	1	179.701	0.000	0.000	0.000	179.701
BUILDING NO.2 COMMERCIAL	1ST FOOMUP FLOOR	02-A	1	176.164	0.000	0.000	0.000	176.164
BUILDING NO.2 COMMERCIAL	1ST FOOMUP FLOOR	03-A	1	179.700	0.000	0.000	0.000	179.700
BUILDING NO.1 COMMERCIAL	2ND TO 5TH FTO TO 10TH 17TH AND 12TH FLOOR	201/301/401/501/701/801/901/1001/1101	8	28.462	0.000	0.000	0.000	28.462
BUILDING NO.1 COMMERCIAL	2ND TO 5TH FTO TO 10TH 17TH AND 12TH FLOOR	202/302/402/502/702/802/902/1002/1102	8	23.392	0.000	0.000	0.000	23.392
BUILDING NO.1 COMMERCIAL	2ND TO 5TH FTO TO 10TH 17TH AND 12TH FLOOR	203/303/403/503/703/803/903/1003/1103	8	28.462	0.000	0.000	0.000	28.462
BUILDING NO.1 COMMERCIAL	2ND TO 5TH FTO TO 10TH 17TH AND 12TH FLOOR	204/304/404/504/704/804/904/1004/1104	8	23.392	0.000	0.000	0.000	23.392
BUIL

BUILT-UP AREA CALCULATION 1ST PODIUM FLOOR BUILDING NO 1 COMMERCIAL

BUILT-UP AREA CALCULATION
FOR 1ST PODIUM FLOOR BUILDING NO 1 COMMERCIAL

AREA NAME	LENGTH	WIDTH	Area(Sq.M)
BLOCK	28.800	19.600	564.528
BLOCK AREA TOTAL =564.528SQ.M			
TOTAL Deduction =0.000SQ.M			
Net Builtup Area =564.528 Sq.M			

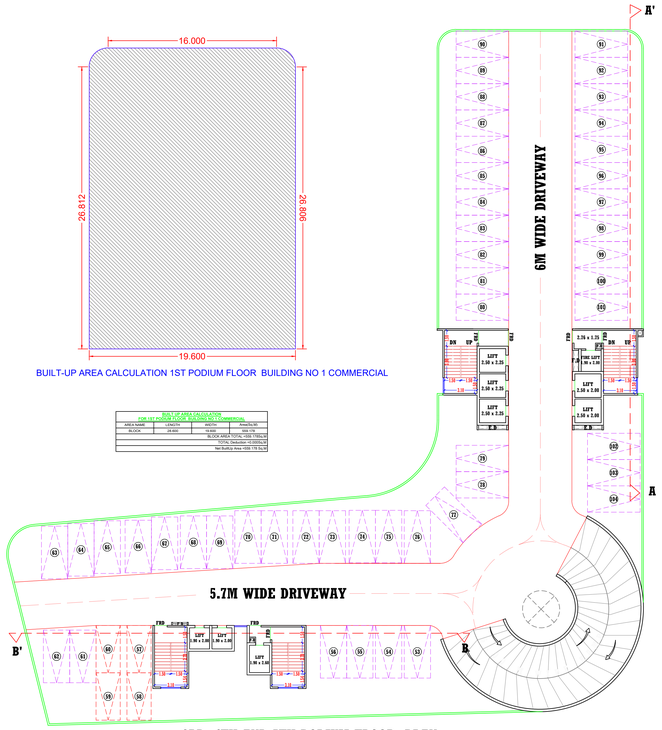

3RD, 4TH AND 5TH PODIUM FLOOR PLAN
(SCALE-1:200)

BUILT-UP AREA CALCULATION 2ND PODIUM FLOOR BUILDING NO 2 RESIDENTIAL

BUILT-UP AREA CALCULATION
FOR 2ND PODIUM FLOOR BUILDING NO 2 RESIDENTIAL

AREA NAME	LENGTH	WIDTH	Area(Sq.M)
BLOCK	8.050	6.000	48.299
BLOCK AREA TOTAL =48.299SQ.M			
TOTAL Deduction =0.000SQ.M			
Net Builtup Area =48.299 Sq.M			

BUILT-UP AREA CALCULATION 1ST PODIUM FLOOR BUILDING NO 2 RESIDENTIAL

BUILT-UP AREA CALCULATION
FOR 1ST PODIUM FLOOR BUILDING NO 2 RESIDENTIAL

AREA NAME	LENGTH	WIDTH	Area(Sq.M)
BLOCK	8.050	5.900	25.017
BLOCK AREA TOTAL =25.017SQ.M			
TOTAL Deduction =0.000SQ.M			
Net Builtup Area =25.017 Sq.M			

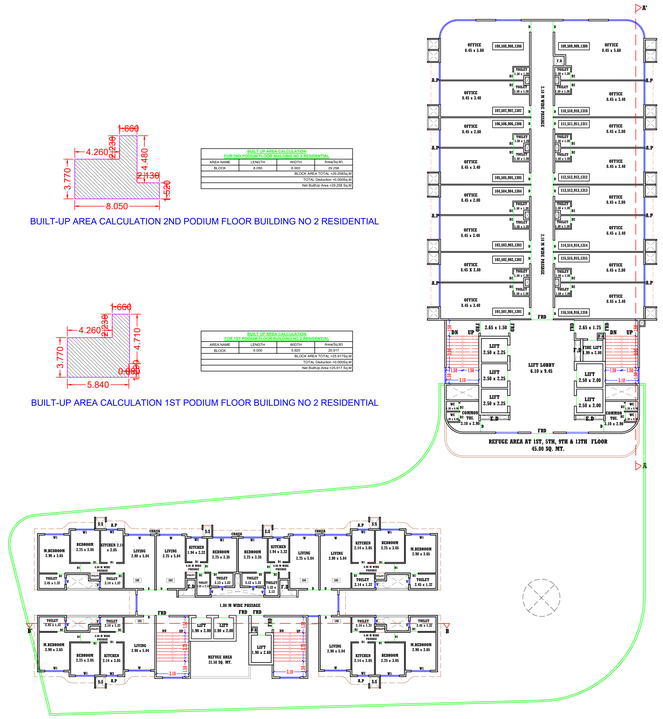

1ST FLOOR PLAN
(SCALE-1:200)

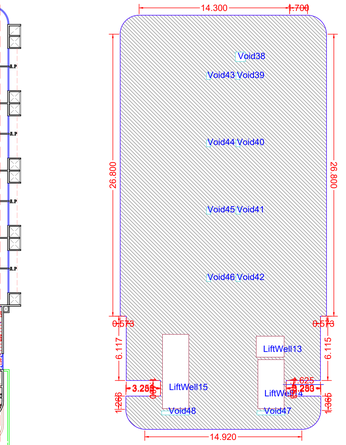

BUILT-UP AREA CALCULATION 2ND TO 4TH 6TH TO 8TH 10TH AND 11TH FLOOR BUILDING NO 1 COMMERCIAL

BUILT-UP AREA CALCULATION
FOR 2ND TO 4TH & 6TH TO 8TH & 10TH & 11TH FLOOR BUILDING NO 1 COMMERCIAL

AREA NAME	LENGTH	WIDTH	Area(Sq.M)
BLOCK	26.800	19.600	525.280
BLOCK AREA TOTAL =525.280SQ.M			
Void38	-	-	0.867
Void39	-	-	0.867
Void40	-	-	0.867
Void41	-	-	0.867
Void42	-	-	0.867
Void43	-	-	0.240
Void44	-	-	0.240
Void45	-	-	0.240
Void46	-	-	0.240
Void47	-	-	0.240
Void48	-	-	0.240
Void49	-	-	0.240
Void50	-	-	0.240
Void51	-	-	0.240
Void52	-	-	0.240
Void53	-	-	0.240
Void54	-	-	0.240
Void55	-	-	0.240
Void56	-	-	0.240
Void57	-	-	0.240
Void58	-	-	0.240
Void59	-	-	0.240
Void60	-	-	0.240
Void61	-	-	0.240
Void62	-	-	0.240
Void63	-	-	0.240
Void64	-	-	0.240
Void65	-	-	0.240
Void66	-	-	0.240
Void67	-	-	0.240
Void68	-	-	0.240
Void69	-	-	0.240
Void70	-	-	0.240
Void71	-	-	0.240
Void72	-	-	0.240
LiftWell73	-	-	17.520
LiftWell74	-	-	17.520
LiftWell75	-	-	0.010
LiftWell76	-	-	0.010
TOTAL Deduction =39.325SQ.M			
Net Builtup Area =1757.487 Sq.M			

BUILT-UP AREA CALCULATION
FOR 16TH FLOOR PT BUILDING NO 1 COMMERCIAL

AREA NAME	LENGTH	WIDTH	Area(Sq.M)
BLOCK	19.598	19.012	372.591
BLOCK AREA TOTAL =372.591SQ.M			
Void1	-	-	0.867
Void2	-	-	0.867
Void3	-	-	0.240
Void4	-	-	0.240
LiftWell1	-	-	11.625
LiftWell2	-	-	5.310
LiftWell3	-	-	17.627
TOTAL Deduction =36.776SQ.M			
Net Builtup Area =335.238 Sq.M			

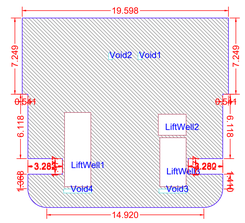

BUILT-UP AREA CALCULATION 16TH FLOOR PT BUILDING NO 1 COMMERCIAL

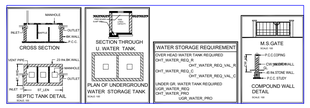

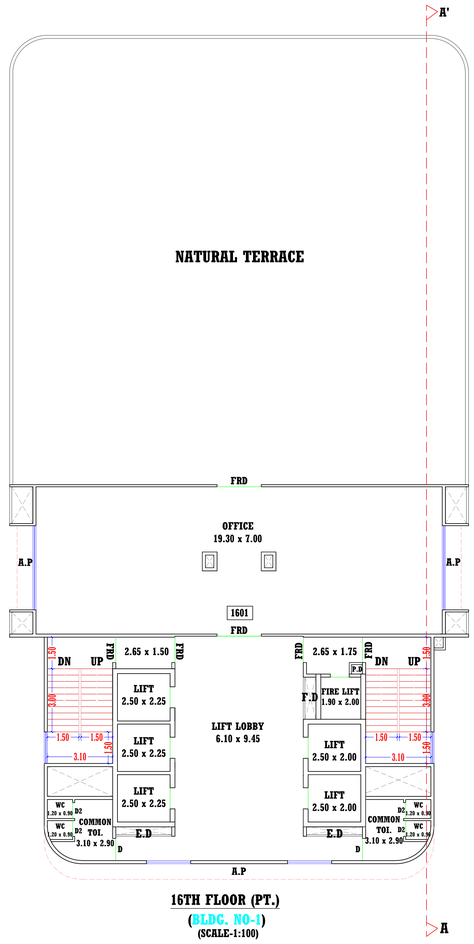

16TH FLOOR (PT.)
(BLDG. NO-1)
(SCALE-1:100)

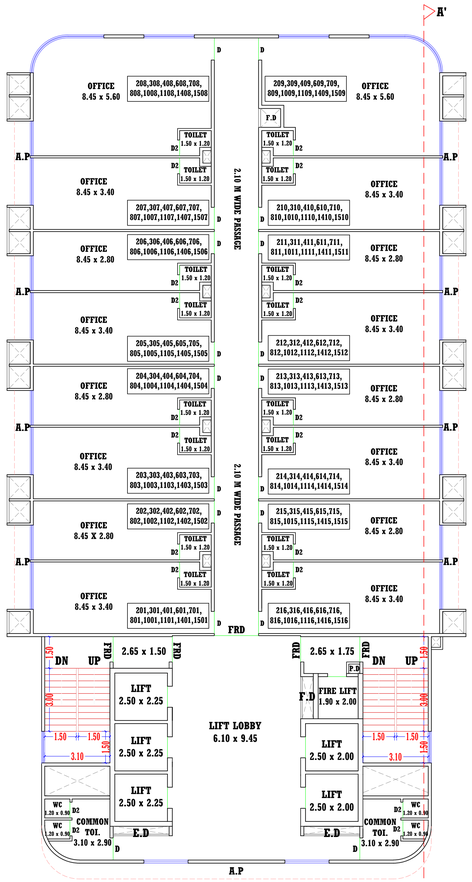

2ND TO 4TH, 6TH TO 8TH, 10TH & 11TH,
14TH & 15TH FLOOR PLAN
(BLDG. NO-1)
(SCALE-1:100)

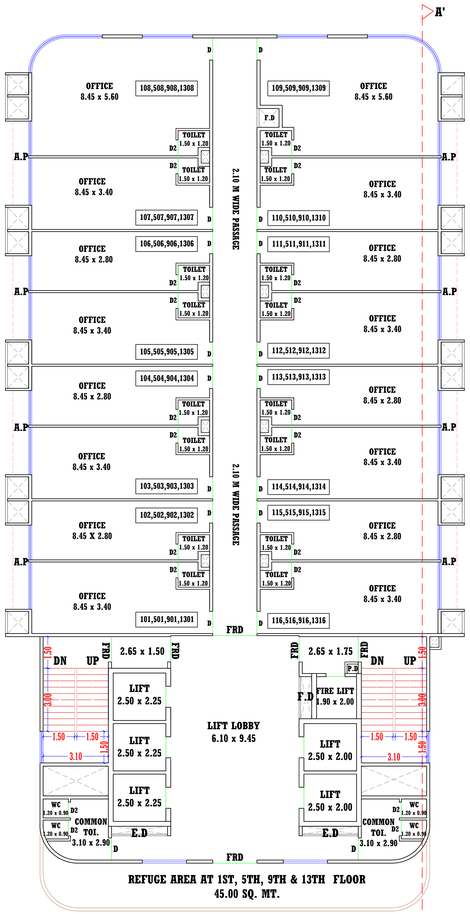

1ST, 5TH, 9TH & 13TH REFUGE FLOOR PLAN
(BLDG. NO-1)
(SCALE-1:100)

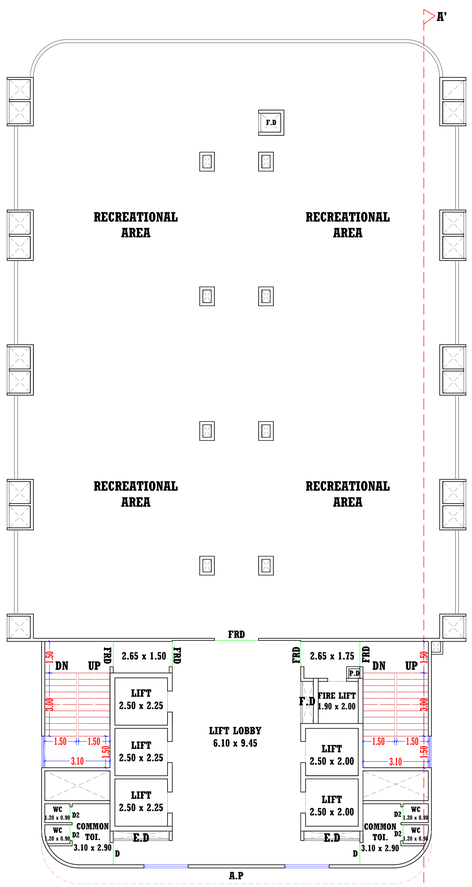

12TH FLOOR RECREATIONAL AREA
(BLDG. NO-1)
(SCALE-1:100)

DESCRIPTION OF PROPOSAL & PROPERTY

PROPOSED BUILDING ON PLOT BEARING C.T.S. NO.1556, 1557,1559 B & 1571 AT VILLAGE- SHAHAD, TAL- KALYAN, DIST. THANE

NAME & SIGNATURE OF OWNER	SIGNATURE OF ARCHITECT
M/S. GURUDUTT DEVELOPERS THROUGH IT'S PARTNER NITIN AJIT GUWALANI	a17799e3-cd1c-45bb-bb75-23fcf2ffde34 Digitally signed by a17799e3-cd1c-45bb-bb75-23fcf2ffde34 Date: 2026.02.10 17:23:10 +05'30' (VARGHESE JOHN) (CA/92/15118)
SIGNATURE	

DRG.NO.	JOB.NO.	SCALE	DATE	DRAWN BY.
01	V - 52	AS SHOWN	28-01-2026	RAHUL
NORTH	ARCHITECTS & CONSULTANTS			

De-con Consultants
ARCHITECTS, INTERIOR DESIGNERS,
REGD. VALUERS & PROJECT CONSULTANTS
S-1, RAJASHREE TOWER, RAMBAUG, LANE No. 6,
KALYAN(WEST)-421 304. PHONE NO:- 2320932

Proforma I : Area Statement

1. Area of plot(Minimum area of a, b, c to be considered) or area of subplot with sanctioned layout No. and subplot No.	3695.900
(a) As per ownership document (7/12, CTS extract)	3695.900
(b) as per TILR or City Survey measurement sheet	3695.900
(c) as per Demarcated drawing area	3763.836
LESS	
2.Area not in possession	0.000
3. Area Proposed for development (out of 1-2)	3695.900
4.Deductions for(out of 3)	
(a) Proposed D.P./ D.P. Road widening Area/Proposed DP road, Road under MMC act	58.003
(b) Any D.P. Reservation area	0.000
(c) Green Belt	0.000
(Total a+b+c)	58.003
5. Balance area of plot (3-4)	3637.897
6. Amenity Space Proposed	0.000
(Required -(a) Upto 20,000 sqmt - Nil	-
(b) Above 20,000 and more - (a) + 5% of Total area	0.000
7. Net Plot Area (5-6)	3637.897
8.Recreational Open Space (Not applicable if plots are from sanctioned layout)	-
(a). If area is more than (5) 4000 sqmt - 10 % of (5) is required.	0.000
Proposed	0.000
(A)10 % Subject to minimum 200 sqmt(Not applicable if plots are from sanctioned layout or each plot admeuring less than 4000sq.m regularised under gunthewari act)	0.000
Proposed	0.000
(B)Exemption to leave open space subject to availing basic F.S.I. of 75 %	-
(C)Exemption to leave open space subject to payment of 10 % land value of land at (7) as per annual statement of rate.	-
If (5) > 4000sq.m then Land admeuring 20% of (5) is to be utilised for inclusive housing	0.000
Proposed Area	0.000

Architect/ Licensed Engineer/ Supervisor name and signature

Registration No. of Architect/ License no. of Licensed Engineer/ Supervisor: CA/1992/15118

Certificate of Area:
Certified that the plot under reference was surveyed by me on_____ and the dimensions of sides etc. of plot stated on plan are as measured on site and the area so worked out tallies with the area stated in document of Ownership/ T.P. Scheme Records/Land Records Department/City Survey records.

Signature
(Name of Architect/ Licensed Engineer/ Supervisor.)

Owner's Declaration -
I/We undersigned hereby confirm that I/We would abide by plans approved by Authority / Collector. I/We would execute the structure as per approved plans. Also I/We would execute the work under supervision of proper technical person so as to ensure the quality and safety at the work site.

Owner (s) name and signature

Name Of : Owner GURUDUTT DEVELOPERS

Postal Address : FLAT NO- 1501/1502 MAATR WATERS S NO. 24/1 AND 12/4,KALYAN WEST,Kalyan,Thane,Maharashtra-421301

Phone No. 9890476776

DESCRIPTION OF PROJECT :

Type of Proposal : Mixed
BUILDING ON CTS. NO./SURVEY NO.-1/1

SITE ADDRESS :
1556, 1557, 1559B, 1571 AT VILLAGE-SHAHAD,TAL. KALYAN, DIST. THANE

Name Of Architect : VARGHESE JOHN

LOGO

ADDRESS OF OFFICE
OFFICE -
De-con consultants,S-1,Rajasree Tower,Rambaug,Lane No - 6,Kalyan (w)

OWNERS SIGN -

TECHNICAL PERSON SIGN

SCALE -

DATE: Date: 10/02/26

JOB NO - KDMCC-26-14385

CHECK BY - zoom

SUBMISSION DRAWING

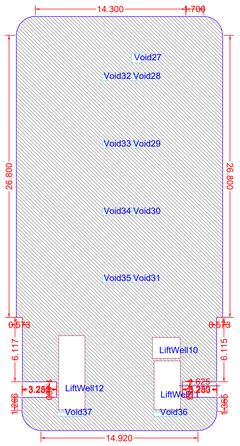

BUILT-UP AREA CALCULATION 14TH AND 15TH FLOOR BUILDING NO 1 COMMERCIAL

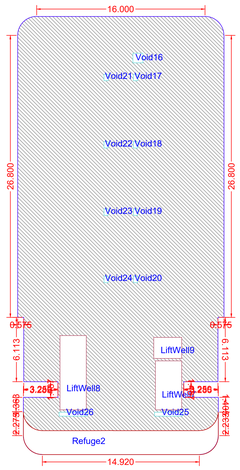

BUILT-UP AREA CALCULATION 1ST 5TH AND 9TH REFUGE FLOOR BUILDING NO 1 COMMERCIAL

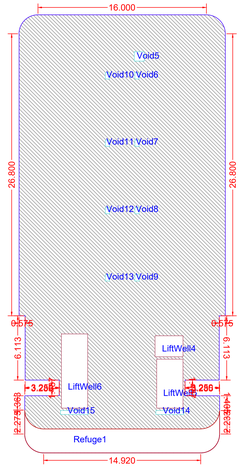

BUILT-UP AREA CALCULATION 13TH REFUGE FLOOR BUILDING NO 1 COMMERCIAL

BUILT UP AREA CALCULATION FOR 14TH AND 15TH FLOOR BUILDING NO 1 COMMERCIAL			
AREA NAME	LENGTH	WIDTH	Area(Sq.M)
BLOCK	26.963	10.920	294.396
BLOCK AREA TOTAL =294.396Sq.M			
Void27	-	-	0.987
Void28	-	-	0.987
Void32	-	-	0.240
Void33	-	-	0.240
Void29	-	-	0.240
Void34	-	-	0.240
Void30	-	-	0.240
Void35	-	-	0.240
Void31	-	-	0.240
Void37	-	-	0.825
Void36	-	-	0.825
LiftWell12	-	-	17.625
LiftWell10	-	-	17.625
LiftWell11	-	-	11.625
LiftWell10	-	-	11.625
TOTAL Deduction =58.305Sq.M			
Net BuiltUp Area =237.091 Sq.M			

BUILT UP AREA CALCULATION FOR 1ST 5TH AND 9TH REFUGE FLOOR BUILDING NO 1 COMMERCIAL			
AREA NAME	LENGTH	WIDTH	Area(Sq.M)
BLOCK	41.538	10.920	453.593
BLOCK AREA TOTAL =1361.555Sq.M			
Refuge2	-	-	42.122
Void16	-	-	0.987
Void21	-	-	0.987
Void17	-	-	0.987
Void22	-	-	0.240
Void18	-	-	0.240
Void23	-	-	0.240
Void19	-	-	0.240
Void24	-	-	0.240
Void20	-	-	0.240
LiftWell9	-	-	17.625
LiftWell8	-	-	17.625
LiftWell7	-	-	11.625
LiftWell9	-	-	11.625
TOTAL Deduction =154.441Sq.M			
Net BuiltUp Area =1207.114 Sq.M			

BUILT UP AREA CALCULATION FOR 13TH REFUGE FLOOR BUILDING NO 1 COMMERCIAL			
AREA NAME	LENGTH	WIDTH	Area(Sq.M)
BLOCK	41.538	10.920	453.593
BLOCK AREA TOTAL =1361.555Sq.M			
Refuge1	-	-	42.122
Void5	-	-	0.987
Void10	-	-	0.987
Void6	-	-	0.987
Void11	-	-	0.240
Void7	-	-	0.240
Void12	-	-	0.240
Void8	-	-	0.240
Void13	-	-	0.240
Void9	-	-	0.240
LiftWell6	-	-	17.625
LiftWell4	-	-	17.625
LiftWell5	-	-	11.625
LiftWell6	-	-	11.625
TOTAL Deduction =154.441Sq.M			
Net BuiltUp Area =1207.114 Sq.M			

BUILT UP AREA CALCULATION FOR 19TH REFUGE FLOOR BUILDING NO 1 COMMERCIAL			
AREA NAME	LENGTH	WIDTH	Area(Sq.M)
BLOCK	3.400	3.200	10.880
BLOCK AREA TOTAL =10.880Sq.M			
TOTAL Deduction =10.880Sq.M			
Net BuiltUp Area =0.00 Sq.M			

BUILT UP AREA CALCULATION FOR 19TH REFUGE FLOOR BUILDING NO 1 COMMERCIAL			
AREA NAME	LENGTH	WIDTH	Area(Sq.M)
BLOCK	3.400	3.200	10.880
BLOCK AREA TOTAL =10.880Sq.M			
TOTAL Deduction =10.880Sq.M			
Net BuiltUp Area =0.00 Sq.M			

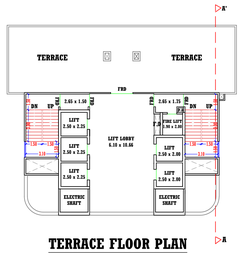

TERRACE FLOOR PLAN
(BLDG. NO-1)
(SCALE-1:200)

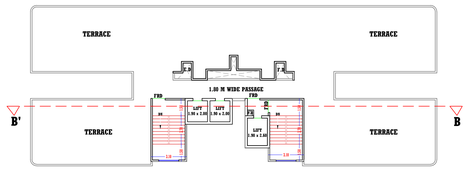

TERRACE FLOOR
(BLDG. NO-2)
(SCALE-1:200)

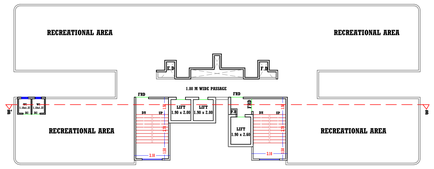

19TH FLOOR RECREATIONAL AREA
(BLDG. NO-2)
(SCALE-1:200)

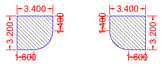

BUILT-UP AREA CALCULATION 12TH RECREATIONAL FLOOR BUILDING NO 1 COMMERCIAL

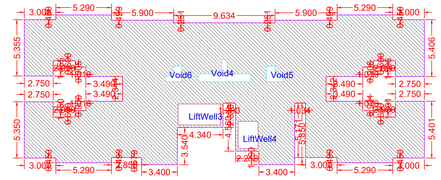

BUILT-UP AREA CALCULATION 2ND TO 5TH 7TH TO 10TH 12TH TO 15TH 17TH AND 18TH FLOOR BUILDING NO 2 RESIDENTIAL

BUILT UP AREA CALCULATION FOR 2ND TO 5TH 7TH TO 10TH 12TH TO 15TH 17TH AND 18TH FLOOR BUILDING NO 2 RESIDENTIAL			
AREA NAME	LENGTH	WIDTH	Area(Sq.M)
BLOCK	38.014	14.225	540.577
BLOCK AREA TOTAL =5410.385Sq.M			
Void8	-	-	1.611
Void6	-	-	1.611
Void4	-	-	4.321
Void5	-	-	4.321
LiftWell3	-	-	4.340
LiftWell4	-	-	4.340
TOTAL Deduction =19.934Sq.M			
Net BuiltUp Area =5390.451 Sq.M			

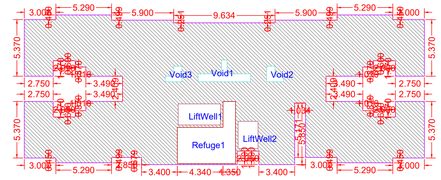

BUILT-UP AREA CALCULATION 1ST 6TH 11TH AND 16TH REFUGE FLOOR BUILDING NO 2 RESIDENTIAL

BUILT UP AREA CALCULATION FOR 1ST 6TH 11TH AND 16TH REFUGE FLOOR BUILDING NO 2 RESIDENTIAL			
AREA NAME	LENGTH	WIDTH	Area(Sq.M)
BLOCK	38.014	14.225	540.577
BLOCK AREA TOTAL =5410.385Sq.M			
Refuge1	-	-	42.028
Void3	-	-	1.611
Void2	-	-	1.611
Void1	-	-	4.321
LiftWell2	-	-	4.340
LiftWell1	-	-	4.350
TOTAL Deduction =58.261Sq.M			
Net BuiltUp Area =5352.124 Sq.M			



SECTION BB' (BLDG. NO-2)
(SCALE- 1:200)



SECTION AA' (BLDG. NO-1)
(SCALE- 1:200)

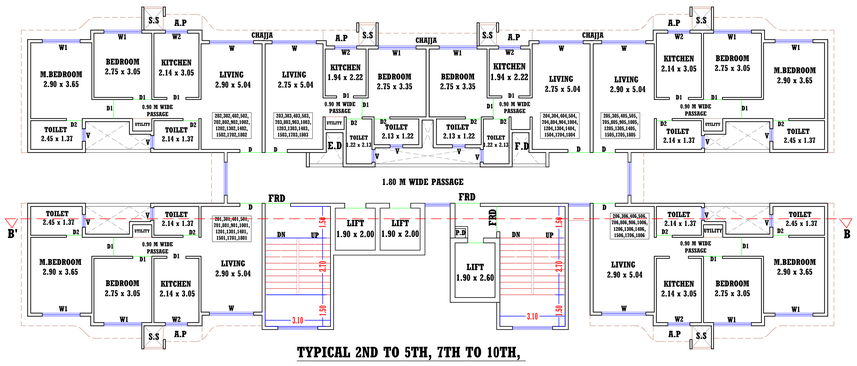

TYPICAL 2ND TO 5TH, 7TH TO 10TH, 12TH TO 15TH ,17TH AND 18TH FLOOR PLAN
(BLDG. NO-2)
(SCALE-1:100)

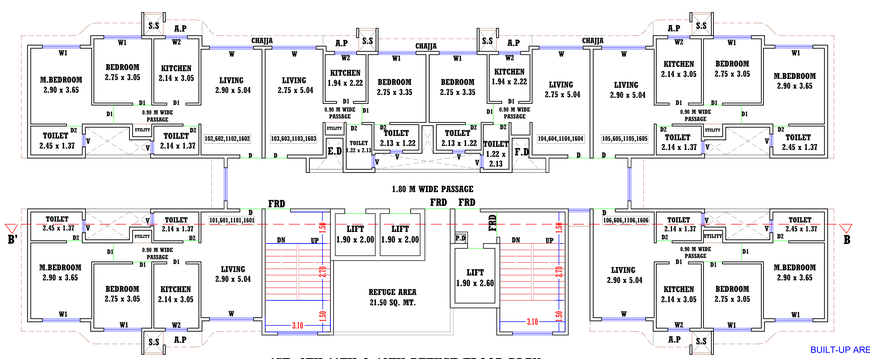

1ST, 6TH,11TH & 16TH REFUGE FLOOR PLAN
(BLDG. NO-2)
(SCALE-1:100)

BUILT UP AREA CALCULATION FOR 19TH REFUGE FLOOR BUILDING NO 2 RESIDENTIAL			
AREA NAME	LENGTH	WIDTH	Area(Sq.M)
BLOCK	2.650	1.600	4.240
BLOCK AREA TOTAL =4.240Sq.M			
TOTAL Deduction =0.000Sq.M			
Net BuiltUp Area =4.240 Sq.M			

BUILT-UP AREA CALCULATION 19TH RECREATIONAL FLOOR BUILDING NO 2 RESIDENTIAL

DESCRIPTION OF PROPOSAL & PROPERTY

PROPOSED BUILDING ON PLOT BEARING C.T.S. NO.1556, 1557,1559 B & 1571 AT VILLAGE- SHAHAD, TAL- KALYAN, DIST. THANE

NAME & SIGNATURE OF OWNER	SIGNATURE OF ARCHITECT
M/S. GURUDUTT DEVELOPERS THROUGH IT'S PARTNER NITIN AJIT GUWALANI	a17799e3-cd1c-45bb-bb75-23fcf2ffde34 Digitally signed by a17799e3-cd1c-45bb-bb75-23fcf2ffde34 Date: 2026.02.10 17:28:35 +05'30'
SIGNATURE:	(VARGHESE JOHN) (CA/92/15118)

DRG.NO.	JOB.NO.	SCALE	DATE	DRAWN BY.
01	V - 52	AS SHOWN	28-01-2026	RAHUL
NORTH	ARCHITECTS & CONSULTANTS			

De-con Consultants
ARCHITECTS, INTERIOR DESIGNERS,
REGD. VALUERS & PROJECT CONSULTANTS
S-1, RAJASHREE TOWER, RAMBAUG, LANE No. 6,
KALYAN(WEST)-421 304. PHONE NO:- 2320932

Proforma I : Area Statement

1. Area of plot(Minimum area of a, b, c to be considered) or area of subplot with sanctioned layout No. and subplot No.	3695.900
(a) As per ownership document (7/12, CTS extract)	3695.900
(b) as per TILR or City Survey measurement sheet	3695.900
(c) as per Demarcated drawing area	3763.836
LESS	
2.Area not in possession	0.000
3. Area Proposed for development (out of 1-2)	3695.900
4.Deductions for(out of 3)	
(a) Proposed D.P / D.P. Road widening Area/Proposed DP road. Road under MMC act	58.003
(b) Any D.P. Reservation area	0.000
(c) Green Belt	0.000
(Total a+b+c)	58.003
5. Balance area of plot (3-4)	3637.897
6. Amenity Space Proposed	0.000
(Required -(a) Upto 20,000 sqmt - Nil	-
(b) Above 20,000 and more - (a) + 5% of Total area	0.000
7. Net Plot Area (5-6)	3637.897
8.Recreational Open Space (Not applicable if plots are from sanctioned layout)	-
(a). If area is more than (5) 4000 sqmt - 10 % of (5) is required.	0.000
Proposed	0.000
(A)10 % Subject to minimum 200 sqmt(Not applicable if plots are from sanctioned layout or each plot admesuring less than 400sq.m regularised under gunthewari act)	0.000
Proposed	0.000
(B)Exemption to leave open space subject to availing basic F.S.I of 75 %	-
(C)Exemption to leave open space subject to payment of 10 % land value of land at (7) as per annual statement of rate	-
If (5) > 4000sq.m then Land admesuring 20% of (5) is to be utilised for inclusive housing	0.000
Proposed Area	0.000

Architect/ Licensed Engineer/ Supervisor name and signature

Registration No. of Architect/ License no. of Licensed Engineer/ Supervisor: CA/1992/15118

Certificate of Area:
Certified that the plot under reference was surveyed by me on_____ and the dimensions of sides etc. of plot stated on plan are as measured on site and the area so worked out tallies with the area stated in document of Ownership/ T.P. Scheme Records/Land Records Department/City Survey records.

Signature
(Name of Architect/ Licensed Engineer/ Supervisor.)

Owner's Declaration -
I/We undersigned hereby confirm that I/We would abide by plans approved by Authority / Collector. I/We would execute the structure as per approved plans. Also I/We would execute the work under supervision of proper technical person so as to ensure the quality and safety at the work site.

Owner (s) name and signature

Name Of : Owner GURUDUTT DEVELOPERS

Postal Address : FLAT NO- 1501/1502 MAATR WATERS S NO. 24/1 AND 12/4,KALYAN WEST,Kalyan,Thane,Maharashtra-421301

Phone No.:9890476776

DESCRIPTION OF PROJECT :
Type of Proposal : Mixed
BUILDING ON CTS. NO./SURVEY NO.-11

SITE ADDRESS :
1556, 1557, 1559B, 1571 AT VILLAGE-SHAHAD,TAL. KALYAN, DIST. THANE

Name Of Architect : VARGHESE JOHN

LOGO | ADDRESS OF OFFICE
OFFICE -
De-con consultants,S-1 Rajasree Tower,Rambaug,Lane No - 6,Kalyan (w)

OWNERS SIGN - | TECHNICAL PERSON SIGN

SCALE - | DATE: Date: 10/02/26
JOB NO - KDMCC-26-14385 | CHECK BY - zoom

SUBMISSION DRAWING