Padmavati Tower															
BUILDING	FLOORS	FSI AREA						BALCONY	TERRACE	LIFT	LIFTWELL	DUCT	VENT	OTHER	TOTAL
		COMM.	RESI.	IND.	EDU.	INS.	MEZZ.	PROP.					SHAFT	DEDUCTION	FSI AREA
Padmavati Tower	STILT FLOOR	0.000	9.000	0.000	0.000	0.000	0.000	0.000	0.000	0.000	0.000	0.000	0.000	0.000	9.000
Padmavati Tower	TYPICAL 1ST TO 4TH FLOOR	0.000	569.824	0.000	0.000	0.000	0.000	0.000	0.000	12.604	12.512	0.000	0.000	0.000	557.312
Padmavati Tower	TOTAL	0.000	578.824	0.000	0.000	0.000	0.000	0.000	0.000	12.604	12.512	0.000	0.000	0.000	566.312

SCHEDULE OF OPENING				
BLD NAME	NAME	LENGTH	HEIGHT	Nos.
Padmavati Tower	V	0.600	1.200	2

FSI DETAILS										
9 Index	Basic FSI (on serial no 7)	Premium FSI (on serial no 3)	TDR/DR (on serial no 3)	Incentive FSI for green building If Applicable (on basic FSI)	Additional FSI (10.10.1 Note:3)	Ancillary Area 60% of (2+3+4+5)	Ancillary Area 80% of (2+3+4+5)	Total	Inclusive Housing (20%) If Applicable	Drawing Value
9.1 Permissible Index	1.100	0.500	0.400	0.000	0.000	0.000	0.000	2.000	0.000	0.000
9.2 Existing Comsumed Index	0.000	0.000	0.000	0.000	0.000	0.000	0.000	0.000	0.000	0.000
9.3 Balance Index to be Consumed	1.100	0.500	0.400	0.000	0.000	0.000	0.000	0.000	0.000	0.000
9.4 Total Permissible PLine Area	361.900	164.500	131.600	0.000	0.000	315.840	0.000	973.840	0.000	0.000
9.5 Proposed P Line Area (Should not exceed 9.4)	361.900	164.500	0.000	0.000	0.000	39.912	0.000	566.312	0.000	566.312
9.6 Index Consumed	1.100	0.500	0.000	0.000	0.000	0.000	0.000	1.600	0.000	0.000

Carpet Area Table								
Building Name	Floor Name	Carpet name	Tenement No	Carpet Area	Enclosed Balcony Area	Normal Balcony Area	Mezzanine Area	Total Carpet Area
Padmavati Tower	TYPICAL 1ST TO 4TH FLOOR	101;201;301;401	4	46.175	0.000	0.000	0.000	46.175
Padmavati Tower	TYPICAL 1ST TO 4TH FLOOR	102;202;302;402	4	51.158	0.000	0.000	0.000	51.158

Telecom Room			
Building	Req. Size	Prop. Size	Status
Padmavati Tower	OtherTelecomRoom	0.388X0.588	OK

PROJECT DETAILS:
Proposed code: KDMCC-25-129210
Zone Type: Residential Zone - (R1)
Location: Non-Congested
Name of service: Building Development
Sub service: -
City No./Survey No.: 110
Taluka: section-1
Mouze: Chikanghar(PL)
Premiss Value: 0.000
Deviation/OD Zone Area: -

Parking Check (Table 8B)								
			RATIO			Required		
Building Name	USE	TENAMENT AREA	car	scooter	NO.OF Tens/Area/Units	car	scooter	Transport Vehicle/Ambulance /Mini Bus
Padmavati Tower	Residential	For every two tenements with each tenement having carpet area equal to or above 40 sq.m. but less than 80 sq.m.	1	2	8	4.000	8.000	-
Total	-	-	-	-	-	4.000	8.000	-
Visitors parking(5%)	-	-	-	-	-	0.200	0.400	-
Total	-	-	-	-	-	4.200	8.400	0.000

Parking Check As Per Multiplying Factor 0.800 (note: 1) 6 scooter equals to 1 car, proposed composite parking for car= 1)							
	Required			Proposed			
Building Name	Car	Scooter	Transport Vehicle/Ambulance /Mini bus	Car	Scooter	Transport Vehicle/Ambulance /Mini bus	Status
Total	4	2	0	13	5	0	OK

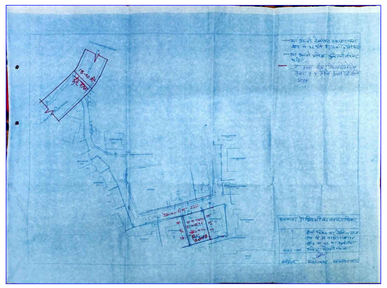

Owner Details		
Owner Name	Postal Address	Contact Number
BALAJI EMPIRE	Flat No 204, Lotus Building, Flowervalley,Birla College Road,Kalyan,Thane, Maharashtra-421301	9322595137
JITENDRASINGH RAJENDRASINGH SHEKHAWAT	FLAT No.204, LOTUS BUILDING, FLOWER VALLY, BIRLA COLLAGE ROAD, KHADAKPADA, KALYAN (W), 421301.	9322595137

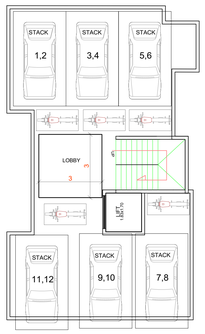

GROUND FLOOR PLAN
Sc.1:100

Form of Statement 2
[Sr. No.9 (a)]
Proposed Building

Building No.	Floor No.	Total Built-up Area of floor,as per outer construction line.
(1)	(2)	(3)
----	4	566.28sm

Form of Statement 3
[Sr. No.9 (g)]
Area details of Apartment

Building No.	Floor No.	Apartment No.	Carpet area of apartment	Area of Balcony attached to Apartment	Area of Double height terraces attached to flat
	(2)	(3)	(4)	(5)	(6)
----	Stilt+4	08	389.32sm.	97.92sm.	NIL

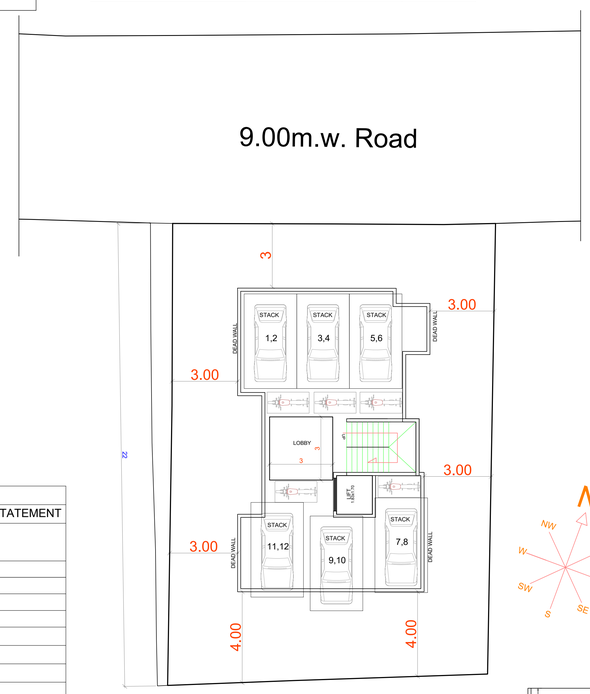

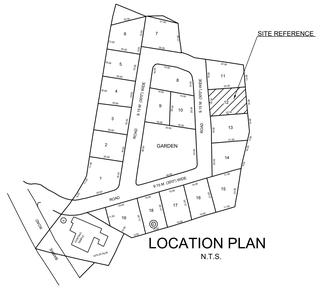

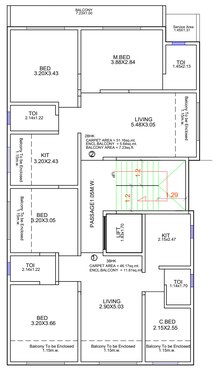

TYP. 1st To 4th FLOOR
Sc.1:100

Ground Floor Lobby
AREA DIAGRAM
Sc.1:100

SUMMARY (1st To 4th Fl.)	
PROPOSED P-LINE AREA STATEMENT	
FLOOR	Proposed P-Line Area (SQ.M.)
GROUND	9.00
01	139.32
02	139.32
03	139.32
04	139.32
07	
TOTAL	=566.28SM.

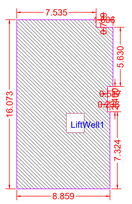

BUILT-UP AREA CALCULATION TYPICAL 1ST TO 4TH FLOOR Padmavati Tower

BUILT-UP AREA CALCULATION FOR TYPICAL 1ST TO 4TH FLOOR Padmavati Tower			
AREA NAME	LENGTH	WIDTH	Area(Sq.M)
BLOCK	16.073	9.140	146.87
BLOCK AREA TOTAL =146.87Sq.M			
Less Deductions =7.55Sq.M			
Net Built-Up Area =139.32 Sq.M			

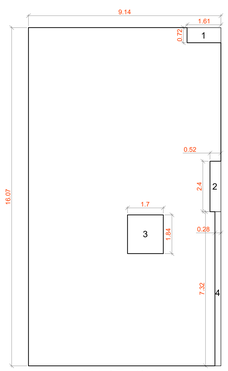

TYP.1st To 4th Floor
AREA DIAGRAM
Sc.1:100

Built-Up Area Statement (1st To 7th Fl.)					
Area Of Block	16.07	X	9.14	=	146.87
Standard Deductions					
1	1.61	X	0.72	=	1.15
2	0.52	X	2.40	=	1.24
3	1.70	X	1.84	=	3.12
4	0.28	X	7.32	=	2.04
Total				=	7.55
Total Deductions				=	7.55
Area =	146.87	-	7.55	=	139.32

BUILT-UP AREA CALCULATION STILT FLOOR Padmavati Tower

BUILT-UP AREA CALCULATION FOR STILT FLOOR Padmavati Tower			
AREA NAME	LENGTH	WIDTH	Area(Sq.M)
BLOCK	9.000	9.000	9.000
BLOCK AREA TOTAL =9.000Sq.M			
TOTAL Deduction =0.000Sq.M			
Net Built-Up Area =9.000 Sq.M			

Table No. 8B - Parking Requirements (1st To 4th FLOOR)								
Sr. No.	Occupany	Size of tenement	Total No. Flat	Parking Space Required				
				Required		Proposed		
				Car	Scooter	Car	Scooter	
1	Residential i) Multi - Family residential	For every tenement having carpet area of 150sq.m. and above.	Nil.	2x0=0	1x0=0	Nil.	Nil.	
		For every tenement having carpet area equal to or above 80sq.m. but less then 150sq.m.	Nil.	1x0=0	1x0=0	Nil.	Nil.	
		For every two tenements with each tenement having carpet area equal to or above 40sq.m. but less then 80sq.m.	08	1x4.0= 4.0no.	2x4.0=14	4no.	8no.	
		For every two tenements with each tenement having carpet area less than 40sq.m. but more then 30sq.m.	00	1x0 =0no.	2x0 =0no.	0no	0no	
		For every two tenements with each tenement having carpet area less than 30sq.m.	Nil.	0x0 =0 no.	2x0 =0no.	Nil.	Nil.	
		Additional 5% Visitor Parking		0.4x4.0) =0.20 no.	5%(8.0) =0.40no.	0.20no.	0.40no.	
		Total Parking Required (x 0.8) As per Table No. 8c,Page No.145.		0.8x4.20 =3.36 no.	(x8.40 =6.40no.	3.36no	8.40no.	

Composite parking Conversion = 1Car = 6Bike
Composite parking Conversion = 2Car x 6Bike = 12Bike convert

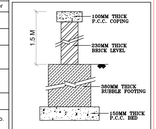

COMPOUND WALL DETAIL

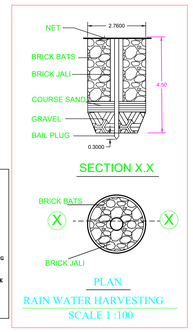

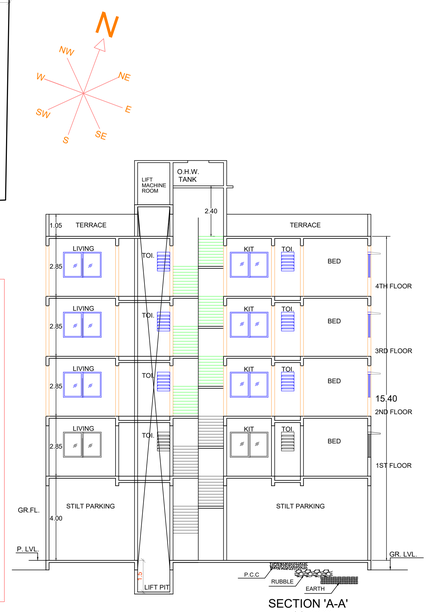

SECTION 'A-A'
SC. 1:100

Proforma-1 Area Statement.

Drawing Sheet No.: 1/1

DT.03/10/2025.

PROPOSED BUILDING ON S. No.110/1/A/1/B/18, Plot No.12, VILLAGE :- CHIKANGHAR, TALUKA:- KALYAN,DIS.THANE.

AREA STATEMENT	Sq.Mt.
1. Area of plot *(Minimum area of a, b, c to be considered)*	
(a) As per ownership document (7/12, CTS extract)	329.00
(b) as per measurement sheet	--------
(c) as per site	329.00
2. Deductions for	
(a) Proposed D.P./ D.P. Road widening Area.(9.00 M.W.)	------
(b) D.P. Reservation of Any	----
(b) D.P. Reservation of Any	----
(Total a+b+c)	Nil
3. Balance area of plot (1-2)	329.00
4. Amenity Space (if applicable)	
(a) Required - 5% (more than 20,000)	Nil.
(b) Adjustment of 2(b), if any -	------
(c) Balance Proposed -	Nil.
5. Net Plot Area (3 - 4 (c))	329.00
5.a) Add for FSI as per Accomodation Reservation policy	----
b) Consider Area For Basic FSI (5+5a)	329.00
6. Recreational Open space (if applicable)	
(a) Required - 10% (5)(Physical)	Nil.
(b) Proposed	Nil.
7. Internal Road area	N.A
8. Plotable area (if applicable)	N.A
9. Built up area with reference to Basic F.S.I. as per front road width 1.10% (Sr.No.5b xbasic FSI) {329.0x 1.10}	361.90
10. Addition of FSI on payment of premium	
(a) Maximum permissible premium FSI - based on road width /TOD Zone. {329.0 x 0.50}	164.50
(b) Proposed FSI on payment of premium.	----
11. In-situ FSI / TDR loading	
(a)In-situ area against D.P. road *[2.00 x Sr. No. 2 (a)], if any*	----
(i) Used T.D.R. Area.(As per Old Approval)	NIL.
(ii) Proposed T.D.R. Area.	NIL.
(b)In-situ area against Amenity Space if handed over {2.00 or1.85 x Sr. No. 4 (b)and /or(c)}, {329.00 x 0.40}	------
(c) TDR area	----
(d) Total in-situ / TDR loading proposed (11 (a)+(b)+(c))	----
12. Additional FSI area under Chapter No. 7 (Redevelopment Incentive F.S.I.) .	-----
13. Total entitlement of FSI in the proposal	
(a) [9 + 10(b)+11(d)] or 12 whichever is applicable.	361.90
(b) Permissible Ancillary Area FSI upto 60%Or 80% (Maximum)with payment of charges.	217.14
i) Proposed Ancillary Area FSI , payment of charges.	217.14
(c) Total entitlement (a+b)	579.04
14 Maximum utilization limit of F.S.I. (building potential) Permissible as per Road width *(as per Regulation No. 6.1 or 6.2 or 6.3 or 6.4 as applicable) x 1.6 or 1.8*	3.20
15. Total Built-up Area in proposal. *(excluding area at Sr.No.17 b)*	
(a) Existing Built-up Area.	NIL.
(b) Proposed Built-up Area (as per 'P-line')	566.28
(c) Total (a+b)	566.28
16. F.S.I. Consumed [15 / 13]*(should not be more than serial No.14 above.)*	0.99
17. Area for Inclusive Housing, if any (As per Old Approval)	------
(a) Required *(20% of Sr.No.5)*	------
(b) Proposed	------

Certificate : CERTIFIED THAT THE PLANS PREPARED BY ME ARE IN ACCORDANCE WITH THE NORMS AS SPECIFIED BY INDIAN STANDARDS INSTITUTE .

SIGN. OF R.C.C. CONSULTANT

Owner's Declaration -
I/We undersigned hereby confirm that I/We would abide by plans approved by Authority / Collector. I/We would execute the structure as per approved plans. Also I/We would execute the work under supervision of proper technical person so as to ensure the quality and safety at the work site.

OWNER.- M/s. Balaji Ampire Through Mr. Jitendra R. Shekhawat & Others

Certificate : Certified that the plot under reference was surveyed by me on_____ and the dimension of sides etc. of plot stated on plan are as measured on site and the area so worked out tallies with the area stated in document of Ownership /T.P. Scheme Records / Land Records Department / City Survey records.

Ar. Vijay Pandey._____

ARCHITECT.
M/S VIJAY PANDEY & ASSOCIATES.
303-RAJKAMAL TOWER
ABOVE KOTAK MAHINDRA BANK
SANTOSHI MATA RD. KALYAN (W)
TEL. 0251-2204441/ 9370480016.
Vijay Pandey AND ASSOCIATES

Job No.	Drawing No.	Scale	Drawn by	Rev.	Checked by	Registration No. Of
79	01	N.S.	VIKAS	R-0	V.P.	Architect:- Vijay Pandey. CA/96/20081

Proforma I : Area Statement	
1. Area of plot (Minimum area of a, b, c to be considered)	329.000
(a) As per ownership document (7/12, CTS extract)	329.000
(b) as per TILR or City Survey measurement sheet	329.000
(c) as per Demarcated drawing area	329.813
LESS	-
2.Area not in possession	0.000
3. Area Proposed for development (out of 1-2)	329.000
4.Deductions for	-
(a) Proposed D.P./ D.P. Road widening Area / Service Road / Highway widening	0.000
(b) Any D.P. Reservation area	0.000
(c) Green Belt	0.000
Total (a+b+c)	0.000
5.Balance area of plot (3-4)	329.000
6. Amenity Space	0.000
(Applicable if (1) > 20000 sqmt	-
(Required -(a) Upto 20000 sqmt - Nil	-
(b) Above 20000 sqmt - (a) + 5% of Total area	0.000
7. Net Plot Area (5-6)	329.000
8. Recreational Open Space	-
(a) If area (5) is more than 4000 sqmt - 10 % of (5) is required.	0.000
Proposed	0.000
(b) If area is less than 4000 sqmt -Check -	-
i) If it is full number like 1,2,125,419,etc, As per 7:12 abstract or City Survey Number - No Recreational open space is required	-
ii) If it is subdivision like 1/2 ,2/5 , 125/1 419/1 etc.then recreational open space is required.	-
(A) 10 % Subject to minimum 200 sqmt	0.000
Proposed	0.000
(B) Exemption to leave open space subject to availing basic F.S.I of 75 %	-
(C) Exemption to leave open space subject to payment of 10 % land value of land at (7) as per annual statement of rate	-
Architect/ Licensed Engineer/ Supervisor name and signature	
Registration No. of Architect/ License no. of Licensed Engineer/ Supervisor: CA/1996/20081	
Certificate of Area: Certified that the plot under reference was surveyed by me on_____ and the dimensions of sides etc. of plot stated on plan are as measured on site and the area so worked out tallies with the area stated in document of Ownership/ T.P. Scheme Records/Land Records Department/City Survey records.	
Signature (Name of Architect/ Licensed Engineer/ Supervisor.)	
Owner's Declaration - I/We undersigned hereby confirm that I/We would abide by plans approved by Authority / Collector. I/We would execute the structure as per approved plans. Also I/We would execute the work under supervision of proper technical person so as to ensure the quality and safety at the work site.	
Owner (s) name and signature	

Postal Address : Flat No 204, Lotus Building, Flowervalley,Birla College

DESCRIPTION OF PROJECT :

Type of Proposal : Residential
BUILDING ON CTS. NO./SURVEY NO.-110

SITE ADDRESS :
PROPOSED BUILDING ON S. No.110/1/A/1/B/18, Plot No.12,VILLAGE :- CHIKANGHAR, TALUKA:- KALYAN,DIS.THANE.

Name Of Architect : VIJAY R PANDEY

LOGO | ADDRESS OF OFFICE OFFICE :- 303-Raj-kamal Tower,Above Kotak Mahindra Bank,Santoshi Mata Road,Kalyan-(W)-421301

OWNERS SIGN - | TECHNICAL PERSON SIGN

SCALE - | DATE: Date: 04/12/25

JOB NO - KDMCC-25-129210 | CHECK BY - zoom

SUBMISSION DRAWING