PRODUCED BY AN AUTODESK EDUCATIONAL PRODUCT

PLOT AREA TRIANGULAION										
1	1/2	X	28.23	X	3.06	X 1 NO	=	43.19	SQ.MT.	
1	1/2	X	28.23	X	13.60	X 1 NO	=	191.96	SQ.MT.	
2	1/2	X	13.27	X	8.68	X 1 NO	=	57.59	SQ.MT.	
3	1/2	X	19.25	X	5.98	X 1 NO	=	57.56	SQ.MT.	
						TOTAL ADDITION	=	350.30	SQ.MT.	X

FORM OF STATEMENT 2
(SR. NO. 9 A)
PROPOSED BUILDING(COMMERCIAL)

FLOOR NO.	TOTAL B/UP AREA OF FLOOR, AS PER OUTER CONSTRUCTION LINE	
COMMERCIAL	50.93	SQ.MT.
RESIDENTIAL	1078.77	SQ.MT.
TOTAL	1129.70	SQ.MT.

FORM OF STATEMENT 2
(SR. NO. 9 A)
PROPOSED BUILDING

FLOOR NO.	TOTAL B/UP AREA OF FLOOR, AS PER OUTER CONSTRUCTION LINE	
GROUND FLR.	50.93	SQ.MT.
1ST -7TH FLR. 154.11 X 7	1078.77	SQ.MT.
TOTAL	1129.70	SQ.MT.

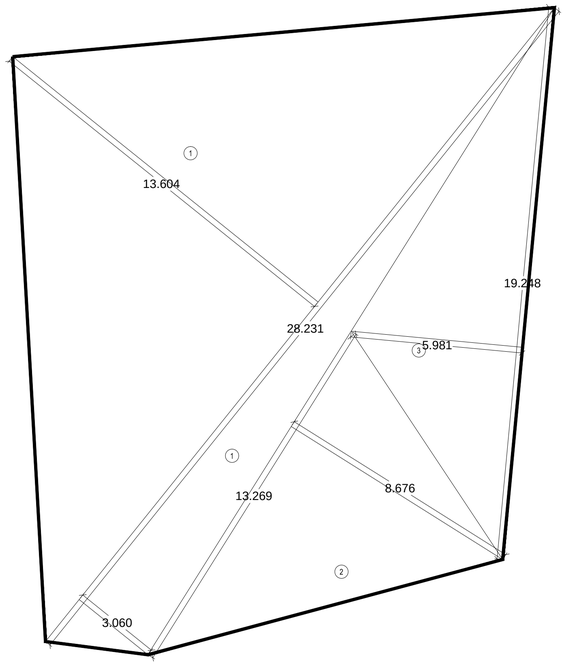

PLOT AREA TRIANGULATION
SCALE -1:100

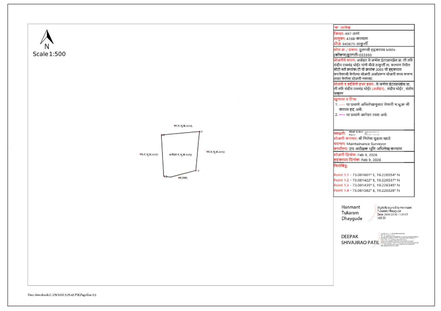

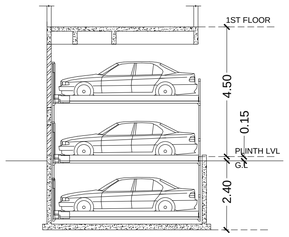

SECTION THROUGH PIT PARKING
SCALE -1:100

Project Details
Proposal code: KDMCC-26-34449
Zone Type: Residential Zone
Location: Non-Congested
Name of service: Building Development
Sub service:
CTS No./Survey No.: 2093
Tahsil: Sector-5
Mouza: Navagaon
Prorata Value: 0.000
Separation/CRZ Zone Area: -

Reserved for Stamps of Approval plan

AREA STATEMENT

SR.NO	DESCRIPTION	AREA (SQ.M)
01)	AREA OF PLOT AS PER PROPERTY CARD	
	a) AS PER OWNERSHIP DOCUMENT(7/12, CTS EXTRACT) (LEAST)	350.33
	b) AS PER MEASUREMENT SHEET	350.33
	C) AS PER SITE	350.33
02)	DEDUCTION FOR	
	A) PROPOSED DP/DP ROAD WIDENING AREA/ SERVICE ROAD/ HIGHWAY WIDENING	NIL.
	B) PROPOSED 9M EXCESS ROAD TO THE PLOT	NIL.
	C) NOT IN POSSESSION	NIL.
03)	NET PLOT AREA= (1C-2C)	350.33
04)	5% AMENITY SPACE	
	A)REQUIRED- (UPTO 4000 SQ.M.)	NIL.
	B) ADJUSTMENT OF 2B -	NIL.
	C) PROPOSED-	NIL.
05)	NET PLOT AREA	350.33
06)	RECREATIONAL OPEN SPACE	
	A)REQUIRED- (UPTO 0.4HA OR MORE)-10% NET PLOT	NIL.
	B) PROPOSED-	NIL.
07)	INTERNAL ROAD AREA	NIL.
08)	PLOT-ABLE AREA	NIL.
09)	BUILT UP AREA WITH REFERENCE TO BASIC F.S.I. AS PER FRONT ROAD WIDTH (350.33 X 1.10)	385.36
10)	ADDITIONAL OF FSI ON PAYMENT OF PREMIUM	
	A) MAXIMUM PERMISSIBLE PREMIUM FSI AS PER FRONT ROAD WIDTH/ TOD ZONE (0.5 X 1C)	175.16
	B) PROPOSED FSI ON PAYMENT OF PREMIUM	175.16
11)	IN-SITU FSI/TDR LOADING	
	A) IN-SITU AREA AGAINST D.P. ROAD	NIL.
	B) IN-SITU AREA AGAINST AMENITY SPACE IF HANDOVER(2.00X 4A)	NIL.
	C) TDR AREA (9.00M WIDE ROAD)(350.33 X40% = 140.13)	140.13
	D) TOTAL IN-SITU/ TDR LOADING PROPOSED (11(a)+(b)+(C)	140.13
12)	ADDITIONAL FSI AREA UNDER CHAPTER NO.7	NIL.
13)	TOTAL ENTITTLEMENT OF FSI IN THE PROPOSAL	
	A) 9+10(B)+11d) OR 12	700.65
	B) ANCILLARY AREA FSI UPTO 60% OR 80% WITH PAYMENT OF CHARGE COMMERCIAL - 50.93 X 80% = 40.74 , RESIDENTIAL - 649.72 X 60 % = 389.83	430.57
14)	MAXIMUM UTILIZATION LIMIT OF FSI (13A+13B)	1131.22
15)	TOTAL BUILT-UP AREA ON PROPOSAL	
	A) EXISTING BUILT-UP AREA	NIL.
	B) PROPOSED BUILT-UP AREA (AS PER P-LINE)	1129.70
	C) TOTAL (A+B)	1129.70
16)	FSI CONSUMED (15/13)	NIL.
17)	AREA FOR INCLUSIVE HOUSING	
	A) REQUIRED (20% OF (5)	NIL.
	B) PROPOSED	NIL.

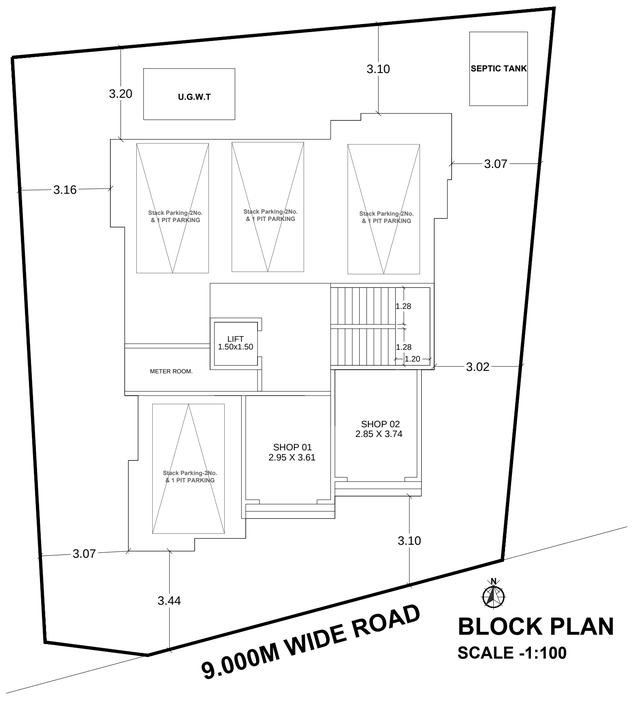

BLOCK PLAN
SCALE -1:100

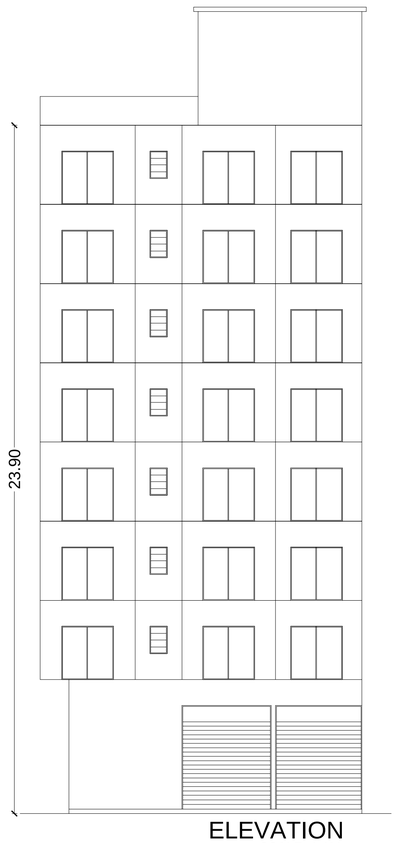

ELEVATION
SCALE -1:100

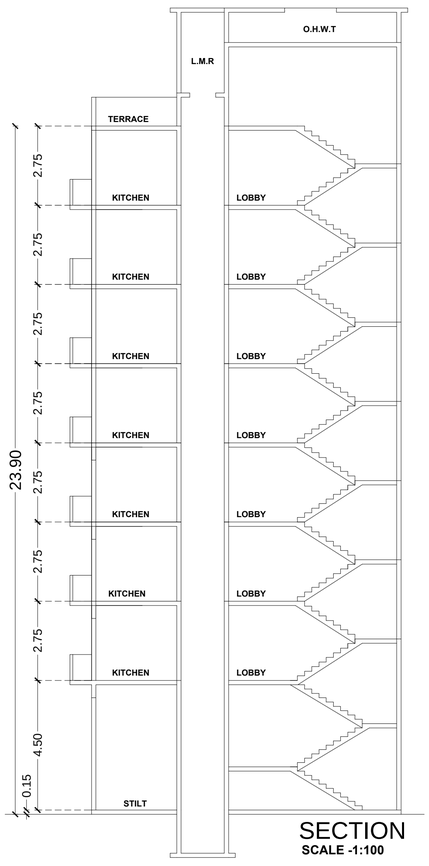

SECTION
SCALE -1:100

Certificate of Area:
Certified that the plot under reference was surveyed by me on _____ and the dimensions of sides etc. of plot stated on plan are as measured on site and the area so worked out tallies with the area stated in document of Ownership/ T.P. Scheme Records/Land Records Department/City Survey records.

Signature
(Name of Architect/ Licensed Engineer/ Supervisor.)

Owner's Declaration -
I/We undersigned hereby confirm that I/We would abide by plans approved by Authority / Collector. I/We would execute the structure as per approved plans. Also I/We would execute the work under supervision of proper technical person so as to ensure the quality and safety at the work site.

Owner (s) name and signature

LEGENDS:
PLOT BOUNDARY SHOWN WHITE
PROPOSED WORK SHOWN RED
CHANGE LINE SHOWN YELLOW LIGHT
WATER LINE SHOWN BLUE DOTTED
ENCLOSED BAL SHOWN BROWN
TERRACE SHOWN DARK YELLOW
OPEN BAL SHOWN BROWN
EXISTING SHOWN BLUE HATCHED

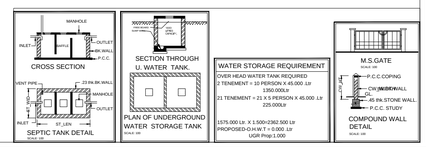

Proforma I : Area Statement

1. Area of plot (Minimum area of a, b, c to be considered)	350.330
(a) As per ownership document (7/12, CTS extract)	350.330
(b) as per TiLR or City Survey measurement sheet	350.330
(c) as per Demarcated drawing area	359.023
LESS	-
2.Area not in possession	0.000
3. Area Proposed for development (out of 1-2)	350.330
4.Deductions for	-
(a) Proposed D.P./ D.P. Road widening Area / Service Road / Highway widening	0.000
(b) Any D.P. Reservation area	0.000
(c) Green Belt	0.000
Total (a+b+c)	0.000
5.Balance area of plot (3-4)	350.330
6. Amenity Space	0.000
(Applicable if (1) > 20000 sqmt	-
(Required -(a) Upto 20000 sqmt - Nil	-
(b) Above 20000 sqmt - (a) + 5% of Total area	0.000
7. Net Plot Area (5-6)	350.330
8. Recreational Open Space	-
(a) If area (5) is more than 4000 sqmt - 10 % of (5) is required.	0.000
Proposed___	0.000
(b) If area is less than 4000 sqmt -Check -	-
i) If it is full number like 1,2,125,419,etc. As per 7.12 abstract or City Survey Number - No Recreational open space is required	-
ii) If it is subdivision like 1/2 ,2/5 , 125/1 419/1 etc.then recreational open space is required.	-
(A) 10 % Subject to minimum 200 sqmt	0.000
Proposed _____	0.000
(B) Exemption to leave open space subject to availing basic F.S.I of 75 %	-
(C) Exemption to leave open space subject to payment of 10 % land value of land at (7) as per annual statement of rate.	-
Architect/ Licensed Engineer/ Supervisor name and signature	
Registration No. of Architect/ License no. of Licensed Engineer/ Supervisor: CA/77/04234	

Name Of : Owner Sandeep Ramchandra Bhoir

Postal Address : room no 4 sai ram co-op soc,gupte road,Kalyan,Thane,Maharashtra-421202

Phone No..9967496981

DESCRIPTION OF PROJECT :

Type of Proposal : Mixed
BUILDING ON CTS. NO./SURVEY NO.-2093

SITE ADDRESS :
C.T.S. NO. 2093, Mouje -Navagaon, Dombivli, Tal.- Kalyan

Name Of Architect : Gopinath Narayan Gandhe

LOGO	ADDRESS OF OFFICE
	OFFICE - 1,2, parimal darshan chsl,plot no 21,manpada road,gandhinagar

OWNERS SIGN -	TECHNICAL PERSON SIGN

SCALE -	DATE: 21/03/26
JOB NO - KDMCC-26-34449	CHECK BY -

SUBMISSION DRAWING

PRODUCED BY AN AUTODESK EDUCATIONAL PRODUCT
PRODUCED BY AN AUTODESK EDUCATIONAL PRODUCT
PRODUCED BY AN AUTODESK EDUCATIONAL PRODUCT

PRODUCED BY AN AUTODESK EDUCATIONAL PRODUCT

Carpet Area Table								
Building Name	Floor Name	Carpet name	Tenement No	Carpet Area	Enclosed Balcony Area	Normal Balcony Area	Mezzanine Area	Total Carpet Area
Shree Shiddhivinayak Plaza	Ground Floor	Shop 01	1	10.671	0.000	0.000	0.000	10.671
Shree Shiddhivinayak Plaza	Ground Floor	Shop 02	1	10.652	0.000	0.000	0.000	10.652
Shree Shiddhivinayak Plaza	1ST - 3RD Floor	101;201;301	3	38.869	8.650	0.000	0.000	47.519
Shree Shiddhivinayak Plaza	1ST - 3RD Floor	102;202;302	3	33.136	2.750	0.000	0.000	35.886
Shree Shiddhivinayak Plaza	1ST - 3RD Floor	103;203;303	3	35.403	5.803	0.000	0.000	41.206
Shree Shiddhivinayak Plaza	4TH Floor	401	1	38.869	8.650	0.000	0.000	47.519
Shree Shiddhivinayak Plaza	4TH Floor	402	1	33.136	2.750	0.000	0.000	35.886

Parking Check (Table 8B)								
			RATIO			Required		
Building Name	USE	TENAMENT AREA	car	scooter	NO.OF Tena/Area/Units	car	scooter	Transport Vehicle/Ambulance /Mini Bus
Shree Shiddhivinayak Plaza	Commercial	For every 100 sq.m. carpet area or fraction thereof	2	6	21.323	0.426	1.279	-
Total	-	-	-	-	-	0.426	1.279	-

Parking Check As Per Multiplying Factor 0.800 (note: 1) 6 scooter equals to 1 car, proposed composite parking for car= 12)							
	Required			Proposed			
Building Name	Car	Scooter	Transport Vehicle/Ambulance /Mini bus	Car	Scooter	Transport Vehicle/Ambulance /Mini bus	Status
Total	12	0	0	12	0	0	OK

PARKING RULES AS PER RULES FOUR WHELLERS& TWO WHEELERS					
CARPET AREA		PARKING SPACES REQUIRED 4WHEELERS		PARKING SPACES REQUIRED 2WHEELERS	
		NON CONGESTED AREA		NON CONGESTED AREA	
	FLAT	REQUIRED	PROPOSED	REQUIRED	PROPOSED
LESS THAN 30 SQ.MT FOR EVERY 2 TENEMENTS	0	0	0.00	2.00	0.00
30 TO 40 SQ.MT FOR EVERY 2 TENEMENTS	21	1	10.50	2.00	21.00
40 TO 80 SQ.MT FOR EVERY 2 TENEMENTS	0	1	0.00	2.00	0.00
80 TO 150 SQ.MT FOR EVERY 1 TENEMENT	0	1	0.00	1.00	0.00
ABOVE 150 SQ.MT FOR EVERY 1 TENEMENT	0	2	0.00	1.00	0.00
TOTAL	21	0	10.50	0.00	21.00
VISITORS PARKING 5%REQUIRED PARKING			0.53	0.00	1.05
TOTAL PARKING REQUIRED2.3X4.5=10.35 SQ.MT			11.03	0.00	22.05
MULITFLYING FACTOR=0.8			8.82	0.00	22.05
TOTAL PARKING REQUIRED		SAY	9	SAY	22
TOTAL PARKING PROVIDED			12	0	0

Project Details
Proposal code: KDMCC-26-34449
Zone Type: Residential Zone
Location: Non-Congested
Name of service: Building Development
Sub service:
Cts No./Survey No.: 2093
Tahsil: Sector-5
Mouza: Navagaon
Prorata Value: 0.000
Separation/CRZ Zone Area: -

Reserved for Stamps of Approval plan

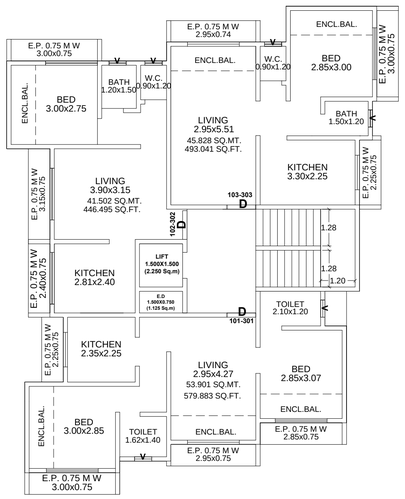

1ST - 3RD FLOOR PLAN
SCALE -1:100

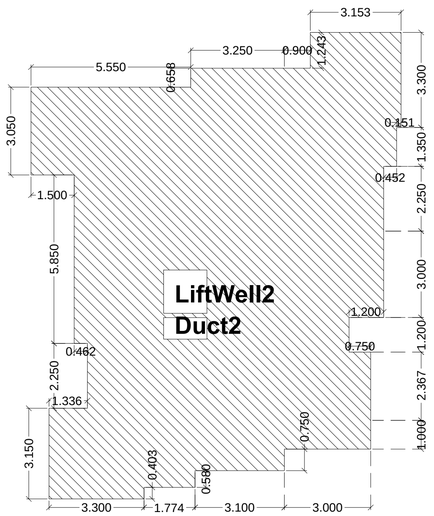

BUILT-UP AREA CALCULATION
1ST - 3RD Floor Shree Shiddhivinayak Plaza
scale -1:100

BUILT UP AREA CALCULATION FOR 1ST - 3RD Floor Shree Shiddhivinayak Plaza			
AREA NAME	LENGTH	WIDTH	Area(Sq.M)
BLOCK	16.200	12.853	157.494
BLOCK AREA TOTAL =157.494Sq.M			
LiftWell2	-	-	2.250
Duct2	-	-	1.125
TOTAL Deduction =3.375Sq.M			
Net BuiltUp Area =154.119 Sq.M			

Proforma I : Area Statement	
1. Area of plot (Minimum area of a, b, c to be considered)	350.330
(a) As per ownership document (7/12, CTS extract)	350.330
(b) as per TILR or City Survey measurement sheet	350.330
(c) as per Demarcated drawing area	359.023
LESS	
2.Area not in possession	0.000
3. Area Proposed for development (out of 1-2)	350.330
4.Deductions for	-
(a) Proposed D.P./ D.P. Road widening Area / Service Road / Highway widening	0.000
(b) Any D.P. Reservation area	0.000
(c) Green Belt	0.000
Total (a+b+c)	0.000
5.Balance area of plot (3-4)	350.330
6. Amenity Space	0.000
(Applicable if (1) > 20000 sqmt	-
(Required -(a) Upto 20000 sqmt - Nil	-
(b) Above 20000 sqmt - (a) + 5% of Total area	0.000
7. Net Plot Area (5-6)	350.330
8. Recreational Open Space	-
(a) If area (5) is more than 4000 sqmt - 10 % of (5) is required.	0.000
Proposed___	0.000
(b) If area is less than 4000 sqmt -Check -	-
i) If it is full number like 1,2,125,419,etc. As per 7.12 abstract or City Survey Number - No Recreational open space is required	-
iii) If it is subdivision like 1/2 ,2/5 , 125/1 419/1 etc.then recreational open space is required.	-
(A) 10 % Subject to minimum 200 sqmt	0.000
Proposed _____	0.000
(B) Exemption to leave open space subject to availing basic F.S.I of 75 %	-
(C) Exemption to leave open space subject to payment of 10 % land value of land at (7) as per annual statement of rate.	-
Architect/ Licensed Engineer/ Supervisor name and signature	
Registration No. of Architect/ License no. of Licensed Engineer/ Supervisor: CA/77/04234	

GROUND FLOOR PLAN
SCALE -1:100

BUILT UP AREA CALCULATION FOR Ground Floor Shree Shiddhivinayak Plaza			
AREA NAME	LENGTH	WIDTH	Area(Sq.M)
BLOCK	8.167	7.790	54.307
BLOCK AREA TOTAL =54.307Sq.M			
LiftWell3	-	-	2.250
Duct3	-	-	1.125
TOTAL Deduction =3.375Sq.M			
Net BuiltUp Area =50.932 Sq.M			

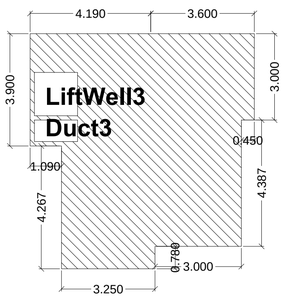

BUILT-UP AREA CALCULATION
Ground Floor Shree Shiddhivinayak Plaza
scale -1:100

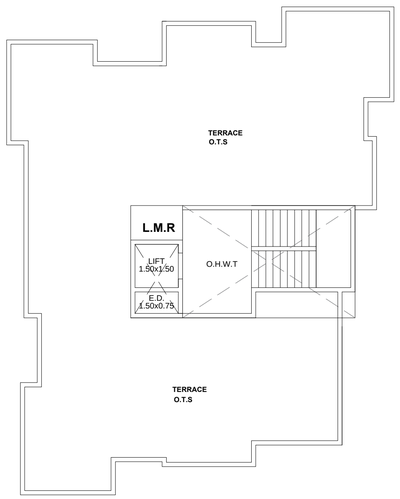

TERRACE FLOOR PLAN
SCALE -1:100

Certificate of Area:
Certified that the plot under reference was surveyed by me on_____ and the dimensions of sides etc. of plot stated on plan are as measured on site and the area so worked out tallies with the area stated in document of Ownership/ T.P. Scheme Records/Land Records Department/City Survey records.

Signature
(Name of Architect/ Licensed Engineer/ Supervisor.)

Owner's Declaration -
I/We undersigned hereby confirm that I/We would abide by plans approved by Authority / Collector. I/We would execute the structure as per approved plans. Also I/We would execute the work under supervision of proper technical person so as to ensure the quality and safety at the work site.

Owner (s) name and signature

LEGENDS:
PLOT BOUNDRY SHOWN WHITE
PROPOSED WORK SHOWN RED
DRAINAGE LINE SHOWN YELLOW LIGHT
WATER LINE SHOWN BLUE DOTTED
SEPTIC TANK SHOWN BROWN
TERRACE SHOWN DARK YELLOW
OPEN BAL SHOWN BRWN
EXISTING SHOWN BLUE HATCHED

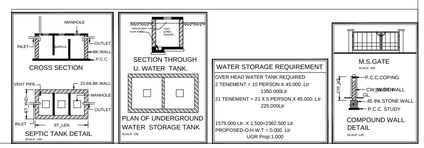

SEPTIC TANK DETAIL

WATER STORAGE REQUIREMENT
OVER HEAD WATER TANK REQUIRED
0 TENEMENT = 10 PERSON X 45.000 .Ltr 1350.000Ltr
21 TENEMENT = 21 X 5 PERSON X 45.000 .Ltr 225.000Ltr
1575.000 Ltr. X 1.500=2362.500 Ltr
PROPOSED-O.H.W.T = 0.000 .Ltr
UGR Prop:1,000

Name Of : Owner Sandeep Ramchandra Bhoir

Postal Address : room no 4 sai ram co-op soc,gupte road,Kalyan,Thane,Maharashtra-421202

Phone No.:9967496981

DESCRIPTION OF PROJECT :

Type of Proposal : Mixed
BUILDING ON CTS. NO./SURVEY NO.-2093

SITE ADDRESS :
C.T.S. NO. 2093, Mouje -Navagaon, Dombivli, Tal.- Kalyan

Name Of Architect : Gopinath Narayan Gandhe

LOGO	ADDRESS OF OFFICE
	OFFICE - 1,2, parimal darshan chsl,plot no 21,manpada road,gandhinagar

OWNERS SIGN -	TECHNICAL PERSON SIGN

SCALE -	DATE: 21/03/26	
JOB NO - KDMCC-26-34449	CHECK BY -	

SUBMISSION DRAWING

PRODUCED BY AN AUTODESK EDUCATIONAL PRODUCT
PRODUCED BY AN AUTODESK EDUCATIONAL PRODUCT
PRODUCED BY AN AUTODESK EDUCATIONAL PRODUCT