KRISHNAJU																
BUILDING	FLOORS	FSI AREA							BALCONY	TERRACE	LIFT	LIFTMRCL	DUCT	VOID	STAIR	TOTAL
		COMM	RESI.	IND.	EDU.	INS.	MLCC		PROJP					SHAFT	DEDUCTION	FP AREA
KRISHNAJU	4TH TO 7TH FLOOR	0.000	545.652	0.000	0.000	0.000	0.000	77.290	0.000	0.000	10.830	10.557	0.000	0.000	0.000	524.265
KRISHNAJU	4TH FLOOR	0.000	131.862	0.000	0.000	0.000	0.000	25.767	0.000	0.000	7.220	3.515	0.000	0.000	0.000	171.145
KRISHNAJU	1ST TO 3RD FLOOR	570.182	0.000	0.000	0.000	0.000	0.000	44.415	0.000	0.000	21.660	14.946	0.000	0.000	0.000	531.595
KRISHNAJU	GROUND FLOOR	172.191	0.000	0.000	0.000	0.000	0.000	0.000	0.000	0.000	3.610	4.992	0.000	0.000	0.000	163.609
KRISHNAJU	TOTAL	742.383	677.506	0.000	0.000	0.000	0.000	147.462	0.000	0.000	43.320	34.004	0.000	0.000	0.000	1392.595

FSI DETAILS											
Particu	Basic FSI (on serial no 7)	Premium FSI (on serial no 3)	TDR/DA (on serial no 7)	Granted FSI for green building if Applicable (On basic FSI)	Additional FSI (16.11.1 Note 3)	Ancillary Area 60% of (2+3+4+5)	Ancillary Area 80% of (2+3+4+5)	Total	Inclusive Housing (25% if Applicable	Drawing Value
0.1 Permissible Index	1.100	0.500	1.400	0.000	0.000	0.000	0.000	3.000	0.000	0.000
0.2 Funding Components	0.000	0.000	0.000	0.000	0.000	0.000	0.000	0.000	0.000	0.000
0.3 Balance Index to be Consumed	1.100	0.500	1.400	0.000	0.000	0.000	0.000	0.000	0.000	0.000
0.4 Total Permissible FSI Area	528.000	240.000	672.000	0.000	0.000	213.346	329.938	1983.284	0.000	0.000
0.5 Proposed F.Loor Area (Should not Exceed 0.4)	528.000	240.000	84.762	0.000	0.000	209.885	329.938	1392.595	0.000	1392.595
0.6 Index Consumed	1.100	0.500	0.177	0.000	0.000	0.000	0.000	1.777	0.000	0.000

Carpet Area Table								
Building Name	Floor Name	Carpet name	Tenament No	Carpet Area	Enclosed Balcony Area	Normal Balcony Area	Wasteline Area	Total Carpet Area
KRISHNAJU	GROUND FLOOR	1	1	12.587	0.000	0.000	0.000	12.587
KRISHNAJU	GROUND FLOOR	2	1	23.558	0.000	0.000	0.000	23.558
KRISHNAJU	GROUND FLOOR	3	1	19.109	0.000	0.000	0.000	19.109
KRISHNAJU	GROUND FLOOR	4	1	34.248	0.000	0.000	0.000	34.248
KRISHNAJU	1ST TO 3RD FLOOR	1	3	12.588	3.053	0.000	0.000	15.639
KRISHNAJU	1ST TO 3RD FLOOR	2	3	23.739	4.043	0.000	0.000	27.782
KRISHNAJU	1ST TO 3RD FLOOR	3	3	20.534	2.916	0.000	0.000	23.450
KRISHNAJU	1ST TO 3RD FLOOR	4	3	46.106	4.793	0.000	0.000	50.899
KRISHNAJU	4TH FLOOR	1	1	25.767	3.268	0.000	0.000	29.035
KRISHNAJU	4TH FLOOR	2	1	39.911	1.306	0.000	0.000	41.217
KRISHNAJU	5TH TO 7TH FLOOR	1	3	29.630	0.000	0.000	0.000	29.630
KRISHNAJU	5TH TO 7TH FLOOR	2	3	75.718	3.335	13.162	0.000	78.053

Parking Check (Table 6B)								
			Auto			Required		
Building Name	USE	TENAMENT AREA	car	scooter	NO.OF Tenants/Units	car	scooter	Transport Vehicle/Ambulance
KRISHNAJU	Commercial	For every 100 sq.m. of built up area or fraction thereof	2	6	89.500	1.790	5.370	-
KRISHNAJU	Commercial	For every 200 sq.m. of built up area or fraction thereof	3	11	353.310	5.300	16.432	1.000
KRISHNAJU	Residential	For every two tenements having carpet area equal to or above 60 sq.m. but less than 80 sq.m	1	2	3	1.500	3.000	-
KRISHNAJU	Residential	For every two tenements having carpet area equal to or above 80 sq.m. but less than 200 sq.m	0	2	4	0.000	4.000	-
KRISHNAJU	Residential	For every tenement having carpet area equal to or above 200 sq.m. but less than 500 sq.m	1	1	1	1.000	1.000	-
Total	-	-	-	-	-	9.590	32.802	1.000
Visitors parking(5%)	-	-	-	-	-	0.125	0.485	-
Total	-	-	-	-	-	9.715	33.202	1.000

Parking Check As Per Multiplying Factor 1.500 (note 13 & another equals to 1 car ,proposed composite parking for user 3)							
	Required			Proposed			
Building Name	Car	Scooter	Transport Vehicle/Ambulance (Min 3m)	Car	Scooter	Transport Vehicle/Ambulance (Min 3m)	Status
Total	14	49	1	15	14	1	-

Vehicle Room			
Building	Req. Size	Prop. Size	Status
KRISHNAJU	138/63.400	-	-

SCHEDULE OF OPENING				
BLK NAME	NAME	LENGTH	HEIGHT	Nos.
KRISHNAJU	v	0.601	1.200	1
KRISHNAJU	w	1.001	1.200	1
KRISHNAJU	w1	1.200	1.200	2
KRISHNAJU	z	0.600	1.200	5
KRISHNAJU	w	1.591	1.200	1
KRISHNAJU	w	1.800	1.200	7
KRISHNAJU	v	0.601	1.200	2
KRISHNAJU	w	0.750	1.200	1
KRISHNAJU	w	0.750	1.200	1
KRISHNAJU	v	0.900	1.200	3
KRISHNAJU	w	1.800	1.200	1

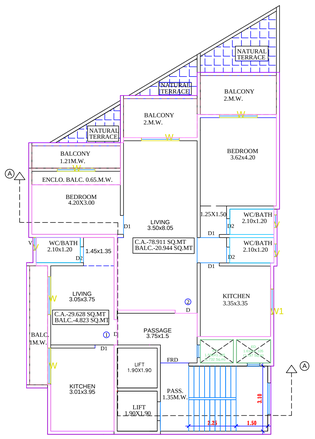

4TH FLOOR PLAN
SCALE- 1:100

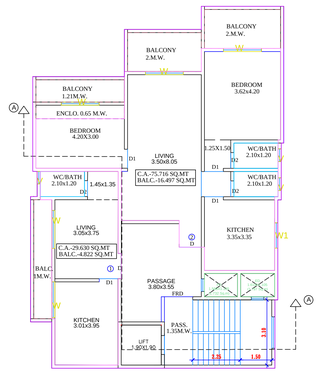

5TH TO 7 TH FLOOR PLAN
SCALE- 1:100

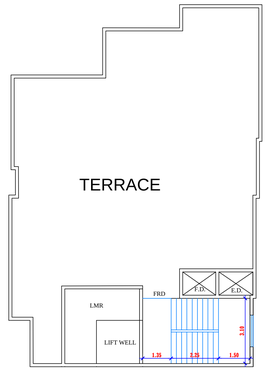

TERRACE PLAN
SCALE- 1:100

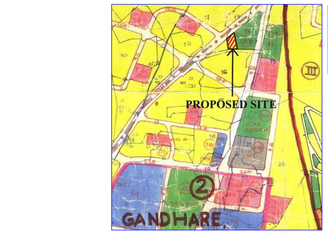

LOCATION PLAN

Project Details	
Proposal code: KDMCC-25-133184	
Zone Type: Residential Zone	
Location: Non-Congested	
Name of service: Building Development	
Sub service	
CTS No./Survey No.: -	
Tahsil: Sector-3	
Mouzi: Gandhare	
Priority Value: 0.000	
Developed/PCT Zone Area :	

LEGENDS:
POST BOUNDARY GANDHARE WHITE
PROPOSED BUILDING BLUE DOTTED
DEPARKED LINE BROWN YELLOW LIGHT
WATER LINE BROWN BLUE DOTTED
SEWERAGE LINE BROWN GREEN
SEPERATE NATURAL DRAIN YELLOW
ROAD LINE BROWN
EXISTING BROWN BLUE WITCHED

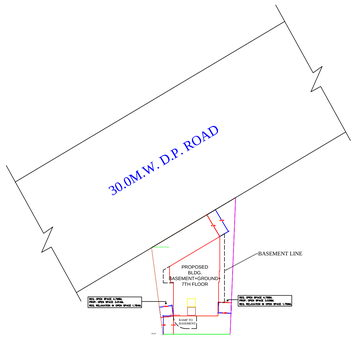

LAYOUT PLAN
SCALE- 1:500

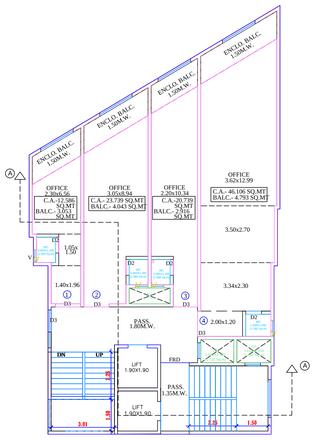

1ST TO 3RD FLOOR PLAN
SCALE- 1:100

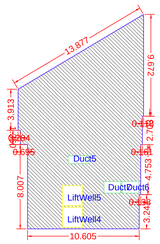

BUILT-UP AREA CALCULATION 1ST TO 3RD FLOOR KRISHNAJUI

BUILT UP AREA CALCULATION 1ST TO 3RD FLOOR KRISHNAJU			
AREA NAME	LENGTH	WIDTH	AREA(SQ.M)
BLOCK	25.976	10.605	275.505
BLOCK AREA TOTAL 1100.000SQ.M			
LiftWell5	-	-	3.610
LiftWell6	-	-	3.610
Duct7	-	-	1.752
Duct8	-	-	1.463
TOTAL Deduction =10.435Sq.M			
Net Built-Up Area =1277.682 Sq.M			

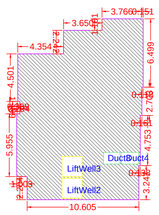

BUILT-UP AREA CALCULATION 4TH FLOOR KRISHNAJUI

BUILT UP AREA CALCULATION 4TH FLOOR KRISHNAJU			
AREA NAME	LENGTH	WIDTH	AREA(SQ.M)
BLOCK	27.202	10.605	291.390
BLOCK AREA TOTAL 1165.560SQ.M			
LiftWell3	-	-	3.610
LiftWell2	-	-	3.610
Duct3	-	-	1.767
Duct4	-	-	1.752
TOTAL Deduction =10.739Sq.M			
Net Built-Up Area =1171.181 Sq.M			

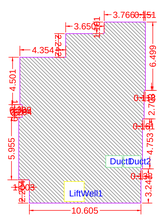

BUILT-UP AREA CALCULATION 5TH TO 7TH FLOOR KRISHNAJUI

BUILT UP AREA CALCULATION 5TH TO 7TH FLOOR KRISHNAJU			
AREA NAME	LENGTH	WIDTH	AREA(SQ.M)
BLOCK	27.202	10.605	291.390
BLOCK AREA TOTAL 1165.560SQ.M			
LiftWell1	-	-	3.610
LiftWell2	-	-	3.610
Duct1	-	-	1.767
Duct2	-	-	1.752
TOTAL Deduction =10.739Sq.M			
Net Built-Up Area =1171.181 Sq.M			

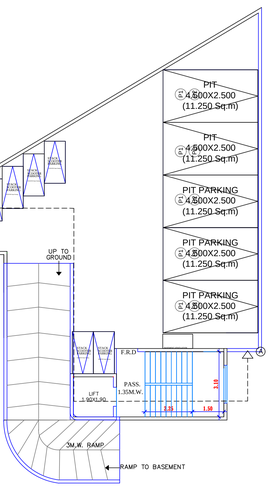

BASEMENT FLOOR PLAN
SCALE- 1:100

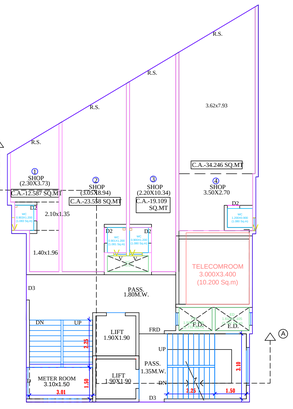

GROUND FLOOR PLAN
SCALE- 1:100

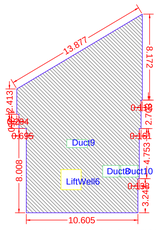

BUILT-UP AREA CALCULATION GROUND FLOOR KRISHNAJUI

BUILT UP AREA CALCULATION GROUND FLOOR KRISHNAJU			
AREA NAME	LENGTH	WIDTH	AREA(SQ.M)
BLOCK	18.876	11.922	212.101
BLOCK AREA TOTAL 1275.159SQ.M			
LiftWell6	-	-	3.610
Duct9	-	-	1.767
Duct10	-	-	1.463
Duct9	-	-	1.752
TOTAL Deduction =8.592Sq.M			
Net Built-Up Area =1266.568 Sq.M			

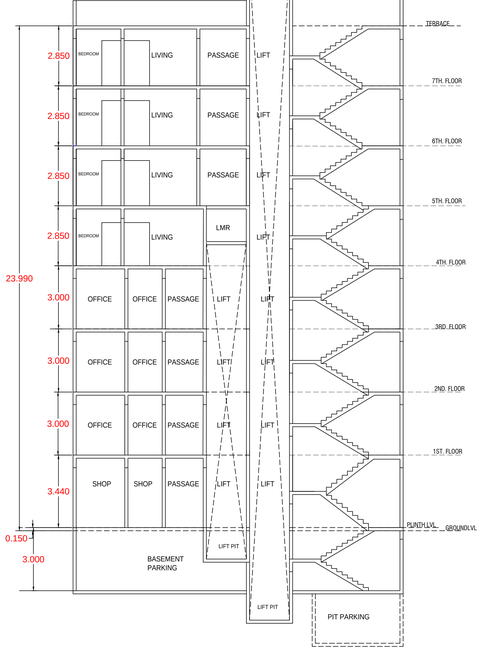

SECTION AA
SCALE- 1:100

A.	AREA STATEMENT	IN SQ.MT.
A)	AREA OF PLOT	
a)	As per ownership document (7/12,cts extract)	480.00
b)	As per measurement sheet	480.00
c)	As per agreement	480.00
	DEDUCTIONS FOR	
a)	9.00 M. W. D.P.ROAD EXISTING SANCTION	0.00
c)	ANY RESERVATIONS	0.00
	TOTAL (a+b+c)	0.00
	BALANCE AREA OF PLOT (1 Minus 2)	0.00
	AMMENITY SPACE IF APPLICABLE	
a)	REQUIRED	--
b)	ADJUSTMENT OF IF ANY	--
c)	BALANCE PROPOSED	--
	NET PLOT AREA (3-4)(C))	480.00
	RECREATIONAL OPEN SPACE (IF APPLICABLE)	--
a)	REQUIRED	--
b)	PROPOSED	--
	INTERNAL ROAD AREA	--
	PLOTABLE AREA	
	BUILT UP AREA WITH REFERANCE TO BASIC FSI AS PER FRONT ROAD WIDTH (SR.NO: 5 X BASIC FSI) 480.00 X 1.10 = 528.00	528.00
a)	ADDITION OF FSI ON PAYMENT PREMIUM MAXIMUM PERMISSIBLE PREMIUM FSI BASED ON ROAD WIDTH /TOD ZONE 480.00 X 0.50 = 240.00	240.00
	IN-SITU FSI/TDR LOADING	
a)	IN-SITU AREA AGAINST D.P. ROAD (1.0 xSR.NO:2 (a))	0.00
b)	IN-SITU EXISTING TDR AREA	0.00
c)	TDR AREA	84.762
d)	TOTAL IN-SITU / TDR LOADING PROPOSED (11 (a)+(b)+(c)	0.00
	ADDITIONAL FSI AREA UNDER CHAPTER NO.7.6.1	--
	TOTAL ENTITLEMENT OF FSI IN THE PROPOSAL	
a)	[9+10(b)+11(d) or 12 WHICHEVER IS APPLICABLE	852.762
b)	ANCILLARY AREA FSI UPTO 60% OR 80% WITH PAYMENT OF CHARGES COMMERCIAL AREA = 412.435 X 80% = 329.948 SQ.MT RESIDENTIAL AREA = 355.565X 60% = 213.339 SQ.MT TOTAL = 543.287 SQ.MT OUT OF THIS = 539.833	539.833
c)	TOTAL ENTITLEMENT (a+b)	1392.595
	MAXIMUM UTILISATION LIMIT OF FSI (BUILDING POTENTIAL) PERMISSIBLE AS PER ROAD WIDTH As per Regulation no. 6.1 or 6.2 or 6.3 or 6.4 as applicable) x 1.6 or 1.8	
	TOTAL BUILT UP AREA IN PROPOSAL (EXCLUDING AREA AT SR. NO.17(b)	
	PROPOSED BUILT UP AREA (AS PER P-LINE)	1392.595
	AREA FOR INCLUSIVE HOUSING IF ANY	
(a)	REQUIRED (20% OF SR. NO: 5)	
(b)	PROPOSED (20% OF SR. NO.:5)	

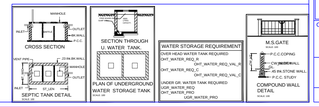

Proforma I : Area Statement

1. Area of plot. (Minimum area of a, b, c to be considered)	480.000
(a) As per ownership document (7/12, CTS extract)	480.000
(b) as per TILR or City Survey measurement sheet	480.000
(c) as per Demarcated drawing area	480.000
LESS	--
2.Area not in possession	0.000
3. Area Proposed for development (out of 1-2)	480.000
4.Deductions for	-
(a) Proposed D.P./ D.P. Road widening Area / Service Road / Highway widening	0.000
(b) Any D.P. Reservation area	0.000
(c) Green Belt	0.000
Total (a+b+c)	0.000
5.Balance area of plot (3-4)	480.000
6. Amenity Space	0.000
(Applicable if (1) > 20000 sqmt	-
(Required -(a) Upto 20000 sqmt - Nil	-
(b) Above 20000 sqmt - (a) + 5% of Total area	0.000
7. Net Plot Area (5-6)	480.000
8. Recreational Open Space	-
(a) If area (5) is more than 4000 sqmt - 10 % of (5) is required.	0.000
Proposed	0.000
(b) If area is less than 4000 sqmt -Check -	-
i) If it is full number like 1,2,125,419,etc. As per 7.12 abstract or City Survey Number - No Recreational open space is required	-
ii) If it is subdivision like 1/2 ,2/5 , 125/1 419/1 etc.then recreational open space is required.	-
(A) 10 % Subject to minimum 200 sqmt	0.000
Proposed	0.000
(B) Exemption to leave open space subject to availing basic F.S.I of 75 %	-
(C) Exemption to leave open space subject to payment of 10 % land value of land at (7) as per annual statement of rate.	-

Architect/ Licensed Engineer/ Supervisor name and signature

Registration No. of Architect/ License no. of Licensed Engineer/ Supervisor: CA/2019/106930

Certificate of Area :-
Certified that the plot under reference was surveyed by me on _____ and the dimensions of sides etc. of plot stated on plan are as measured on site and the area so worked out tallies with the area stated in document of Ownership/ T.P. Scheme Records/Land Records Department/City Survey records.

Signature
(Name of Architect/ Licensed Engineer/ Supervisor.)

Owner's Declaration :-
I/We undersigned hereby confirm that I/We would abide by plans approved by Authority / Collector. I/We would execute the structure as per approved plans. Also I/We would execute the work under supervision of proper technical person so as to ensure the quality and safety at the work site.

Owner (s) name and signature

Name Of : Owner Vicky Ramdas Patil

Postal Address : ADHARWADI ROAD OPP HANUMAN MANDIR,GANDHARI GAON,KALYAN WEST,Thane,Maharashtra-421301
Phone No.:9664377238

DESCRIPTION OF PROJECT :
Type of Proposal : Mixed
BUILDING ON CTS. NO./SURVEY NO.--

SITE ADDRESS :
PROPOSED BUILDING ON PLOT BEARING S.NO.-14, H.NO.1/D AT VILLAGE GANDHARE, TAL-KALYAN, DISTRICT-THANE

Name Of Architect : Tejas Anil Nirgude

LOGO | ADDRESS OF OFFICE
OFFICE :
5TH FLOOR, MIDTOWN EMBASSY, BEHIND VASANT VALLEY BUS DEPOT, OPP. NARAYANA SCHOOL, GANDHARE, KALYAN - 421301

OWNERS SIGN - | TECHNICAL PERSON SIGN
TEJAS ANIL NIRGUDE — Digitally signed by TEJAS ANIL NIRGUDE Date: 2025.09.03 15:00:01 +05'30'

SCALE -	Date: 03/12/25
JOB NO - KDMCC-25-133184	CHECK BY -

SUBMISSION DRAWING