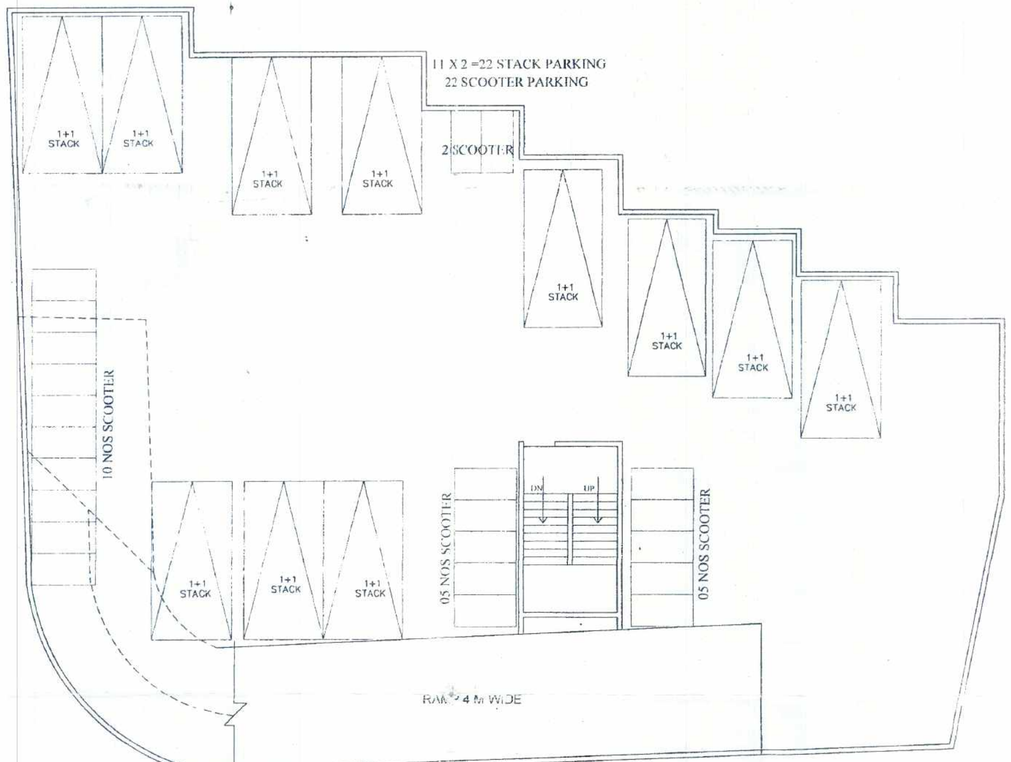

BASEMENT FLOOR PLAN

SCALE 1:500

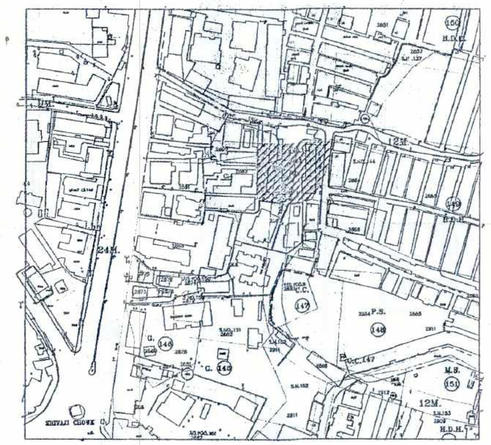

LOCATION PLAN

SCALE 1: 2500

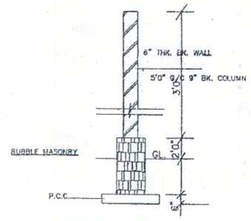

TYPICAL SECTION COMPOUND WALL

DOORS & WINDOWS SCHEDULE		
SIZE W X H	AREA IN SQ.MTS.	DISCRIPTION
D 1.05M X 2.15M	2.15	T.W.FLUSHED DOOR
D1 0.90M X 2.15M	1.93	T.W.PANELLED DOOR
D2 0.75M X 2.00M	1.50	——— " ———
W 2.00M X 2.10M	4.20	T.W.GLAZED WINDOW
W1 0.900M X 1.20M	1.08	——— " ———
W2 2.000M X 1.20M	1.50	——— " ———
V 0.600M X 0.75M	0.45	GLASS LOUVERS
RS		ROLLING SHUTTER

FORM OF STATEMENT 2

[SR.NO. 9(a)]
HDH RESERVATION

FLOOR NO.		TOTAL BUILT-UP AREA OF FLOOR, AS PER OUTER CONSTRUCTION LINE
G.R	=	–
1ST	=	–
2ND	=	192.42 SQ.MT
3RD	=	–
4TH	=	–
5TH	=	–
6TH	=	–
7TH	=	–
8TH	=	–
9TH	=	–
10TH	=	–
11TH	=	–
12TH	=	–
13TH	=	–
14TH	=	–
TOTAL	=	192.42 SQ.MT

FORM OF STATEMENT 3

[SR.NO. 9(g)]
AREA DETAILS OF HDH RESERVATION

FLOOR NO.	APARTMENT SHOP/OFFICE NO.	CARPET AREA OF APARTMENT (IN SQ.M)	AREA OF BALCONY ATTACHED TO APARTMENT (IN SQ.M)
2ND	FLAT 1	42.53	12.28
	FLAT 2	33.47	5.50
	FLAT 3	46.95	9.86

FORM OF STATEMENT 3

[SR.NO. 9(g)]
AREA DETAILS OF APARTMENT

FLOOR NO.	APARTMENT SHOP/OFFICE NO.	CARPET AREA OF APARTMENT (IN SQ.M)	AREA OF BALCONY ATTACHED TO APARTMENT (IN SQ.M)
GROUND	SHOP 1	34.91	–
	SHOP 2	12.74	–
	SHOP 3	13.40	–
	SHOP 4	22.87	–
	SHOP 5	8.94	–
	SHOP 6	24.77	–
	SHOP 7	18.67	–
	SHOP 8	12.99	–
	SHOP 9	16.79	–
1ST	OFFICE 1	29.64	-
	OFFICE 2	43.15	-
	OFFICE 3	25.87	-
	OFFICE 4	44.53	-
	OFFICE 5	44.98	-
2ND	FLAT 4	20.90	3.48
	FLAT 5	19.86	-
3RD TO 7TH 9TH TO 12TH & 14TH	FLAT 1	60.11	12.28
	FLAT 2	67.63	7.41
	FLAT 3	35.18	10.17
	FLAT 4	38.42	10.78
8TH,13TH	FLAT 1	60.11	12.28
	FLAT 2	67.63	7.41
	FLAT 3	REFUGE AREA	
	FLAT 4	38.42	10.78

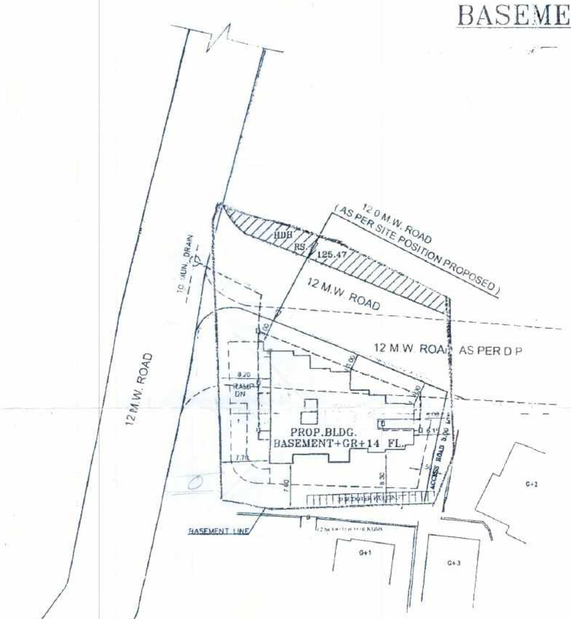

LAYOUT PLAN

SCALE 1: 500

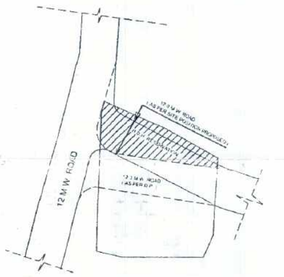

LAYOUT PLAN

SCALE 1: 500

FORM OF STATEMENT 2

[SR.NO. 9(a)]
PROPOSED BUILDING

FLOOR NO.		TOTAL BUILT-UP AREA OF FLOOR, AS PER OUTER CONSTRUCTION LINE
G.R	=	253.97 SQ.MT
1ST	=	265.40 SQ.MT
2ND	=	272.80 SQ.MT
3RD	=	317.72 SQ.MT
4TH	=	317.72 SQ.MT
5TH	=	317.72 SQ.MT
6TH	=	317.72 SQ.MT
7TH	=	317.72 SQ.MT
8TH	=	269.67 SQ.MT
9TH	=	317.72 SQ.MT
10TH	=	317.72 SQ.MT
11TH	=	317.72 SQ.MT
12TH	=	317.72 SQ.MT
13TH	=	269.67 SQ.MT
14TH	=	317.72 SQ.MT
AMENTY FLOOR	=	20.67 SQ.MT
TOTAL	=	4329.38 SQ.MT

PARKING STATEMENT

FLAT CARPET AREA IN SQ.MT.	No. OF FLATS	REQUIRED CAR	REQUIRED SCOOTER
BELOW 30 SQ.MT. EVERY 2 TENEMENT- 4 SCOOTER	02	-	02
30 TO 40 SQ.MT. EVERY 2 TENEMENT 1 CAR & 2 SCOOTER	25	12.50	25
40 TO 80 SQ.MT. EVERY 2 TENEMENT 1CAR & 5 SCOOTER	24	12	24
80 TO 150 SQ.MT. EVERY ONE TENEMENT 1 CAR & 3 SCOOTER	–	-	-
150 SQ.MT.& ABOVE EVERY ONE TENEMENT 2 CAR &3 SCOOTER	–	-	-
TOTAL NO OF RESIDENTIAL PARKING	51	25	51
ADD VISITOR PARKING FOR RESIDENTIAL 5%		1.25	2.55
COMMERCIAL AREA EVERY 100 SQ.MT 2 CAR & 6 SCOOTER	354.25	7.05	21.25
ADD VISITOR PARKING FOR COMMERCIAL 20%		1.41	4.25
TOTAL NO OF PARKING		34.74	79
PARKING REQUIRED AS PER TABLE NO. 8 (80% OF PARKING		28.00	63
PARKING PROPOSED WITH COMPOSITE PARKING		--	--
BASEMENT /STACK PARKING 11X2=22		24	22
OPEN /STACK/ PUZZLE/MECHANICAL PARKING 3X3=15 (15.4 TTS)		11	–
TOTAL PROPOSED NO OF PARKING		35	42

APPENDIX – C

THE PLANS PREPAED BY ME ARE IN ACCORDANCE WITH THE NORMS AS SPECIFIED BY INDIAN STANDARD INSTITUTE & WILL BE HELD RESPONSOBLE FOR ANY HARM CAUSED IN EARTHQUAKE DUE TO NEGLIGENCE THE STANDARDS

R.C.C.ENGINEER'S SIGNATURE

LAYOUT PLAN

SHEET NO 1/03

STAMP OF APPROVAL OF PLAN

OFFICE OF THE KALYAN DOMBIVLI MUNICIPAL CORPORATION, KALYAN.

Building Permit No. :- KDMC/TPD/BP/KD/2021-22/70/201.

Date :- 07/07/2022.

SANCTIONED

ASSISTANT DIRECTOR OF TOWN PLANNING
Kalyan-Dombivli Municipal Corporation

KALYAN DOMBIVLI MUNICIPAL CORPORATION कल्याण डोंबिवली महानगरपालिका

PROFORMA – A

			IN SQ.MT.
1	A.	AREA OF PLOT	
	a)	As per ownership documents (7/12,ext.,sale deed)	1416.39
	b)	As per measurement sheet	1416.39
	c)	As per site	1416.39
2		DEDUCTIONS FOR	
	a)	PROPOSED DP 12.0 M DP ROAD WIDENING AREA/SERVICE ROAD/HIGHWAY WIDENING	488.00
	b)	H.D.H RESERVATION AREA	192.42
	c)	TOTAL (a+b)	865.42
3		BALANCE AREA OF PLOT (1-2 Minus 2) (550.00 SQ.MT. R ZONE) H.D.H. RESERVATION UNDER ACCOMODATION POLICY WITH R ZONE (550.00+192.00 SQ.MT.) 728.00X40% PLOT FOR R ZONE=291.20 SQ.MT. @ 50% CONSTRUCTED AREA (582.40 SQ.MT.)	928.89
4		AMMENITY SPACE IF APPLICABLE	
	a)	REQUIRED	–
	b)	ADJUSTMENT OF IF ANY	
	c)	BALANCE PROPOSED	
5		NET PLOT AREA (3-4(C))	928.89
6		RECREATIONAL OPEN SPACE (IF APPLICABLE)	
	a)	REQUIRED	–
	b)	PROPOSED	–
7		INTERNAL ROAD AREA	–
8		PLOTABLE AREA	–
9		BUILT UP AREA WITH REFERANCE TO BASIC FSI AS PER FRONT ROAD WIDTH (SR.NO. 5 A BASIC FSI= 928.89 X 1.10 = 1021.77	1021.77
10		ADDITION OF FSI ON PAYMENT PREMIUM	
	a)	MAXIMUM PERMISSIBLE PREMIUM FSI BASED ON ROAD WIDTH /TGD ZONE	708.18
	b)	PROPOSED FSI ON PAYMENT OF PREMIUM 1416.39 X 0.5 =708.18 OUT OF THIS	
11		IN-SITU FSI/TDR LOADING	
	a)	IN-SITU AREA AGAINST D.P. ROAD SR.NO.2 (b) 487.00X2.05=998.35 OUT OF THIS	850.00
	b)	IN-SITU AREA AGAINST AMENITY SPACE IF HANDED OVER (2.00 OR 1.85 X SR. NO.4 (b) AND / or (C)	
	c)	TDR AREA	
	d)	TOTAL IN-SITU / TDR LOADING PROPOSED (11 (a)+(b)+(c))	850.00
12		ADDITIONAL FSI AREA UNDER CHAPTER NO 7 (AS PER SANCTION TENENT FSI)	66.43
13		TOTAL ENTITLEMENT OF FSI IN THE PROPOSAL	
	a)	(9+10(b)+11(d)) or 12 WHICHEVER IS APPLICABLE	2271.30
	b)	ANCILLARY AREA FSI UPTO 60% OR 80% WITH PAYMENT OF CHARGES COMMERCIAL AREA (519.37 X 80%) = 415.49 RESIDENTIAL AREA (2127.96 X 60%) = 1276.83	1678.70
	c)	TOTAL ENTITLEMENT (a+b)	4150.00
14		MAXIMUM UTILISATION LIMIT OF FSI BUILDING POTENTIAL (PERMISSIBLE) AS PER ROAD WIDTH As per Regulation no. 6.1 or 6.2 or 6.3 or 6.4 as applicable (x 1.5 or 1.8	
15		TOTAL BUILT UP AREA IN PROPOSAL (EXCLUDING AREA AT SR. NO 7(b))	2459.00
	a)	PROPOSED BUILT UP AREA (AS PER P LINE)	4329.38
	b)	EXISTING BUILT UP AREA	
	c)	TOTAL (a+b)	4329.38
16		FSI CONSUMED (15/13)	
17		AREA FOR INCLUSIVE HOUSING IF ANY	
	(a)	REQUIRED (20% OF SR. NO. 5)	
	(b)	PROPOSED (20% OF SR. NO. 5)	

CERTIFICATE OF AREA

CERTIFICATE THAT THE PLOT UNDER REFERANCE WAS SURVEYED BY ME ON — AND THAT THE DIMENSIONS OF THE SIDES ETC. OF THE PLOT STATED ON THE PLAN ARE AS MEASURED ON SITE AND THE AREA SO WORKED AND TALLIES WITH THE AREA STATED IN THE DOCUMENT OF OWNERSHIP
TOWN PLANNING SCHEME RECORDS/LAND RECORDS DEPARTMENT/CITY SURVEY RECORDS

SIGNATURE OF ARCHITECT

OWNER'S DECLARATION

I/WE UNDER SIGNED HEREBY CONFIRM THAT I/WE WOULD ABIDE BY PLANS APPROVED BY AUTHORITY COLLECTOR I/WE WOULD EXECUTE THE STRUCTURE AS PER APPROVED PLANS. ALSO I/WE WOULD EXECUTE THE WORK UNDER SUPERVISION OF TECHNICAL PERSON SO AS TO ENSURE THE QUALITY AND SAFETY AT THE WORK SITE

OWNER'S NAME AND SIGNATURE

LEGENDS

PLOT BOUNDRY SHOWN IN THICK BLACK
EXISTING STREET SHOWN IN GREEN
PROPOSED STREET GREEN DOTTED
PROPOSED PORTION SHOWN IN THICK DOTTED BLACK
EXISTING WORK SHOWN IN
WORK PROPOSED TO BE DEMOLISHED SHOWN IN YELLOW HATCHED
PROPOSED WORK SHOWN IN RED
DRAINAGE & SEWERAGE WORK SHOWN IN RED DOTTED
WATER SUPPLY WORK SHOWN IN BLACK DOTTED THIN

NOTES

DRAWING IN SCALE
ALL DIMENSIONS ARE IN METERS
DRAWING IS NOT TO BE SCALED

ARCHITECT
ANIL R. NIRGUDE. TEJAS A. NIRGUDE.

SIGNATURE OF OWNERS.

837.01 DRG. NO.	PROPOSED BUILDING PLAN UNDER ACCOMODATION POLICY WITH HDH RESERVATION ON PLOT BEARING ON CTS NO. 2863A & 2863B AT VILLAGE KALYAN, TAL.KALYAN. DIST. THANE
AS SHOWN SCALE	M/S. RAJENDRA ENTERPRISES THROUGH SHRI PRAKASHKUMAR GANESHMAL JAIN & OTHERS
09/06/2022 DATE	
ANIL CHD. BY.	VITAN CONSULTANTS ARCHITECTS & ENGINEERS B-101,Bindu Tower,1st Floor,Opp Lourdes English School, Santoshi Mata Road , Kalyan – 421301
PRATHAM CAD/DRN	

BUILDING PLAN | SHEET NO 2/03

STAMP OF APPROVAL OF PLAN

OFFICE OF THE KALYAN DOMBIVLI MUNICIPAL CORPORATION, KALYAN.

Building Permit No. :- KDMC/TPD/BP/KD/2021-22/70/201.

Date :- 07/07/2022.

SANCTIONED

KALYAN-DOMBIVLI MUNICIPAL CORPORATION कल्याण डोंबिवली महानगरपालिका जि. ठाणे DIST. THANE

ASSISTANT DIRECTOR OF TOWN PLANNING Kalyan-Dombivli Municipal Corporation

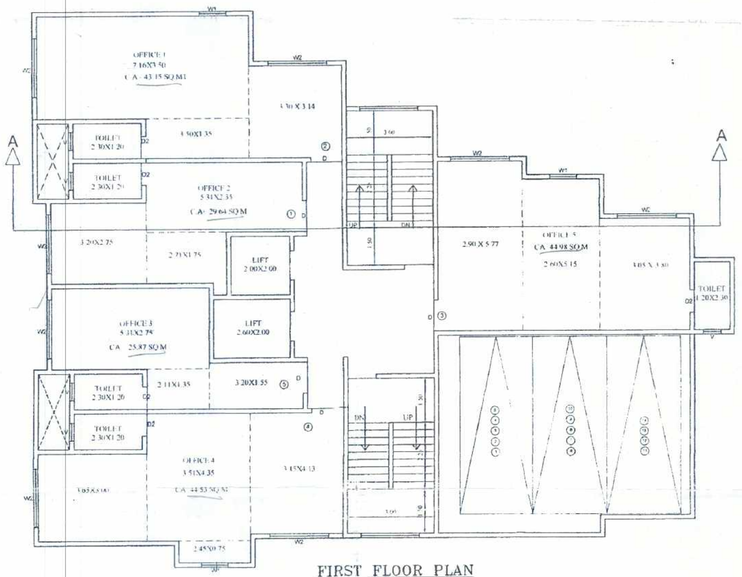

FIRST FLOOR PLAN

SCALE-1:100

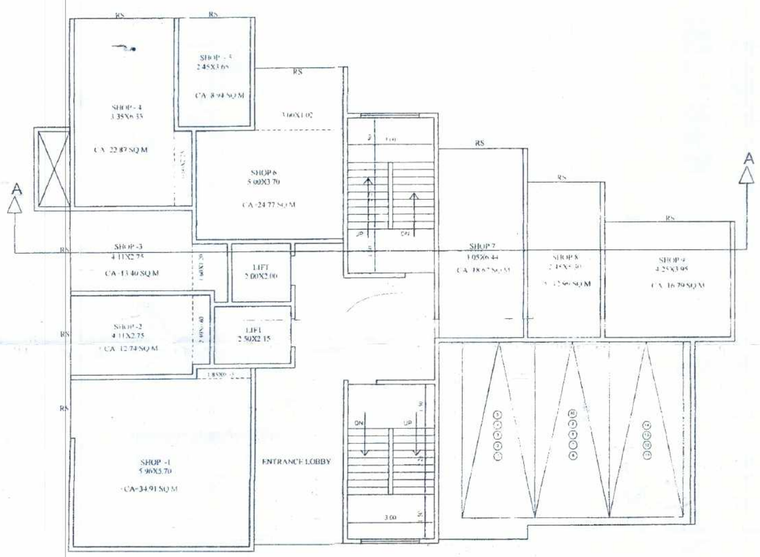

GROUND FLOOR PLAN

SCALE-1:100

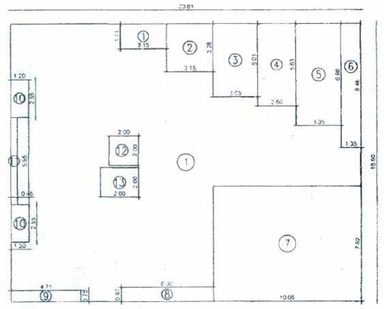

AREA DIADRAM

FIRST FLOOR

SCALE-1:200

BUILT UP AREA CALCULATION

1ST FLOOR								
1	23.81	X	18.90	X	1 NO	=	450.01	SQ.MT.
			TOTAL ADDITION			=	450.01	SQ.MT. X
DEDUCTIONS								
1	3.15	X	1.71	X	1 NO	=	5.39	SQ.MT.
2	3.15	X	3.28	X	1 NO	=	10.33	SQ.MT.
3	3.05	X	5.01	X	1 NO	=	15.28	SQ.MT.
4	2.60	X	5.63	X	1 NO	=	14.64	SQ.MT.
5	3.05	X	6.98	X	1 NO	=	21.29	SQ.MT.
6	1.35	X	8.48	X	1 NO	=	11.45	SQ.MT.
7	10.05	X	7.82	X	1 NO	=	78.59	SQ.MT.
8	6.30	X	0.97	X	1 NO	=	6.11	SQ.MT.
9	4.71	X	0.75	X	1 NO	=	3.53	SQ.MT.
10	1.20	X	2.55	X	2 NOS	=	6.12	SQ.MT.
11	0.45	X	5.95	X	1 NO	=	2.68	SQ.MT.
12	2.00	X	2.00	X	1 NO	=	4.00	SQ.MT.
13	2.60	X	2.00	X	1 NO	=	5.20	SQ.MT.
			TOTAL DEDUCTION			=	184.61	SQ.MT. Y1
TOTAL BUILT UP AREA [X - Y1]						=	265.40	SQ.MT. X1

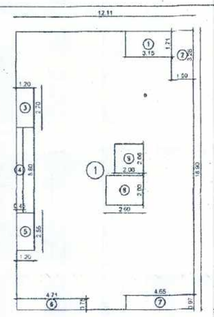

AREA DIAGRAM

HDH RESERVATION

2ND FLOOR

SCALE-1:200

BUILT UP AREA CALCULATION

2ND FLOOR (HDH RESERVATION)								
1	12.11	X	18.90	X	1 NO	=	228.88	SQ.MT.
			TOTAL ADDITION			=	228.88	SQ.MT. X
DEDUCTIONS								
1	3.15	X	1.71	X	1 NO	=	5.39	SQ.MT.
2	1.50	X	3.28	X	1 NO	=	4.92	SQ.MT.
3	1.20	X	2.70	X	1 NO	=	3.24	SQ.MT.
4	0.45	X	5.80	X	1 NO	=	2.61	SQ.MT.
5	1.20	X	2.55	X	1 NO	=	3.06	SQ.MT.
6	4.71	X	0.75	X	1 NO	=	3.53	SQ.MT.
7	4.65	X	0.97	X	1 NO	=	4.51	SQ.MT.
8	2.60	X	2.00	X	1 NO	=	5.20	SQ.MT.
9	2.00	X	2.00	X	1 NO	=	4.00	SQ.MT.
			TOTAL DEDUCTION			=	36.46	SQ.MT. Y1
TOTAL BUILT UP AREA [X - Y1]						=	192.42	SQ.MT. X1

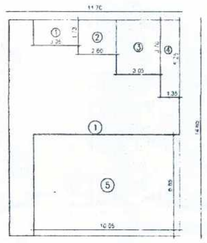

AREA DIAGRAM

2ND FLOOR

SCALE-1:200

BUILT UP AREA CALCULATION (PLINE)

2ND FLOOR								
1	11.70	X	14.65	X	1 NO		171.41	SQ.MT.
			TOTAL ADDITION				171.41	SQ.MT. X
DEDUCTIONS								
1	3.05	X	1.73	X	1 NO		5.28	SQ.MT.
2	2.60	X	2.35	X	1 NO		6.11	SQ.MT.
3	3.05	X	3.70	X	1 NO		11.29	SQ.MT.
4	1.35	X	5.25	X	1 NO		7.09	SQ.MT.
5	10.05	X	6.85	X	1 NO		68.84	SQ.MT.
			TOTAL DEDUCTION				98.61	SQ.MT. Y1
TOTAL BUILT UP AREA [X - Y1]							72.80	SQ.MT. X1

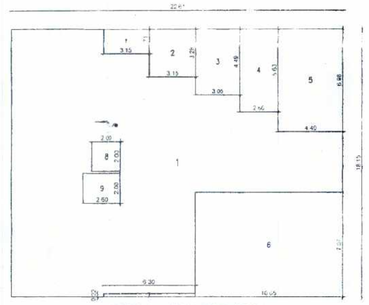

AREA DIADRAM

GROUND FLOOR

SCALE-1:200

BUILT UP AREA CALCULATION

GROUND FLOOR								
1	22.61	X	18.15	X	1 NO	=	410.37	SQ.MT.
			TOTAL ADDITION			=	410.37	SQ.MT. X
DEDUCTIONS								
1	3.15	X	1.71	X	1 NO	=	5.39	SQ.MT.
2	3.15	X	3.28	X	1 NO	=	10.33	SQ.MT.
3	3.05	X	4.49	X	1 NO	=	13.69	SQ.MT.
4	2.60	X	5.63	X	1 NO	=	14.64	SQ.MT.
5	4.40	X	6.98	X	1 NO	=	30.71	SQ.MT.
6	10.05	X	7.07	X	1 NO	=	71.05	SQ.MT.
7	6.30	X	0.22	X	1 NO	=	1.39	SQ.MT.
8	2.00	X	2.00	X	1 NO	=	4.00	SQ.MT.
9	2.60	X	2.00	X	1 NO	=	5.20	SQ.MT.
			TOTAL DEDUCTION			=	156.40	SQ.MT. Y1
TOTAL BUILT UP AREA [X - Y1]						=	253.97	SQ.MT. X1

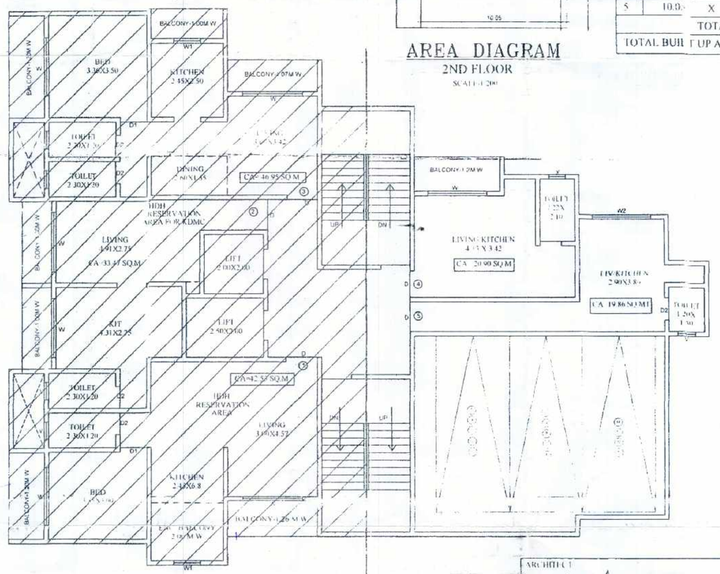

SECOND FLOOR PLAN

SCALE-1:100

ARCHITECT ANIL R. NIRGUDE. TEJAS A. NIRGUDE.		SIGNATURE OF OWNERS.
837.02 DRG. NO.	PROPOSED BUILDING PLAN UNDER ACCOMODATION POLICY WITH HDH RESERVATION ON PLOT BEARING ON CTS NO. 2863A & 2863B AT VILLAGE KALYAN, TAL.KALYAN, DIST. THANE	
AS SHOWN SCALE	M/S. RAJENDRA ENTERPRISES THROUGH SHRI. PRAKASHKUMAR GANESHMAL JAIN & OTHERS	
09.06/2022 DATE		
ANIL CHD. BY.	VITAN CONSULTANTS ARCHITECTS & ENGINEERS B-101,Bindu Tower,1st Floor,Opp Lourdes English School, Santoshi Mata Road , Kalyan - 421301	
PRATHAM CAD DRN		

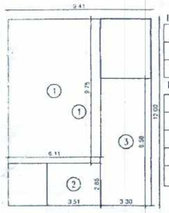

AREA DIAGRAM

SCALE-1:200

BUILT UP AREA CALCULATION

AMENTY FLOOR					
1	9.41 X 12.60 X 1 NO	=	118.57	SQ.MT.	
TOTAL ADDITION		=	118.57	SQ.MT.	
DEDUCTIONS					
1	6.11 X 9.75 X 1 NO	=	59.58	SQ.MT.	
2	3.51 X 2.85 X 1 NO	=	10.00	SQ.MT.	
3	3.30 X 8.58 X 1 NO	=	28.32	SQ.MT.	
TOTAL DEDUCTION		=	97.90	SQ.MT.	
TOTAL BUILT UP AREA [X - Y1]		=	20.67	SQ.MT.	

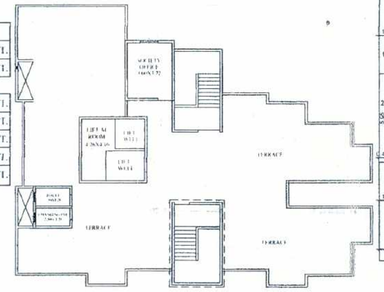

AMENTY FLOOR PLAN

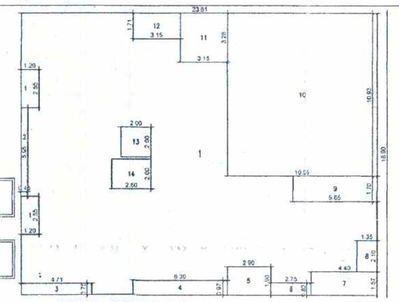

AREA DIAGRAM

SCALE-1:200

BUILT UP AREA CALCULATION

8TH,13TH FLOOR							
1	23.81	X	18.90	X	1 NO	=	450.01 SQ.MT.
TOTAL ADDITION						=	450.01 SQ.MT. X
DEDUCTIONS							
1	1.20	X	2.55	X	2 NOS	=	6.12 SQ.MT.
2	0.45	X	5.95	X	1 NO	=	2.68 SQ.MT.
3	4.71	X	0.75	X	1 NO	=	3.53 SQ.MT.
4	6.30	X	0.97	X	1 NO	=	6.11 SQ.MT.
5	2.90	X	1.90	X	1 NO	=	5.51 SQ.MT.
6	2.75	X	0.82	X	1 NO	=	2.26 SQ.MT.
7	4.40	X	1.57	X	1 NO	=	6.91 SQ.MT.
8	1.35	X	2.10	X	1 NO	=	2.84 SQ.MT.
9	5.65	X	1.70	X	1 NO	=	9.61 SQ.MT.
10	10.05	X	10.93	X	1 NO	=	109.85 SQ.MT.
11	3.15	X	3.28	X	1 NO	=	10.33 SQ.MT.
12	3.15	X	1.71	X	1 NO	=	5.39 SQ.MT.
13	2.00	X	2.00	X	1 NO	=	4.00 SQ.MT.
14	2.60	X	2.00	X	1 NO	=	5.20 SQ.MT.
TOTAL DEDUCTION						=	180.34 SQ.MT. Y1
TOTAL BUILT UP AREA [X - Y1]						=	269.67 SQ.MT. X1

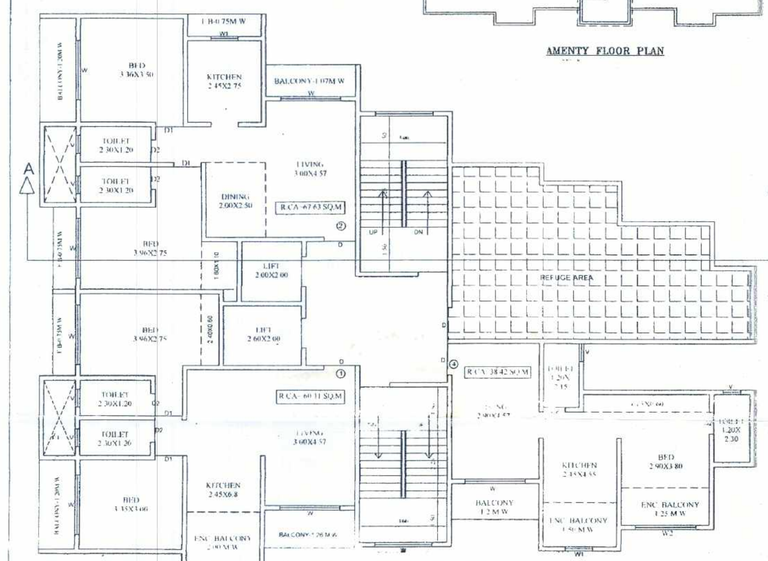

8TH,13TH FLOOR PLAN

SCALE-1:100

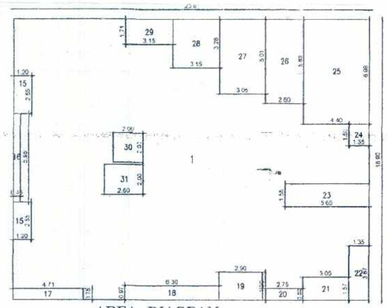

AREA DIAGRAM

FOR 3RD TO 7TH & 9TH TO 12TH&14TH FLOOR

SCALE-1:200

BUILT UP AREA CALCULATION

TYPICAL FLOOR							
1	23.81	X	18.90	X	1 NO	=	450.01 SQ.MT.
TOTAL ADDITION						=	450.01 SQ.MT. X
DEDUCTIONS							
15	1.20	X	2.55	X	2 NOS	=	6.12 SQ.MT.
16	0.45	X	5.95	X	1 NO	=	2.68 SQ.MT.
17	4.71	X	0.75	X	1 NO	=	3.53 SQ.MT.
18	6.30	X	0.97	X	1 NO	=	6.11 SQ.MT.
19	2.90	X	1.90	X	1 NO	=	5.51 SQ.MT.
20	2.75	X	0.82	X	1 NO	=	2.26 SQ.MT.
21	3.05	X	1.57	X	1 NO	=	4.79 SQ.MT.
22	1.35	X	3.67	X	1 NO	=	4.95 SQ.MT.
23	5.65	X	1.55	X	1 NO	=	8.76 SQ.MT.
24	1.35	X	1.50	X	1 NO	=	2.03 SQ.MT.
25	4.40	X	6.98	X	1 NO	=	30.71 SQ.MT.
26	2.60	X	5.63	X	1 NO	=	14.64 SQ.MT.
27	3.05	X	5.01	X	1 NO	=	15.28 SQ.MT.
28	3.15	X	3.28	X	1 NO	=	10.33 SQ.MT.
29	3.15	X	1.71	X	1 NO	=	5.39 SQ.MT.
30	2.00	X	2.00	X	1 NO	=	4.00 SQ.MT.
31	2.60	X	2.00	X	1 NO	=	5.20 SQ.MT.
TOTAL DEDUCTION						=	132.29 SQ.MT. Y1
TOTAL BUILT UP AREA [X - Y1]						=	317.72 SQ.MT. X1

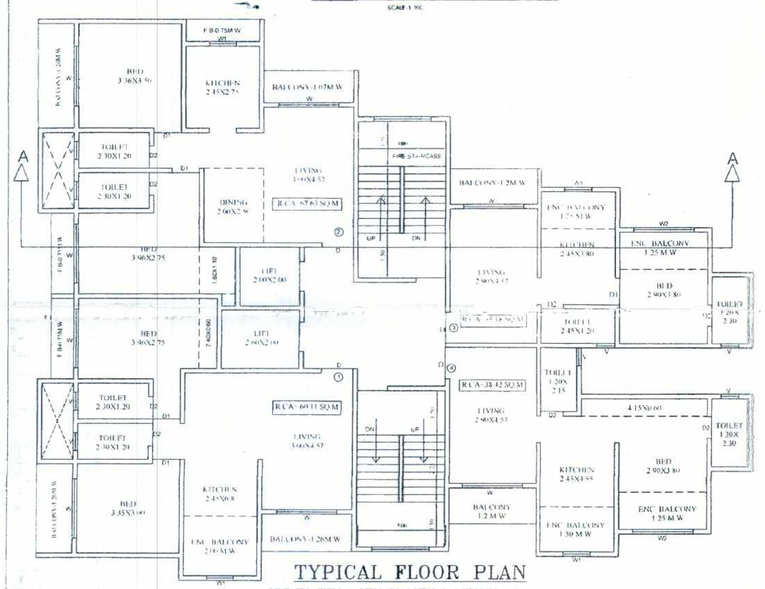

TYPICAL FLOOR PLAN

3RD TO 7TH & 9TH TO 12TH & 14TH FLOOR

SCALE-1:100

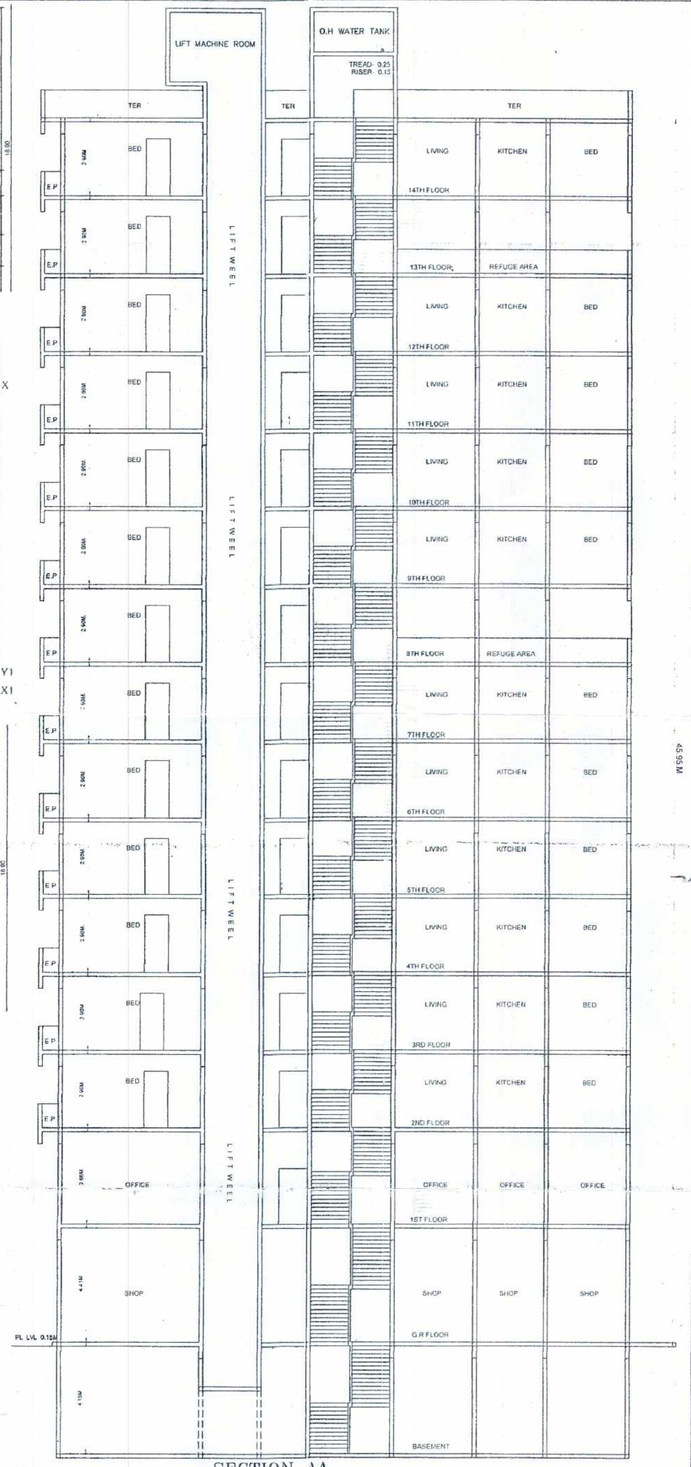

SECTION AA

(SCALE-1:100)

BUILDING PLAN — SHEET NO 3/03

STAMP OF APPROVAL OF PLAN

OFFICE OF THE KALYAN DOMBIVLI MUNICIPAL CORPORATION, KALYAN.

Building Permit No.:- KDMC/TPD/BP/KD/2021-22/70/201.

Date :- 07/07/2022.

SANCTIONED

KALYAN DOMBIVLI MUNICIPAL CORPORATION कल्याण डोंबिवली महानगरपालिका ता. कल्याण जि. ठाणे

ASSISTANT DIRECTOR OF TOWN PLANNING
for Kalyan-Dombivli Municipal Corporation

ARCHITECT:

ANIL R. NIRGUDE. TEJAS A. NIRGUDE. SIGNATURE OF OWNERS.

837 02 DRG. NO.	PROPOSED BUILDING PLAN UNDER ACCOMODATION POLICY WITH HDH RESERVATION ON PLOT BEARING ON CTS NO. 2863A & 2863B AT VILLAGE KALYAN, TAL.KALYAN. DIST. THANE
AS SHOWN SCALE	M/S. RAJENDRA ENTERPRISES THROUGH SHRI. PRAKASHKUMAR GANESHMAL JAIN & OTHERS
09/06/2022 DATE	
ANIL CHD. BY	VITAN CONSULTANTS ARCHITECTS & ENGINEERS B-101,Bindu Tower,1st Floor,Opp Lourdes English School, Santoshi Mata Road , Kalyan – 421301
PRATHAM CAD/DRN	